ArcGIS Runtime SDK for Android

Table of Contents

Guide . . . 4

Get started

- Install and set up . . . 5
- Application Toolkit for ArcGIS Android . . . 7

Tutorials

- Add a map to your app . . . 8
- Use ArcGIS basemaps . . . 13
- Access feature data in the cloud . . . 18
- Add geocoding to your app . . . 24

Fundamentals

- Maps and layers . . . 32
- Layer types . . . 34
- Working with symbols and renderers . . . 41
- Features and graphics . . . 43
- Spatial references . . . 45

Build a map

- Create an offline map . . . 48
- Time-aware layers . . . 54
- Add raster data . . . 55
- Enable wrap around . . . 57

Display information

- Add graphics and text . . . 58
- Create a graphics layer . . . 64
- Manage graphic features . . . 65
- View pop-ups . . . 66
- Customize the callout . . . 71
- Display military messages . . . 73

Search

- Search for Places . . . 76
- Search for coordinates . . . 78

Edit features

- Editing . . . 79
- Edit features . . . 81
- Sync offline edits . . . 85
- Edit an ArcGISFeatureLayer . . . 87

Route and get directions

- Finding a Route . . . 92
- Display Driving Directions . . . 94

Perform analysis

- Tasks overview . . . 95
- Display task and query results . . . 96

Copyright © 1995-2016 Esri. All rights reserved.

Geometry operations . . . 98
Use the cloud and servers
Access the ArcGIS platform . . . 106
Access portal content . . . 109
Search for content . . . 113
Working with secure ArcGIS services . . . 117
Release your app
Deploy your app . . . 120
License your app . . . 121
Localization . . . 124
Design considerations
Design considerations . . . 125
Determine your app/map pattern . . . 126
Provide map tools . . . 129
Performance considerations . . . 133
Native vs. web . . . 135
Handle device configuration changes . . . 137
Reference
Release Notes . . . 139
System requirements . . . 140
Essential vocabulary . . . 152
Geographic coordinate systems . . . 156
Projected coordinate systems . . . 169
Datum transformations . . . 258
Supported geodatabase formats . . . 284
Legal . . . 285

Copyright © 1995-2016 Esri. All rights reserved.

Guide

This guide describes how to use version 10.2.9 of ArcGIS Runtime SDK for Android to build Android apps that incorporate capabilities such as mapping, geocoding, routing, geoprocessing, and other spatial analytics provided by ArcGIS Online or your own on-premises ArcGIS servers. A great place to start developing once you have installed and set up the SDK is to add a map to your app, or browse the samples. For what's new in this release, see Release Notes.

With the ArcGIS Runtime SDK for Android you can build apps that:

- Add high performance mapping and GIS capabilities to your Android apps
- Add and query content from your Organization (ArcGIS Online or Portal for ArcGIS) using the portal API
- Add layers from ArcGIS Server
- Work offline with basemaps and operational data
- Add local tile cache basemaps or maps in area of interest stored locally on device
- Display maps in all supported spatial references
- Use a rich set of tasks that leverage ArcGIS capabilities to analyze your maps and provide information to your users
- Add tools to let users edit data while out in the field, including allowing them to sync edits made offline when they back online
- Work with your devices' GPS
- Build offline and online routing applications
- Identify features in the map and view rich pop-ups authored in ArcGIS Online or add custom callouts
- Add graphics on top of the map; allow users to draw graphics or tap on them to view a pop-up window with information on the graphic
- Perform advanced geometric and spatial analysis operations locally
- Execute sophisticated geoprocessing tasks and display their results
- Search, query, and identify features using spatial or SQL criteria
- Match addresses to locations and vice-versa, even when you're offline

What you get

- A rich mapping API for Android, provided through .jar files
- An Android Archive (AAR) file to use as a dependency in your Gradle build script.
- Full API Reference and online Guide documentation to help you learn how to use the API.
- A suite of samples that demonstrate SDK functionality.
- A user to user Forum where you can discuss your development issues with other SDK developers
- A Blog highlighting new developments and important SDK related news

To find out how to get set up with this SDK, read Install and set up.

Copyright © 1995-2016 Esri. All rights reserved.

Install and set up

You can get started developing apps with ArcGIS Runtime SDK for Android (ArcGIS Android SDK) using:

- Gradle **(recommended)**
- The SDK download

Make sure your development computer meets the system requirements, including the requirement for Google's Android SDK. Make sure you have successfully set up your Android development environment in Android Studio. For details on setting up the Google SDK, see installing the Android SDK.

Gradle

We recommend installing with Gradle. This will install the needed dependencies and the SDK binaries from Bintray Esri repostiory.

1. Use the following code example to add the maven repository's URL and the ArcGIS Runtime SDK for Android dependency to your project. Esri's repository is not open source, so you must specify a URL.

```
repositories {
    jcenter()
    // Add the following ArcGIS repository
    maven {
        url 'https://esri.bintray.com/arcgis'
    }
}
```

2. In the app module **build.gradle** file, within the `dependencies` block, add a directive to include the ArcGIS Runtime SDK for Android dependency to your app.
   App module build.gradle file

```
dependencies {
    // Add ArcGIS Runtime SDK for Android dependency
    compile 'com.esri.arcgis.android:arcgis-android:10.2.9'
}
```

3. Again in the app module **build.gradle** file, within the `android` block, use the following code example to add a `packaging options` directive. This excludes duplicate files from the Android Package (APK) file created when you build your app, preventing build errors.

   App module build.gradle file, within android block

```
packagingOptions {
    exclude 'META-INF/LGPL2.1'
    exclude 'META-INF/LICENSE'
    exclude 'META-INF/NOTICE'
}
```

4. Depending on what ArcGIS functionality you use in your app, you may need to add permissions to your manifest, as described in the following section.
5. If you want to use analysis capabilities (in beta), localization resources, and/or advanced symbology, download and install the SDK so that the resources are available to you, then follow the instructions for setting them up, as follows:
   - Analysis capabilities (in beta)—See Add native libraries for analysis features (BETA) on this page.
   - Localization of apps UI pop-ups—See Localization in this guide.
   - Advanced symbology—See Display military messages in this guide.
6. You're ready to start programming with the ArcGIS Android API! From here you may want to try the hello-world-like tutorial, Add a map to your app, review design considerations, or dive right in to samples or the API Reference. This guide provides a "Fundamentals" section for developers new to ArcGIS Runtime and the ArcGIS Platform.

Required permissions and features

Android is a permissions-separated operating system. Depending on what ArcGIS capabilities you use in your app, you may need to add permissions to your manifest, as follows. Be sure not to include permissions for capabilities not included in your app.

ArcGIS capabilities that require permissions:

- Access to the Internet (most apps will require this)
- Access to files on disk (some apps will require this)
- Access to the device's GPS will require fine location permissions
- Apps that use `MapView` will require using OpenGL 2.x.

Copyright © 1995-2016 Esri. All rights reserved.

The following code example (for the AndroidManifest.xml file) includes permissions for all capabilities. Note that OpenGL is included as a feature.

```
<uses-feature android:glEsVersion="0x00020000" android:required="true" />

<uses-permission android:name="android.permission.INTERNET" />
<uses-permission android:name="android.permission.WRITE_EXTERNAL_STORAGE" />
<uses-permission android:name="android.permission.ACCESS_FINE_LOCATION" />
```

Add native libraries for analysis features (BETA)

1. Create a **/src/main/jniLibs/** folder in your app module.
2. From the root of your SDK download directory, copy the **/libs/[platform]/** folder into the **jniLibs** folder created in the previous step.
3. Two native libs are added to your project, **librs.main.so** and **libruntimecore_java.so** under the **/src/main/jniLibs/[platform]** folder, where [platform] represents the platform architecture your device is running, such as **armeabi-v7a**. So, for example, the full path could be **/src/main/jniLibs/armeabi-v7a/**.
4. Add the following to the `defaultConfig` directive in your app module build.gradle file:

   ```
   renderscriptTargetApi 19
   renderscriptSupportModeEnabled true
   ```

   For details on offline analysis, see the OfflineAnalysis sample.

The SDK download

The SDK download includes everything you get with Gradle installation plus native libraries for analysis capabilities (in beta), localization resources, and files for advanced symbology. Instructions for how to obtain these resources and include them in your project are provided in step 5 in the Gradle section above.

Download, install, and set up the local SDK

1. Sign in to ArcGIS for Developers.
2. Click the Downloads icon at the top right of the page and download the ArcGIS Runtime SDK for Android. Unzip the downloaded archive file to a location on your development machine.

Contents of the SDK download

The ArcGIS Android SDK download contains everything you need to develop ArcGIS Android SDK apps. The folders in the SDK are described below:

- **doc**: API reference doc for **arcgis android** and **arcgis android app toolkit** APIs.
- **legal**: Licensing documentation
- **libs**: API jar libraries for arcgis-android and arcgis-android-app-toolkit, arcgis-android core native libraries, and third-party dependency jar libraries.
- **lib-project**: Local Android Library Project in AAR format.
- **res**: Localization files for localizing UI Popups.
- **resources**: Advanced symbology symbol resource files
- **samples**: Local sample projects in Android Gradle structure for importing into Android Studio.

Copyright © 1995-2016 Esri. All rights reserved.

Application Toolkit for ArcGIS Android

The application toolkit for ArcGIS Android provides simplification classes to assist in supporting some Mapping and Locator workflows.

You can add the Application Toolkit to an Android Studio project by adding a dependency to the ArcGIS Runtime SDK for Android AAR (library module) bundle to your project. This AAR bundle includes both the main API and the application toolkit API. See Install and set up for more information.

You can also find API reference documentation online at developers.arcgis.com

MapViewHelper

MapView helper class to assist in simplifiying programmatic workflows to easily show callouts, add geometries, and create popups. You create an MapViewHelper by passing a MapView to it's constructor:

```
MapViewHelper mvHelper = new MapViewHelper(mMapView);
```

Now you can start calling methods on the `MapViewHelper`.

Show Callout

When you tap on a graphic in an app added by using methods below, a callout will open and show the title, snippet, and image of the selected graphic by default. This feature can be disabled by calling:

```
mvHelper.setShowGraphicCallout(false);
```

You can also interact with geometries by registering a listener with the `MapViewHelper` class and implementing the `onGraphicClick` method:

```
mvHelper.setOnGraphicClickListener(new OnGraphicClickListener(){
                public void onGraphicClick(graphic){
                                // do something
        }
});
```

Popup

When you tap on a location on a map, the `MapViewHelper` will query all layers and create and return popups for the selected features to the listener using the following method. A popup does not need to be defined for any layers through webmap authoring or programmatically, the popup configuration will be used.

```
mvHelper.createPopup(screenX, screenY, new PopupCreateListener(){
                public void onResult(popupContainer){
                        // do something
                }
});
```

Find Place and Find Address

In addition to a `MapViewHelper` the application toolkit provides a `GeocodeHelper` to support geocode (find locations for given address/place name) and reverse geocode (find address for given location).

```
GeocodeHelper geocodeHelper = new GeocodeHelper();
// find an address for a given location
Future<LocatorReverseGeocodeResult> = geocodeHelper.findAddress(screenX, screenY, locator, mMapView, callback)
```

Copyright © 1995-2016 Esri. All rights reserved.

Add a map to your app

This tutorial guides you through the process of creating a basic mapping app using Android Studio. You can download the complete app as a sample (see the Hello World sample). The purpose of this tutorial is to help you understand the basics of working with the ArcGIS Runtime SDK for Android in the Android Studio integrated development environment (IDE). By the end of this tutorial you will have an app that displays a map using a specific initial map extent.

Prerequisites

You should already have a basic understanding of developing apps for the Android platform and the terminology used. See the Android Developers homepage for information about developing apps for Android.

You should also have installed the Android Studio IDE—see Install and set up for more information.

Create a new project in Android Studio

When you open Android Studio, it shows the **Welcome** screen. From here you can create a new Android app project.

1. Under **Quick Start**, click **Start a new Android Studio project**.
   If you already have a project open, you can instead click **File > New Project**.
2. In **Application name**, enter `HelloWorld`.
   Optionally change the **Company Name** and **Project Location** if you want to, then click **Next**.

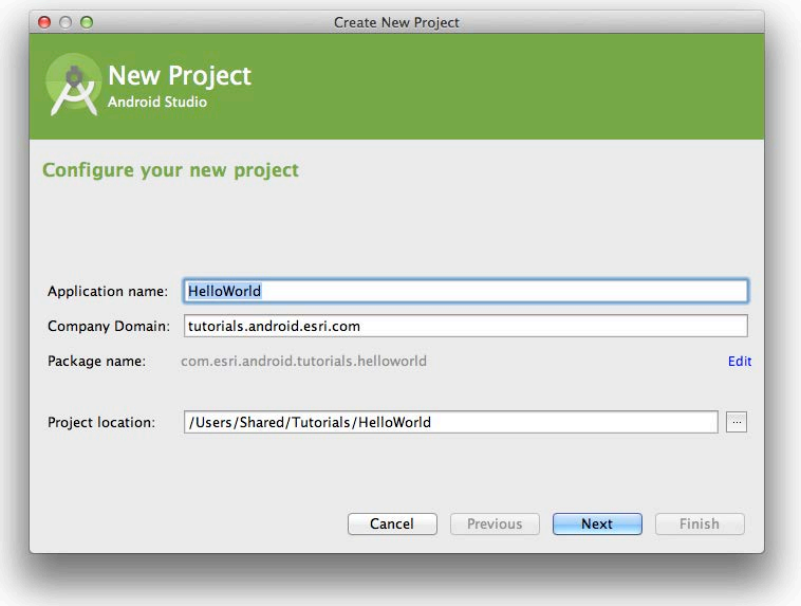

3. Leave the default **Phone and Tablet** option selected, in the **Minimum SDK** drop-down list, choose **API 15: Android 4.0.3**, then click **Next**.

Copyright © 1995-2016 Esri. All rights reserved.

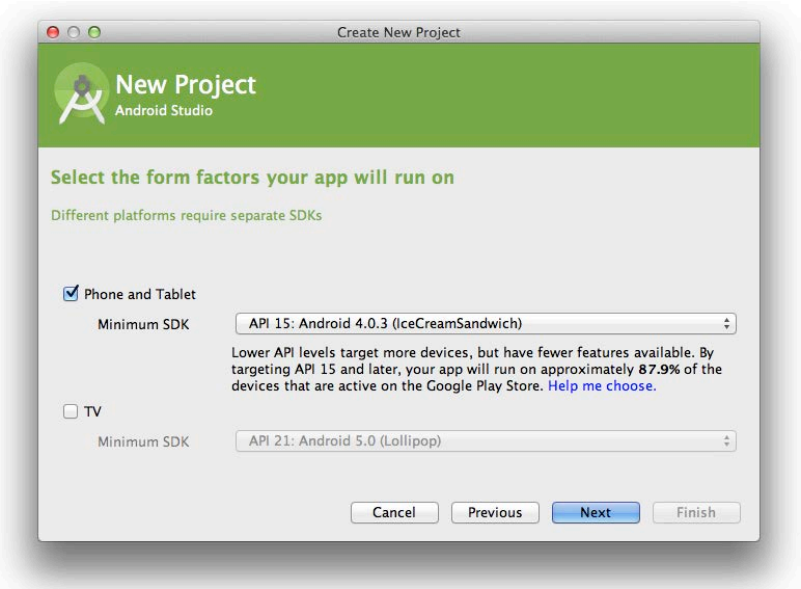

4. Click **Blank Activity**, then click **Next**.
5. Leave the default names for the activity, layout, title, and menu resource, and click **Finish**.
   A new default Android application project opens, showing a default layout.

You have now successfully created an Android project containing an application module. Next you will add the Runtime Android SDK Android dependency.

Add the ArcGIS Runtime for Android AAR dependency

Here you will add the Runtime Android SDK dependency to your application module as an Android Archive (AAR) package. This will automatically be downloaded from the Bintray Maven central repository when you build your app.

1. In the **Android project view** window, under **Gradle Scripts**, double-click **build.gradle (Project: HelloWorld)**. This opens the gradle build script for the project where you can add the Esri ArcGIS Maven repository URL as shown below:

```
allprojects {
    repositories {
        jcenter()
        // add the esri arcgis maven repo
        maven {
            url 'http://esri.bintray.com/arcgis'
        }
    }

}
```

2. In the **Android project view** window, under **Gradle Scripts**, double-click **build.gradle (Module: app)**.
   This opens the gradle build script for your application module. If you are unfamiliar with the Gradle build system, see Build System Overview.
3. In the `dependencies` section of the script, add a new value `compile 'com.esri.arcgis.android:arcgis-android:10.2.9'`:

```
dependencies {
  compile fileTree(dir: 'libs', include: ['*.jar'])
  [...]
  compile 'com.esri.arcgis.android:arcgis-android:10.2.9'
}
```

4. In the `android` section of the script, after `defaultConfig`, add the following values:

```
packagingOptions{
  exclude 'META-INF/LGPL2.1'
  exclude 'META-INF/LICENSE'
  exclude 'META-INF/NOTICE'
}
```

   This directive excludes duplicate files from the Android Package (APK) file created when you build your app.
5. In the **Android project view** window, under **manifests**, double-click **AndroidManifest.xml**.

Copyright © 1995-2016 Esri. All rights reserved.

This opens the Android Manifest file for your app.

6. In the **AndroidManifest.xml** file, add the following elements as children of the `manifest` element:

```
<uses-feature android:glEsVersion="0x00020000" android:required="true" />
<uses-permission android:name="android.permission.INTERNET" />
```

   This indicates that your app will require permissions to perform network operations, and also requires the hardware feature OpenGL ES version 2.0. For more information about Android system permissions, see Android Permissions. For more information about THE hardware feature request, see Uses Feature Element.

7. In the Android Studio toolbar, click **Sync Project with Gradle Files**. Alternatively, when you see the **Gradle files have changed since last project sync** message at the top of the gradle script window, click **Sync Now**.

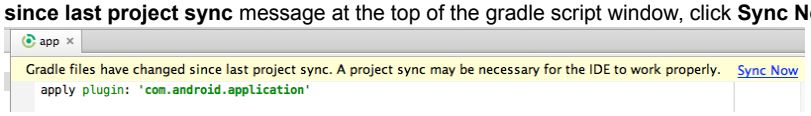

You have added a dependency to the Runtime Android SDK AAR to your app module. Next, you'll add a map showing a map service to the application and set up an initial extent for that map.

Add a map

Now that you've created an app with a Runtime Android SDK AAR dependency, the next step is to add a map to the activity layout. You will specify that the map should show a worldwide street map available from ArcGIS.com. However, you won't display the street map for the entire world when the map is initialized. It is often more useful for the application to initially display a map for a specific region rather than its entire extent—in this instance, a specific region of Southern California as opposed to the entire world. The following steps guide you through the process of adding a map and specifying an initial extent for the application:

1. In the **Android project view** window, under **app**, navigate to **res > layout**, then double-click **content_main.xml**.
   This opens the **Preview** view of the central content of the main activity layout. Note that depending on the type of activity chosen and the version of Android Studio, your project may contain only one layout XML file, **activity_main.xml**; if so, open this file instead.

2. At the bottom-left of the window, click **Text** to show the XML view of the layout.
   By default, there are two tags in the layout XML file.
   - The first is the Android relative layout. This is a view which can show other views inside itself. It arranges its children views relative to each other. For more information on this layout template, see the Relative Layout documentation provided by Google. For a detailed explanation of the Android view hierarchy, see the User Interface documentation.
   - The second tag is the `TextView` tag, considered the child view in this example. This tag is used to add text to the application, in this case "Hello World, HelloWorld!".

3. Select the entire `TextView` XML element and replace it with a `MapView` element as shown below.
   This `MapView` element has mapoptions attributes that tell the `MapView` how to display. These options will use a default Streets map service layer, center the map at a specific set of coordinates, and zoom the map to a specific level.

```
<com.esri.android.map.MapView
  android:id="@+id/map"
  android:layout_width="fill_parent"
  android:layout_height="fill_parent"
  mapoptions.MapType="Streets"
  mapoptions.center="34.056215, -117.195668"
  mapoptions.ZoomLevel="16">
</com.esri.android.map.MapView>
```

   Your XML layout should now look like that shown below.

Copyright © 1995-2016 Esri. All rights reserved.

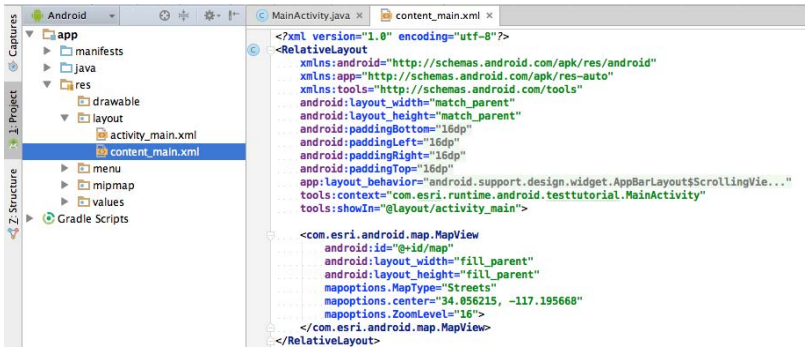

You are now ready to build the application.

4. Click **Make Project** in the Android Studio toolbar, or click **Build > Make Project**.
   At the bottom of Android Studio you should see a message `Gradle build finished`. You can click the Gradle Console, at the bottom right of Android Studio, to see messages from the Gradle build process; this should indicate `BUILD SUCCESSFUL`.

You have now completed the steps to add a Runtime Android SDK map to your new Android app. For a deeper understanding of the declarative approach to user interface (UI) design, see Declaring Layout.

Your application is now ready for testing.

Run the application

To test your app, you should either have a connected device ready for debugging, or have a set up and started an emulator. To find our more, refer to the Android documentation on Using the emulator or Using hardware devices.

1. In the Android Studio toolbar, click **Run**.
2. In the **Choose Device** dialog, select the device or emulator you wish to use, then click OK.
3. When the app opens on your device, it shows a street map centered on Redlands, California. You can double-tap the map to zoom in.

When you create a new project, Android Studio automatically creates a run configuration to launch the app on your device. You'll see something similar to the following screen shot:

Copyright © 1995-2016 Esri. All rights reserved.

That's it, you have completed your first ArcGIS Runtime SDK for Android app. A downloadable Hello World sample app module is available as part of the Runtime Android SDK samples hosted on GitHub. You can find out more about the Hello World sample on the developers.arcgis.com website, and then fork the GitHub repo.

Copyright © 1995-2016 Esri. All rights reserved.

Use ArcGIS basemaps

The ArcGIS Runtime SDK for Android supports a range of predefined basemaps that can be easily added to a map by using the `MapOptions` class. This tutorial shows you how to use the `MapOptions` to create a new `MapView` when a user selects a named basemap from an Android options menu.

Create the Basemaps project in Android Studio

ForeStart by creating a new Android application project. These steps are essentially the same as covered in the Add a map to your app tutorial. For more information about the project set up steps, refer to the Add a map to your app tutorial.

1. In the Android Studio **Welcome** screen, under **Quick Start**, click **Start a new Android Studio project**.
2. In **Application name**, enter `Basemaps`. Optionally change the **Company Name** and **Project Location** if you want to, then click **Next**.

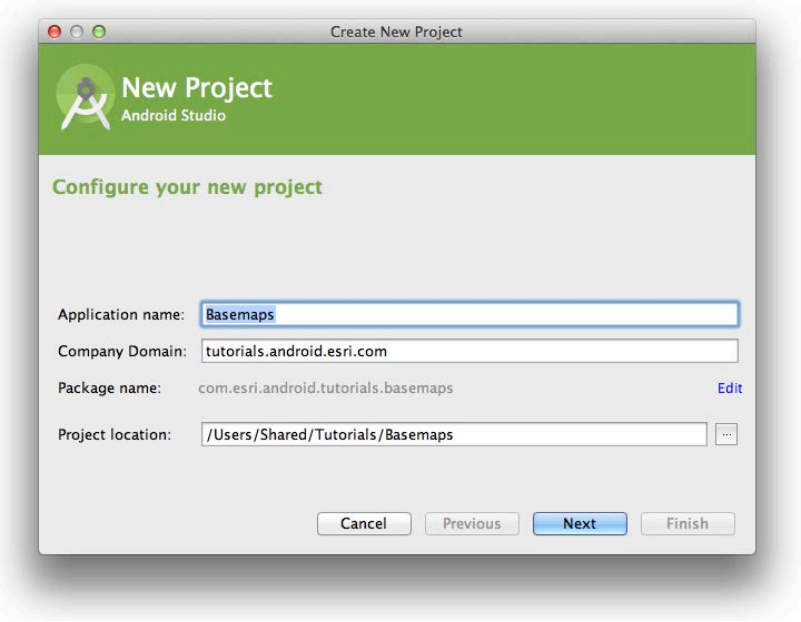

3. Leave the default **Phone and Tablet** option selected, in the **Minimum SDK** drop-down list, choose **API 15: Android 4.0.3**, then click **Next**.
4. Click **Blank Activity**, then click **Next**.
5. Leave the default names for the activity, layout, title, and menu resource, and click **Finish**.
   A new default Android application project opens, showing a default layout.

You have now successfully created an Android project containing an application module. Next you will add the Runtime Android SDK Android dependency.

Add the ArcGIS Runtime for Android AAR dependency

Here you will add the Runtime Android SDK dependency to your application module as an Android Archive (AAR) package.

1. In the **Android project view** window, under **Gradle Scripts**, double-click **build.gradle (Project: Basemaps)**. This opens the gradle build script for the project where you can add the Esri ArcGIS Maven repository URL as shown below:

```
allprojects {
    repositories {
        jcenter()
        // add the esri arcgis maven repo
        maven {
            url 'http://esri.bintray.com/arcgis'
        }
    }

}
```

2. In the **Android project view** window, under **Gradle Scripts**, double-click **build.gradle (Module: app)**.

Copyright © 1995-2016 Esri. All rights reserved.

3. In the `dependencies` section of the script, add a new value `compile 'com.esri.arcgis.android:arcgis-android:10.2.9'`:

```
dependencies {
  compile fileTree(dir: 'libs', include: ['*.jar'])
  [...]
  compile 'com.esri.arcgis.android:arcgis-android:10.2.9'
}
```

4. In the `android` section of the script, after `defaultConfig`, add the following values:

```
packagingOptions{
  exclude 'META-INF/LGPL2.1'
  exclude 'META-INF/LICENSE'
  exclude 'META-INF/NOTICE'
}
```

5. In the **Android project view** window, under **manifests**, double-click **AndroidManifest.xml**.
6. In the **AndroidManifest.xml** file, add the following elements as children of the `manifest` element:

```
<uses-feature android:glEsVersion="0x00020000"android:required="true" />
<uses-permission android:name="android.permission.INTERNET" />
```

7. In the Android Studio toolbar, click **Sync Project with Gradle Files**. Alternatively, when you see the **Gradle files have changed since last project sync** message at the top of the gradle script window, click **Sync Now**.

You have added a dependency to the Runtime Android SDK AAR to your app module. Next, you'll add code to your activity to add a `MapView`.

Set up the initial map with topo basemap

This step creates a MapView and adds the Topo basemap as its initial basemap. You will also set an initial zoom level and center the map.

1. In the **Android project view** window, under **app**, navigate to **res > layout**, then double-click **activity_main.xml**.
   Note that depending on the type of activity chosen and the version of Android Studio, your project may contain only one layout XML file, **activity_main.xml**, or multiple layout files, including **content_main.xml**; if so, open this file instead.
2. At the bottom-left of the window, click **Text** to show the XML view of the layout.
3. Select the entire TextView XML element and replace it with a MapView element as shown below.

```
<com.esri.android.map.MapView
  android:id="@+id/map"
  android:layout_width="fill_parent"
  android:layout_height="fill_parent"
  mapoptions.MapType="Topo"
  mapoptions.ZoomLevel="13"
  mapoptions.center="33.666354, -117.903557" />
```

   This MapView element has mapoptions attributes that tell the MapView to display initially using a default Topo map service layer, and to center the map at a specific set of coordinates, and zoom the map to a specific level.
4. In the **Android project view** window, under **app**, navigate to **java > com.esri.android.tutorials.basemaps**, then double-click **MainActivity** to open the activity source code file.
5. Add the following class variable declaration to the top of the **MainActivity** class:

```
// The MapView.
MapView mMapView = null;
```

   This variable will hold a reference to the `MapView` you added to the layout.
6. Android Studio will highlight in red the classes which must be imported to the class file. Place the cursor at the line with text highlighted in red and press **ALT+Enter** to resolve the symbol and import the `com.esri.android.map.MapView` class to your activity class.

Copyright © 1995-2016 Esri. All rights reserved.

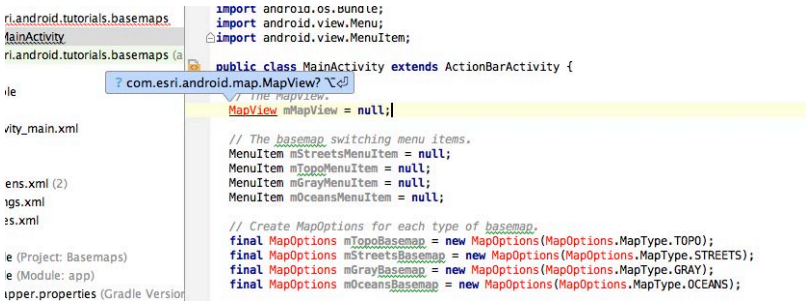

You should resolve symbols for any similar errors you get throughout this tutorial.

Note: A complete list of imports is available at the end of this tutorial so you can check you have imported the classes correctly.

7. In the `OnCreate` method, after the content view is set, set the reference to the `MapView` in the layout, and also enable wrap-around maps and the Esri logo in the map:

```
 // Retrieve the map and initial extent from XML layout
mMapView = (MapView) findViewById(R.id.map);
// Enable map to wrap around date line.
mMapView.enableWrapAround(true);
```

8. Override the `onPause` and `onResume` methods of the activity, and add the code below to pause and unpause the `MapView` when these methods are called.

```
protected void onPause() {
  super.onPause();
  mMapView.pause();
}

protected void onResume() {
  super.onResume();
  mMapView.unpause();
}
```

You now have an app that includes a map. Next you will create the options menu items to change the basemap.

Add the basemaps options menu

Now you will define the options menu of basemaps and add code to respond when a menu option is tapped.

1. In the **Android project view** window, under **app**, navigate to **res > menu**, then double-click **menu_main.xml**.
2. Replace the existing `item` element with the following elements:

```
<group android:checkableBehavior="single">
  <item
    android:id="@+id/World_Street_Map"
    android:showAsAction="never"
    android:title="@string/StreetMapMenu" />
  <item
    android:id="@+id/World_Topo"
    android:showAsAction="never"
    android:title="@string/TopoMenu" />
  <item
    android:id="@+id/Gray"
    android:showAsAction="never"
    android:title="@string/GrayMenu" />
  <item
    android:id="@+id/Ocean_Basemap"
    android:showAsAction="never"
    android:title="@string/OceanMenu" />
</group>
```

   This defines the basemap options in the options menu layout.

3. In the **Android project view** window, under **app**, navigate to **res > values**, then double-click **strings.xml**.
4. Add the following string resources:

```
<!-- basemap menu items -->
<string name="StreetMapMenu">Streets</string>
<string name="TopoMenu">Topographic</string>
<string name="GrayMenu">Gray</string>
<string name="OceanMenu">Oceans</string>
```

   These strings are used for the user interface of the options menu items for basemaps.

Copyright © 1995-2016 Esri. All rights reserved.

5. In the **Android project view** window, under **app**, navigate to **java > com.esri.android.tutorials.basemaps**, then double-click **MainActivity** to open the activity source code file.
6. Add the following class variable declarations to the top of the **MainActivity** class:

```
// The basemap switching menu items.
MenuItem mStreetsMenuItem = null;
MenuItem mTopoMenuItem = null;
MenuItem mGrayMenuItem = null;
MenuItem mOceansMenuItem = null;

// Create MapOptions for each type of basemap.
final MapOptions mTopoBasemap = new MapOptions(MapOptions.MapType.TOPO);
final MapOptions mStreetsBasemap = new MapOptions(MapOptions.MapType.STREETS);
final MapOptions mGrayBasemap = new MapOptions(MapOptions.MapType.GRAY);
final MapOptions mOceansBasemap = new MapOptions(MapOptions.MapType.OCEANS);
```

   These variables define:
   - The `MenuItems` in the options menu
   - `MapOptions` that will be used to set different basemaps in the `MapView`
7. In the `onCreateOptionsMenu` method, add the following lines of code after the `getMenuInflater.inflate(R.menu.menu_main, menu)` line, and before the `return true` line.

```
// Get the basemap switching menu items.
mStreetsMenuItem = menu.getItem(0);
mTopoMenuItem = menu.getItem(1);
mGrayMenuItem = menu.getItem(2);
mOceansMenuItem = menu.getItem(3);

// Also set the topo basemap menu item to be checked, as this is the default.
mTopoMenuItem.setChecked(true);
```

   This sets the variables you added previously to the menu items created when the options menu you defined in the menu layout is first shown; you will use these references in a following step. As your initial map shows the Topo map, set this to be checked.
8. In the `onOptionsItemSelected` method, replace all of the method body with the following code:

```
// Handle menu item selection.
switch (item.getItemId()) {
  case R.id.World_Street_Map:
    mMapView.setMapOptions(mStreetsBasemap);
    mStreetsMenuItem.setChecked(true);
    return true;
  case R.id.World_Topo:
    mMapView.setMapOptions(mTopoBasemap);
    mTopoMenuItem.setChecked(true);
    return true;
  case R.id.Gray:
    mMapView.setMapOptions(mGrayBasemap);
    mGrayMenuItem.setChecked(true);
    return true;
  case R.id.Ocean_Basemap:
    mMapView.setMapOptions(mOceansBasemap);
    mOceansMenuItem.setChecked(true);
    return true;
  default:
    return super.onOptionsItemSelected(item);
}
```

   This code identifies the selected menu option and sets the appropriate `MapOptions` onto the `MapView`.

You have completed coding your basemaps app, and are now ready to test it.

Run the application

To test your app, you should either have a connected device ready for debugging, or have a set up and started an emulator. To find our more, refer to the Android documentation on Using the emulator or Using hardware devices.

1. In the Android Studio toolbar, click **Run**.
2. In the **Choose Device** dialog, select the device or emulator you wish to use, then click OK
3. When the app opens on your device, it shows a topological map showing a town in California.
4. In the action bar of the app, tap the options overflow, and select Gray.
   The map updates to show a gray basemap instead.

Copyright © 1995-2016 Esri. All rights reserved.

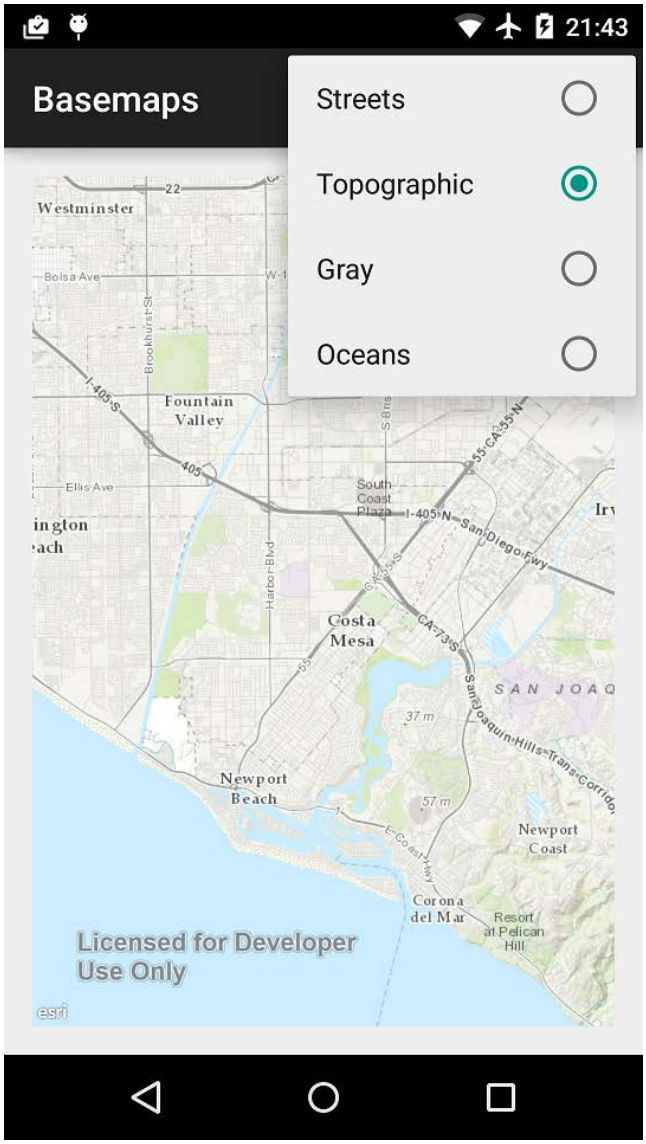

That's it, you have built a switch basemaps app using the `MapOptions` and an Android options menu. You can learn more about Android menus here.

See a completed Basemaps sample on the developers.arcgis.com website. Fork the samples repo on GitHub to work with the sample.

Tip: The complete list of imports for your project should be:

```
import android.os.Bundle;
import android.support.v7.app.ActionBarActivity;  // May vary depending Android Studio version and options chosen
import android.view.Menu;
import android.view.MenuItem;

import com.esri.android.map.MapOptions;
import com.esri.android.map.MapView;
import com.esri.android.map.event.OnStatusChangedListener;
import com.esri.core.geometry.Polygon;
```

Copyright © 1995-2016 Esri. All rights reserved.

Access feature data in the cloud

Feature services expose REST endpoints to store and query geographic data such as points, lines, and polygons. The ArcGIS Runtime SDK for Android provides APIs to work with display and query features from these service. This tutorial shows you how to add a feature service that is hosted in ArcGIS.com to a map as a layer, and how to perform a query on the features in the service.

Create the QueryCloudFeatureService project in Android Studio

Start by creating a new Android application project. These steps are essentially the same as covered in the Add a map to your app tutorial. For more information about the project set up steps, refer to the Add a map to your app tutorial.

1. In the Android Studio **Welcome** screen, under **Quick Start**, click **Start a new Android Studio project**.
2. In **Application name**, enter `QueryCloudFeatureService`. Optionally change the **Company Name** and **Project Location** if you want to, then click **Next**.

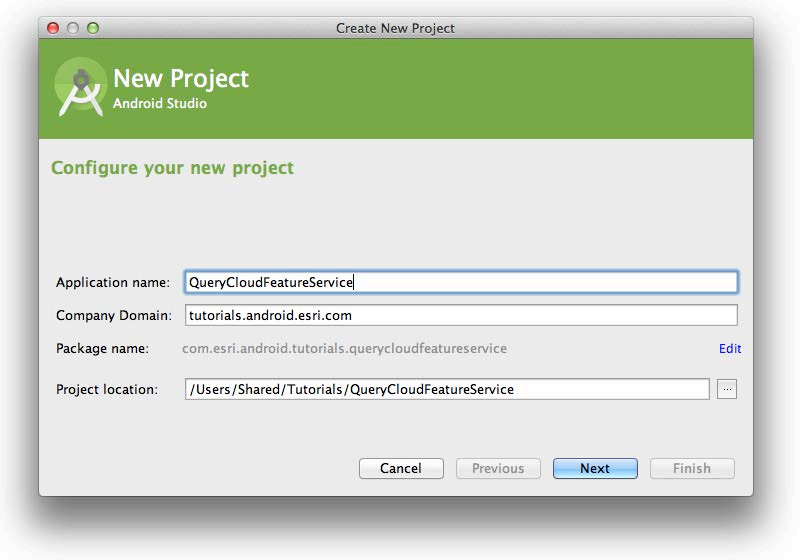

3. Leave the default **Phone and Tablet** option selected, in the **Minimum SDK** drop-down list, choose **API 15: Android 4.0.3**, then click **Next**.
4. Click **Blank Activity**, then click **Next**. (In the latest Android Studio you may find this option is called **Empty Activity**.)
5. Leave the default names for the activity, layout, title, and menu resource, and click **Finish**.
   A new default Android application project opens, showing a default layout.

You have now successfully created an Android project containing an application module. Next you will add the Runtime Android SDK Android dependency.

Add the ArcGIS Runtime for Android AAR dependency

Here you will add the Runtime Android SDK dependency to your application module as an Android Archive (AAR) package.

1. In the **Android project view** window, under **Gradle Scripts**, double-click **build.gradle (Project: QueryCloudFeatureService)**. This opens the gradle build script for the project where you can add the Esri ArcGIS Maven repository URL as shown below:

```
allprojects {
    repositories {
        jcenter()
        // add the esri arcgis maven repo
        maven {
            url 'http://esri.bintray.com/arcgis'
        }
    }

}
```

2. In the **Android project view** window, under **Gradle Scripts**, double-click **build.gradle (Module: app)**.
3. In the `dependencies` section of the script, add a new value `compile 'com.esri.arcgis.android:arcgis-android:10.2.9'`.

Copyright © 1995-2016 Esri. All rights reserved.

```
dependencies {
  compile fileTree(dir: 'libs', include: ['*.jar'])
  [...]
  compile 'com.esri.arcgis.android:arcgis-android:10.2.9'
}
```

Depending on your Android Studio version, you may find a more recent version of the appcompat dependency; you can use either version.

4. In the `android` section of the script, after `defaultConfig`, add the following values:

```
packagingOptions{
  exclude 'META-INF/LGPL2.1'
  exclude 'META-INF/LICENSE'
  exclude 'META-INF/NOTICE'
}
```

5. In the **Android project view** window, under **manifests**, double-click **AndroidManifest.xml**.
6. In the **AndroidManifest.xml** file, add the following elements as children of the `manifest` element:

```
<uses-feature android:glEsVersion="0x00020000"android:required="true" />
<uses-permission android:name="android.permission.INTERNET" />
```

7. In the Android Studio toolbar, click **Sync Project with Gradle Files**. Alternatively, when you see the **Gradle files have changed since last project sync** message at the top of the gradle script window, click **Sync Now**.

You have added a dependency to the Runtime Android SDK AAR to your app module. Next, you'll add code and a `MapView`.

Add a map and a feature service layer

In this step you will add a `MapView` to your layout. You will also add a hosted feature service layer to the map, and a graphics layer to display the results of queries on the feature service.

1. In the **Android project view** window, under **app**, navigate to **res > layout**, then double-click **activity_main.xml**.
   Note that depending on the type of activity chosen and the version of Android Studio, your project may contain only one layout XML file, **activity_main.xml**, or multiple layout files, including **content_main.xml**; if so, open this file instead.
2. At the bottom-left of the window, click **Text** to show the XML view of the layout.
3. Select the entire `TextView` XML element and replace it with a `MapView` element as shown below:

```
<com.esri.android.map.MapView
  android:id="@+id/map"
  android:layout_width="fill_parent"
  android:layout_height="fill_parent"
  mapoptions.MapType="Topo"
  mapoptions.ZoomLevel="3"
  mapoptions.center="39.8282, -98.5795" />
```

   This map element has mapoptions attributes that tell the `MapView` to display initially using a default Topo map service layer, and to center the map at a specific set of coordinates, and zoom the map to a specific level.

4. In the **Android project view** window, under **app**, navigate to **res > values**, then double-click **strings.xml**.
5. Add the following string resources:

```
<string name="featureServiceURL">http://services.arcgis.com/P3ePLMYs2RVChkJx/arcgis/rest/services/World_Cities/FeatureServer/0</string>
```

   This string holds the URL of the hosted feature service you will add to the map as a layer.

6. In the **Android project view** window, under **app**, navigate to **java > com.esri.android.tutorials.querycloudfeatureservice**, then double-click **MainActivity** to open the activity source code file.
7. Add the following class variable declarations to the top of the **MainActivity** class:

```
MapView mMapView;
ArcGISFeatureLayer mFeatureLayer;
GraphicsLayer mGraphicsLayer;
String mFeatureServiceURL;
```

   These variables will hold references to the `MapView` you added to the layout, and also to the feature service URL and layer, and results graphics layer.

8. Android Studio will highlight in red the classes which must be imported to the class file. Place the cursor at the line with text highlighted in red and press **ALT+Enter** to resolve the symbol and import the `com.esri.android.map.MapView`,

Copyright © 1995-2016 Esri. All rights reserved.

`com.esri.android.map.ArcGISFeatureLayer`, and `com.esri.android.map.GraphicsLayer` classes to your activity class.

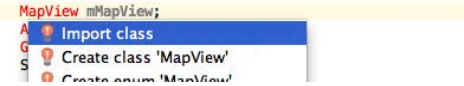

You should resolve symbols for any similar errors you get throughout this tutorial.

Note: A complete list of imports is available at the end of this tutorial so you can check you have imported the classes correctly.

9. In the `OnCreate` method, after the content view is set, set the reference to the `MapView` in the layout, and then create the feature service layer and graphics layer, and add both layers to the map:

```
// Retrieve the map and initial extent from XML layout
mMapView = (MapView) findViewById(R.id.map);
// Get the feature service URL from values->strings.xml
mFeatureServiceURL = this.getResources().getString(R.string.featureServiceURL);
// Add Feature layer to the MapView
mFeatureLayer = new ArcGISFeatureLayer(mFeatureServiceURL, ArcGISFeatureLayer.MODE.ONDEMAND);
mMapView.addLayer(mFeatureLayer);
// Add Graphics layer to the MapView
mGraphicsLayer = new GraphicsLayer();
mMapView.addLayer(mGraphicsLayer);
```

You now have an app that contains a map with a feature service layer. You can run the app and test your code is working so far. Next, you will add code that runs when the user uses the options menu and performs a query on the feature service.

Add the query options menu

Now you will define the options menu of queries and add code to respond when a menu option is tapped.

1. In the **Android project view** window, under **app**, right-click the **res** folder.
2. Choose **New > Android Resource File**.
   This opens the **New Resource File** dialog box.
3. Enter the following values into this dialog box, leaving the remaining options as their default values:
   - **File name:** menu_main
   - **Resource type:** Menu
4. Click **OK**.
   This adds the new menu XML file to the project, and opens it.
5. Add the following elements as children of the existing `menu` element:

```
<group android:checkableBehavior="single">
    <item
        android:id="@+id/Query_US"
        android:showAsAction="never"
        android:title="@string/query_us" />
    <item
        android:id="@+id/Query_CA"
        android:showAsAction="never"
        android:title="@string/query_ca" />
    <item
        android:id="@+id/Query_FR"
        android:showAsAction="never"
        android:title="@string/query_fr" />
    <item
        android:id="@+id/Query_AU"
        android:showAsAction="never"
        android:title="@string/query_au" />
    <item
        android:id="@+id/Query_BR"
        android:showAsAction="never"
        android:title="@string/query_br" />
</group>
```

   This defines the options in the options menu layout. Next you must define the strings that are used in these options.

6. In the **Android project view** window, under **app**, navigate to **res > values**, then double-click **strings.xml**.
7. Add the following string resources:

```
<!-- query parameters -->
<string name="query_us">COUNTRY = US</string>
<string name="query_ca">COUNTRY = CANADA</string>
<string name="query_fr">COUNTRY = FRANCE</string>
<string name="query_au">COUNTRY = AUSTRALIA</string>
<string name="query_br">COUNTRY = BRAZIL</string>
```

   These strings are used for the user interface of the options menu items you defined previously.

Copyright © 1995-2016 Esri. All rights reserved.

8. In the **Android project view** window, under **app**, navigate to **java > com.esri.android.tutorials.querycloudfeatureservice**, then double-click **MainActivity** to open the activity source code file.
9. Add the following class variable declarations to the top of the **MainActivity** class:

```
    MenuItem mQueryUsMenuItem = null;
    MenuItem mQueryCaMenuItem = null;
    MenuItem mQueryFrMenuItem = null;
    MenuItem mQueryAuMenuItem = null;
    MenuItem mQueryBrMenuItem = null;
```

   These variables will hold references to the `MenuItems` in the options menu.

10. Override the `onCreateOptionsMenu` method of your activity and add code to inflate and set the new menu using `getMenuInflater.inflate(R.menu.menu_main, menu)`, and also set references to the new menu items.

```
@Override public boolean onCreateOptionsMenu(Menu menu) {
    // Inflate the menu; this adds items to the action bar if it is present.
    getMenuInflater().inflate(R.menu.menu_main, menu);

    // Get the query params menu items.
    mQueryUsMenuItem = menu.getItem(0);
    mQueryCaMenuItem = menu.getItem(1);
    mQueryFrMenuItem = menu.getItem(2);
    mQueryAuMenuItem = menu.getItem(3);
    mQueryBrMenuItem = menu.getItem(4);
    return true;
}
```

   This sets the variables you added previously to reference the menu items in the options menu, when the menu layout is first shown; you will use these references in a following step.

11. Override the `onOptionsItemSelected` method of your activity, replace the entire method body with the following code:

```
@Override public boolean onOptionsItemSelected(MenuItem item) {
    // Handle menu item selection.
    switch (item.getItemId()) {
        case R.id.Query_US:
            mQueryUsMenuItem.setChecked(true);
            QueryFeatureLayer().execute("United States");
            return true;
        case R.id.Query_CA:
            mQueryCaMenuItem.setChecked(true);
            new QueryFeatureLayer().execute("Canada");
            return true;
        case R.id.Query_FR:
            mQueryFrMenuItem.setChecked(true);
            new QueryFeatureLayer().execute("France");
            return true;
        case R.id.Query_AU:
            mQueryAuMenuItem.setChecked(true);
            new QueryFeatureLayer().execute("Australia");
            return true;
        case R.id.Query_BR:
            mQueryBrMenuItem.setChecked(true);
            new QueryFeatureLayer().execute("Brazil");
            return true;
        default:
           return super.onOptionsItemSelected(item);
    }
}
```

   This code responds when a menu option is selected and then begins a query task, passing in information related to the specific item that was selected. You will define the `QueryFeatureLayer` next.

Define a task to run a query and display the results

Performing a query involves a network call to the feature service. In order for the app UI thread to remain responsive while the query is being executed, you will create an `AsyncTask` to perform the work on a background thread.

Learn more about Keeping your app responsive.

1. In the **MainActivity** class, create a private subclass called `QueryFeatureLayer` that inherits from `AsyncTask`. run the query task off the UI thread:

```
private class QueryFeatureLayer extends AsyncTask<String, Void, FeatureResult> {
}
```

   You should see a message asking you to implement the abstract method `doInBackground`.

2. Add the following code to the `QueryFeatureLayer` class to define the `doInBackground` method.

Copyright © 1995-2016 Esri. All rights reserved.

```
@Override
        protected FeatureResult doInBackground(String... params) {

            String whereClause = "CNTRY_NAME='" + params[0] + "'";

            // Define a new query and set parameters
            QueryParameters mParams = new QueryParameters();
            mParams.setWhere(whereClause);
            mParams.setReturnGeometry(true);

            // Define the new instance of QueryTask
            QueryTask queryTask = new QueryTask(mFeatureServiceURL);
            FeatureResult results;

            try {
                // run the querytask
                results = queryTask.execute(mParams);
                return results;
            } catch (Exception e) {
                e.printStackTrace();
            }
            return null;
        }
```

Note that this method receives a `String` parameter; this value will be based on the selected menu item, defined in the `onOptionsItemSelected` method you added previously. This method will be called on a background thread. Its results will be passed to the `onPostExecute` method that you will add next.

Refer to the imports list at the bottom of this tutorial to make sure you have imported the correct classes.

3. Add the following code to the `QueryFeatureLayer` class to define the `onPostExecute` method.

```
@Override
        protected void onPostExecute(FeatureResult results) {

            // Remove the result from previously run query task
            mGraphicsLayer.removeAll();

            // Define a new marker symbol for the result graphics
            SimpleMarkerSymbol sms = new SimpleMarkerSymbol(Color.BLUE, 10, SimpleMarkerSymbol.STYLE.CIRCLE);

            // Envelope to focus on the map extent on the results
            Envelope extent = new Envelope();

            // iterate through results
            for (Object element : results) {
                // if object is feature cast to feature
                if (element instanceof Feature) {
                    Feature feature = (Feature) element;
                    // convert feature to graphic
                    Graphic graphic = new Graphic(feature.getGeometry(), sms, feature.getAttributes());
                    // merge extent with point
                    extent.merge((Point)graphic.getGeometry());
                    // add it to the layer
                    mGraphicsLayer.addGraphic(graphic);
                }
            }

            // Set the map extent to the envelope containing the result graphics
            mMapView.setExtent(extent, 100);
        }
```

Note that this method receives a `FeatureResult` parameter; this value was created in the `doInBackground` method you added previously. This method takes each feature in the `FeatureResult` and adds new graphics to the results graphics layer, drawing the results with a blue circle symbol. Finally, the map extent is updated to show the new graphics.

You can now test your query is working.

Run the application

To test your app, you should either have a connected device ready for debugging, or have a set up and started an emulator. To find our more, refer to the Android documentation on Using the emulator or Using hardware devices.

1. In the Android Studio toolbar, click **Run**.
2. In the **Choose Device** dialog, select the device or emulator you wish to use, then click OK
3. When the app opens on your device, it shows a topological map.
4. In the action bar of the app, tap the options overflow, and select one of the query options available.
   The map updates to show blue symbols for the features that satisfy that query.

Copyright © 1995-2016 Esri. All rights reserved.

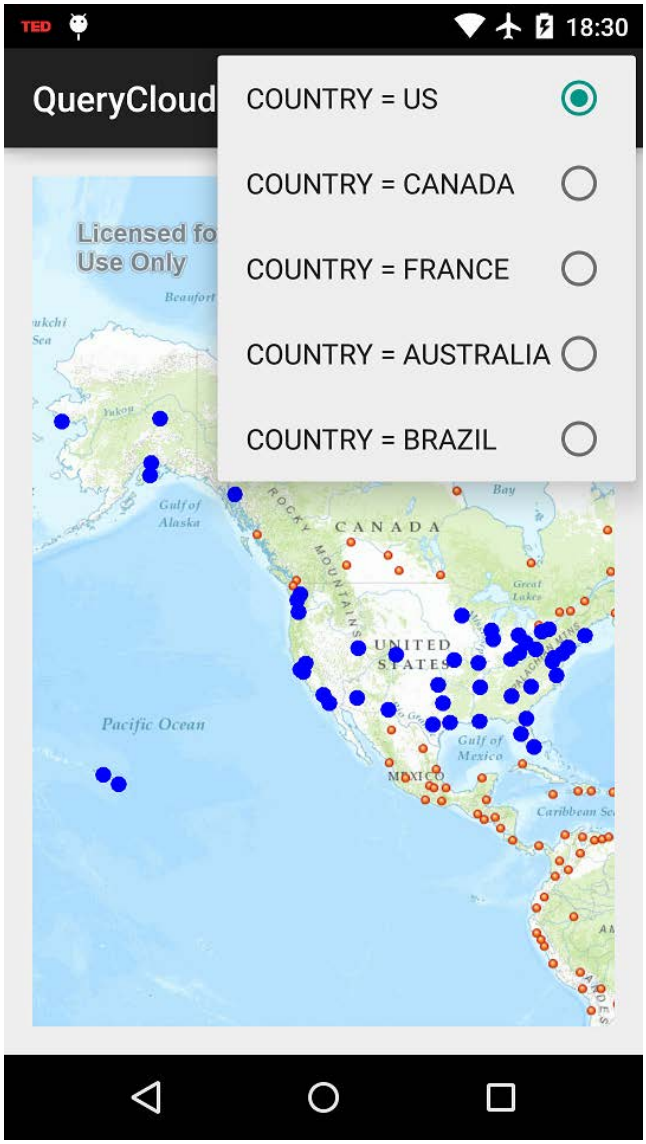

That's it, you have built an app that displays feature data from an ArcGIS.com hosted service, and queries that service.

See an enhanced version of the QueryCloudFeatureService sample on the developers.arcgis.com website—this demonstrates how you can add a progress dialog while your query is executing, and also how to show callouts when the user taps on a graphic in the results graphics layer. Fork the samples repo on GitHub to work with the sample.

Tip: The complete list of imports for your project should be:

```
import android.graphics.Color;
import android.os.AsyncTask;
import android.os.Bundle;
import android.support.v7.app.ActionBarActivity;  // May vary depending Android Studio version and options chosen
import android.view.Menu;
import android.view.MenuItem;

import com.esri.android.map.GraphicsLayer;
import com.esri.android.map.MapView;
import com.esri.android.map.ags.ArcGISFeatureLayer;
import com.esri.core.geometry.Envelope;
import com.esri.core.geometry.Point;
import com.esri.core.map.Feature;
import com.esri.core.map.FeatureResult;
import com.esri.core.map.Graphic;
import com.esri.core.symbol.SimpleMarkerSymbol;
import com.esri.core.tasks.query.QueryParameters;
import com.esri.core.tasks.query.QueryTask;
```

Copyright © 1995-2016 Esri. All rights reserved.

Add geocoding to your app

The ArcGIS Runtime SDK for Android provides a `Locator` class that allows you to match addresses and place names to locations on the map (known as geocoding). The locator relies on Esri's geocoding web services to perform these functions.

Create the PlaceSearch project in Android Studio

Start by creating a new Android application project. These steps are essentially the same as covered in the Add a map to your app tutorial. For more information about the project set up steps, refer to the Add a map to your app tutorial.

1. In the Android Studio **Welcome** screen, under **Quick Start**, click **Start a new Android Studio project**.
2. In **Application name**, enter `PlaceSearch`. Optionally change the **Company Name** and **Project Location** if you want to, then click **Next**.

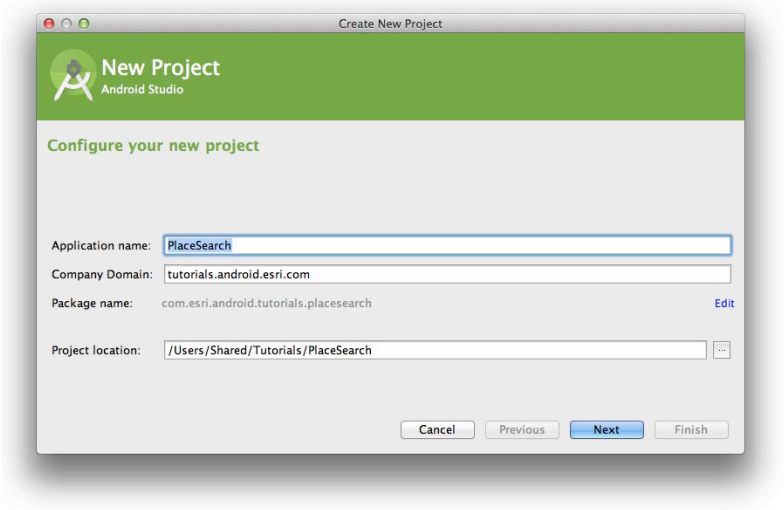

3. Leave the default **Phone and Tablet** option selected, in the **Minimum SDK** drop-down list, choose **API 15: Android 4.0.3**, then click **Next**.
4. Click **Blank Activity**, then click **Next**.
5. Leave the default names for the activity, layout, title, and menu resource, and click **Finish**.
   A new default Android application project opens, showing a default layout.

Next you will add the Runtime Android SDK Android dependency.

Add the ArcGIS Runtime for Android AAR dependency

Here you will add the Runtime Android SDK dependency to your application module as an Android Archive (AAR) package.

1. In the **Android project view** window, under **Gradle Scripts**, double-click **build.gradle (Project: PlaceSearch)**. This opens the gradle build script for the project where you can add the Esri ArcGIS Maven repository URL as shown below:

```
allprojects {
    repositories {
        jcenter()
        // add the esri arcgis maven repo
        maven {
            url 'http://esri.bintray.com/arcgis'
        }
    }

}
```

2. In the **Android project view** window, under **Gradle Scripts**, double-click **build.gradle (Module: app)**.
3. In the `dependencies` section of the script, add a new value `compile 'com.esri.arcgis.android:arcgis-android:10.2.9'`:

```
dependencies {
  compile fileTree(dir: 'libs', include: ['*.jar'])
  [...]
  compile 'com.esri.arcgis.android:arcgis-android:10.2.9'
}
```

Copyright © 1995-2016 Esri. All rights reserved.

4. In the `android` section of the script, after `defaultConfig`, add the following values:

```
packagingOptions{
  exclude 'META-INF/LGPL2.1'
  exclude 'META-INF/LICENSE'
  exclude 'META-INF/NOTICE'
}
```

5. In the **Android project view** window, under **manifests**, double-click **AndroidManifest.xml**.
6. In the **AndroidManifest.xml** file, add the following elements as children of the `manifest` element:

```
<uses-feature android:glEsVersion="0x00020000"android:required="true" />
<uses-permission android:name="android.permission.INTERNET" />
```

7. In the Android Studio toolbar, click **Sync Project with Gradle Files**. Alternatively, when you see the **Gradle files have changed since last project sync** message at the top of the gradle script window, click **Sync Now**.

You have added a dependency to the Runtime Android SDK AAR to your app module. Next, you'll add code and a `MapView`.

Add a map and a graphics layer

In this step you will add a `MapView` to your layout. You will also add a graphics layer to display the results of your geocoding requests.

1. In the **Android project view** window, under **app**, navigate to **res > layout**, then double-click **activity_main.xml**.
   Note that depending on the type of activity chosen and the version of Android Studio, your project may contain only one layout XML file, **activity_main.xml**, or multiple layout files, including **content_main.xml**; if so, open this file instead.
2. At the bottom-left of the window, click **Text** to show the XML view of the layout.
3. Select the entire `TextView` XML element and replace it with a `MapView` element as shown below:

```
<com.esri.android.map.MapView
        android:id="@+id/map"
        android:layout_width="fill_parent"
        android:layout_height="fill_parent"
        mapoptions.MapType="Topo"
        mapoptions.center="34.056215, -117.195668"
        mapoptions.ZoomLevel="16"/>
```

   This map element has mapoptions attributes that tell the `MapView` to display initially using a default Topo map service layer, and to center the map at a specific set of coordinates, and zoom the map to a specific level.
4. In the **Android project view** window, under **app**, navigate to **java > com.esri.android.tutorials.placesearch**, then double-click **MainActivity** to open the activity source code file.
5. Add the following class variable declarations to the top of the **MainActivity** class:

```
MapView mMapView;
GraphicsLayer mLocationLayer;
Point mLocationLayerPoint;
String mLocationLayerPointString;
```

   These variables will hold references to the `MapView` you added to the layout, and also to the graphics layer which will hold geocode results.
6. Android Studio will highlight in red the classes which must be imported to the class file. Place the cursor at the line with text highlighted in red and press **ALT+Enter** to resolve the symbol and import the `com.esri.android.map.MapView`, `com.esri.android.map.GraphicsLayer` and `com.esri.core.geometry.Point` classes to your activity class.

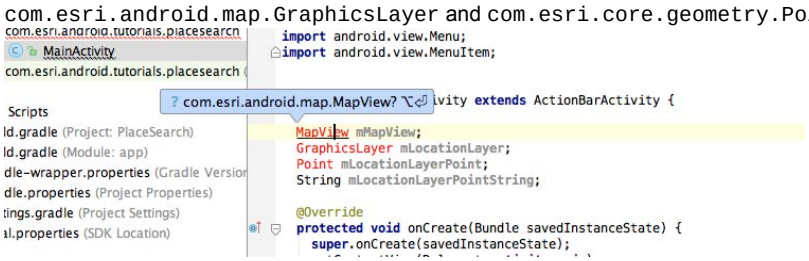

   You should resolve symbols for any similar errors you get throughout this tutorial.

   Note: A complete list of imports is available at the end of this tutorial so you can check you have imported the classes correctly.

7. In the `OnCreate` method, after the content view is set, set the reference to the `MapView` in the layout, and then create the feature service layer and graphics layer, and add both layers to the map:

Copyright © 1995-2016 Esri. All rights reserved.

```
mMapView = (MapView)findViewById(R.id.map);
mLocationLayer = new GraphicsLayer();
mMapView.addLayer(mLocationLayer);
```

8. After the code you just added, add the code below to set a listener that will be called when the `MapView` is initialized. You will check this in a later step to see if the map is ready for a user to make queries.

```
mMapView.setOnStatusChangedListener(new OnStatusChangedListener() {
  public void onStatusChanged(Object source, STATUS status) {
    if ((source == mMapView) && (status == STATUS.INITIALIZED)) {
      mIsMapLoaded = true;
    }
  }
});
```

You now have an app that contains a map with a graphics layer. You can run the app and test your code is working so far—it should simply display the topological map. Next, you will add controls to the action bar to allow a place or address to be entered.

Allow users to enter an address

Now you will add Android `Views` to the action bar of your layout to allow a user to enter text specifying an address or place to search for.

1. In the **Android project view** window, under **app**, navigate to **res > values**, then double-click **strings.xml**.
2. Add the following string resources:

```
<string name="action_settings">Settings</string>
<string name="action_search">Place Search</string>
<string name="search_hint">Search address or place</string>
<string name="menu_search">Search</string>

<string name="address_search">Searching for Address</string>
<string name="addressSearchFailed">Address search failed</string>
<string name="noResultsFound">No results found</string>
```

   These strings will be displayed to the user in the action bar user interface, and later on if there are problems finding results. You will use them in the steps below.

3. In the **Android project view** window, navigate to **app > res**, then right-click **layout**.
4. Choose **New > Layout resource file**.
5. In the **New Resource File** dialog, enter the following:
   - **File name**: `search_layout.xml`
   - **Root element:**: `RelativeLayout`
   - **Source set**: `main`
   - **Directory name**: `layout`
6. Click **OK**.
   This adds a new XML resources directory and resource file to your app module.
7. In the **Text** view of the **search_layout.xml** window, add the following element to the existing `RelativeLayout` element:

```
   <ImageButton
        android:id="@+id/searchButton"
        android:layout_width="wrap_content"
        android:layout_height="wrap_content"
        android:layout_alignParentLeft="true"
        android:layout_centerVertical="true"
        android:background="#000000"
        android:contentDescription="@string/menu_search"
        android:onClick="onSearchButtonClicked"
        android:src="@android:drawable/ic_menu_search" />

    <EditText
        android:id="@+id/searchText"
        android:layout_width="wrap_content"
        android:layout_height="wrap_content"
        android:layout_toRightOf="@id/searchButton"
        android:hint="@string/search_hint"
        android:inputType="text"
        android:minWidth="150dp" >

        <requestFocus />
    </EditText>
```

   The search button will run a method called `onSearchButtonClicked`. You will add this method later.

8. In the **Android project view** window, under **app**, navigate to **res > menu**, then double-click **menu_main.xml**.
9. Replace the entire `menu` element with the following elements:

Copyright © 1995-2016 Esri. All rights reserved.

```
<menu xmlns:android="http://schemas.android.com/apk/res/android"
      xmlns:tools="http://schemas.android.com/tools"
      xmlns:app="http://schemas.android.com/apk/res-auto"
      tools:context=".MainActivity">
  <item
      android:id="@+id/action_search"
      app:actionLayout="@layout/search_layout"
      android:title="@string/action_search"
      android:icon="@android:drawable/ic_menu_search"
      app:showAsAction="ifRoom|collapseActionView" />
</menu>
```

This defines the search option in the action bar should refer to the layout you added in the previous step.

10. In the **Android project view** window, under **app**, navigate to **java > com.esri.android.tutorials.placesearch**, then double-click **MainActivity** to open the activity source code file.
11. Add the following class variable declaration to the top of the **MainActivity** class:

```
EditText mSearchEditText;
```

This variable will hold a reference to the `EditText` in the action bar where a user will enter a search string.

12. In the `onCreateOptionsMenu` method, add the following lines of code after the `getMenuInflater.inflate(R.menu.menu_main, menu)` line, and before the `return true` line.

```
View searchRef = menu.findItem(R.id.action_search).getActionView();
mSearchEditText = (EditText) searchRef.findViewById(R.id.searchText);

mSearchEditText.setOnKeyListener(new View.OnKeyListener() {

  @Override
  public boolean onKey(View view, int keyCode, KeyEvent keyEvent) {
    if(keyCode == KeyEvent.KEYCODE_ENTER){
      onSearchButtonClicked(mSearchEditText);
      return true;
    }
    return false;
  }
});
```

This sets the variables you added previously to reference the items in the options menu, when the menu layout is first shown; you will use these references in the following step.

13. In the `onOptionsItemSelected` method, replace the entire method body with the following code:

```
int id = item.getItemId();
if (id == R.id.action_search) {
  return true;
}
return super.onOptionsItemSelected(item);
```

This code indicates that no action needs to be taken when the option menu item is shown; instead, the place search is performed when the user clicks the Search button.

14. Now add the `onSearchButtonClicked` method to your `MainActivity` class.

```
public void onSearchButtonClicked(View view){
  InputMethodManager inputManager = (InputMethodManager) getSystemService(Context.INPUT_METHOD_SERVICE);
  inputManager.hideSoftInputFromWindow(getCurrentFocus().getWindowToken(), 0);
  String address = mSearchEditText.getText().toString();
  executeLocatorTask(address);
}
```

This hides the Android soft input keyboard (the keyboard shown on screen) and begins the place search when the user clicks the search button.

Define a task to run a query and display the results

Performing a place search involves a network call to the geocoding service. In order for the app UI thread to remain responsive while the place search is being executed, you will create an `AsyncTask` to perform the work on a background thread.

Learn more about Keeping your app responsive.

1. In the **MainActivity** class, create a function called `executeLocatorTask` using the code below:

Copyright © 1995-2016 Esri. All rights reserved.

```
private void executeLocatorTask(String address) {
        // Create Locator parameters from single line address string
        LocatorFindParameters findParams = new LocatorFindParameters(address);

        // Use the centre of the current map extent as the find location point
        findParams.setLocation(mMapView.getCenter(), mMapView.getSpatialReference());

        // Calculate distance for find operation
        Envelope mapExtent = new Envelope();
        mMapView.getExtent().queryEnvelope(mapExtent);
        // assume map is in metres, other units wont work, double current envelope
        double distance = (mapExtent != null && mapExtent.getWidth() > 0) ? mapExtent.getWidth() * 2 : 10000;
        findParams.setDistance(distance);
        findParams.setMaxLocations(2);

        // Set address spatial reference to match map
        findParams.setOutSR(mMapView.getSpatialReference());

        // Execute async task to find the address
        new LocatorAsyncTask().execute(findParams);
        mLocationLayerPointString = address;
    }
```

This function creates a `LocatorFindParameters` that is required to call the locator, specifies the search string entered by the user, and also sets a parameter to restrict the locator to search an area centered on the current extent of the map. Lastly, it creates a `LocatorAsyncTask` and calls execute—you will now create this `LocatorAsyncTask` class.

2. In the **MainActivity** class, create a private subclass called `LocatorAsyncTask` that inherits from `AsyncTask`. run the query task off the UI thread:

```
private class LocatorAsyncTask extends AsyncTask<LocatorFindParameters, Void, List<LocatorGeocodeResult>> {
  private Exception mException;
}
```

Note that you have also defined a class variable that holds an exception. This may be set in the `doInBackground` method on the background thread and later checked in the `onPostExecute` method on the UI thread. You should see a message asking you to implement the abstract method `doInBackground`.

3. Add the following code to the `LocatorAsyncTask` to define the `doInBackground` method.

```
@Override
protected List<LocatorGeocodeResult> doInBackground(LocatorFindParameters... params) {
  mException = null;
  List<LocatorGeocodeResult> results = null;
  Locator locator = Locator.createOnlineLocator();
  try {
    results = locator.find(params[0]);
  } catch (Exception e) {
    mException = e;
  }
  return results;
}
```

Note that this method receives a `LocatorFindParameters` parameter; this contains the parameters you prepared in the previous step that are required by the locator service task. This method will be called on a background thread. Its results will be passed to the `onPostExecute` method that you will add next. A class variable is set if an exception is thrown from the call to the locator.

4. Add the following code to the `LocatorAsyncTask` to define the `onPostExecute` method.

Copyright © 1995-2016 Esri. All rights reserved.

```
protected void onPostExecute(List<LocatorGeocodeResult> result) {
if (mException != null) {
                Log.w("PlaceSearch", "LocatorSyncTask failed with:");
                mException.printStackTrace();
                Toast.makeText(MainActivity.this, getString(R.string.addressSearchFailed), Toast.LENGTH_LONG).show();
                return;
            }

            if (result.size() == 0) {
                Toast.makeText(MainActivity.this, getString(R.string.noResultsFound), Toast.LENGTH_LONG).show();
            } else {
                // Use first result in the list
                LocatorGeocodeResult geocodeResult = result.get(0);

                // get return geometry from geocode result
                Point resultPoint = geocodeResult.getLocation();
                // create marker symbol to represent location
                SimpleMarkerSymbol resultSymbol = new SimpleMarkerSymbol(Color.RED, 16, SimpleMarkerSymbol.STYLE.CROSS);
                // create graphic object for resulting location
                Graphic resultLocGraphic = new Graphic(resultPoint, resultSymbol);
                // add graphic to location layer
                mLocationLayer.addGraphic(resultLocGraphic);

                // create text symbol for return address
                String address = geocodeResult.getAddress();
                TextSymbol resultAddress = new TextSymbol(20, address, Color.BLACK);
                // create offset for text
                resultAddress.setOffsetX(-4 * address.length());
                resultAddress.setOffsetY(10);
                // create a graphic object for address text
                Graphic resultText = new Graphic(resultPoint, resultAddress);
                // add address text graphic to location graphics layer
                mLocationLayer.addGraphic(resultText);

                mLocationLayerPoint = resultPoint;

                // Zoom map to geocode result location
                mMapView.zoomToResolution(geocodeResult.getLocation(), 2);
            }
}
```

Note that this method receives a list of `LocatorGeocodeResult` objects; this value was created in the `doInBackground` method you added previously. In this `onPostExecute` method, the location of the first result from the search is converted into a `Graphic` and added to the map, along with an additional `Graphic` which contains a result label drawn with a `TextSymbol`. Finally, the map extent is updated to show the result graphic.

You can now test your place search app is working.

Run the application

To test your app, you should either have a connected device ready for debugging, or have a set up and started an emulator. To find our more, refer to the Android documentation on Using the emulator or Using hardware devices.

1. In the Android Studio toolbar, click **Run**.
2. In the **Choose Device** dialog, select the device or emulator you wish to use, then click OK
3. When the app opens on your device, it shows a topological map.
4. In the action bar of the app, tap the options overflow, and select one of the query options available.
   The map updates to show blue symbols for the features that satisfy that query.

Copyright © 1995-2016 Esri. All rights reserved.

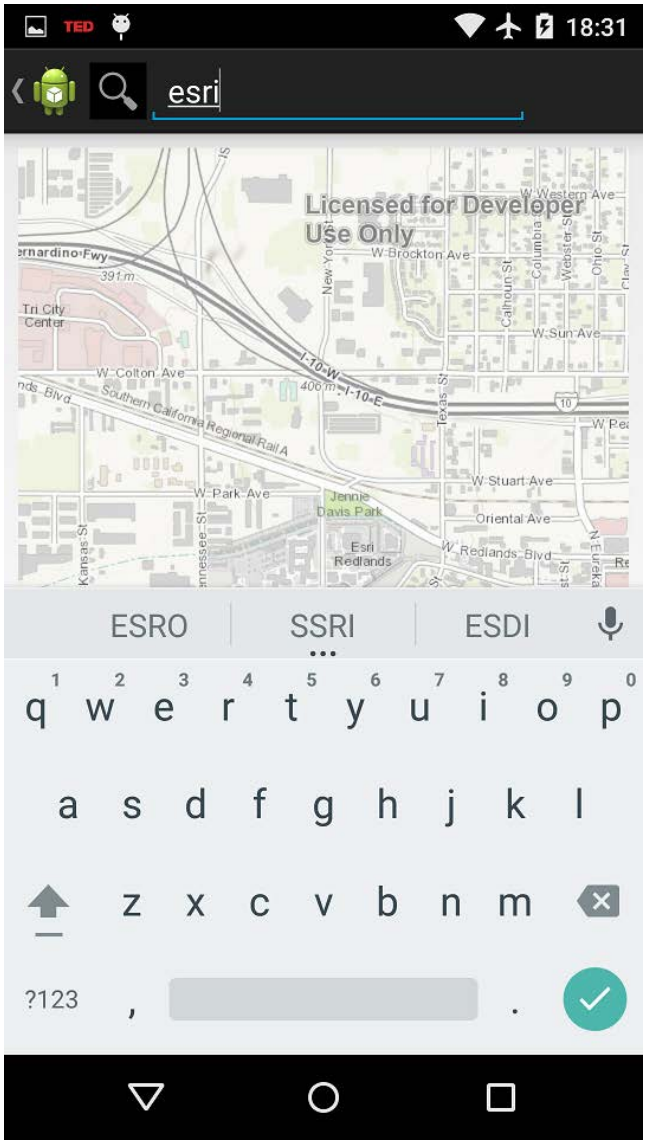

That's it, you have built an address and place search app with the ArcGIS Runtime SDK for Android.

See an enhanced version of the PlaceSearch sample on the developers.arcgis.com website—this demonstrates how you can add a progress dialog while your search is executing. Fork the samples repo on GitHub to work with the sample.

Copyright © 1995-2016 Esri. All rights reserved.

Tip: The complete list of imports for your project should be:

```
import android.content.Context;
import android.graphics.Color;
import android.os.AsyncTask;
import android.os.Bundle;
import android.support.v7.app.ActionBarActivity;  // May vary depending Android Studio version and options chosen
import android.util.Log;
import android.view.KeyEvent;
import android.view.Menu;
import android.view.MenuItem;
import android.view.View;
import android.view.inputmethod.InputMethodManager;
import android.widget.EditText;
import android.widget.Toast;

import com.esri.android.map.GraphicsLayer;
import com.esri.android.map.MapView;
import com.esri.core.geometry.Envelope;
import com.esri.core.geometry.Point;
import com.esri.core.map.Graphic;
import com.esri.core.symbol.SimpleMarkerSymbol;
import com.esri.core.symbol.TextSymbol;
import com.esri.core.tasks.geocode.Locator;
import com.esri.core.tasks.geocode.LocatorFindParameters;
import com.esri.core.tasks.geocode.LocatorGeocodeResult;
```

Copyright © 1995-2016 Esri. All rights reserved.

Maps and layers

A map is a canvas that draws layers of geographic data. Different layer types are used to draw different data types. For example, you may have data that is provided by a service or from local files; the data might be static in nature, or change over time. Maps can also show information relating to the map and its layers, such as GPS locations, and pop-ups.

A `MapView` is a component that allows you to draw a map in an Android app. This class inherits from the Android `ViewGroup` class, and acts as a container of one or more `Layer` objects. Properties of a `MapView` can be easily initialized by using `MapOptions` in layout XML or when creating a `MapView` programmatically.

To enable the workflows your app requires, and to maximize display performance, always consider the factors below when you create your map.

Layer types

Layers can generally be thought of as basemaps, operational, or graphics layers, depending on the data they display and how they are used, with each type of layer offering different functionality and performance characteristics.

- Background data that provides context and does not change often is generally considered as the basemap, for example, topography, imagery, streets, or buildings data. Basemap data is generally prepared and cached on a server as ready-to-access image tiles that are efficient to request and display in an app. ArcGIS Online provides a free set of ready-to-use basemap layers that are pre-rendered and cached to ensure they draw quickly. Alternatively, you can use the ArcGIS platform to create your own basemaps. For details on functionality and performance, see Basemap layers in the Layer types topic. For details on using offline basemaps, see Create an offline map.
- Data edited by app users, periodically changing data, or data resulting from analyses, may best be considered as operational layers. Typically, operational data is created and maintained by your organization. Displaying or working with operational data is often the main focus of an app. For details on functionality and performance and how to take operational layers offline, see Operational layers in the Layer types topic.
- Live, rapidly changing, ephemeral data may be appropriate for a graphics layer. For example, vehicle or workforce locations, geotriggered events, or temporary query results. Graphics are generated in memory in an app, or created in an app based on an external information feed. For details on functionality and performance, see Graphics layers in the Layer types topic.

Other types of specialized layers provide the ability to add a wide range of data and services to a map, for example WMS services and KML.

A wide variety of layer classes are provided by the API. Each can be used to display a specific data type, and each has its own functionality and performance characteristics. Generally, each layer class is used for basemap, operational, or graphics layers. However, these are not absolute rules, and the choice of class should be based on an understanding of the characteristics of each type. For information on the functionality and performance of different types of layers, see Layer types.

Layer order

The layer order in a map is important. Basemaps typically cover the entire surface of the map. They are added to the map first so that they draw under the layer and do not obscure other layers. Layers can be re-ordered, but this will not change the map's spatial reference.

Add operational layers to the map next. Graphics layers are typically added last and show on top of all other layers.

Spatial reference

Maps and layers use spatial references to help define where coordinates are located on the earth's surface. Distance units and coordinates of map operations are determined by the spatial reference of the map. The first layer in a map, typically the basemap, defines the spatial reference of the map, and this cannot be changed. If creating a `MapView` programmatically, the spatial reference of the map can be set by using the overloaded constructor that includes a `SpatialReference` parameter.

If the spatial reference of layers in a map are different to the spatial reference of the map, the layers must be reprojected to the spatial reference of the map before displaying. Some layer types cannot be re-projected, for example, tiled map layer services draw and cache on a server, and cannot be changed on the client.

To maximize performance, avoid reprojection entirely by ensuring all layers have the same spatial reference as the map.

Choose how to author a map

You can author a map in ArcGIS Online, add the data layers you require, define how the layers should appear, and use this map in your app. If creating a MapView programmatically, use the `WebMap` class to load a web map from a `Portal` and pass it to the overloaded MapView constructor. Alternatively, you can load a `WebMap` and add the layers to a MapView that already exists.

Copyright © 1995-2016 Esri. All rights reserved.

This allows you to interactively experiment with many aspects of the appearance and behavior of the map layers, and immediately view your changes online. By loading an online map in your app, you also gain the advantage of a centrally managed map, with the ability to change the map online independent of your application code, reducing the need for application redeployment. It is also easier to offer the user a choice of pre-defined online maps to open using the Portal API. Note that online maps may only contain online data.

Alternatively, you can build a map by defining and adding layers at runtime programmatically, or even add code to allow your users to add their layers. You can also make temporary changes to a map that you created online, by adding or removing layers, and changing a layer's appearance. This approach enables you to add offline layers to your map, and offers the flexibility of programmatic control, but lacks the centralized maintainable map. Create `Layer` objects and add them directly to the `MapView` using the `addLayer` method.

It is not possible to directly load map package (MPK) files or map documents saved from ArcGIS for Desktop into the map.

Behavior at runtime

Also consider how the map draws and behaves at runtime, and how the user interacts with it.

Map and layer initialization

Maps are initialized asynchronously after being created. Layers are also initialized asynchronously when added to the map. Attempting to access certain properties or operations of the map or its layers before they are initialized may throw errors. For example, getting the spatial reference or center of a map, or the name or extent of a layer. You can set the `OnStatusChangedListener` of a `MapView` so that you can run code upon initialization. You can also use this listener to find out if there are problems loading any of your layers. It's also good practice to set the initial extent of the map to ensure the user starts in a location relevant to the map's usage. You can use `MapOptions` to initialize a number of map properties in your layout XML.

Wraparound maps

Most flat representations of the world only extend to 180 degrees east and west longitude, the approximate location of the international date line, making it more difficult to visualize routes or shapes that cross the pacific ocean. However, the map can be configured to display the eastern and western hemispheres wrapping around each other and forming a continuous surface, giving the impression that the map is endless. Panning a map becomes similar to spinning a globe. See Enable wraparound around to learn how to display a wrap around map

Navigation and interaction

Consider what actions or gestures you enable to allow users to zoom, pan, and rotate the map. By default, the `MapView` allows users to use a two-finger pinch gesture to zoom in and out, and a single finger drag gesture to pan. To learn how to allow users to interact with and navigate the map in different ways, see Provide map tools.

Temporal data

Geographic data can change over time; therefore, some layers may show stored temporal data, which is information about the changing state of a dataset over time. For example, the progression of a hurricane changes in sea temperature, destruction of wildlife habitat, or the spread of disease. These layers are called time-aware layers.

You can configure a map with time-aware layers to display different periods of time. Stepping through time in your map can help you easily identify trends and patterns in the data that may have otherwise remained unnoticed. Use the `setTimeInterval` method on layers that implement the `TimeAwareLayer` interface. Learn more about working with time aware layers.

Copyright © 1995-2016 Esri. All rights reserved.

Layer types

Different layer types are used to draw different data types. Generally, the layers in a map can be categorized as either basemap, operational, or graphics layers. The functionality and performance may differ, depending on the characteristics of the data and how it is accessed and displayed in an app.

See Maps and layers to learn more about choosing how to build maps from layers.

Choosing layer types

Most layers display content from GIS server web services, such as ArcGIS for Server services, Bing Maps, Open Street Map, or WMS services.

One kind of service is known as a map service. Map services fall into two broad categories: dynamic or tiled. Dynamic map services return map images created on-the-fly when requested by a client. Tiled map services provide pre-generated images based on some tiling scheme, and the layer assembles these tiles in the client app. Another kind of service is known as a feature service. ArcGIS for Server feature services return sets of features from a single layer as a response.

Other layers display different types of content. A graphics layer does not rely on a web service for its content. Specialized layers are also available for working with data sources such as Web Map Services (WMS) information, and KML.

The sections below suggest the typical classes to use for your basemap, operational, and graphics layers. However, these are not absolute rules, and the choice of class should be based on an understanding of the characteristics of each type. Key characteristics and some examples of exceptions are discussed in the sections below.

A wide variety of layer classes are provided by the API. Each can be used to display a specific data type, and each has its own functionality and performance characteristics. Generally, each layer class is used for a particular layer type—basemap, operational, or graphics.

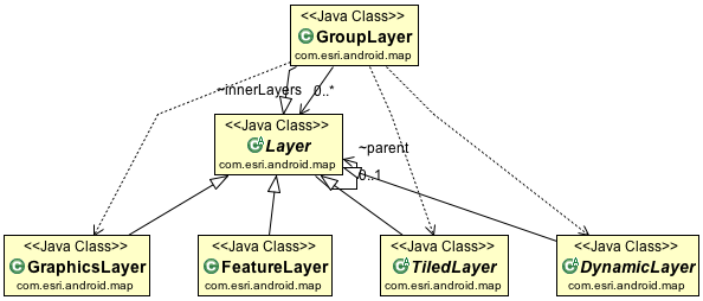

Common layer properties

All layer types inherit from a common class, which allows certain properties to be queried or changed for any layer type.

- Get the layer's full extent , using the `getFullExtent` method.
- Determine what spatial reference is used by the layer, using the `getSpatialReference` method.
- Hide and show the layer, using the `setVisible` method.
- Control how transparent or opaque a layer is, using the `setOpacity` method.
- Change the visible layer's scale range thresholds , using the `setMinScale` and `setMaxScale` methods.

Basemap layers

Basemap data is typically provisioned as a tiled map layer. Different classes are used to create basemap layers, depending on the displayed data.

If your basemap must be used in maps with a wide variety of different spatial references, or changes frequently, or is used infrequently, it may be more appropriate to publish data as a dynamic map service. Additionally, if your operational data changes infrequently and is used by a large amount of users, it may be more appropriate to publish it as a tiled map service.

Copyright © 1995-2016 Esri. All rights reserved.

Tiled service layers

API classes: ArcGISTiledMapServiceLayer, BingMapsLayer, OpenStreetMapLayer, WMTSLayer—Tiled map service layers are connected to cached map services (from ArcGIS for Server, an OpenGIS Web Map Tile Service implementation, OpenStreetMap, or Bing), which provide map images at predefined scales in a tiling scheme. The tiling scheme is set by the server. The map image tiles are raster (also called bitmap) images drawn on the map view and arranged into their tiling scheme by the client API. These services can contain multiple sublayers.

Functional characteristics

Because each tile image already exists on the server, it is not possible to change the visibility of the individual layers or the service's default spatial reference of the map (they can be considered as static map services). In addition, the data cannot change over time unless the cache is refreshed. Tiled service layers cannot be queried.

Performance characteristics

Tiled map services are some of the fastest map services available in the runtime. Map images are pre-created and cached by the server, and returned from the server very quickly. Multiple images are usually returned for a single map extent. Requests are made on multiple threads and the responses are handled asynchronously (tiles are requested and drawn individually from one another). This approach results in many small requests to the server and little client-side processing to draw the returned images. The size of each returned image increases as the resolution or complexity of the images increase. For example, high-resolution imagery tiles are larger in file size than topographic mapping for the same area and map extent.

Offline tiled layers

API classes ArcGISLocalTiledLayer— A cache of tiles can be downloaded from the server to the client device and displayed as a layer in an app, without the need to remain connected to the service. The cache can be downloaded as a single Tile Package (TPK) file, or as an ArcGIS Compact Cache, or can be created using ArcGIS for Desktop and directly provisioned to the device. Learn more about creating offline maps.

Functional and performance characteristics

Local tiled layers display even faster than tiled service layers, as no network calls are required to retrieve the image tiles. However, data must be prepared in advance by being generated and downloaded to the device over the network, or by provisioning the generated files directly to the device file storage. Other functional and performance characteristics are similar to that of tiled service layers.

Operational layers

Operational data is typically provisioned as a feature service, or as a dynamic map service. The choice of service type depends on what functionality and performance characteristics are required for the layers. If editing is required, use feature services; however, if complex rendering is required, dynamic map services may be more appropriate. More differences are highlighted below.

If your operational data does not require editing, changes infrequently, and is used by a very large amount of users, it may be more appropriate to publish it as a tiled map service. Conversely, if you have a basemap that must be used in maps with a wide variety of different spatial references, or changes frequently, or is used infrequently, it may be more appropriate to publish data as a dynamic map service.

Feature layers

Feature layers display data from feature services or from supported local data sources such as shapefiles, GeoPackages, and geodatabases. Feature layers can be used to display, select, and query features in a layer. If the underlying feature service or table supports editing, you can also use feature layers as a basis for editing geometry, attributes, and attachments.

Features in a feature layer are retrieved from a feature service as the app is used, or alternatively, are read from a feature data source stored locally on the machine. Features can also be downloaded from a sync-enabled feature service when the device is connected and cached locally for use when the device is offline. Choose from the options below (online, offline, or offline with sync) according to the workflows you want to support in your app.

Copyright © 1995-2016 Esri. All rights reserved.

Online

API classes: GeodatabaseFeatureServiceTable, FeatureLayer—The geometry, attributes, and attachments of features from a feature service are temporarily cached in a table on the client. The feature layer uses this table to draw the features natively in the map, based on the map extent. New features are retrieved automatically when you navigate the map. Changes to features already cached in the app are not retrieved from the server table unless the layer is specifically refreshed. The local table cache is discarded when the layer is disposed.

Create and initialize a `GeodatabaseFeatureServiceTable`, then create a `FeatureLayer` by passing in the `GeodatabaseFeatureServiceTable` to the constructor, and add the `FeatureLayer` to the map. The `GeodatabaseFeatureServiceTable` class is a subtype of `GeodatabaseFeatureTable`, which is used for offline feature layers.

Feature request modes—`GeodatabaseFeatureServiceTable` supports three different modes, which significantly affect the functionality and performance of the layer. You can set the mode you require by using the `setFeatureRequestMode` method of the `GeodatabaseFeatureServiceTable` before the table is initialized.

- **On interaction cache**—The default mode for tables containing spatial features. When the table is used in a layer in a map, features are requested for the visible extent and are cached locally. Features continue to be requested and cached as you navigate the map to other extents. For extents that have already been visited, features are not requested again unless the cache has been cleared or refreshed. The API chooses the optimal way to execute a query, either querying the local cache, or querying the service and importing the results into the local cache. For example, if a spatial query is executed in the current map extent, results are obtained from the local cache—this avoids re-fetching features from the service. This mode is best for editing data that does not change frequently on the server, or if there is a large amount of data on the service. This mode is not recommended if you have an occasional or unreliable connection to the service.
- **Manual cache**—The default mode for tables containing non-spatial records. The table's local cache can be populated by calling the `populateFromService` method of `GeodatabaseFeatureServiceTable`. Features are never requested, and the cache is never populated based on map interaction. Queries are executed against the local cache, with one exception—the `queryRelated` method is always executed against the server. This mode is recommended when the data from the service is not expected to change frequently and when it is not critical for the client app to always have the most recent changes. The amount of data populated to the local cache from the service is expected to be small.
- **On interaction no cache**—When the table is used in a layer in a map, features are requested for the visible extent and are cached locally. Features are requested from the server each time you navigate the map, regardless of whether the extent has been visited before. Queries are always executed against the server. Navigating the layer and querying the table both cause the local cache to be cleared and repopulated; meaning any local edits that haven't been applied to the server are lost. This mode is recommended if it is critical for your app to always be working with the latest data. It is expected that this mode will have a higher network usage. This mode is not recommended if you have an occasional or unreliable connection to the service.

Offline, sync-enabled

API classes: GeodatabaseFeatureTable, FeatureLayer—A local cache of a feature service can be downloaded from ArcGIS for Server and displayed as a layer in your app, without the need to remain connected to the service. Features are downloaded to a local geodatabase file, using the `GeodatabaseSyncTask`.

Create and initialize a `GeodatabaseFeatureTable`, and create a `FeatureLayer` by passing in the `GeodatabaseFeatureTable` to the constructor, then add the `FeatureLayer` to the map. Learn more about creating offline maps.

Offline

API classes: ShapefileFeatureTable, GeopackageFeatureTable, FeatureLayer—Use a feature layer to display data from a cache of features in a shapefile (.shp) or a GeoPackage (.gpkg), stored locally on the device. A GeoPackage is a data source that conforms to the OGC GeoPackage specification (http://www.opengeospatial.org/standards/geopackage).

Create a `Geopackage` or `ShapefileFeatureTable` from the path to the GeoPackage or shapefile, respectively. For a GeoPackage, retrieve a `GeopackageFeatureTable` from the `Geopackage`. To display the features in your local data source, pass the `GeopackageFeatureTable` or the `ShapefileFeatureTable` to the constructor of a `FeatureLayer`, then add the `FeatureLayer` to the map.

Copyright © 1995-2016 Esri. All rights reserved.

Functional characteristics

As the feature attribute, geometry, and any attachment information is cached locally, individual features in these layers can be queried and filtered based on spatial queries or text-based WHERE clauses. If the layer is created from an editable ArcGIS for Server feature service, the feature layer can be edited, and edits pushed to the service when required. If the layer is created from a GeoPackage data source, you can edit the features locally, but as there is no associated feature service, you cannot sync the edits with a service.

If the feature layer was originally created from a sync-enabled feature service, edits made to the features in an offline layer can be uploaded to the service, and updates from the service can be synced to the client app.

Local caches cannot be reprojected automatically, so they should be used in a map that has the same spatial reference as the local cache.

Performance characteristics

As full feature information is cached locally in a geodatabase or GeoPackage, and features are drawn natively, this layer type offers excellent performance of display when zooming and panning the map, within the extent of cached features. Querying such features is also efficient, enabling app functions such as providing real-time updates of query results in a map.

The local geodatabase cache must be initially created, which requires server-side processing time, and the download to the device may require extensive network usage and subsequent local device storage. Additionally, app memory increases with the number and complexity of the features cached. Network usage can be eliminated by provisioning the cache directly to the device in advance, by creating the cache using a desktop computer and copying it to the device internal memory (or expandable memory cards if your device supports this). This workflow may be suitable if the data is not changing too frequently.

ArcGIS feature service layers

API classes: ArcGISFeatureLayer—Feature service layers create features from a JavaScript Object Notation (JSON) response from an ArcGIS for Server feature service or map service. Each feature contains geometry and attribute information, and is drawn natively in the map.

ArcGIS feature service layers can only be used when the device remains connected; however, they do offer support for geodatabase versions and queries on related fields. Many existing apps use ArcGIS feature service layers as they were added to the API before other feature layer types.

For layers based on ArcGIS for Server 10 or above services, the feature layer inherits symbology from the service definition; for older versions, you must specifically set a renderer on the feature layer.

Functional characteristics

ArcGIS feature service layers provide rich functionality, like other feature layer types, because they contain complete information about all the features displayed on the map. The individual features in these layers can be queried, selected, and filtered based on spatial queries or text-based WHERE clauses. If the layer is created from an editable ArcGIS for Server feature service, the feature layer can be edited.

Performance characteristics

The rich functionality of the feature layer comes at a slight cost in terms of request processing times by the server, response processing times, and rendering speed. This is because the information about each feature is returned by the server, parsed and processed into features on the device, and drawn onto the screen. Performance characteristics of feature service layers can be adapted by changing feature layer settings.

Understanding these issues, and applying the most appropriate settings of feature layers for your scenario, help you to maximize the performance of feature layers for your app and build exciting and functional apps.

Copyright © 1995-2016 Esri. All rights reserved.

Feature service layer settings

Changing the client-side settings of feature service layers allows you to change all aspects of the layer's performance, including the request frequency profile, response size, processing time, and rendering time. These settings are mostly located in the ArcGISFeatureLayer.Options class, but some are set on the feature layer class (remember, these need to be set after the layer has initialized).

Note: For maximum performance, regardless of the client side settings, you should still adhere to best practices for setting up the services on the server.

Output attribute fields—The attribute fields returned from the server can be limited by setting a list of required output fields. This means that less data is sent over the network and processed in the response, as responses contain less information. Use the `outFields` field on the `ArcGISFeatureLayer.Options` class.

Maximum vertex offset—The complexity, and therefore in-memory size, of geometries returned from the server can be reduced by setting a maximum offset value. This value, set in map units, is used to generalize the feature vertices on the server before the information is returned. It should not be used if you're editing the feature, as some vertices will be missing and topological rules can easily be broken. Use the `maxAllowableOffset` field on the `ArcGISFeatureLayer.Options` class.

Mode—Feature service layers support three different modes, which significantly affect the functionality and performance of the layer. Set the mode you require in the `mode` field of the `ArcGISFeatureLayer.Options` passed to the feature layer constructor.

- **Snapshot**—Features are immediately retrieved from the server after the layer is added to the map, and are not requested again. This eliminates any need to return to the server for further information, but can become cumbersome if the layer contains a large number of features, or very a smaller number of very complex features. The device can be overwhelmed by the number of features it needs to draw, or the service can reach its limit of how many features it can return at once. The default number of features returned by ArcGIS for Server 10 is 1000, but this limit is configurable on the server for each service. Use snapshot mode only with smaller datasets.
- **On demand**—Only features within the current extent of the map are retrieved from the service. As you navigate the map, the layer fetches more features for subsequent map extents. More requests to the server will be made by your app because features may be fetched every time you navigate the map. However, on demand mode has the potential to use less memory than snapshot mode, providing the map extent only requires a subset of features to be fetched from the service. It may therefore be particularly suitable for larger datasets with a lot of complex features. Sensible layer scale thresholds should be set on the service to ensure that a reasonable number of features are returned at any map scale. You can customize, to a certain degree, how many and how often features are fetched from the service by adjusting the buffer factor settings on the layer. For example, a buffer factor of 2 allows the layer to request features within an extent twice as large as the current extent. This can improve the user experience as these features are immediately visible when you pan within that buffer, without requiring additional requests. You can also set a refresh interval after which an on-demand layer should automatically refresh its features. Expired features can be retrieved automatically as soon as the expiration interval is reached, or when you next navigate the map and the cached features are refreshed. These settings can be useful if the data in the service changes frequently and you don't want the layer to display stale features.
- **Selection**—Features are requested from the service only when a selection is made. Initially, no features are requested at all. This mode is useful when you only want to highlight one or more features in your app. Often, selection mode is used in a map in addition to a dynamic map service layer of the same dataset. For example, if you have a road layer with custom symbology not supported for display using a feature layer, but you want to display and perhaps allow editing on the layer, a dynamic map service layer and a feature layer in selection mode can effectively be used in conjunction. When a feature in the feature service layer is selected, this can be drawn using a simple client-side symbol. Once the edit is applied and the selection cleared, a refresh of the dynamic map service layer displays the updated road.

Feature collections—The same class used to display feature services can also be initialized to display a collection of features, either defined in a JSON string from an ArcGIS for Server Representational State Transfer (REST) API call, or created manually in code. No active service connection is required in this case. This layer can be queried in the same way as a normal feature layer, but cannot be edited using the `applyEdits` method.

Dynamic map service layers

API classes: ArcGISDynamicMapServiceLayer, ArcGISImageServiceLayer—A dynamic map service can contain multiple layers, rendered by the server each time a request is made, and returned to the client as a single raster image. The image does not contain any additional information about the features in the map. Dynamic map layers are connected to ArcGIS for Server dynamic map services.

Copyright © 1995-2016 Esri. All rights reserved.

Functional characteristics

Since map images are drawn by the server on every request, if your data changes, those changes are seen as soon as a new map image is requested. In addition, the visibility of individual map layers can be changed, and the data shown can be filtered by adding individual layer definition expressions. The spatial reference of this layer type can be changed from the service's default, and ArcGIS for Server re-projects each image on-the-fly to the requested output spatial reference (that of the map).

The API does not include specific methods to query individual dynamic map service layers. However, the layer's end point URL can be used by a find task, identify task, query task, or used to create a separate queryable feature layer.

Performance characteristics

For every map request, ArcGIS for Server creates a map image on-the-fly. Consequently, the server rendering time depends on the amount and complexity of the data in the map. However, if the map service is well optimized, this should result in a relatively quick response to the client, but will typically be longer than responses for an equivalent tiled map service layer. The file size of the returned map image also depends on the data in the map. As the server response is an image, this can be drawn quickly as it requires little client-side processing.

Dynamic map service layers are good candidates for showing features that change periodically over time, or that require some sort of filtering by the user, as long as the feature information (attributes, geometry, or symbol) is not required in the client. They are often used in conjunction with a feature layer in selection mode to show the latest map data without having to pull all of the feature information from the server (as with feature layers) on every map request.

Graphics layers

Graphics layers can be used to display information that is not covered by the other types of layer above. Graphics are defined in memory in your app, based on user actions, resulting from an operation, or converted from the information in an external information feed.

Feature layers share a little functionality with graphics layers. For more information about when to use feature layers versus graphics layers, see Features and graphics .

API classes: GraphicsLayer—Graphics in a graphics layer can contain geometry and attribute information, and can draw graphics using individual symbols or a layer-based renderer. Like features in a feature layer, each graphic draws natively in the map.

For an example of symbolizing graphics layers, see the Symbolizing results sample.

Functional characteristics

As a graphic contains geometry and attribute information, you can display information about the graphics. For example, you can show pop-ups for graphics in a graphics layer, by using the `createPopupInfo` method.. You can also find graphics using screen coordinates using the `getGraphicIDs` method , in response to user action events on the map. The graphics layer is responsible for drawing graphics on the map in spatial coordinates. It is not designed for drawing non-geographical marginalia such as north arrows or copyright text.

Performance characteristics

Avoid adding too many graphics to the graphics layer, as graphics are held in the device memory. If you're working with a lot of features (thousands), it may be more appropriate to put these into a feature layer, by creating a feature service.

Graphics layers are designed to best perform when graphics change location regularly, with optimal animation of the features upon zooming in and out on the map. It's possible to change the default rendering mode of a graphics layer to instead be optimized to draw greater numbers of features added to the layer in batches. Layers with the same rendering mode should be grouped together. For more information see the `GraphicsLayer.RenderingMode` enum.

Specialized layers

Other layer classes are available to display specific types of data in a map.

- Group layers—Group layers are composed of a collection of other layers, and are used to represent datasets that are composed of many different layers.
- WMS—Web Map Service layers allow you to add Open Geospatial Consortium (OGC) WMS services to a map. These services are a type of dynamic map service and may function as basemap or operational layers. The `WMSLayer` is used to add WMS services to a map.

Copyright © 1995-2016 Esri. All rights reserved.

- KML—KML files can store a wide range of geographic shapes, symbology, and attributes. They can be added to a map using the `KMLLayer` class, if the file is available at a publically accessible URL. KML layers are a subclass of `TimeAwareLayer`.
- Message groups—Message group layers display graphics with military symbols from one of the supported symbol dictionary types. They can be added to a map using the `MessageGroupLayer` class, and are a type of group layer.
- Bing maps—Bing maps services can be added as layers in a map by using the specialist `BingMapsLayer` class. These services are tiled map services that usually provide basemap layers for a map.
- OpenStreetMap—Open StreetMap services can be added as layers in a map by using the specialist `OpenStreetMapLayer` class. These services are tiled map services that usually provide basemap layers for a map

Copyright © 1995-2016 Esri. All rights reserved.

Working with symbols and renderers

Symbols define all non-geographic aspects of a graphic's appearance. This includes a graphic's color, border width, transparency, and more. The ArcGIS Runtime SDK for Android includes many symbol classes, each of which allows you to specify symbology in a unique way. Each symbol type is also specific to one geometry type (that is, point, line, or polygon).

Symbol types

The available symbols and associated geometries are summarized in the table below:

Symbol	Geometry	Description	Symbol class
Simple marker symbol	Point	Symbolizes points with simple shapes	`SimpleMarkerSymbol`
Picture marker symbol	Point	Symbolizes points with images	`PictureMarkerSymbol`
Simple line symbol	Polyline	Symbolizes lines with pre-defined styles	`SimpleLineSymbol`
Simple fill symbol	Polygon	Fills polygon with a variety of patterns	`SimpleFillSymbol`
Text symbol	Poine, polyline, or polygon	Displays text labels for geometries	`TextSymbol`

All of the symbol classes above inherit from the `Symbol` interface.

Renderers

A renderer defines a set of symbols used for graphics in a graphics layer. Use renderers to symbolize features with different colors or sizes based on the graphic's attribute values. To use a renderer, create it, define the symbology, then set the renderer property for the graphics layer. The following is a class diagram showing the renderer types you can create:

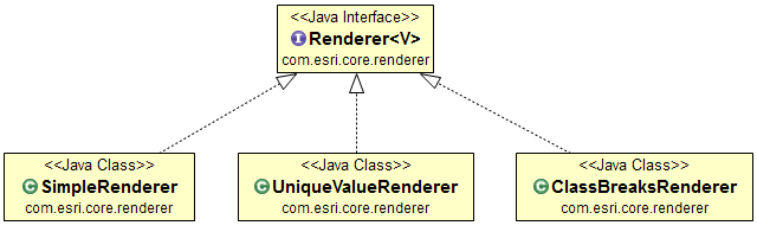

Create a simple renderer

A simple renderer uses the same symbol for every graphic. Create the renderer with the desired symbol, then the graphics layer's renderer property.

```
// create a symbol for renderer
SimpleMarkerSymbol sms = new SimpleMarkerSymbol(Color.BLUE, 5, STYLE.CROSS);
// instantiate a simple renderer with the symbol created above
SimpleRenderer simRenderer = new SimpleRenderer(sms);
// add the renderer to the graphics layer
gLayer.setRenderer(simRenderer);
```

Create a class breaks renderer

A class breaks renderer symbolizes each graphic based on the value of a numeric attribute. Graphics with similar values for the attribute get the same symbol. The "breaks" define the values at which the symbology changes.

The following code creates a `ClassBreaksRenderer` to symbolize cities according to size. There are three class breaks: MIN_POP to 50,000, 50,000 to 250,000, and 250,000 to MAX_POP.

Copyright © 1995-2016 Esri. All rights reserved.

```
// instantiates a class break renderer
ClassBreaksRenderer cityPopRenderer = new ClassBreaksRenderer();
// set the attribute field used by renderer to match values
cityPopRenderer.setField("POP1990");
// set the minimum population value = MIN_POP
cityPopRenderer.setMinValue(MIN_POP);

// create a class break representing the first
// low class break
ClassBreak lowClassBreak = new ClassBreak();
// set label as Low
lowClassBreak.setLabel("Low");
// set class break max value
lowClassBreak.setClassMaxValue(50000);
// set a pre-defined simple marker symbol
lowClassBreak.setSymbol(lowMarkerSymbol);

// create two more class breaks representing the
// mid and max class breaks
ClassBreak midClassBreak = new ClassBreak();
midClassBreak.setLabel("Middle");
midClassBreak.setClassMaxValue(250000);
midClassBreak.setSymbol(midMarkerSymbol);
ClassBreak highClassBreak = new ClassBreak();
highClassBreak.setLabel("High");
highClassBreak.setClassMaxValue(MAX_POP);
highClassBreak.setSymbol(maxMarkerSymbol);

// add class breaks to the class break renderer
cityPopRenderer.addClassBreak(lowClassBreak);
cityPopRenderer.addClassBreak(midClassBreak);
cityPopRenderer.addClassBreak(highClassBreak);

// add the class break renderer to the graphics layer
gLayer.setRenderer(cityPopRenderer);
```

Copyright © 1995-2016 Esri. All rights reserved.

Features and graphics

In the Runtime SDKs, a `Graphic` is a type of `Feature`. The `Feature` interface is implemented by the classes `Graphic` and `GeodatabaseFeature`. All features, including graphics, have geometry and attributes, and are therefore indistinguishable when displayed on the map. So, what's the difference between features and graphics?

The biggest difference is that features are stored with a dataset and graphics are stored in memory. Features are displayed in a feature layer, which may use data from an online service or from a local cache. In either case, those features are physically stored on disk somewhere. Graphics, on the other hand, are always stored in memory on the client. They live in a graphics layer, and must be instantiated programmatically at runtime.

Note: Although the term can also refer to a graphic, "feature" is most often used to refer to things like geodatabase or geopackage features, meaning features stored in a database. Graphics are usually called "graphics", although "graphic feature" would be more precise.

Copyright © 1995-2016 Esri. All rights reserved.

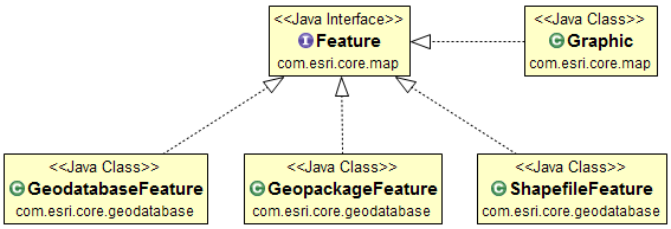

Features...

- Have geometry
- Have attributes stored in a table
- Are stored on disk
- Are displayed through a feature layer (of a single geometry type)
- Are symbolized according to the renderer defined for the feature service or the feature layer that contains them
- Can be selected via the feature layer

Graphics...

- Have geometry
- Have attributes stored in a collection of key/value pairs
- Are stored in memory
- Are displayed through a graphics layer (that can display graphics of diverse geometry types)
- Can be symbolized individually or according to the renderer applied to the graphics layer that contains them
- Can be selected
- Some display properties can be defined by the graphic, such as visibility and draw order

When to use features

Because features are stored in a database, they can be used to display a common set of data to all users of your app and between user sessions. On the other hand, graphics are created in the client app at runtime and therefore can only be used for a single user's session (unless you add logic to persist the graphics between sessions, such as serialization). Features can define a geometry type and an attribute schema that is consistent for the data you want to represent.

With these differences in mind, perhaps the most common use of features is to share data among several users.

You can publish features as part of a feature service. Layers in a feature service can be displayed in a map, symbolized in various ways, and queried using attribute, spatial, or temporal criteria. The rich editing tools available in the Runtime SDK also make it possible to expose editing functionality in your application, including the ability to control the types of edits made and who gets to make them.

When to use graphics

Graphics are created programmatically at runtime and do not need to be physically stored. This makes them ideal for displaying things specific to the current user's session with the application, or anything that only needs to be displayed temporarily.

Graphics are commonly used to perform things such as:

- Show the results of spatial analysis, such as buffer polygons around input features
- Highlight a selection in the map
- Add geometry drawn interactively by the user
- Provide animation for data that changes quickly (such as GPS positions or moving objects)
- Show text on the map

Copyright © 1995-2016 Esri. All rights reserved.

Spatial references

Spatial references are important, and for someone new to GIS, they can appear complicated. Spatial references ensure that spatial data for different layers or sources can be integrated for accurate viewing or analysis. When you combine layers with different spatial references for viewing or analysis, ArcGIS Runtime SDKs attempt to handle this disparity for you by setting defaults and requesting data in the appropriate spatial reference from services where possible. But sometimes, you'll need to know about spatial references to get things working. Whether it's to align data together, make your map look right, improve accuracy, or just make a layer show up, understanding the basics of spatial references can be critical.

Spatial references can be referred to by a well-known ID (WKID). Some common WKIDs are mentioned in the text below; for a more complete description, see Spatial reference and transformation specifications in this topic.

Why spatial references are important

To integrate spatial data together into a map or during analysis, ArcGIS Runtime must know where things are located on the earth's surface. To do this it uses coordinates. Coordinates are associated with a coordinate system, which is a frame of reference around a model of the earth's surface. Not all coordinates and their associated coordinate systems are the same; they can be in different units (degrees minutes seconds, decimal degrees or meters) or they can be based on different types of models. To move coordinates from one coordinate system to another, mathematical transformations are used. A spatial reference provides all of this information, along with parameters such as the desired level of precision, in a way so that spatial data can be viewed and analyzed together.

For more detailed information on these topics, see What are map projections? in the ArcGIS help.

A note on setting spatial references

In the API, a spatial reference class represents a coordinate system. It contains a coordinate system and helper methods to access and use it. The spatial reference class is associated with several other API classes that need a coordinate system to function. For example, layers have an associated spatial reference. Some task parameters, such as those for the Query task and the Local Routing task, are spatial reference objects.

Coordinate systems and projections

The models used for coordinate systems are split into two main categories, geographic and projected:

- Geographic coordinate systems (GCSs) use a three-dimensional spherical (or ellipsoidal) surface to define locations. The coordinates are based on angles from the center of the earth to the surface. Typically GCSs use latitude and longitude specified in degrees. The coordinates derived from a GPS device are returned in a GCS named WGS84 (WKID=4326).
- Projected coordinate systems (PCSs) are planar (two-dimensional), Cartesian, or "flat." Unlike a GCS, a projected coordinate system has constant lengths, angles, and areas across the two dimensions. PCSs use a geographic coordinate system and then distort data so it can be represented on a flat surface for use in a printed map or on a screen. Coordinates are identified by x,y coordinates on a grid. ArcGIS Online, Google, and OpenStreetMap basemaps use the same projected coordinate system named Web Mercator Auxiliary Sphere (WKID=3857).

You may come across a third coordinate system, a local coordinate system, which is often unrelated to any other coordinate system. The origin and the x,y coordinate units correspond to a local point of reference. Because the relationship of a local coordinate system to another coordinate system cannot be established easily, these are sometimes referred to as unknown coordinate systems.

When you need to know about spatial references

Add layers to the MapView

When ArcGIS Runtime renders a map, it needs to draw all the data in the same spatial reference so that the data lines up. When you create a MapView, the spatial reference of the first layer you add is used as the spatial reference of the entire map; this is typically the basemap.

When you add additional layers to your map (MapView), you may need to request them in the same spatial reference your MapView is using. Whether or not you must request this depends on what type of layer you're adding. The following sections describe layer types as they relate to setting your map's spatial reference.

Copyright © 1995-2016 Esri. All rights reserved.

Graphic layers

Graphic layers don't support on-the-fly reprojection of data; ArcGIS Runtime renders these layers client-side. On-the-fly reprojection of graphics layers could require intensive processing that would slow down the MapView rendering time. When you add a graphics layer to your MapView, you must ensure its spatial reference is the same as that defined on the MapView (typically set by the basemap layer). You also need to ensure that individual graphics added to your graphics layer have coordinates in the matching spatial reference; otherwise, the graphics may not show up on the map.

Feature layers from feature services

When using a feature service table backed by an ArcGIS for Server feature service, the server supports reprojection. When a Service Feature Table is to be added to a MapView, be sure to set its spatial reference based on the MapView's spatial reference before you initialize the table. This will ensure the data is requested from the server in the correct spatial reference. When using the ArcGIS feature layer, when this is added to the MapView, ArcGIS Runtime automatically determines the correct spatial reference and requests data from the feature service accordingly.

Feature layers from geodatabase feature tables

Your tables in the geodatabase must be in the same spatial references as the map you are adding them to, because on-the-fly reprojection of data from these tables is not supported. If you're using the desktop workflow, ensure the ArcMap map frame is using the desired spatial reference before you run the create runtime content tool. If you're using the services workflow, set the desired spatial reference in the SyncTaskParameters before you generate the geodatabase. For details on the desktop and server workflows, see Offline patterns in this guide's "Create an offline map" topic.

FeatureLayers from shapefiles FeatureTables and GeoPackagesFeatureTables

Your tables in the geodatabase need to be in the same spatial references as the map you are adding them to; on-the-fly reprojection of data from these tables is not supported.

DynamicMapServiceLayers

If these are ArcGIS for Server map services, then the server supports reprojection on the fly. When you add an ArcGISDynamicMapService to the MapView, ArcGIS Runtime automatically asks for the map image in the correct spatial reference for you (based on the MapView's spatial reference). WMS map services, a type of dynamic map service, support a limited set of spatial references, so you should set the spatial reference on a WMSLayer before you add it to the MapView.

Tiled layers

TiledLayers are precached layers. At the time of caching, a spatial reference is used and is therefore predefined. It's typically not possible to request TiledLayers in a different spatial reference from that defined in the service (unless the server supports doing this on the fly; most do not). If an ArcGIS Tiled Layer is added to a MapView in a different spatial reference, it cannot be drawn as a tiled layer.

Edit data

When creating new features from coordinates, the coordinate values must match the spatial reference for the layer; otherwise, the features will not show up in the correct location on the map. You can use the geometry engine to ensure coordinates are converted correctly before they're added to a layer. For more information about the geometry engine, see Geometry operations.

Perform analysis

Geometry objects used for analysis (for example, determining spatial relationships, such as where polygons intersect) require that the spatial reference be known before the analysis is performed. Otherwise, results may not be accurate or correct. Likewise, it's meaningless to compare two geometry objects or determine their spatial relationship if they have different spatial references. To display a geometry in a map layer, the geometry must have either the same spatial reference as the layer or be projected to the layer's spatial reference. To use two objects together, if those objects each have a spatial reference, they should have the same spatial reference.

For more information on analysis through geometry operations, see Geometry operations.

Copyright © 1995-2016 Esri. All rights reserved.

Convert from one spatial reference to another

When using the geometry engine to convert from one spatial reference to another, the in and out spatial references must be specified. You can also specify the transformation you want to use. For details, see Projecting to different spatial references in "Geometry operations."

Spatial reference and transformation specifications

To define a spatial reference, you can use either a WKID (sometimes also known as spatial reference ID or SRID) or a full-text definition referred to as well-known text (WKT). WKIDs are defined by standards bodies or organizations. ArcGIS supports a variety of WKIDs, typically those defined by the European Petroleum Survey Group (EPSG) or Esri, as well as a few other commonly used IDs. WKTs are full-text definitions of all of the parameters that specify a spatial reference (as mentioned above). To learn which WKIDs are supported and look at their WKT definitions, see the following:

- Geographic coordinate systems
- Projected coordinate systems
- Datum transformations

Related topics

Geometry operations
Geographic coordinate systems
Projected coordinate systems
Datum transformations

Copyright © 1995-2016 Esri. All rights reserved.

Create an offline map

You can provide offline maps to users so they can be productive when their network connectivity is poor or nonexistent. To create offline maps, you create geodatabases and tile caches and then build layers from those, as described in this topic.

You can add capabilities for the following:

- Viewing basemaps (also known as tiled layers, created from tile caches).
- Editing operational data (also known as feature data and vector data). This includes querying and editing the location, shape, attributes, related tables, and attachments of features.
- Syncing edits when online again (upload their edits and/or pull down only the updated features that others have edited), if your data is service based.
- Performing blazing fast searches for locations (geocode and reverse geocode) and routes. For details, see Geocoding and Place Search and Find a route.

License: An app licensed at the Basic level can include viewing offline basemaps and viewing offline feature data contained in a geodatabase. You must license your app at the Standard level if it includes any of the following functionality: offline editing, syncing offline edits with an upload, offline routing, and offline geocoding. See License your app for more information on license levels.

Offline patterns

Two main patterns are available for ArcGIS Runtime offline:

- Services pattern—Best for supporting a large number of users, this pattern allows multiple offline users to edit the same data layers and sync edits later, when online.
- Desktop pattern—Best for supporting applications with read-only data that requires periodic updates.

Services pattern

The services pattern is best for supporting a large number of users. This pattern allows multiple offline users to edit the same data layers and sync edits later, when online.

For operational data, you can use a sync-enabled feature service from ArcGIS for Server, ArcGIS Online, or Portal for ArcGIS to generate the geodatabase for offline use. Through the synchronization process, you can control whether a user can upload their changes, download others' changes, or both. This allows the application to have an up-to-date view of the data. When more than one user is editing the same feature and the edits conflict, the last edit synchronized to the service overrides the others.

In one workflow, sometimes referred to as a pre-planned workflow, you generate the geodatabase once and load it onto your users' devices. This workflow requires you to register a geodatabase.

For basemap data, ArcGIS tiled map services and ArcGIS Online basemaps allow for the on-demand creation of tile caches, letting you take your basemaps offline.

Desktop pattern

The desktop pattern, which allows a user to consume ArcGIS Runtime content created in ArcGIS for Desktop, is best for supporting apps with read-only data requiring periodic updates. This content can include features, tabular data, tile caches, network datasets for directions, and locators. For more information on creating ArcGIS Runtime content using ArcGIS for Desktop, see Creating ArcGIS Runtime content.

Include operational data

You can prepare operational data for offline use in one of two ways:

- Generate a geodatabase from a sync-enabled feature service using the API (services pattern).
- Generate a geodatabase using ArcGIS for Desktop (desktop pattern).

This section describes preparing operational data and adding it to your app.

Copyright © 1995-2016 Esri. All rights reserved.

Generate a geodatabase from a sync-enabled feature service

To generate a geodatabase for offline use, you need a feature service from ArcGIS 10.2.2 for Server or later or a service from ArcGIS Online. The feature service must be enabled for sync. You can publish feature services using ArcGIS for Desktop or create feature services hosted on ArcGIS Online using the ArcGIS for Developers website. To enable sync for a feature service in ArcGIS Online, edit the feature service item in ArcGIS Online, and check the Sync check box. Once you have a sync-enabled feature service, you can generate a geodatabase for your area of interest; this creates a copy of your features that you can work with offline.

To generate a geodatabase for offline use:

1. Specify parameters—Before generating a geodatabase, specify parameters for its creation, such as the area of interest.
2. Generate a geodatabase—Request and download copies using the methods on the `GeodatabaseSyncTask`class.
3. Register a geodatabase—After generating the geodatabase you may need to register it.

Specify parameters

When generating a geodatabase for offline use, you supply parameters allowing you to control the following:

- The layers to include in the generated geodatabase
- The extent of the generated geodatabase (and the spatial reference of this extent)—The extent of the geodatabase requested from the ArcGIS feature service is typically an envelope. However, point, line, and polygon (including multipart) geometries are supported, allowing for more complex data extractions to be defined. Regardless of the geometry type, features that intersect with the supplied geometry are extracted. No matter what geometry you supply, you must also specify its spatial reference.
- The spatial reference of the generated geodatabase
- Whether or not to include feature attachments in the generated geodatabase
- The synchronization model for the geodatabase—The synchronization model controls how edits made to the geodatabase in the field are applied back to the feature service during synchronization. The model supported is defined by the data that was used to create the sync-enabled feature service. If the data is non-versioned, the synchronization model is per layer. This is the most flexible model, allowing you to synchronize on a layer-by-layer basis, based on the layers you specify. If the data is versioned, the synchronization model is per geodatabase. This synchronizes the entire geodatabase, including all layers and tables at once.
- Whether to only include a subset of the features in the specified extent, by specifying layer queries to filter features by attribute values

Copyright © 1995-2016 Esri. All rights reserved.

Generate a geodatabase

To request a geodatabase from a sync-enabled feature service for your area of interest, use the `GeodatabaseSyncTask`class for this, after setting up your `GenerateGeodatabaseParameters` for the task. Then, call the `generateGeodatabase` method on the `GeodatabaseSyncTask`. If the task completes successfully, you will get the path to the downloaded geodatabase in a callback.

Copyright © 1995-2016 Esri. All rights reserved.

The following code snippet shows how this can be achieved:

```
      static GeodatabaseSyncTask gdbSyncTask;

/**
 * Create the GeodatabaseTask from the feature service URL w/o credentials.
 */
private void downloadData(String url) {
  Log.i(TAG, "Create GeoDatabase");
  // create a dialog to update user on progress
  dialog = ProgressDialog.show(mMapView.getContext(), "Download Data", "Create local runtime geodatabase");
  dialog.show();

  // create the GeodatabaseTask
  gdbSyncTask = new GeodatabaseSyncTask(url, null);
  gdbSyncTask.fetchFeatureServiceInfo(new CallbackListener<FeatureServiceInfo>() {

    @Override
    public void onError(Throwable arg0) {
      Log.e(TAG, "Error fetching FeatureServiceInfo");
    }

    @Override
    public void onCallback(FeatureServiceInfo fsInfo) {
      if (fsInfo.isSyncEnabled()) {
        createGeodatabase(fsInfo);
      }
    }
  });

}

/**
 * Set up parameters to pass the the submitTask() method. A
 * CallbackListener is used for the response.
 */
private static void createGeodatabase(FeatureServiceInfo featureServerInfo) {
  // set up the parameters to generate a geodatabase
  GenerateGeodatabaseParameters params = new GenerateGeodatabaseParameters(featureServerInfo, mMapView.getExtent(),
      mMapView.getSpatialReference());

  // a callback which fires when the task has completed or failed.
  CallbackListener<String> gdbResponseCallback = new CallbackListener<String>() {
    @Override
    public void onError(final Throwable e) {
      Log.e(TAG, "Error creating geodatabase");
      dialog.dismiss();
    }

    @Override
    public void onCallback(String path) {
      Log.i(TAG, "Geodatabase is: " + path);
      dialog.dismiss();
      // update map with local feature layer from geodatabase
      updateFeatureLayer(path);

    }
  };

  // a callback which updates when the status of the task changes
  GeodatabaseStatusCallback statusCallback = new GeodatabaseStatusCallback() {
    @Override
    public void statusUpdated(GeodatabaseStatusInfo status) {
      Log.i(TAG, status.getStatus().toString());

    }
  };

  // create the fully qualified path for geodatabase file
  localGdbFilePath = createGeodatabaseFilePath();

  // get geodatabase based on params
  submitTask(params, localGdbFilePath, statusCallback, gdbResponseCallback);
}


/**
 * Request database, poll server to get status, and download the file
 */
private static void submitTask(GenerateGeodatabaseParameters params, String file,
    GeodatabaseStatusCallback statusCallback, CallbackListener<String> gdbResponseCallback) {
  // submit task
  gdbSyncTask.generateGeodatabase(params, file, false, statusCallback, gdbResponseCallback);
}

/**
 * Add feature layer from local geodatabase to map
 */
private static void updateFeatureLayer(String featureLayerPath) {
  // create a new geodatabase
  Geodatabase localGdb = null;
  try {
    localGdb = new Geodatabase(featureLayerPath);
  } catch (FileNotFoundException e) {
    e.printStackTrace();
  }

  // Geodatabase contains GdbFeatureTables representing attribute data
  // and/or spatial data. If GdbFeatureTable has geometry add it to
  // the MapView as a Feature Layer
  if (localGdb != null) {
    for (GeodatabaseFeatureTable gdbFeatureTable : localGdb.getGeodatabaseTables()) {
      if (gdbFeatureTable.hasGeometry())
        mMapView.addLayer(new FeatureLayer(gdbFeatureTable));
    }
  }
  // display the path to local geodatabase
  pathView.setText(featureLayerPath);

}
```

Copyright © 1995-2016 Esri. All rights reserved.

Your geodatabase should now be on your local machine or device.

Register a geodatabase in a pre-planned workflow

In a services pattern workflow known as a pre-planned workflow, you generate the geodatabase once and load copies of it onto each user's device.

This workflow has the following benefits:

- Allows you to control which maps/geodatabase your users can select from. You can pre-load your maps/geodatabase onto your users' devices.
- Allows you to schedule the geodatabase generation for off-peak hours.
- Reduces the load on the server. Multiple clients aren't generating a geodatabase for the same area because you've generated it for them.

If you use this workflow, you must register the geodatabase (copy) on each device that uses it. For details and important tips on registering and unregistering geodatabases, see Register a geodatabase in a pre-planned workflow in "Sync offline edits."

Generate a geodatabase from ArcGIS for Desktop

Use ArcGIS 10.2.1 for Desktop or later to generate a geodatabase using the **Share as > ArcGIS Runtime Content** menu item as described in the ArcGIS help topic Creating ArcGIS Runtime content.

Add geodatabase content to your app

1. Open the geodatabase using the `Geodatabase`class, which takes the path to the geodatabase in the class constructor. This class has methods that let you list the feature tables and properties in the geodatabase file.

```
//Open the geodatabase file
Geodatabase geodatabase = new Geodatabase("{/path/to/geodatabase}");
```

2. A feature layer is used to display features on a map. To create a feature layer from a geodatabase, first, use the geodatabase to retrieve a feature table, and next, create a feature layer from that feature table. The geodatabase potentially contains several geodatabase feature tables, depending on the layers you requested during geodatabase generation. If the geodatabase was created from a sync-enabled feature service, you can retrieve a feature table by ID corresponding to the feature service's layer ID.

```
private GeodatabaseFeatureTable geodatabaseFeatureTable;

//get the geodatabase feature table
geodatabaseFeatureTable = geodatabase.getGeodatabaseFeatureTableByLayerId(0);

//create a feature layer
featureLayer = new FeatureLayer(geodatabaseFeatureTable);
```

3. Add the feature layer to the map. Once the layer is added and initialized, your features display in the map.

```
mMapView.addLayer(featureLayer);
```

   The features you will see in the map depend on the map extent displayed. If your features are not displaying, make sure you have panned or zoomed to the appropriate extent, and that the spatial reference of the geodatabase matches the spatial reference of the map. You can set the spatial reference of a geodatabase at generation time, as described in Generate a geodatabase from a feature service.

4. When you are done with the geodatabase, for example, when closing the application, call its `dispose` method. This ensures that file resources release and the database correctly closes.

Include a basemap

A basemap is a map layer that helps orient the user of the map. Typically it sits behind operational layers and shows roads and buildings to give context to the operational layer.

Create a basemap from a tiled service (download a basemap)

An offline copy of tiled map services can be requested so that a basemap is available when the application is working in an offline environment. These copies can be downloaded in the form of a tile package (.tpk file) or compact cache by using the API's

Copyright © 1995-2016 Esri. All rights reserved.

`ExportTileCacheTask`class. The map service used for this operation must support the creation of an offline tile cache; specifically, it must support the `exportTiles` operation that appears at the bottom of the service's HTML page.

When requesting a tile cache, define the following properties:

- How the levels of detail (also known as LODs) for the tile cache should be specified; currently only level IDs are supported
- Level IDs for the tile cache
- Extent of the tile cache (this can be a polygon geometry, not just an envelope)
- Spatial reference for the tile cache

For a list of ArcGIS Online basemaps that you can take offline, see Tiled Basemaps.

When creating an offline tile cache from a tiled service, consider the following:

- The `exportTiles` operation used to generate tile caches is only available on ArcGIS 10.2.1 for Server or later services.
- The time required to create a tile cache varies depending on the extent requested, the number of levels requested, the network connection speed, and so on. Use the API's `estimateTileCacheSize` method on `ExportTileCacheTask` to get the approximate size of a tile cache for a specific set of parameters. Try generating a smaller tile cache to get an idea of how long caching will take when planning a large offline data capture event.
- When generating a tile cache from an ArcGIS Online basemap, there is a cap on the number of tiles you can download in one request, which is 100,000 tiles. Read more on this in the exportTiles REST documentation.
- Organizations that use their own ArcGIS Server to host offline tile caching can configure the ArcGIS Server's `maxExportTilesCount` via the admin to change the default 100,000-cache tile cap.

Create a basemap using ArcGIS for Desktop

When you create a basemap using ArcGIS for Desktop, you can set the format, tiling schemes, and levels of detail. For details, see the online ArcGIS help topics How to create a tile package and About tile packages.

Related topics

Sync offline edits
Edit features
Finding a Route
Search for Places

Copyright © 1995-2016 Esri. All rights reserved.

Time-aware layers

ArcGIS 10 includes support for time-aware layers, which store information about the changing state of a dataset over time. Time-aware layers allow you to step through periods of time revealing patterns and trends in your data. For example, you can:

- Track hurricane paths and other meteorological events
- Explore historic patterns in data through time, such as population or land use changes
- Monitor changes in well production or status
- Map the progression of a wildfire or flood
- Visualize the spread of disease over time

In ArcGIS Runtime SDK for Android, ArcGIS dynamic layers and ArcGIS feature layers can be filtered by time and/or date as they implement the `TimeAwareLayer` interface.

Working with dates

When working with time-aware layers, you may need to create Java dates to define a time extent or to query a layer.

```
// use Java Calendar date objects
int year = 1970;
Calendar startDate = Calendar.getInstance();
startDate.set(year, Calendar.JANUARY, 1);
Calendar endDate = Calendar.getInstance();
endDate.set(year, Calendar.DECEMBER, 31);
```

Filtering data

The `TimeAwareLayer` interface has a `setTimeInterval` method that takes a `TimeExtent` object. `TimeExtent` acts as a filter for layers that support time, such as `ArcGISDynamicMapServiceLayer` and `ArcGISFeatureLayer` layers. In this example, only data that meets the input time definition of January 1 through December 1, as shown in the date example above, appears.

```
// create the time extent with a calendar date
TimeExtent timeExtent = new TimeExtent(startDate, endDate);
// set the time interval on a feature layer
fLayer.setTimeInterval(timeExtent);
// add the feature layer to the map
mMapView.addLayer(fLayer);
```

Copyright © 1995-2016 Esri. All rights reserved.

Add raster data

You can add rasters to your map. A raster consists of a matrix of cells (or pixels) organized into rows and columns (or a grid) where each cell contains a value representing information, such as temperature. Rasters are digital aerial photographs, imagery from satellites, digital pictures, or even scanned maps. For more information on rasters, see What is raster data? in the ArcGIS help.

To add raster files stored on your device into an ArcGIS Runtime map, create a `FileRasterSource`, instantiate a `RasterLayer` from the `FileRasterSource`, and then add that layer to your map as follows.

```
MapView mMapView;
......
String rasterPath = Environment.getExternalStorageDirectory().getPath() + "/raster/test.tif";
FileRasterSource rasterSource;
try {
 rasterSource = new FileRasterSource(rasterPath);
} catch (IllegalArgumentException ie) {
  Log.d(TAG, "null or empty path");
} catch (FileNotFoundException fe) {
  Log.d(TAG, "raster file doesn't exist");
} catch (RuntimeException re) {
  Log.d(TAG, "raster file can't be opened");
}
RasterLayer rasterLayer = new RasterLayer(rasterSource);
mMapView.addLayer(rasterLayer);
```

`FileRasterSource` is an object that represents the raw raster file on disk. `RasterLayer` is the object that can be added to the map to allow the raw raster file to be rendered. The spatial reference of a `RasterLayer` is, by default, set to be the same as the raw raster file used to construct the layer. On-the-fly reprojection of rasters is supported by following the workflow described in set a spatial reference.

You can also change the renderer to change how the data is visualized on the map.

Set a spatial reference

Like other layers, when a `RasterLayer` is added to an empty map, it becomes the basemap of that map, and the spatial reference of the `MapView` is set to equal that of the `RasterLayer`.

You can also add a `RasterLayer` as an operational layer to a map whose spatial reference is the same as the layer's. However, when adding a `RasterLayer` as an operational layer to a map with a different spatial reference, the layer can't be reprojected on the fly (can't be added to the map successfully). To address this, reproject your `FileRasterSource` as shown in the following code snippet.

```
MapView mMapView = ...;
......
String rasterPath = ...;
FileRasterSource rasterSource = new FileRasterSource(rasterPath);
rasterSource.project(mMapView.getSpatialReference());
RasterLayer rasterLayer = new RasterLayer(rasterSource);
```

Note: On-the-fly reprojection might add to rendering time.

Change the renderer

When a `RasterLayer` is created from a `FileRasterSource`, a default renderer is applied to the layer based on its properties so that it can be visualized on a map. As with other layer types supported by ArcGIS Runtime, `RasterLayer` allows you to change its renderer by creating a `RasterRenderer` and applying it to the layer. When you change the renderer of a `RasterLayer`, only the visual aspect of the layer will be changed on the fly. The raster data won't be affected.
An example of setting a StretchRenderer with a Minimum-Maximum stretch type on a RasterLayer.

```
RasterLayer rasterLayer = ...;
......
StretchParameters stretchParams = = new MinMaxStretchParameters();
StretchRenderer renderer = new StretchRenderer();
renderer.setStretchParameters(stretchParams);
rasterLayer.setRenderer(renderer);
```

`RasterLayer`
`RasterRenderer` is the interface that all the renderers that can be applied to a `RasterLayer` must implement. It allows the raster layer in the map to change how the data is displayed. You can specify that you want to use one of the renderers described below.

- `BlendRenderer`—Allows you to specify elevation data for a raster you're displaying and allows a hillshade to be computed and blended with the original raster. This provides a look similar to the original raster but with some terrain shading, for a rich, textured look.
- `ColormapRenderer`—Provides a discrete mapping of raster pixel values to colors. All pixels matching the specified value are rendered using the mapped color. This can be useful for tasks such as land classification.
- `HillshadeRenderer`—Creates a grayscale 3D representation of the surface, with the sun's relative position taken into account for shading the image. It can be applied to a `RasterLayer` created with single-band raster data.

Copyright © 1995-2016 Esri. All rights reserved.

- `StretchRenderer`—Displays continuous raster cell values across a gradual ramp of colors. Use the `StretchRenderer` to draw a single band of continuous data. The `StretchRenderer` works well when you have a large range of values to display, such as in imagery, aerial photographs, or elevation models.
- `RGBRenderer`—Uses the same methods as the `StretchedRenderer` but allows you to combine bands as red, green, and blue composites.

Supported rasters

Supported raster file formats include the following:

- ASRP/USRP
- DTED0, 1, 2
- GeoPackage
- GeoTIFF
- HFA
- HRE
- IMG
- JPEG
- JPEG 2000
- NITF
- PNG
- RPF
- SRTM1, 2

Not all RPF products/formats are listed here, but they're generally supported. See the MIL-STD-2411 publication for details.

Note: Rasters stored in geodatabases (personal, file, or enterprise) are not supported.

Copyright © 1995-2016 Esri. All rights reserved.

Enable wrap around

The world is round. It does not end at the dateline. However, most flat representations of the earth only extend up to 180 east and west longitude. This makes it difficult to visualize areas that span across the dateline, or routes that traverse the Pacific Ocean. It is possible to visualize a world map extending seamlessly beyond the dateline. By enabling wraparound on a map, the eastern and western hemispheres wrap around each other forming a continuous map, giving the impression that the map is endless. Panning a map becomes similar to spinning a globe.

```
// enable wrap around
mMapView.enableWrapAround(true);
```

Constraints

The following requirements must be satisfied before enabling wrap around:

- The map's full envelope must cover the world.
- The map's spatial reference must be WGS 84 (WKID=4326) or Web Mercator (WKID=102113, 102100, or 3857). This means that all tiled layers in the map must belong to one of these spatial references. Dynamic layers, on the other hand, can be in any spatial reference because they are capable of reprojecting their data.
- Dynamic layers must be based on map services from ArcGIS Server 10.0 or higher. This is because earlier versions of the REST API do not support well-known text (WKT) values for spatial reference, which is required for making dynamic map services support wrap around.

Normalize geometries

To better understand wraparound, it is helpful to visualize a map as being composed of frames. The portion of a map visible when wrap-around is not enabled is frame 0. Taking an example of a map with the WGS 84 coordinate system, frame 0 has X coordinates between -180° and +180º longitude.

Adjacent to this frame to the east is frame 1, which extends hypothetically between +180º and +540º longitude. If you have panned across the map eastwards until you have passed the international dateline, you will be viewing frame 1. Similarly, adjacent to frame 0 to the west is frame -1, which extends hypothetically between -180º and -540º longitude.

Longitude values (X coordinates) returned from map methods may be real, within the range of -180º and +180º (when frame 0 is displayed); or they may be hypothetical, less than -180º or greater than +180º (if a different map frame is displayed). Here are some examples of geometries that may contain hypothetical coordinates if wraparound is enabled:

- Map extent, returned from `MapView.getExtent()`
- Map coordinates, returned from `MapView.toMapPoint`

When geometries contain hypothetical coordinates, normalize them before using them to perform spatial queries, passing them to placefinding or geocoding services, or storing them in a geodatabase. It is difficult to programmatically check at run-time if geometries contain hypothetical values and need to be normalized or not. It is safer to always normalize geometries when wraparound is enabled.

You can normalize geometries using the `normalizeCentralMeridian` method on the `GeometryEngine` class.

```
Geometry normalized = GeometryEngine.normalizeCentralMeridian(mMapView.getExtent(), mMapView.getSpatialReference());
```

Copyright © 1995-2016 Esri. All rights reserved.

Add graphics and text

Graphics are objects held in memory that store a shape (geometry) and are displayed on a map via a `GraphicsLayer`. Optionally, attribute information describing a `Graphic` can be stored in a collection of key/value pairs. Graphics can be displayed using symbology applied directly to the `Graphic` itself or with a `Renderer` associated with the containing `GraphicsLayer`.

A `Graphic` is a type of the abstract class `Feature`, which defines `getAttributes` and `getGeometry` methods. The `Graphic` class extends the `Feature` class by adding members to control how it is displayed on the map, including `getSymbol` and `getDrawOrder`. Unlike other types of features, such as `GeodatabaseFeature`, the geometry and attributes that define graphics are not physically stored on disk. Graphics are always stored in memory, and must therefore be created programmatically.

Graphics can be used to do things such as:

- Add geometries drawn interactively by the user
- Highlight a selection (features returned from a query, for example)
- Provide animation for data that changes quickly (such as GPS positions)
- Show text on the map
- Display buffer polygons around features

Add a graphics layer

A `GraphicsLayer` is a container for `Graphic` objects. A `Graphic` can store a point, line, or polygon geometry (including a multipart geometry), and a single `GraphicsLayer` can be used to display any combination of geometry types. The `GraphicsLayer` includes some members that control how individual graphics in the layer are displayed, including the `setGraphicVisible` and `setSelectedGraphics` methods. Optionally, you can define rendering properties for a `GraphicsLayer` to control how graphics are symbolized when drawn on the map.

Note: Symbology defined for individual graphics will override rendering defined for the `GraphicsLayer` as a whole.

A map can contain any number of graphics layers. A `GraphicsLayer`, in turn, can store any number of `Graphic` objects, exposed by the `getNumberOfGraphics()` and `getGraphicIDs()` methods. The `GraphicsLayer` provides methods for adding and removing individual graphics in the layer.

The following code shows how a graphics layer is created and added to a MapView defined in layout XML:

```
// Get MapView from layout XML
// Alternatively, create new MapView object, set a basemap, then call setContentView(mMapView);
MapView mMapView = (MapView) findViewById(R.id.map);
// Create and add a GraphicsLayer
mMapView.addLayer(new GraphicsLayer());
```

Once a graphics layer is in the map, you can add graphics by following this basic process:

1. Create a `Graphic` object and assign the `Geometry` you want to display. Make sure the spatial reference for the geometry matches that of the map.
2. Define a `Symbol` appropriate for the type of geometry used for the graphic (for example, marker, line, or fill symbol). This step is not required if a `Renderer` has been assigned to the `GraphicsLayer`.
3. Optionally, define and assign a collection of attributes describing the `Graphic`. This may be required if your `GraphicsLayer` uses a renderer that depends on a specific attribute value (such as a class breaks renderer or unique value renderer).
4. Add the new `Graphic` to the `GraphicsLayer`.

Add point graphics

A `Point` is the most basic type of geometry, in its simplest form defined with a single pair of coordinates (x, y). As a graphic, points can be used to represent things such as cities (at a small map scale), stops along a route, vehicles moving along a streets network, or perhaps simply to define where a piece of text should be displayed on the map.

You can add points to a graphics layer and display them using either a `SimpleMarkerSymbol` or a `PictureMarkerSymbol`. A `SimpleMarkerSymbol` allows you to display a graphic using one of a finite list of symbol types (circle, cross, diamond, square, or x). You can further define the symbol by specifying a size, color, and optionally an outline to display around the marker (defined using a `SimpleLineSymbol`, which in turn also has a color, style, and width).

Copyright © 1995-2016 Esri. All rights reserved.

A `PictureMarkerSymbol` symbolizes a point using an image specified in a `Drawable`. Along with the image, you can also specify a rotation angle, size (width and height), and an offset to apply when drawing the symbol.

A `SimpleMarkerSymbol` is created by specifying a color, shape, and size. The geographic location of a point is represented by a `Point` object, which contains the x, y, and optionally the z (height) and m (measure) coordinates of the point. The `Symbol` and `Point` are then used together to create a `Graphic` instance, which is added to the graphics layer, as shown in the following code snippet:

```
// create a point marker symbol (red, size 10, of type circle)
SimpleMarkerSymbol simpleMarker = new SimpleMarkerSymbol(Color.RED, 10, SimpleMarkerSymbol.STYLE.CIRCLE);

// create a point at x=-302557, y=7570663 (for a map using meters as units; this depends         // on the spatial reference)
Point pointGeometry = new Point(-302557, 7570663);

// create a graphic with the geometry and marker symbol
Graphic pointGraphic = new Graphic(pointGeometry, simpleMarker);

// add the graphic to the graphics layer
graphicsLayer.addGraphic(pointGraphic);
```

Add polyline graphics

Polylines are collections of vertices (individual x/y locations) that are connected in a particular order. The simplest `Polyline` is one consisting of two vertices (a from and a to location) and the connection between them. More complex polylines can consist of several vertices, and can be multipart—composed of two or more (visually) distinct sets of connected vertices. Although potentially consisting of individual parts (called **paths**), a `Polyline` is still considered a single geometry by ArcGIS.

Polylines can be added to a graphics layer and displayed using a `SimpleLineSymbol`. This symbol allows you to display the graphic using one of a finite list of symbol types (dash, dash dot, dash dot dot, dot, null, or solid). You can further define the symbol by specifying a width and a color.

Copyright © 1995-2016 Esri. All rights reserved.

The following code snippet shows how to add a polyline graphic that represents the path of a boat:

```
// create a line symbol (green, 3 thick and a dash style)
SimpleLineSymbol lineSymbol = new SimpleLineSymbol(Color.GREEN, 3, SimpleLineSymbol.STYLE.DASH);

// create the line geometry
Polyline lineGeometry = new Polyline();
lineGeometry.startPath(-302557, 7570663);
lineGeometry.lineTo(-302959, 7570868);
lineGeometry.lineTo(-303042, 7571220);
lineGeometry.lineTo(-302700, 7571803);
lineGeometry.lineTo(-304043, 7576654);
lineGeometry.lineTo(-300544, 7585289);
lineGeometry.lineTo(-294365, 7592435);
lineGeometry.lineTo(-290122, 7594445);
lineGeometry.lineTo(-285283, 7595488);

// create the graphic using the geometry and the symbol
Graphic lineGraphic = new Graphic(lineGeometry, lineSymbol);

// add the graphic to the graphics layer
graphicsLayer.addGraphic(lineGraphic);
```

The code result is a line similar to the following:

Add polygon graphics

Like polylines, a `Polygon` is a collection of vertices (individual x/y locations) that are connected in a particular order. The difference being that a polygon closes to produce an area. A valid `Polygon` must consist of at least three vertices (the minimum needed to enclose an area). More complex polygons can consist of many more vertices and can contain holes or be multipart—composed of two or more (visually) distinct sets of connected vertices. Although potentially consisting of individual parts (called **rings**), a `Polygon` is still considered a single geometry by ArcGIS.

Polygons can be displayed with a `SimpleFillSymbol` or a `PictureFillSymbol`. A `SimpleFillSymbol` allows you to display a graphic using one of a finite list of fill types (horizontal, vertical, cross, backward diagonal, forward diagonal, diagonal cross, null, or solid). You can further define the symbol by specifying a color (for the fill) and an outline to display as the border (defined using a `SimpleLineSymbol`, which in turn also has a color, style, and width).

`PictureFillSymbol` symbolizes a polygon using an image specified in a `Drawable`. The image you specify will be repeated to complete the polygon fill. Along with the image, you can also specify a rotation angle, size (width and height), and an offset to apply when drawing the symbol. `PictureFillSymbol` also has an outline that is set with a `SimpleLineSymbol`.

Copyright © 1995-2016 Esri. All rights reserved.



The following examples illustrate creating polygon shapes and symbolizing them with fill symbols.

Create simple polygons

The code below creates a dark gray, solid `SimpleLineSymbol` to use as an outline. A `SimpleFillSymbol` is created with a solid, green fill, and the outline previously created. Next, a `Polygon` is created - its first point is defined using the `startPath` method, and subsequent points using the `lineTo` method repeatedly. Lastly, a `Graphic` object is created from the `SimpleFillSymbol` and the `Polygon`, and added to the graphics layer.

```
// create a line symbol for the polygon outline (this is optional)
SimpleLineSymbol polygonOutline = new SimpleLineSymbol(Color.DKGRAY, 2, SimpleLineSymbol.STYLE.SOLID);

// create the polygon symbol
// if an outline is not needed put "null" instead of "polygonOutline"
SimpleFillSymbol fillSymbol = new SimpleFillSymbol(Color.GREEN, SimpleFillSymbol.STYLE.SOLID);
fillSymbol.setOutline(polygonOutline);

// create the geometry for a polygon
Polygon polygonGeometry = new Polygon();
polygonGeometry.startPath(-290012, 7596957);
polygonGeometry.lineTo(-287760, 7596957);
polygonGeometry.lineTo(-287760, 7598669);
polygonGeometry.lineTo(-290012, 7598669);

// create the graphic
Graphic polygonGraphic = new Graphic(polygonGeometry, fillSymbol);

// add the graphic to the graphics layer
graphicsLayer.addGraphic(polygonGraphic);
```

The code result displays a rectangle similar to the following image:



Create multipart and donut polygons

You can use multipart polygons to represent, for example, a region that consists of a number of islands or lakes. Donut polygons can be used to represent an island, a lake, or perhaps an island that has a lake in the middle. Think of the state of Hawaii: it consists of several individual islands but is represented on a map as a single feature.

The following is an example of a complex polygon that consists of the triangle to the west, and the rectangle with a hole in it, to the east:

Copyright © 1995-2016 Esri. All rights reserved.

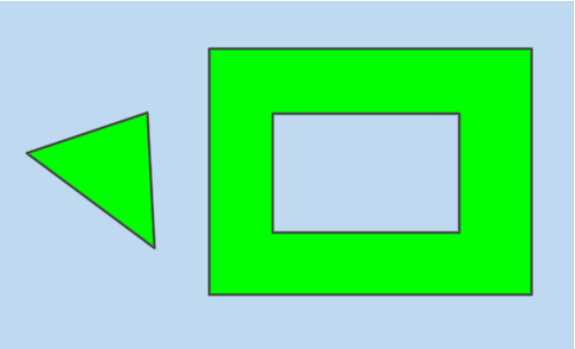

The important thing to note is that the entirety of these (visually distinct) shapes are conceptually one object defined as a single geometry: a multipart polygon. The geometry shown above was constructed using the following code:

```
Polygon complexPolygon = new Polygon();

//create the main rectangle outline
complexPolygon.startPath(-290012,7596957);
complexPolygon.lineTo(-287760,7596957);
complexPolygon.lineTo(-287760,7598669);
complexPolygon.lineTo(-290012,7598669);

//create a hole in the rectangle
complexPolygon.startPath(-289568,7598217);
complexPolygon.lineTo(-288265,7598217);
complexPolygon.lineTo(-288265,7597389);
complexPolygon.lineTo(-289568,7597389);

//add the triangle to the left of the rectangle
complexPolygon.startPath(-290444,7598224);
complexPolygon.lineTo(-290394,7597281);
complexPolygon.lineTo(-291287,7597942);
```

You can now use this geometry to create a graphic that can be added to a graphics layer.

Add text

Add text to the map by assigning a `TextSymbol` to a graphic. Point graphics are best suited for displaying text, as the geometry will define the left, bottom point of the text. To modify where the text appears relative to its point geometry, use the `setHorizontalAlignment` and `setVerticalAlignment` methods on the `TextSymbol`. A `TextSymbol`, however, can be applied to a graphic of any geometry type. For `Polygon` or `Polyline`, by default the text will appear at the center of the geometry's bounding envelope (`Extent`), but you can adjust the text's alignment in the same way as with point geometries.

Tip: If you want the geometry (such as a point) to appear along with the text you're going to add, you may need to create two graphics—one to display the text (symbolized with a `TextSymbol`) and another to display the point (symbolized with a `SimpleMarkerSymbol` or `PictureMarkerSymbol`).

The following example illustrates using a text symbol and a point geometry to create a graphic:

```
//text symbol which defines text size, the text and color
TextSymbol txtSymbol = new TextSymbol(10, "Gannet nesting ground", Color.BLUE);

//a point to define where the text is drawn
Point pt = new Point(-293826, 7574114);

//create a graphic from the point and symbol
Graphic gr = new Graphic(pt, txtSymbol);

//add the graphic to the map
gl.addGraphic(gr);
```

The following is an image showing this graphic created with a `TextSymbol` added to a graphics layer displaying over a tiled layer (an `OpenStreetMapLayer` in this case):

Copyright © 1995-2016 Esri. All rights reserved.

Note: The angle of the text in a `TextSymbol` is measured clockwise from horizontal.

Render a graphics layer

As shown in the previous examples, you can define symbology for individual graphics by setting the `Symbol` property with the appropriate symbol object. As an alternative, you can define symbology for the entire `GraphicsLayer`, which will define how all graphics contained in the layer will be displayed. This is especially useful if the symbol used for a graphic should be determined by an attribute value.

Symbology for a `GraphicsLayer` is defined using a `Renderer`. This can be set with one of the following types of renderers:

- `SimpleRenderer`—Defines a single symbol to use for all features in the layer.
- `ClassBreaksRenderer`—Symbolizes graphics in the layer using classes (divisions) of a numeric attribute value.
- `UniqueValueRenderer`—Symbolizes graphics using unique values for a specified attribute.

The following is an example of point graphics displayed with a unique value renderer and symbolized with picture marker symbols.

Copyright © 1995-2016 Esri. All rights reserved.

Create a graphics layer

Graphics layers allow you to dynamically display graphics on a map. A graphics layer can, for example, be used to hold polygons or lines drawn by a user, or display features that satisfy the results of a task such as query or geoprocessing. The `GraphicsLayer` class allows you to create a layer that can contain one or more graphic features.

Add a graphic layer

The API exposes two public constructors, one for an empty `GraphicsLayer` and one that allows you to set the spatial reference and full extent of the layer. Be aware that the empty constructor assumes you have a base map layer defined for the `MapView` as the `GraphicsLayer` cannot be the bottom most layer. Once you have created a `GraphicsLayer`, add it to the map with the `MapView.addLayer()` method as shown below:

```
The API exposes two public constructors, one for an empty GraphicsLayer and one that allows you to set the spatial reference and full extent of the layer. Be aware

// Inflate Mapview from XML
MapView mMapView = (MapView)findViewById(R.id.map);
...
// Create GraphicsLayer
GraphicsLayer gLayer = new GraphicsLayer();
// Add basemap layer first
mMapView.addLayer(basemap);
// Add empty GraphicsLayer
mMapView.addLayer(gLayer);
```

A `MapView` can contain one or many `GraphicLayers`. Adding graphics to your graphics layer is described in Managing graphic features.

Copyright © 1995-2016 Esri. All rights reserved.

Manage graphic features

Once you have a GraphicsLayer constructed, add graphics to it to display data. Graphics can be added programmatically or as a result of executing a query. The following is the basic workflow for adding graphics to a GraphicsLayer:

- Create or retrieve a GraphicsLayer
- Create or retrieve a graphic
- Apply a symbol to the graphic
- Add the graphic to the GraphicsLayer

Adding graphic features

Add the graphic to the GraphicsLayer.There are a number of ways to populate a GraphicsLayer with graphic features. Graphic features are immutable objects whose state cannot be modified once they are created. To create a graphic, you need a geometry that defines the graphic and a symbol with which to render the graphic. Optionally, you can define attributes to the graphic and/or an infotemplate containing the graphic's title template and content template.

The following code creates a graphic and adds it to an existing GraphicsLayer called gLayer:

```
// create a simple marker symbol to be used by our graphic
SimpleMarkerSymbol sms = new SimpleMarkerSymbol(Color.RED, 5, STYLE.CIRCLE));
// create a point geometry that defines the graphic
Point pnt = new Point(-1.2056463334580729E7, 4031300.7555036694);
// create the graphic using the symbol and point geometry
Graphic graphic = new Graphic(pnt, sms);
// add the graphic to a graphics layer
gLayer.addGraphic(graphic);
```

Graphic's draw order

You can add one or more graphics to a GraphicsLayer. Each graphic has a draw order associated with it that details what level the graphic should be drawn on your map with respect to other graphics in the graphics layer. As graphics get added to a graphics layer, the default draw order starts at 0. You can set the draw order when you construct the graphic object, by passing a draw order value. The draw order for the graphic can be obtained via a getter.

```
Graphic graphic = new Graphic(geometry, symbol, attributes, drawOrder);
int drawOrder = graphic.getDrawOrder();
```

You can bring a particular graphic to the top of a drawing order or set it to the bottom of the drawing hierarchy:

Bring graphic to front:

```
// get graphic ids from graphic layer
// assume 3 graphics in the graphics layer ordered 0, 1, 2
int[] graphicIDs = gLayer.getGraphicIDs();
// bring bottom graphic to top
gLayer.bringToFront(graphicIDs[2]);
```

Send graphic to back:

```
// get graphic ids from graphic layer
// assume 3 graphics in the graphics layer ordered 0, 1, 2
int[] graphicIDs = gLayer.getGraphicIDs();
// send top graphic to back
gLayer.sendToBack(graphicIDs[0]);
```

Copyright © 1995-2016 Esri. All rights reserved.

View pop-ups

A map is more than a picture. It conveys information about your surroundings and helps you make decisions. There is a wealth of information hidden behind the image. Pop-ups are a great way to reveal information about features on a map, such as a business, location, natural phenomena, or geopolitical entity.

Learn more about pop-ups

You can configure pop-ups when authoring web maps with ArcGIS Online. A pop-up is associated with a specific layer in a web map and describes how information about features in that layer should be presented. When configuring pop-ups, the author of a web map can choose which fields to display, give them aliases, specify formatting for numbers and dates, configure charts, and so on.

Learn more about authoring web maps with pop-ups

Support library

Developing with the Popup API uses Android APIs that are not available on all supported platforms. If you're supporting Gingerbread or Honeycomb platforms, you need to add the Android support library to your app. The support package includes support libraries that enable your app to take advantage of the newer APIs.

Add the Android support library to your project

1. Right-click your ArcGIS Android project and select **Android Tools > Add Support Library**.
2. Accept packages to install and click **Install**.
   Under Android Dependencies, the **android-support-v4.jar** file library is listed.
3. To ensure the support library is added to your project build path, right-click Android Dependencies in your project and select **Build > Add to Build Path**.

Display information using pop-ups

PopupContainer is the main class to use to display pop-ups in your applications. It provides the basic user interface (UI) and behavior for displaying and editing information about graphics in a pop-up. It holds and manages one or more Popup objects to provide a UI for attribute editing, media displaying, attachment managing, and so on. It also manages the transitions between Popups.

Instantiate PopupContainer

To instantiate PopupContainer, pass a MapView as a parameter in the constructor.

```
MapView map = …;
PopupContainer popupContainer = new PopupContainer(map);
```

Add Popup to PopupContainer

Popup is the class representation of a web map pop-up that associates a graphic with a pop-up definition for the purpose of displaying in a PopupContainer. It manages a number of views behind the scenes, each of which is designed for a specific purpose, such as editing an attribute, displaying media, managing attachments, and so on.

Each Popup contains a graphic whose information you want to display. The graphic can be chosen by tapping on the map or by tapping on the accessory button in the callout for a specific graphic. A popup definition is represented by a PopupInfo object. You can retrieve it from a layer of a web map.

Copyright © 1995-2016 Esri. All rights reserved.

Create a Popup from a web map layer

You can create a Popup from a layer of a web map provided you know which layer or service the Popup is associated with.

```
MapView map = …;
Layer layer = …;
int  subLayerId = …;
Graphic graphic = …;
……
Popup popup = layer.createPopup(map, subLayerId, graphic);
```

Feature layers are a special type of GraphicsLayer that allow you to display features from a layer from a map service or feature service. The ArcGISFeatureLayer class can create Popup as shown in the following sample code:

```
MapView map = …;
ArcGISFeatureLayer featureLayer = …;
Graphic graphic = …;
……
Popup popup = featureLayer.createPopup(map, 0, graphic);
```

Add a Popup to the PopupContainer

You can add a Popup to the PopupContainer by passing the reference to a graphic and the popup definition for that graphic.

```
Popup popup = …;  // create popup
PopupContainer popupContainer = …;

popupContainer.addPopup(popup); // add popup to popup container
```

Display PopupContainer using PopupContainerView

PopupContainerView is a subclass of an Android LinearLayout. As with any Android LinearLayout, it can be displayed in a variety of ways. The following is an example of displaying a PopupContainerView:

```
// Create a dialog for the popups and display it.
PopupDialog popupDialog = new PopupDialog(map.getContext(), popupContainer);

...

// A customize full screen dialog.
private class PopupDialog extends Dialog {
  private PopupContainer popupContainer;

  public PopupDialog(Context context, PopupContainer popupContainer) {
                  super(context, android.R.style.Theme);
                  this.popupContainer = popupContainer;
        }

        @Override
        protected void onCreate(Bundle savedInstanceState) {
                  super.onCreate(savedInstanceState);
                  LayoutParams params = new LayoutParams(LayoutParams.WRAP_CONTENT, LayoutParams.WRAP_CONTENT);
                         LinearLayout layout = new LinearLayout(getContext());
                         layout.addView(popupContainer.getPopupContainerView(), android.widget.LinearLayout.LayoutParams.FILL_PARENT, android.widget.LinearLayout
                         setContentView(layout, params);
                }

}
```

Display Popup for a hosted tiled map service

Popup can be configured on hosted tiled map services when published in conjunction with feature services. Hosted tiled map services don't have attribute data. The feature service can be referenced to enable popup configuration options, and to display attribute information in maps. Showing popups defined for a hosted tiled map service follows the steps previously mentioned. Popup can be created from the tiled map service layer. However, obtaining graphics relies on the associated feature service. The feature service referenced by a hosted tiled map service is exposed in the API through the Layer.getQueryUrl() method. You can create Popup for a hosted tiled map service as shown in the following sample code:

Copyright © 1995-2016 Esri. All rights reserved.

```
MapView map = …;
ArcGISTiledMapServiceLayer tiledLayer = …;
ArcGISLayerInfo layerInfo = …;
Envelope env = …;
Popup popup;

int layerID = layerInfo.getId();
String layerUrl = tiledLayer.getQueryUrl(layerID);
if (layerUrl == null)
  layerUrl = tiledLayer.getUrl() + "/" + layerID;
ArcGISPopupInfo popupInfo = tiledLayer.getPopupInfo(layerID);
Query query = new Query();
query.setInSpatialReference(sr);
query.setOutSpatialReference(sr);
query.setGeometry(env);
query.setOutFields(new String[] {"*"});
QueryTask queryTask = new QueryTask(layerUrl);
try {
  FeatureSet results = queryTask.execute(query);
  for (Graphic graphic : results.getGraphics()) {
    popup = tiledLayer.createPopup(map, layerID, graphic);
    popupContainer.addPopup(popup);
  }
} catch (Exception e) {
  e.printStackTrace();
}
```

See Hosted tiled map services to learn more about this type of service.

Handle user interaction

The Popup class handles most of the user interaction with the UI, such as displaying an appropriate keyboard when the user starts editing a numeric attribute, allowing the user to take a picture or browse the photo gallery for attachments, and so on.

To enable editing on a popup you call setEditMode(true)

```
// Add Popup
Popup popup = featureLayer.createPopup(map, 0, graphic);
popup.setEditMode(true);
popupContainer.addPopup(popup);
```

Edit information using Popup

The Popup API provides a UI that makes it easy to collect information about a graphic from the user. It's your responsibility to commit the edits of a graphic to the server and present an appropriate view that will allow the user to edit an existing graphic's geometry, or create a new geometry from scratch. The Popup class provides a method to retrieve the edited attributes. A PopupListener will be triggered by some changes of the state of the popup. Following are two examples of getting updated attributes and handling changes of the state of Popup through PopupListener.

Retrieving updated attributes from Popup:

```
Popup popup = …;

Graphic gr = popup.getGraphic();
Map<String, Object> attributes = gr.getAttributes();
Map<String, Object> updatedAttrs = popup.getUpdatedAttributes();
for (Entry<String, Object> entry : updatedAttrs.entrySet()) {
  attributes.put(entry.getKey(), entry.getValue());
}
Graphic newgr = new Graphic(gr.getGeometry(), null, attributes, null);
```

Listen to changes of Popup state:

```
Popup popup = …;
popup.setPopupListener(this);
popup.setEditMode(true);
……
@Override
public void onPopupModified() {
  Log.i(IOUtils.TAG, "onPopupModified");
  mModified = true;
  View titleView = getPopup().getLayout().getTitleView();
  if (titleView != null && titleView instanceof ArcGISTitleView) {
    Symbol symbol = ((ArcGISTitleView) titleView).getSymbol();
    if (symbol != null && symbol != mSymbol) {
      Log.i(IOUtils.TAG, "onPopupModified: update symbol");
      mSymbol = symbol;
      addFeature(mCurrentLocation);
    }
  }
  ……;
}

@Override
public void onPopupValidityChanged(boolean isValid) {
  Log.i(IOUtils.TAG, "onPopupValidityChanged");
  mModified = true;
  mValid = isValid;
}
```

Copyright © 1995-2016 Esri. All rights reserved.

Editor tracking and ownership-based access control

Editor tracking and ownership-based access control are two features that are only available with feature services hosted on ArcGIS Online or ArcGIS for Server 10.1 and later. These two features affect the display and behaviors of pop-ups.

Editor tracking

When edit tracking is enabled, a feature layer automatically tracks and manages information such as the user who created or modified a feature, and, the time when the feature was created or modified. This tracking information is stored along with the feature in specially designated fields. The information about these designated fields is exposed in the API through the ArcGISFeatureLayer.getEditFieldsInfo() method. Popup automatically prevents a user from modifying these fields. Popup also shows a localized summary of the last edit operation performed on the given feature above the title of the pop-up. The API exposes the edit information through the ArcGISFeatureLayer.getEditInfo() method.

Popup uses templates to display the edit summary. The templates are stored in an XML file called arcgis_ui_strings.xml. The templates can be customized. See the Customizing the UI section below for more information about how to customize the templates.

Learn more about editor tracking

Ownership-based access control

Ownership-based access control configuration specifies whether features can be edited only by their owners, or if they can be edited by anyone; even if they belong to someone else. The configuration of a feature layer is exposed in the API through methods such as ArcGISFeatureLayer.getOwnershipBasedAccessControlForFeatures(). Popup enforces this configuration to prevent an unauthorized user from making edits to a feature. The buttons in a pop-up, such as Edit, Delete, and Save, will be turned on or off depending on the configuration. The Popup API also exposes the configuration for a specific feature through the Popup.isDeletable() and isEditable() methods.

Learn more about ownership-based access control

Customize the UI

Color

You can change the color of the pop-up background, text, and selector by modifying properties on PopupContainer.

```
PopupContainer popupContainer = …;

popupContainer.setPopupBackgroundColor(Color.WHITE); // popup background color
popupContainer.setPopupTextColor(Color.BLACK); // text color
popupContainer.setPopupSelectorColors(Color.BLUE, Color.RED,
  Color.CYAN, Color.MAGENTA); // selector colors
```

Custom action

You can replace the default toolbar of the pop-up view by setting the PopupToolbar property on PopupContainer. You can perform any action when the buttons on the custom toolbar are clicked, such as zooming in to the feature being displayed in the pop-up, or displaying a custom action sheet with further options.

Localize the UI

The text displayed in the pop-up views has been externalized into an XML file called arcgis_ui_strings.xml to make localization easy. This file is included in the res/values folder for each locale. Translations for the following languages are included by default:

- Arabic
- German
- English
- Spanish
- French
- Italian
- Japanese
- Korean

Copyright © 1995-2016 Esri. All rights reserved.

- Portuguese
- Russian
- Chinese

When displaying the UI, PopupContainer will automatically pick up the appropriate translations from resources folder depending on the language setting of the device.

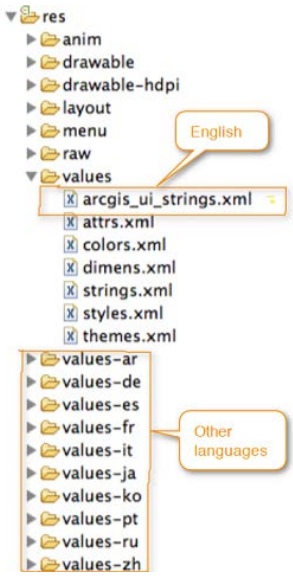

Copyright © 1995-2016 Esri. All rights reserved.

Customize the callout

The following illustration shows a callout from the Symbolizing Results sample. It has a cyan background and rounded corners. Its content has a household image on the left, a county name on the top right, and Square Mile (SQMI) data on the bottom right. This topic discusses creating this type of callout.

Create an XML style file

1. Create an Android Extensible Markup Language (XML) style file for the callout. A set of style attributes specific to the map callout are available in the ArcGIS Runtime SDK for Android. Style attributes include title color, title text size, background color, background alpha, corner curve, and so on. Declare these attributes in an XML element named `<calloutViewStyle/>` in an XML resource file.
2. In the Symbolizing Results sample, an XML resource file named `countypop.xml` is included in the res/xml directory and includes the necessary attributes to achieve the previously mentioned callout style. Both background and frame color are cyan. The callout is opaque with a background alpha color set to 255. The corner is rounded with the curvature radius set to 10. The anchor is positioned at the lower-middle half of the callout. Since there is no title for this callout, the title related attributes are not defined. Set your attributes to these specifications. See the following code:
   A code snippet of XML file can be found below:

```
<?xml version="1.0" encoding="utf-8"?>
<resources>
<calloutViewStyle
        backgroundColor="#66FFCC"
        backgroundAlpha="255"
        frameColor="#66FFCC"
        cornerCurve="10"
        anchor="5" />
</resources>
```

Create an Android layout

1. Define an Android layout containing the text and image elements you want to display in the callout. This is done through the creation of a layout.xml file. Create a file called sqmi.xml and put it in the res/layout directory.
2. Add a top level `<RelativeLayout>` element. Within this element, add an `<ImageView>` and two `<TextView>` elements. The attributes of the <RelativeLayout> should define the same background color as the background in the callout XML style file. The <ImageView> defines an image to use, and the <TextView> elements specify their layout, text color, and IDs. See the following code:
   A code snippet of resulting XML can be found below:

```
<?xml version="1.0" encoding="utf-8"?>
<RelativeLayout xmlns:android="http://schemas.android.com/apk/res/android"
        android:layout_width="wrap_content" android:layout_height="wrap_content" android:background="#FF66FFCC"
        >
        <ImageView android:layout_height="wrap_content"
                android:layout_width="wrap_content" android:id="@+id/family_photo"
                android:src="@drawable/icon"/>
        <TextView android:layout_height="wrap_content"
                android:layout_width="wrap_content" android:id="@+id/county_name"
                android:layout_toRightOf="@id/family_photo" android:textSize="16dip" android:textColor="#FF000000"
                android:paddingBottom="5dip"/>
        <TextView android:layout_height="wrap_content"
                android:layout_width="wrap_content"
                android:id="@+id/pop_sqmi" android:layout_below="@id/county_name"
                android:layout_toRightOf="@id/family_photo" android:textSize="14dip" android:textColor="#FF000000"/>
</RelativeLayout>
```

Set the style and content of the callout

1. Set the callout style and content layout of the callout by retrieving the callout reference from the map, obtaining the callout style XML resource ID, and setting the resource ID as the style of the callout object.
2. Inflate the layout defined in the Create an Android layout section, populate it with information retrieved from a graphic, and set the layout of the callout object. This is usually done when certain events occur, for example, by single-tapping a graphic. See the following code:

Copyright © 1995-2016 Esri. All rights reserved.

Code snippet:

```
callout.setStyle(R.xml.countypop);
String countyName = (String) gr.getAttributeValue("NAME");
String countyPop = gr.getAttributeValue("POP07_SQMI").toString();
// Sets custom content layout to callout.                                                                                                                                                                                                                                                                                                                                                                                                                                                                                                                                                                                                                                                callout.setContent(loadView(countyName,countyPop)
```

Copyright © 1995-2016 Esri. All rights reserved.

Display military messages

About military messages

Military software used for Situation Awareness and Command & Control pass secure communications between mobile devices in the field and command centers. These special communications consist of either voice or data transmissions. Data communications can contain military messages that define where specific military symbols are located on a map.

You can build an application using the ArcGIS Runtime SDKs for Java or Android to take these military messages and convert them into military symbols to be displayed in a map control on a desktop or laptop device. At this release, the messages can be displayed using symbology from specifications, such as the Department of Defense (DoD) MIL-STD-2525C specification.

Set up your device

Supported symbol dictionaries are provided in the local SDK download `resources` folder.

You will need to copy the resource contents to your target device. The default location on your device is:

`/<[EXTERNAL-RESOURCE-DIR]/ArcGIS/SymbolDictionary`
Example Default directory structure

```
+ mnt
  + sdcard
    + ArcGIS
      +SymbolDictionary
        + MessageTypes
          - Chemlight.json
          - PositionReport.json
          - SpotReport.json
        - mil2525c.dat
```

Note: The directory structure above is dependent on your device structure's external sdcard location and which symbol dictionary you have installed in the default location. The MIL-STD-2525C symbol dictionary is dependent on its specific message types.

At this release, you can't have more than one symbol dictionary installed in the default directory location. The `MessageProcessor` class provides an overloaded constructor, which takes a `String` representing the directory location for the symbols. Use this constructor for one of the symbol dictionaries to have two resources provisioned to a single device.

You can use the Android Debug Bridge (adb) tool provided by your Android SDK to push the resource to your device. An advanced symbology sample is available and explains how to set up the device in more detail. Refer to these resources to set up your device for application development to support military messages.

Message processing

The `MessageProcessor` class allows you to process a message from external resources, for example, display a military symbol by passing a 2525C message to the `MessageProcessor` for processing. Each `MessageProcessor` comes with a `DictionaryType` that dictates the message format to process. Each `DictionaryType` is backed by a resource bundle that includes a dictionary data file and message files in JavaScript Object Notation (JSON). The path to the resource files are stored on a device and needs to be specified when the `MessageProcessor` initializes. Internally, a message processor of the required type, for example, 2525C, is created and knows the data resource location on the device. The `MessageProcessor` has an overloaded constructor that takes a Java string path to the custom symbol dictionary path. A `MessageProcessor` is bound to a `MessageGroupLayer` that is used to display, update, and remove `MultiLayerSymbol` associated with messages. Add the `MessageGroupLayer` to a `MapView` for the message processing to function properly.

MessageGroupLayer
A `MessageGroupLayer` extends a `GroupLayer` as a collection of layers that can be of any type. It extends from the `Layer` class and has properties such as visibility, opacity, extent and so on. The most basic functionality that should be provided is the ability to manipulate sublayer visibility, opacity, and order. The layer collection object provides these functions and is essentially a synchronized arraylist and queue of layers. For military purposes, the `MessageGroupLayer` has a default constructor which creates a new message group layer without a `MessageProcessor` and can use this instance to create a `MessageProcessor`. The overloaded constructors provided by the `MessageGroupLayer` take a `SymbolDictionary.DictionaryType` parameter to create a `MessageProcessor` for the given type. It's the `MessageProcessor` that adds the graphics layers to the `MessageGroupLayer`. The `MessageGroupLayer` must be added to an initialized map. If the map is not initialized, an error message shows. Below is an example of creating the `MessageProcessor` from the constructed `MessageGroupLayer`:

Copyright © 1995-2016 Esri. All rights reserved.

Creating a message processor

```
// create a new MessageGroupLayer for MIL 2525C symbol type
MessageGroupLayer messageGroupLayer = new MessageGroupLayer(DictionaryType.MIL2525C);

// Add layer to the map
mMapView.addLayer(messageGroupLayer);
// Get the message processor from the GroupLayer
MessageProcessor processor = messageGroupLayer.getMessageProcessor();
```

Process message (message in)

The message processor handles an incoming message by using message properties to create, delete, update, or otherwise change the state of a graphic (geometry and attributes). The message processor determines which message properties should persist on graphic as attributes. If necessary, the layer (and associated renderer) for the graphic is created and added to the group layer. With 2525C, only one geometry type is stored in a graphics layer, and the layers are z-ordered points->lines->polygons (ordering of layers with the same geometry type is arbitrary).

There are 2 ways to create a message object and process it.

- Setting properties programmatically
- Using the `MessageHelper` class.

The workflow for createing a `Message` and processing it programmatically:

```
Message message = new Message();
UUID uuid = UUID.randomUUID();
message.setID(uuid.toString());
message.setProperty("_Type", "position_report");
message.setProperty("_Action", "update");
message.setProperty("_Control_Points", "7846271.25206,4091857.83028");
message.setProperty("sic", "SFGPUCRRL--E---");
message.setProperty("_WKID", "3857");
message.setProperty("UniqueDesignation", "Mad dog");
processor.processMessage(message);
```

`MessageHelper` class.

The `MessageHelper` class provides user-friendly property names and convenience methods to create messsages:

```
// create a list of control points for input into message
Point point1 = new Point(x1, x2);
ArrayList<Point> controlPoints = new ArrayList<Point>(1);
controlPoints.add(point1);
// create the Map of properties
HashMap<String, Object> properties = new HashMap<String, Object>();
properties.put("sic", "SFGPEVC--------");
properties.put("uniquedesignation", "Tex");

Message msg1 = MessageHelper.create2525CUpdateMessage(UUID.randomUUID()
                .toString(), "position_report", controlPoints, properties);

// process message and add point
processor.processMessage(msg1);
```

Create message (message out)

Messages are logically transient in that they have no (direct) representation in the map or message processor. For update scenarios (for example, military chemlight), the message processorallows the re-creation of a message from a graphic or previous message ID. For 2525C, this is the same as the message previously passed in. The only exception is the action property (for example, update, delete and so on), which is empty. Initially, all properties of the message (except action) persist on the graphic to support this.

```
Graphic clickedGraphic = null;
Message newMsg = msgProcessor.createMessageFrom(clickedGraphic);
//if you want to use the message (perform an update), you need to set the action
msg.setProperty(":ACTION", "UPDATE");
//process the message
msgProcessor.processMessage(newMsg);
```

Messages can contain the WKID for the spatial reference but if omitted, the default spatial reference is used. This defaults to WGS84.

Message

Message contains properties that can be processed by the message processor. All properties are name-value pairs except for the message ID.

Symbol dictionary searching

The group of classes that support functionality to allow for the filtering of symbols contained in a dictionary renderer are `SymbolDictionary`, `SymbolDictionaryQuery`, and `SymbolDictionaryFilter`. Given a filtered list of symbols, other methods can be used to return attributes, keywords, and the graphic for a symbol. The `SymbolDictionary` class contains functionality to get

Copyright © 1995-2016 Esri. All rights reserved.

information about the dictionary including lists of symbols and their associated information. The `SymbolDictionaryQuery` and `SymbolDictionaryFilter` classes build queries against the symbol dictionary to return a list of symbols relevant to the application user. To perform a search for symbols that contain given keywords, the code looks as follows:

```
//The getKeywords() method is called on the SymbolDictionary class
//which will return a list of keywords used in that dictionary.
SymbolDictionary symbDict = new SymbolDictionary(DictionaryType.MIL2525C);
List<string> keywords = symbDict.getKeywords();
//code goes here to take the keywords list and add the names into a picker
//One or more of these keywords will be added to the instance of the
//SymbolDictionaryQuery class using the addKeyword method.
SymbolDictionaryQuery query = new SymbolDictionaryQuery();
query.addKeyword("Appendix X");
query.addKeyword("Friendly");
//The SymbolDictionaryFilter class is used with SymbolDictionaryQuery to
// query the symbol dictionary to get a filtered list of symbols
SymbolDictionaryFilter symDictFilter = new SymbolDictionaryFilter();
symbDict.addFilter(symDictFilter);
String symbolName = symDictFilter.getName();
```

The symbol graphic can be obtained using the `getSymbolImage` method. This takes a symbol name that came from a list of symbol names returned in a `getSymbolNames` call and an Android Bitmap.

```
//get the symbol graphic from the name and Android Bitmap image
// returns true if symbol was successfully generated
boolean = symbDict.getSymbolImage("Utility Vehicle U", bitMapImg);
```

Copyright © 1995-2016 Esri. All rights reserved.

Search for Places

Geocoding

Geocoding is the process of transforming a description of a location—such as a pair of coordinates, an address, or a name of a place—to a location on the earth's surface. The resulting locations are output as geographic features with attributes, which can be used for mapping or spatial analysis.

You can quickly find various kinds of locations through geocoding. The types of locations that you can search for include points of interest or names from a gazetteer, like mountains, bridges, and stores; coordinates based on latitude and longitude or other reference systems, such as the Military Grid Reference System (MGRS) or the U.S. National Grid system; and addresses, which can come in a variety of styles and formats, including street intersections, house numbers with street names, and postal codes.

More information about what geocoding can be used for can be found here.

Locator

The Android API provides a Locator class to geocode and reverse geocode locations using ArcGIS Server Geocoding services and local, on-board data. Geocode services are based on address locators. Address locators may reside in an ArcGIS Geodatabase or as *.loc files on disk. They rely on GIS datasets and other reference data to find addresses and locations. Each address locator uses an address style for parsing addresses and standardizing them into well-structured address components.

New address locators can be created using ArcMap or ArcCatalog. You can then publish them as Geocode services using ArcMap or ArcCatalog, or using ArcGIS Server's Manager web application. Similarly, for offline usage, ArcMap or ArcCatalog can be used to export locators to an ArcGIS Runtime format. The resulting *.plbs, *.loc, and *.lox files can then be copied to an Android device and used directly through the Locator Android API.

ArcGIS Online World Geocoding service is accessible on the web as a REST web service. The REST web service supports multiple geocoding operations including Find, Find Address Candidates, and Reverse Geocoding. The online Locator in the ArcGIS API for Android uses these operations to bring Geocoding to an Android device.

Creating a Locator

Choosing the right type of Locator depends on your data availability and needs. Offline geocoding offers the benefits of increased performance and removes the need for network connectivity, but as a consequence, a significant amount of storage space may be needed on-device. An online Locator allows you to take advantage of robust ArcGIS Online services and requires no additional data deployment, but network speeds and REST response size can negatively impact performance.

Creating an Online Locator

To instantiate a Locator using an online service, you need to provide a URL to a Geocode service REST endpoint. This URL is usually of the form:

```
http://[server:port]/[instance]/services/[service]/GeocodeServer.
```

The URL then simply has to be passed into the online creation method as shown below. If the Geocode service is secured, user credentials may also be supplied.

```
String url = "http://geocode.arcgis.com/arcgis/rest/services/World/GeocodeServer";
Locator locator = Locator.createOnlineLocator(url);
```

If no URL is provided, the online Locator will default to the World Geocoding service.

Creating a Local Locator

To instantiate a Locator using data present on-device, you must provide the path to the .loc file. The .locb and .lox files, which are also generated from the export process in ArcGIS Desktop, must be present in the same directory as the .loc file. The following snippet assumes you have a locator named "SanDiego" in the `/<external-storage-directory>/ArcGIS/Geocoding/` folder on your device.

```
String extern = Environment.getExternalStorageDirectory().getPath();
Locator locator = Locator.createLocalLocator(extern + "/ArcGIS/Geocoding/SanDiego.loc")
```

Copyright © 1995-2016 Esri. All rights reserved.

Usage Considerations

Loading a local Locator can take a significant amount of time depending on the size and type of the locator present. It is recommended that a local Locator be only created once, and kept alive for the remainder of the application.

Geocoding an address

To find matching locations for an address, you must provide a `LocatorFindParameters` object containing the address in a format expected by the service. The `find(LocatorFindParameters)` method is used for single field geocoding and supports the following types of locations:

- Street address: 380 New York St, Redlands, CA 92373
- Administrative place names: Seattle, Washington
- Postal codes: 92573 USA
- Points of Interest (POI) and businesses: Yankee Stadium

Setting up the Locator Parameters for single field geocoding:

```
// create Locator parameters from single line address string
LocatorFindParameters findParams = new LocatorFindParameters("380 New York St. Redlands CA 92373");

// set the search country to USA, max locations to 2,
// and output spatial reference to match the map
findParams.setSourceCountry("USA");
findParams.setMaxLocations(2);
findParams.setOutSR(mMapView.getSpatialReference());
```

Run your task as an Android AsyncTask to perform a background operation. The below assumes a subclass of AsyncTask named Geocoder.

```
// execute async task to geocode address
new Geocoder().execute(findParams);
```

Here is an example of the doInBackground() method for the above:

```
@Override
protected List<LocatorGeocodeResult> doInBackground(LocatorFindParameters... params) {
    // Execute the find call
    List<LocatorGeocodeResult> results = null;
    try {
        results = locator.find(params[0]);
    } catch (Exception e) {
        e.printStackTrace();
    }

    // return the resulting point(s)
    return results;
}
```

Geocoding results

Once you have successfully geocoded an address, you will most likely want to view the results on a map. Overriding your AsyncTask onPostExecute() method will allow you to invoke the UI thread after the background geocoding execution has completed.

```
protected void onPostExecute(List<LocatorGeocodeResult> results){
    if(results == null || results.size() == 0){
        // update UI with notice that no results were found
        Toast.makeText(GeocodeActivity.this, "No result found.", Toast.LENGTH_LONG).show();
    } else {
        // Results are returned in the best-matching order; grab the first one
        LocatorGeocodeResult result = results.get(0);

        // Get the returned geometry, create a Graphic from it, and add to GraphicsLayer
        Geometry resultLocGeom = result.getLocation();
        SimpleMarkerSymbol resultSymbol = new SimpleMarkerSymbol(Color.BLUE, 20, STYLE.CIRCLE);
        Graphic resultLocation = new Graphic(resultLocGeom, resultSymbol);
        locationLayer.addGraphic(resultLocation);

        // Create a text symbol for return address with a slight offset
        TextSymbol resultAddress = new TextSymbol(16, result.getAddress(), Color.BLACK);
        resultAddress.setOffsetX(-200);
        resultAddress.setOffsetY(100);

        // Create a graphic object for address text, and add to GraphicsLayer
        Graphic resultText = new Graphic(resultLocGeom, resultAddress);
        locationLayer.addGraphic(resultText);

        // Zoom to the Geocoding result
        mMapView.zoomTo(resultLocGeom, 10);
    }
}
```

Copyright © 1995-2016 Esri. All rights reserved.

Search for coordinates

Reverse Geocoding

Reverse geocoding refers to the process of finding the nearest address to a geographic location. On Android devices, this is especially useful when processing information from the on-board GPS. You can take your current location and display useful information such as the closest address or point-of-interest.

Much like standard geocoding, reverse geocoding is exposed through the Locator class in the Android API. The required parameters are a Point geometry and a search distance, but input and output spatial references can be optionally specified. For more information on creating a Locator using an online service or local data, see the Search for places page.

When developing an Android application, you will more than likely not be hard-coding Points to reverse Geocode. The following snippet shows how to add reverse Geocoding to a MapView's OnTouchListener. It overrides the onSingleTap method of the MapView's onTouchListener to show addresses as you tap locations on the screen.

```
@Override
public boolean onSingleTap(MotionEvent point) {

    // Create the Locator if it hasn't been created yet
    if(mLocator == null)
      mLocator = Locator.createOnlineLocator();

    // Add the touch point to the MapView
    Point mapPoint = mMapView.toMapPoint(point.getX(), point.getY());
    Graphic g = new Graphic(mapPoint, new SimpleMarkerSymbol(Color.BLUE, 10, STYLE.DIAMOND));
    mGraphics.addGraphic(g);

    try {
      // Attempt to reverse geocode the touch event
      LocatorReverseGeocodeResult result = mLocator.reverseGeocode(mapPoint,50,
        mMapView.getSpatialReference(),mMapView.getSpatialReference());

      // Reverse geocoding results come back as [key,value] pairs, but you
      // can create a formatted address by iterating through and delimiting with spaces
      Map<String,String> addressFields = result.getAddressFields();
      StringBuilder address = new StringBuilder();
      for(Entry<String,String> entry : addressFields.entrySet())
        address.append(entry.getValue() != null ? entry.getValue() + " " : "");

      // Show the address in the Map's callout
      ((TextView) mCallout.findViewById(R.id.calloutText)).setText(address.toString());
      mMapView.getCallout().show(mapPoint, mCallout);
      mMapView.getCallout().setMaxWidth(700);

    } catch (Exception e) {
      Log.e("Reverse Geocoding Error", e.getMessage());
    }

    return true;
}
```

Copyright © 1995-2016 Esri. All rights reserved.

Editing

Editing means that you can add, update, and delete features. Updating features includes modifying feature attributes (changing the value of a feature's fields according to the type and range of values allowed); modifying feature geometry (such as moving a point feature or reshaping a polygon or polyline feature); and adding, updating, and deleting feature attachments. For example, if you are editing features representing wildlife sightings, the feature geometry can represent the sighting's location, the feature attributes can include the sighting's description and time, and you can add a photo of the sighted wildlife as an attachment to the feature.

Editing is supported in two workflows: online (connected) and offline (disconnected). Whether your app enables users to edit online, offline, or both, your workflow should include a feature service from ArcGIS for Server, ArcGIS Online, or Portal for ArcGIS. You can publish feature services using ArcGIS for Desktop, or create feature services hosted on ArcGIS Online using the ArcGIS for Developers website. For more information, see Prepare an editing environment. Ultimately, you will submit any edits made to features in your Runtime app to a feature service. In an online editing workflow, edits should be sent back to the associated service as soon as they are made. For an offline editing workflow, before going offline, create a geodatabase that contains the features you want to edit from a sync-enabled feature service. Edits made to those features while offline are stored in the geodatabase and can be synced with the originating feature service when back online.

Workflows

With ArcGIS Runtime SDK for Android, you can build an app that allows users to edit online, offline, or both. Two editing models are at your disposal, and the one you should choose depends on your requirements. Each model has its own set of classes and methods in the API.

The two models are as follows:

1. Feature table editing model—In this model, you create a feature table from a feature service or geodatabase, and then edit the features in this feature table using add, update, and delete methods. A feature layer (`FeatureLayer` class) displays your features on the map, but the editing operations are performed on the feature table (`GeodatabaseFeatureTable` and `GeodatabaseFeatureServiceTable` classes). This model supports both online and offline editing workflows.
2. Feature layer editing model—In this model, a feature layer (`ArcGISFeatureLayer` class) displays your features on a map and also handles editing features. This model supports the online editing workflow only but provides additional capabilities not provided by the first model, as described below.

These two models are discussed below in the context of online and offline editing.

Note: Edits can be made to features from a GeoPackage file (.gpkg) that supports the OGC GeoPackage specification. Such a file is stand-alone and is not backed by a feature service; it is fully offline. If your workflow includes sharing edits online and managing edits across many users, it is recommended that you use an ArcGIS feature service.

Online editing

If you are building an app that always requires your users to have a network connection to view and edit features, you can choose between the two editing models described above. Using the feature table model, you can support online editing by creating a `GeodatabaseFeatureServiceTable` from a feature service and displaying the features in a map using a `FeatureLayer`. Using the feature layer model, you can support online editing by creating an `ArcGISFeatureLayer` from a feature service. The layer displays your features when added to a map, and edits are performed using API methods on the layer class. This `ArcGISFeatureLayer` model provides additional capabilities that are currently not supported by the `GeodatabaseFeatureServiceTable`, including the ability to do the following:

- Edit the related tables of a service layer.
- View and work with time-aware layers and services.

If your app requires any of these capabilities, use the feature layer editing model. The editing methods are on the `ArcGISFeatureLayer` class. See Edit an ArcGISFeatureLayer for more information.

If you are building an app to support both online and offline editing workflows, consider using the feature table editing model. This model brings together online and offline editing into a set of related classes, allowing you to reuse much of your code and greatly streamline writing editing components that work in both online and offline scenarios. For more information on editing feature tables online and offline, see Edit features. In contrast, the feature layer editing model does not support offline editing. Therefore, if you choose this model for your online editing, you must use the feature table editing model for the offline portion of your app. This will involve two separate code paths: one for editing online features in an `ArcGISFeatureLayer`, and one for editing offline features in a `GeodatabaseFeatureTable`.

Copyright © 1995-2016 Esri. All rights reserved.

Offline editing

If you are building an app in which your users can edit features offline, use the feature table editing model, described in Edit features. Before going offline, create a geodatabase from a sync-enabled feature service using the API, as described in Create an offline map. Edit the features in the geodatabase on your local device when offline, and sync those edits back to the service when online again, as described in Sync offline edits.

Prepare an editing environment

Editing requires a feature service to provide the symbology, feature geometry, and set of attribute fields (schema) for your features. Feature services contain service layers (feature data) and tables (nonspatial, tabular data) that you edit via a feature table or feature layer in an online workflow, or use to prepare editable data for an offline workflow. For more information about feature services, see What is a feature service?

Before you build an app that performs editing, you need a feature service that exposes the layers you want to edit. There are various ways to publish a feature service.

- You can login to your organization's portal and publish features from a variety of data sources such as CSV files, GeoJSON, shapefiles, feature collections, or file geodatabases. All of these options and their steps are outlined in the publish hosted feature services topic.
- You can publish feature services using ArcGIS for Desktop. This involves setting up a map document, and defining a feature class schema or importing an existing feature class. Optionally, you can define feature templates to make it easy for the app's end user to create common features. You can then publish the map as a service to an ArcGIS for Server or as a hosted service in ArcGIS Online or Portal for ArcGIS. You must enable **Feature Access** capability and ensure that the service is sync-enabled. This generates a URL through which you can access the feature service.
- You can create a feature layer using the ArcGIS for Developers site. Log in to the site using your organization account or your free developers subscription. Access the **Layers** tab and click the **Create New Layer** button. Follow the instructions to create the new feature layer ensuring that you have checked the box to enable the layer to be taken offline to allow it to be viewed, edited, and synchronized. After creating a layer you can add data to it in the ArcGIS Online Map Viewer.

For an offline editing workflow, create a sync-enabled feature service. A sync-enabled feature service allows you to generate a geodatabase for offline use, and gives you the ability to sync your local edits back to the service.

Note: ArcGIS 10.2.2 for Server or later is required to publish sync-enabled feature services.

Edits made to features in your Runtime application need to be committed back to the feature service. In an online editing workflow, edits should be sent back to the service as soon as they are made. For an offline editing workflow, sync edits made while offline back to the service, as described in Sync offline edits.

Perform edits

You can perform edits by using methods directly on the feature layers in the map. For further information on editing using the API, see Edit features and Edit an ArcGISFeatureLayer.

For some editing workflows, it's a good idea to have an analyst using ArcGIS for Desktop periodically review the edits to verify data integrity. Although components in the API can perform some data validation, other tasks such as validating topologies cannot be performed.

Editor tracking

The editing framework supports the tracking of specific edits to features. This happens by tracking the following feature properties:

- Which user created the feature
- Date and time the feature was created
- Which user last edited the feature
- Date and time the feature was last edited

Copyright © 1995-2016 Esri. All rights reserved.

Edit features

You can let users edit features while online (connected) or offline (disconnected). Editing includes adding new features, deleting features, and updating existing features by changing their geometry (location or shape), attributes, or attachments. There are two models for editing features: feature table editing and feature layer editing. This topic focuses on feature table editing. For an introduction to editing and the editing models, see Editing.

Whether you are online or offline, the workflow to edit features is similar. In both cases, you need to do the following:

1. Create a feature table—In a connected workflow, create it from a feature service. In a disconnected workflow, create it from a geodatabase you generated with a sync-enabled feature service before you went offline, as described in Create an offline map.
2. Create a feature layer from the feature table and add the layer to the map.
3. Perform any edits against the feature table (add, update, and delete features and feature attachments).
4. Commit your edits—In a connected workflow, apply any edits you make to the feature service right away. In a disconnected workflow, sync all your edits back to the service once you have a network connection, as described in Sync offline edits.

In a connected workflow, the type of feature table you create and edit is a `GeodatabaseFeatureServiceTable`. In a disconnected workflow, the type of feature table you create and edit is a `GeodatabaseFeatureTable`. The class hierarchy between these is as follows:

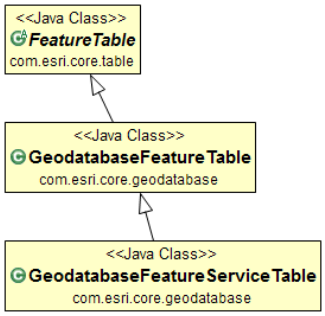

The methods to add, update, and delete features and feature attachments are common to `FeatureTable` and `GeodatabaseFeatureTable`. Therefore, all the methods you have at your disposal to edit in an offline workflow are also available for an online workflow, since `GeodatabaseFeatureServiceTable` inherits `GeodatabaseFeatureTable`. The `GeodatabaseFeatureServiceTable` used in connected editing provides additional methods to apply feature edits and attachment edits back to the service. You should apply any edits to the service as soon as you have made them on your feature table.

To update or delete features, your app should enable users to select features on the map, as described below in Select features.

Create a feature table

Before you can edit features, you need to obtain feature data from a feature service. In an online workflow, create a feature table from a feature service right before you want to edit features, for example, on application load. In an offline workflow, generate a geodatabase from a sync-enabled feature service while you have a network connection, in preparation for editing features offline. When offline, create feature tables from the geodatabase to edit the features locally. In both cases, check the capabilities of the feature service to ensure the editing capability is available.

Copyright © 1995-2016 Esri. All rights reserved.

Online

In an online workflow, create a geodatabase feature service table from a feature service. You can then create a feature layer using this feature table. Once you add the feature layer to a map, features in the map extent are added to the feature service table and can be edited. As you pan and zoom the map (that is, change the map extent), more features are retrieved from the feature service and added to the geodatabase feature service table.

Note: The number of features you see when you initially visit a new area of the map is limited by the feature service's `MaxRecordCount` property (the default value for this property is 1,000). Pan and zoom to query the service for more features. Once features are retrieved from the service and visible in your map, they are available in your geodatabase feature service table for editing and querying.

```
featureServiceTable =
  new GeodatabaseFeatureServiceTable(FEATURE_SERVICE_URL, LAYER_ID);
// you can set the spatial reference of the table here
// if not set, the service's spatial reference will be used
featureServiceTable.setSpatialReference(SpatialReference.create(102100));

// initialize the table asynchronously
featureServiceTable.initialize(
  new CallbackListener<GeodatabaseFeatureServiceTable.Status>() {

  @Override
  public void onError(Throwable e) {
    // report/handle error as desired
    System.out.println(featureServiceTable.getInitializationError());
  }

  @Override
  public void onCallback(Status status) {
    if (status == Status.INITIALIZED) {
      // ...create a FeatureLayer from the GeodatabaseFeatureServiceTable...
    }
  }
});
```

As shown above, once you create a `GeodatabaseFeatureServiceTable` instance, you can set the table's spatial reference by calling `setSpatialReference`. This must be done before you call the `initialize` method on the table. If you do not explicitly set the spatial reference of the table this way, the spatial reference of the service will be used. However, if your map is in a difference spatial reference than your `GeodatabaseFeatureServiceTable`, your features will not appear on the map, so it is good practice to always set the spatial reference explicitly.

You can set your table's spatial reference to the spatial reference of your map once the map is initialized by setting an `OnStatusChanged` callback on the `MapView`:

```
map.setOnStatusChangedListener(new OnStatusChangedListener() {
  private static final long serialVersionUID = 1L;
  @Override
  public void onStatusChanged(Object source, STATUS status) {
    if(source == map && STATUS.INITIALIZED == status) {
      SpatialReference mapSR = event.getMap().getSpatialReference();
      featureServiceTable = new GeodatabaseFeatureServiceTable(FEATURE_SERVICE_URL, LAYER_ID);
      // set the table's spatial reference to be the same as the map's
      featureServiceTable.setSpatialReference(mapSR);
      // ...initialize GeodatabaseFeatureServiceTable...
    }
  }
});
```

Offline

In an offline workflow, generate a geodatabase from a sync-enabled feature service while you have a network connection. Follow the geodatabase generation process described in Create an offline map. This process results in a geodatabase stored locally on disk. The geodatabase contains one or more feature tables, one for each service layer or service table that you requested in the geodatabase generation process. When offline, create geodatabase feature tables (`GeodatabaseFeatureTable` class) from the geodatabase, for example, on application load. The features in the geodatabase feature tables are available for editing whether you create a feature layer or not, but in most cases you'll want to create a feature layer from the feature tables to display the features on a map. Also, consider generating an offline basemap to give the feature data some geographical context when your users edit offline, as described in Include a basemap.

The following code sample shows how to create a feature table from a local geodatabase:

```
// Open the local geodatabase file
Geodatabase geodatabase = new Geodatabase(PATH_TO_GEODATABASE);

// Get the feature table created from the service layer specified in 'LAYER_ID'
GeodatabaseFeatureTable geodatabaseFeatureTable = geodatabase.getGeodatabaseFeatureTableByLayerId(LAYER_ID);

// Create a FeatureLayer from the GeodatabaseFeatureTable and then use the layer...
```

Copyright © 1995-2016 Esri. All rights reserved.

Note: The `Geodatabase` constructor used above throws a `FileNotFoundException` if the geodatabase file cannot be found. You must surround this line with a try-catch block, if the surrounding method itself does not declare that it throws this exception.

Add layers to the map

Display the features contained in the feature table in a map so your users can view and edit them. Create a feature layer from the feature table and add the layer to a map. The feature layer, once added to a map, takes care of displaying the features contained in your feature table that fall within the map extent displayed. When you make edits to features in the table, these edits are visible right away in the associated feature layer and map, but not yet committed back to the service.

The following code sample shows how to create a feature layer from a feature table:

```
private Geodatabase geodatabase = null;
private GeodatabaseFeatureTable geodatabaseFeatureTable;
private FeatureLayer featureLayer;

//open the local geodatabase file
geodatabase = new Geodatabase(PATH_TO_GEODATABASE);

//open the layer in the geodatabase created from the service layer specified in 'LAYER_ID'
geodatabaseFeatureTable =  geodatabase.getGeodatabaseFeatureTableByLayerId(LAYER_ID);

//create a feature layer and add it to the map
featureLayer = new FeatureLayer(geodatabaseFeatureTable);
map.addLayer(featureLayer);
```

Add features

To add or insert new features into a geodatabase table, create the geometry (for example, point, line, or polygon) and attributes for the new feature, and then call the `addFeature` method. This method returns the unique feature ID of the added feature, which you can store for later use, such as if you want to modify the geometry or attributes of this particular feature later on. Adding a feature to a geodatabase table is shown in the code below:

```
//make a map of attributes
Map<String, Object> attributes = new HashMap<String, Object>();
attributes.put("TYPDAMAGE", "Minor");
attributes.put("PRIMCAUSE" , "Earthquake");
attributes.put("TYPDAMAGE_INT", new Integer(3));

try {
  //Create a feature with these attributes at the given point
  GeodatabaseFeature gdbFeature = new GeodatabaseFeature(attributes, point, geodatabaseFeatureTable);

  //Add the feature into the geodatabase table returning the new feature ID
  long fid = geodatabaseFeatureTable.addFeature(gdbFeature);

  String geomStr = geodatabaseFeatureTable.getFeature(fid).getGeometry().toString();
  Log.d(TAG, "added fid = " + fid + " " + geomStr);
} catch (TableException e) {
  // report errors, e.g. to console
  Log.e(TAG, "", e);
}
```

Update features

Features can be updated with the `updateFeature` method on the `GeodatabaseFeatureTable`.

The code sample below shows a method that updates a point feature in the geodatabase feature table with a new point geometry, changing its location on the map.

```
public void updateFeature(long featureID, Point newLocation) {
  try {
    //calls the API method updateFeature taking a feature ID and the new geometry
    gdbFeatureTable.updateFeature(featureID, newLocation);
  } catch (TableException e) {
    // report/handle exception
    Log.e(TAG, "", e);
  }
}
```

Delete features

Features are deleted using the unique ID of the feature you want to delete. This unique ID can be stored when you add a feature to a geodatabase table or can be obtained, for example, through a query on the table. If you have selected the features to delete, the following line of code removes them from the layer:

```
geodatabaseFeatureTable.deleteFeatures(featureLayer.getSelectionIDs());
```

Copyright © 1995-2016 Esri. All rights reserved.

Select features

In a typical map application involving editing, users should be able to select features to edit. You can programmatically select features in a feature layer using their unique IDs. You can obtain feature IDs by performing a query on the feature table from which the feature layer was created, or by letting your users tap the map and obtain the IDs of any features within a certain pixel tolerance around the tapped point. The following code sample shows how to use a single tap event listener on the map to select tapped features:

```
mMapView.setOnSingleTapListener(new OnSingleTapListener() {
  private static final long serialVersionUID = 1L;

  public void onSingleTap(float x, float y) {
    // gets the first 1000 features at the clicked point on the map, within 5 pixels
    long[] selectedFeatures = featureLayer.getFeatureIDs(x, y, 5, 1000);
    // select the features
    featureLayer.selectFeatures(selectedFeatures, false);
  }
}
```

Commit your edits

Committing your feature table edits to the feature service is different depending on whether your workflow is fully connected or disconnected.

Online

In a fully connected workflow, you should apply feature edits and attachment edits back to the service as you make them. That way, anyone else using the same feature service will have access to your changes right away.

To commit your local feature edits to the service, call the `applyEdits` method. Optionally, you can list the current locally edited features by using `getAddedFeatures()`, `getUpdatedFeatures()`, and `getDeletedFeatures()`. Changes to the features returned by those three methods will be committed to the service on a call to `applyEdits`. Once the edits have been applied, newly added features will be given the server-generated object ID. You can find out the value of the new object ID by passing the locally held object ID to the method `lookupObjectID`, before calling `applyEdits`. The `applyEdits` method is asynchronous; any errors from this method call will be returned in a callback as a list of `GeodatabaseEditError` objects.

To commit your local feature attachment edits to the service, call the `applyAttachmentEdits` method. A feature needs to exist on the server before attachment edits for this feature can be applied. Generally, you should call `applyAttachmentEdits` after a successful call to `applyEdits`. The `applyAttachmentEdits` method is asynchronous; any errors from this method call will be returned in a callback as a list of `GeodatabaseEditError` objects.

Note: For descriptions of errors that can arise during edit commits, go to the Apply Edits (Feature Service) topic and click the error code link in the Description section.

Offline

In a disconnected workflow, commit all edits back to the service, and optionally pull the latest changes from the service back to your geodatabase through a sync operation, as described in Sync offline edits. Syncing requires a network connection; therefore, do this when you are back online. Note that the edits that are last committed to the service will overwrite previously committed edits, even if committed edits were made at a later time.

Related topics

Sync offline edits
Create an offline map

Copyright © 1995-2016 Esri. All rights reserved.

Sync offline edits

Your users can edit offline in a services pattern and later sync their edits back to a feature service when connected. Syncing offline edits requires that you've created a geodatabase using a sync-enabled feature service from ArcGIS for Server, ArcGIS Online, or Portal for ArcGIS, as described in Create an offline map. After users have made edits and are ready to sync their local copy of the data with the service, use `GeodatabaseSyncTask` to sync with the feature service. Syncing can be performed even if no edits have been made locally, to pull changes from the feature service into the local copy of the data.

To synchronize edits, do the following:

- Set up a callback to report on the progress while the synchronization happens.
- Set up a callback to report when the process finishes or fails.
- Create or obtain sync parameters for the synchronization task.
- Create a `GeodatabaseSyncTask` instance.
- Call the `syncGeodatabase` method on the `GeodatabaseSyncTask` using the callbacks and sync parameters you set up.

Note: In a sync operation, edits most recently synced to the service will overwrite previously synced edits, regardless of time of edits.

For descriptions of errors that can arise when syncing offline edits, see Error handling with sync.

Register a geodatabase in a pre-planned workflow

In a services pattern workflow known as a pre-planned workflow, you generate the geodatabase once and load copies of it onto each user's device. If you've generated the geodatabase on the user's device with the `generateGeodatabase()` method on the `GeodatabaseSyncTask` class, you don't need to register a geodatabase.

In the pre-planned workflow, you use the `registerGeodatabase()` method to register each geodatabase copy (on each device) with the feature service you used to generate the original geodatabase. Registering in this way ensures each device receives the correct updates during sync operations.

Caution:

- Once you call unregister on a geodatabase, you cannot re-register the same geodatabase.
- If the original geodatabase is ever unregistered, no additional clients can use that copy to register.

For a list of benefits of this workflow, see Register a geodatabase in a pre-planned workflow in "Create an offline map."

Copyright © 1995-2016 Esri. All rights reserved.

Code sample

The following sample shows how to sync your offline edits back to a feature service.

```
// ----------------------------------------------------------------
// Get your sync parameters from the geodatabase
// ----------------------------------------------------------------
final SyncGeodatabaseParameters syncParams = geodatabase.getSyncParameters();

// ----------------------------------------------------------------
// Set up your callbacks
// ----------------------------------------------------------------
// callback for displaying regular updates while the synchronization is taking place
GeodatabaseStatusCallback statusCallback = new GeodatabaseStatusCallback() {

  @Override
  public void statusUpdated(GeodatabaseStatusInfo status) {
    updateProgressBarUI("Latest status: " + status.getStatus(), true);
  }
};

// callback that fires when the synchronization process completes or fails
CallbackListener<Geodatabase> syncResponseCallback = new CallbackListener<Geodatabase>() {

  @Override
  public void onError(Throwable e) {
    // report/handle the error as desired
    Log.e(TAG, "An error occured: ", e);
  }

  @Override
  public void onCallback(Geodatabase geodatabase) {
    // notify the user, optionally do something with the geodatabase
  }
};

// ---------------------------------------------------------------------
// Create a GeodatabaseSyncTask
// ---------------------------------------------------------------------
// you may already have a GeodatabaseSyncTask object if you've generated a geodatabase
if (geodatabaseSyncTask == null) {
  geodatabaseSyncTask = new GeodatabaseSyncTask(FEATURE_SERVICE_URL, null);
}
// ---------------------------------------------------------------------
// Start sync
// ---------------------------------------------------------------------
geodatabaseSyncTask.syncGeodatabase(syncParams, geodatabase, statusCallback, syncResponseCallback);
```

Related topics

Create an offline map
Edit features

Copyright © 1995-2016 Esri. All rights reserved.

Edit an ArcGISFeatureLayer

Using the ArcGIS API for Android, you can edit feature services using methods on the `ArcGISFeatureLayer` class. This topic includes a summary of the editing workflow to add new features, edit existing geometries, or edit attributes of existing features, along with more detailed information and code snippets to assist you in the creation of editing tools.

At version 10.2.3 of the SDK, an alternative editing model for online and offline data was introduced; for more information on this editing model, see the topic Edit features. For an overview of your editing options, see the Editing topic. The remainder of this topic focuses on editing an `ArcGISFeatureLayer`.

Create new features

Creating features involves adding new geometries with attributes to a feature layer, using three general steps:

1. Choose the layer to which a new feature will be added.
2. Provide tools for the user to create the geometry of the new feature. You may additionally wish to allow the user to set attributes of the new feature.
3. Apply the edits to the server.

The tool you provide a tool with which the user can create features must use the correct geometry type for the chosen layer. If this tool is interactive, it needs to be connected to touch events on the `MapView` object. The following code example shows how to set the `OnSingleTapListener` of a `MapView`, use parameters of this method to create a `Point` geometry, and then create a new `Graphic` from this `Point` and a set of attribute values in the form of a `HashMap`.

```
mMapView = (MapView)findViewById(R.id.map); // Get the MapView from the layout
mMapView.setOnSingleTapListener(new OnSingleTapListener() { // Set a single tap listener

  @Override
  public void onSingleTap(float x, float y) {
    // Obtain the clicked point from a single tap on the map
    Point mapPt = map.toMapPoint(x, x);

    // Create a map of attributes (keys must match fields in the feature layer)
    Map<String,Object> attributes = new HashMap<String,Object>();
    attributes.put("Type", "Park");
    attributes.put("Description", "Editing...");

    // Create a Graphic from the point and attributes, and set a symbol.
    Graphic newFeatureGraphic = new Graphic(mapPt, new SimpleMarkerSymbol(Color.RED, 10, STYLE.CIRCLE), attributes, 0);

    // Add the graphic to an array ready to pass to applyEdits.
    Graphic[] adds = {newFeatureGraphic};
```

Alternatively you may want to use the device GPS location for creating or tracing geometries, in which case, integrate the `LocationDisplayManager` class into your code.

You may wish to allow the user to set attributes of the new feature immediately, or alternatively allow the attribute edits as a second stage.

See the following sections for information on using feature templates and providing map tools. See the section Applying edits on the server for more information.

Use feature templates

If your feature layer has subtypes, templates, or domains defined, it may be useful to display these choices to the user in an Android spinner, dialog box, or view. The default renderer and attributes from a subtype or template can be used for the feature being added, saving the user from having to add this information. The `ArcGISFeatureLayer` class has some utility methods to help achieve this; see the `createFeatureWithType` and `createFeatureWithTemplate` methods.

For example, the following code shows how you can get templates from an `ArcGISFeatureLayer`, and pass a template to the `createFeatureWithTemplate` method to create a new feature.

```
// Get FeatureTemplates from the ArcGISFeatureLayer to be edited.
if ( (featureLayer.getTemplates() != null) && (featureLayer.getTemplates().length > 0))
{
  // Get the template required from the layer - using first template here as example.
  FeatureTemplate template = featureLayer.getTemplates()[0];
  // Create a new Graphic using the FeatureTemplate
  Graphic newFeatureGraphic = featureLayer.createFeatureWithTemplate(template, mapPt);
  // Continue by setting attribute values and then adding to array ready to pass to applyEdits.
```

The Geometry Editor sample demonstrates creating template-based features using an `ArcGISFeatureLayer`, and applying those edits to the service.

Copyright © 1995-2016 Esri. All rights reserved.

Adding map touch events

To capture the location for new features and/or their vertices as the user touches the map, add a listener on the `MapView` object. For points, this can be a simple `OnSingleTapListener` as shown previously. For polygons or lines, this can be `MapOnTouchListener` (for freehand style drawing) or a more complex `OnSingleTapListener` that has logic to record when a feature edit has started and finished (perhaps via a long click or double tap). The new feature can be drawn into a `GraphicsLayer` first, so the user can see the feature as it's being edited.

The Geometry Editor sample also demonstrates creating new polygon and polyline elements, and using a graphics layer to draw the features during creation.

Edit attributes

Editing attributes of existing features can also involve three general steps:

1. Select the feature to be edited and display the current attribute values to the user.
2. Provide a way for the user to change the editable attribute values of the feature.
3. Apply the edits to the server.

When writing an application to edit a feature's attributes, you need to know some information about the feature layer being edited. This includes information on the available editable fields, the type of data that each field contains, and whether a field represents a subtype or domain, and what the possible subtypes or domain values can be. The `ArcGISFeatureLayer` class provides all this for you and ensures data integrity. See the following section Applying edits on the server for more information.

Inspect layer fields

The layers field information is the key to editing attributes and is available from the feature layer `getFields` method, which returns an array of field objects. A field object tells you whether the field is editable as well as the field type (so you know what data the user can enter). The following code examples show how to inspect the layer fields:

This code snippet determines editable fields that a user can add data to with a keyboard (strings, numbers, and dates) by eliminating all the other field types:

```
public boolean isFieldValidForEditing(Field field) {

  int fieldType = field.getFieldType();

  if (field.isEditable() && fieldType != Field.esriFieldTypeOID && fieldType != Field.esriFieldTypeGeometry
        && fieldType != Field.esriFieldTypeBlob && fieldType != Field.esriFieldTypeRaster
        && fieldType != Field.esriFieldTypeGUID && fieldType != Field.esriFieldTypeXML) {

    return true;

  } else {

    return false;
  }
}
```

The following method determines the type of field (text, date, number, or decimal) and allows you to add logic to handle each field type:

```
public void determineFieldType(Field field) {

      if (field.getFieldType()== Field.esriFieldTypeString) {
        return FieldType.STRING;
      } else if (field.getFieldType() == Field.esriFieldTypeSmallInteger
          || field.getFieldType() == Field.esriFieldTypeInteger) {
        return FieldType.NUMBER;
      } else if (field.getFieldType() == Field.esriFieldTypeSingle
          || field.getFieldType()== Field.esriFieldTypeDouble) {
        return FieldType.DECIMAL;
      } else if (field.getFieldType() == Field.esriFieldTypeDate) {
        return FieldType.DATE;
      }
      return null;
}
```

Present editable fields to user

Once you know what type of data can be edited, you can present it to the user in the appropriate format. The ArcGIS API for Android includes various view elements for you to do this. The `EditText` object is probably the most used view element to allow user input and is very flexible. Its size and field length can be set, along with the type of data input, so that the appropriate soft keyboard is shown.

Copyright © 1995-2016 Esri. All rights reserved.

The following EditText Android layout XML shows how to set up a field for entering decimal numbers only (see the android:inputType attribute):

```
<EditText
    android:id="@+id/field_value_txt"
    android:layout_width="wrap_content"
    android:layout_height="wrap_content"
    android:minWidth="100dp"
    android:maxWidth="150dp"
    android:padding="10dp"
    android:textSize="16sp"
    android:layout_alignParentLeft="true"
    android:layout_marginLeft="150dp"
    android:inputType="numberSigned|numberDecimal">
  </EditText>
```

For domains and subtypes, the `Spinner` object can be used. This represents a drop-down list and can be populated using an adapter. See the Attribute Editor sample sample uses this method to create a pop-up dialog box.

Ensure data integrity

Before you commit the data, it is good practice to convert the data into the correct format, as often in the ArcGIS API for Android, values that users have entered (from an `EditText` or `Spinner` view) are returned as a string. The previous code snippet for determining the field type can be used so that relevant parsing of string values into the required data type (integers, dates, doubles, and so on) can be performed.

Edit geometries

The three basic steps required to enable your app to edit existing features are as follows:

1. Select the feature to be edited and display or highlight the current geometry to the user.
2. Provide tools for the user to edit the geometry, for example, drag vertices or perform geometry operations such as split, merge, or cut.
3. Apply the edits to the server.

More information about selecting features and editing geometries follows. See the following section Applying edits on the server for more information on apply edits to the server.

Select features

The feature layer includes a special selection mode to make feature selections easy. When you instantiate the feature layer, you can set this using the `ArcGISFeatureLayer.MODE` class and pass it to the constructor or the `ArcGISFeatureLayer.OPTIONS` class. In this mode, features are only retrieved from the server when they are selected. As a backdrop to this layer, you can provide an additional dynamic map service layer to show all available features; this is recommended for various performance reasons.

To select features either by attribute or by spatial location, create a `Query` object, then call the `selectFeatures` method on the feature layer and pass in the `Query` and a callback in order to process the query result. The Select Features sample demonstrates using both a spatial and an attribute query to select features.

Provide editing tools

To provide editing tools, you need to connect various touch listeners on the `MapView` object to respond to user events. This can include clicking a vertex on a polygon so it can be moved. The `GeometryEngine` class, which provides local geometric operations on the device (rather than a geometry service running on an instance of ArcGIS for Server), provides various methods to help you perform geometry edits. For selecting a vertex, `GeometryEngine` has a `getNearestVertex`(method, which takes a point and a geometry (the selected feature in this case) and returns the vertex in the geometry closest to the point. You can then show this vertex on the screen and provide additional touch listeners so the user can move it.

`GeometryEngine` also provides a large array of geometric operations such as clips, buffers, and unions. These can be used in conjunction with new graphic features on the map to edit existing selected features, such as clipping an existing polygon using a newly drawn polygon.

See the Geometry Editor sample for an example of how editing tools can be provided to allow a user to create and change point, line, and polygon geometries.

Copyright © 1995-2016 Esri. All rights reserved.

Deleting features

A typical workflow for feature deletions is to first allow the user to identify the features to be deleted, and then to provide a confirmation step (such as a dialog), before the deletion is applied to the server.

To identify the feature(s) to be deleted, you may wish to let the user interact with the map, and identify the feature by tapping on it. Alternatively, you may wish to provide a way to choose a feature by it's attribute values. Use the techniques described in the previous sections about editing existing geometries.

Applying edits on the server

Once feature edits have been captured, they can be passed to the `ArcGISFeatureLayer.applyEdits` method. This asynchronous method categorizes edits into three types- adding, deleting, and updating. In all cases, features are added or updated as `Graphic` objects, which may include geometry, attributes, and a renderer or symbol.

- New features to be created are passed in as graphics in the first argument. New features will be given a new ObjectID on the server, so this attribute is not required for to exist on the graphic objects passed in.
- Existing features to be deleted are passed in as graphics in the second argument. The graphic objects passed in do not have to include all attributes, however, the ObjectID attribute must always exist on the graphic passed in for the deletion to succeed.
- Existing features to be updated (either geometry or attribute updates) are passed in as graphics in the third argument. The graphic objects passed in must always include the ObjectID attribute for the edit to succeed. However, the graphic objects do not have to include all other attributes—it is possible to only pass in the ObjectID attribute plus those attributes that have changed.

A new `CallbackListener` needs to be created to handle the asynchronous response from the `applyEdits` method. The `onCallback` method receives a `FeatureEditResult[ ][ ]` multidimensional array object. This result object contains `FeatureEditResult` objects for every addition, deletion, and update:

- the first sub-array, `editResult[0]`, provides an array of addition results
- the second sub-array, `editResult[1]`, provides an array of deletion results, and
- the third sub-array, `editResult[2]`, provides an array of update results

In the following code example, a new graphic representing a feature addition is created by calling the `createFeatureWithTemplate` method, passing in a feature template, and the geometry of the new feature. This new feature is added to an array, and passed as the first parameter into the `applyEdits` method. A callback is set to receive the edit result, in which the first sub-array is checked for addition edit result success (this code is checking only the result of a single addition edit, referenced by `editResult[0][0]`).

```
// Create a graphic using a template, and add it to an array of graphics.
Graphic newFeatureGraphic = featureLayer.createFeatureWithTemplate(template, geometry);

// Pass array of additions to applyEdits as first parameter.
Graphic[] adds = {newFeatureGraphic};
featureLayer.applyEdits(adds, null, null, new CallbackListener<FeatureEditResult[][]>() {

  public void onError(Throwable error) {
    // Implement error handling code here
  }

  public void onCallback(FeatureEditResult[][] editResult) {
    // Check the response for success or failure
    if (editResult[0] != null && editResult[0][0] != null && editResult[0][0].isSuccess()) {
      // Implement any required success logic here
    }
  }
});
```

In the following code example, a new graphic representing an update to an existing feature is created by using the Graphic class constructor, passing in a set of attributes that include the ObjectID of the feature to be updated and the new value of the edited attribute. This new feature is added to an array, and passed as the third parameter into the `applyEdits` method. A callback is set to receive the edit result, in which the third sub-array is checked for update edit result success (this code is checking only the result of a single update edit, referenced by `editResult[2][0]`).

Copyright © 1995-2016 Esri. All rights reserved.

```
// Create attributes, including ObjectID and attribute being updated, and set into a Graphic.
Map<String, Object> attr = new HashMap<String, Object>();
attr.put(featureLayer.getObjectIdField(), objectIDOfUpdatedFeature);
attr.put(attributeFieldToEdit.getName(), newAttributeValue);
Graphic updatedFeatureGraphic = new Graphic(geometry, symbol, attr, null);

// Pass array of updates to applyEdits as third parameter.
Graphic[] updates = {updatedFeatureGraphic};
featureLayer.applyEdits(null, null, updates, new CallbackListener<FeatureEditResult[][]>() {

  public void onError(Throwable error) {
    // Implement error handling code here
  }

  public void onCallback(FeatureEditResult[][] editResult) {

    // Check the response for success or failure
    if (editResult[2] != null && editResult[2][0] != null && editResult[2][0].isSuccess()) {
      // Implement any required success logic here
    }
  }
});
```

The `onCallback` method is called even if there is an error with the edits, so you need to add code similar to the above to check for success or failure. The `onError` method will also fire after this method if there has been an error.

Edit capabilities and geometry updates

A feature service can have restrictions on what editing operations can be performed, and on which users can perform each operation. You can obtain the overall capabilities of the service via the `ArcGISFeatureLayer.getEditCapabilities` method. It's good practice to check the capabilities of a service before sending an editing request through to the server, as an incompatible request will be rejected by the server and may represent wasted effort.

At ArcGIS for Server 10.1 or later, a feature service may prevent geometries from being updated. You can check this service property by using the `ArcGISFeatureLayer.isAllowGeometryUpdates` method. If this method returns false, feature geometries cannot be updated, and geometries will not be sent to the server during the `applyEdits` method call described previously. When geometry updates are not allowed by the service, you can still create new geometries and features, and you can still edit other feature properties such as their editable attributes.

Copyright © 1995-2016 Esri. All rights reserved.

Finding a Route

The primary class for routing in the ArcGIS Runtime SDK for Android comes in the form of a RouteTask. A RouteTask allows you to calculate point-to-point and multi-point routes using ArcGIS Server Network Analyst services or local, on-board Network Analyst data.

Network Analyst services contain one or more Network Analysis layers. ArcGIS provides different types of analysis layers, such as Route, Service Area, Closest Facility, etc depending upon the type of analysis to be performed. An online RouteTask relies on a Route analysis layer to compute routes.

ArcGIS Online provides worldwide Network Analyst services you can use with a subscription to ArcGIS Online. You can also create your services using ArcGIS Server. Learn more about creating Network Analysis services.

For local data usage, Network Datasets can be exported to an ArcGIS Runtime format using export tools found in ArcGIS Desktop.

Creating a Route Task

Choosing the right type of RouteTask depends on your data availability and needs. Offline routing offers the benefits of increased performance and removes the need for network connectivity, but as a consequence, a significant amount of storage space may be needed on-device. An online RouteTask allows you to take advantage of robust ArcGIS Online services and requires no additional data deployment, but network speeds and REST response size can negatively impact performance.

Creating an Online Route Task

To instantiate an online RouteTask, you need to provide a URL to REST resource that represents a Route layer in a Network Analyst service. If the service is secured, you will also need to provide the credentials that can be used to access the service. The following code snippet shows how to create a RouteTask for the Route layer in the ESRI_Route_NA service on ArcGIS Online.

```
String routeTaskURL = "http://route.arcgis.com/arcgis/rest/services/World/Route/NAServer/Route_World";
RouteTask routeTask = RouteTask.createOnlineRouteTask(routeTaskURL, null);
```

Creating a Local Route Task

To instantiate a RouteTask using local data, you need to provide a path to the local database and the name of the Network Dataset within the database. The following snippet shows how to create a Route task from data located in the `/<external-storage-directory>/ArcGIS/Routing/` folder on your device. In this snippet, the database is named “SanDiego.db” and the exported Network Dataset files start with the prefix “Streets_ND”.

```
String extern = Environment.getExternalStorageDirectory().getPath();
RouteTask routeTask = RouteTask.createLocalRouteTask(extern + "/ArcGIS/Samples/Routing/SanDiego.geodatabase", "Streets_ND");
```

Route Task parameters

You provide input to the RouteTask using an instance of the RouteParameters class. You can instantiate a new RouteParameters object by using the retrieveDefaultRouteTaskParameters() method on your RouteTask object. Using this method will set the appropriate default settings for routing. Consequently, the only required parameter that you need to set is the stops parameter. The following sections describe some of the inputs you can provide to a RouteTask.

Note: Creating the default parameters object using an online RouteTask involves making a network call, so Android threading considerations should be made accordingly.

Impedance

Impedance specifies a cost that should be minimized in the resulting route. For example, impedance can be set to **Time** in order to calculate the fastest route or Length to calculate the shortest route.

Online Service Descriptions

For online services, impedances supported by the service are listed in the Services Directory under **Network Dataset** → **Network Attributes** with a Usage Type of esriNAUTCost.

In the example shown above, Length and Time are supported impedances. The following code snippets sets the impedance to Length to calculate the shortest route.

```
// set impedance for length
RouteParameters routeParams = new RouteParameters();
routeParams.setImpedanceAttributeName("Length");
```

Copyright © 1995-2016 Esri. All rights reserved.

Accessing Service Descriptions Programmatically

For both online and offline RouteTasks, available cost attributes can also be accessed through the NetworkDescription object. This object contains important network information such as supported languages for driving directions, cost attributes, and restriction attributes. This object is useful for displaying routing options on your user interface. The following snippet shows accessing the network description, and setting the first cost attribute as the impedance for the solve operation.

```
// Create a parameters object and retrieve the network description
RouteParameters routeParams = mRouteTask.retrieveDefaultRouteTaskParameters();
NetworkDescription description = mRouteTask.getNetworkDescription();
List<CostAttribute> costAttributes = description.getCostAttributes();

// Assign the first cost attribute as the impedance
if (costAttributes.size() > 0)
  routeParams.setImpedanceAttributeName(costAttributes.get(0).getName());
```

Stops

Stops specify the locations that must be visited along the route. You need at least two stops to calculate a valid route; however, you can add more stops if necessary. There are two ways to specify stops:

Features

The **NAFeaturesAsFeatures** class contains stops represented as graphics. You can create an array of **StopGraphic** objects representing stop features. You can then assign these features to the parameter object using the setFeatures() method. The following code snippet assumes you have constructed two points representing your current location (mLocation) and the destination location (mDestination) to route to.

```
// create routing features class
NAFeaturesAsFeature naFeatures = new NAFeaturesAsFeature();
// Create the stop points from point geometry
StopGraphic startPnt = new StopGraphic(mLocation);
StopGraphic endPnt = new StopGraphic(mDestination);
// set features on routing feature class
naFeatures.setFeatures(new Graphic[] {point1, point2});
// set stops on routing feature class
routeParams.setStops(naFeatures);
```

Layer definition

Apart from specifying stops by-value, for example, providing the actual values for each feature as described above, you can also specify them by-reference. This is useful when you already have a set of well known or commonly used stops stored with the Network Analyst service. In such cases, the application does not need to know the actual details about each stop. All it needs to do is set up a layer definition specifiying which stops should be included in the analysis.

A layer definition is represented by an object of the NAFeaturesAsLayer class. You can use SQL statements and/or spatial relationships to specify which stops should be used in the analysis. For example, the following code snippet sets up a layer definition referencing features that fall within Los Angeles and have a value of Overnight for the delivery_type attribute.

```
NAFeaturesAsLayer naLayer = new NAFeaturesAsLayer();
// set layer name with the layer in the service
// containing stops
naLayer.setLayerName("<layer_in_service_containing_stops>");
// set where clause for 'Overnight' delivery_type
naLayer.setWhere("delivery_type='Overnight'");
// set stops on routing layer
routeParams.setStops(naLayer);
```

Usage Considerationss

Using a layer definition is only supported when solving with an online RouteTask. The stops for a local RouteTask must be specified by value using the NAFeaturesAsFeatures class.

Calculating routes

Once you have set up the input parameters, calculating routes is as easy as invoking solve() method on RoutingTask and passing in the RoutingParameters object to use in the calculation.

```
RouteResult mResults = routeTask.solve(routeParams);
```

This method returns a RoutingResult object containing the relevant information for the entire server response. This includes all routes, as well as the stops, point/polyline/polygon barriers, and messages returned by the server. For information on displaying route geometry and driving directions, see Display Driving Directions

Copyright © 1995-2016 Esri. All rights reserved.

Display Driving Directions

The RouteResult object returned from a successful RouteTask solve() invocation contains all of the necessary information to both visualize routes and display driving directions.

Getting a Route

Each RouteResult object contains a collection of Route objects which house individual route information. In the case of a local RouteResult, there will always be one Route object in the RouteResult as multiple routes are not supported.

```
List<Route> routes = mResults.getRoutes();
Route mRoute = routes.get(0);
```

Adding Route Geometry to the Map

The shape for the entire route can be accessed through the getRouteGraphic() method on a Route object. Unfortunately, the graphic returned from this method does not have a default symbol, so a symbol must be added.

```
// Access the whole route geometry and add it as a graphic
Geometry routeGeom = mRoute.getRouteGraphic().getGeometry();
Graphic symbolGraphic = new Graphic(routeGeom, new SimpleLineSymbol(Color.BLUE,3));
mGraphicsLayer.addGraphic(symbolGraphic);
```

Directions

From the returned Route object you can obtain routing directions as a List and add them to your application. Each RouteDirection object contains textual directions information, duration, length, and associated geometries. The following snippet shows a simple way to add directions to an application with a Spinner. The onItemSelectedListener is also set to allow panning to each direction when it is selected.

```
// Find the spinner in your application
Spinner spinner = (Spinner)findViewById(R.id.directionsSpinner);

// Get the list of directions from the Route object
final List<RouteDirection> directions = mRoute.getRoutingDirections();
String[] flatArray = new String[directions.size()];

// Iterate through all of the directions and create formatted Strings
for(int i = 0; i < directions.size(); i++) {
   RouteDirection direction = directions.get(i);
   flatArray[i] = String.format("%s%nTime: %.1f minutes, Length: %.1f miles",
     direction.getText(), direction.getMinutes(), direction.getLength()));
}

// Create an array adapter for the formatted directions Strings
ArrayAdapter<String> adapter = new ArrayAdapter<String>(getApplicationContext(),
  android.R.layout.simple_spinner_item, flatArray);
adapter.setDropDownViewResource(android.R.layout.simple_spinner_dropdown_item);
spinner.setAdapter(adapter);

// Set the OnItemSelectedListener to pan to the RouteDirection whenever
// one is selected from the spinner
spinner.setOnItemSelectedListener(new OnItemSelectedListener() {
  @Override
  public void onItemSelected(AdapterView<?> parent, View view, int index, long id) {
    mMapView.setExtent(directions.get(index).getGeometry());
  }

  @Override
  public void onNothingSelected(AdapterView<?> parent) { }
});
```

Copyright © 1995-2016 Esri. All rights reserved.

Tasks overview

Tasks are the foundation of the geospatial functionality in your Android applications. Using tasks in your application, users can interact with maps, find and display reports of real-world objects, collect geographic information and analyze what is seen on a map.

Working with tasks

Working with tasks is not complicated once the pattern is understood. All tasks follow the same basic principals and pattern. Tasks are wrappers around operations supported by ArcGIS Server REST web services. Tasks take care of asynchronously sending the request, showing the network activity indicator, applying appropriate credentials to the network resource, and parsing the results.

Copyright © 1995-2016 Esri. All rights reserved.

Display task and query results

This topic describes the recommended ways to display features returned from a task or query on the map by way of a graphics layer and a feature layer. The workflows for achieving this are defined and explained, and code examples are provided.

Display results in the graphics layer

When task results are returned, you can retrieve the features and add them to the graphics layer. Task results contain features, which consist of a geometry and attributes, but no symbol; therefore, some symbology needs to be added so the feature can be displayed appropriately.

There are two workflows for displaying a task result in a graphics layer because there are two ways to add symbology to a graphic. The first workflow is to set a renderer (which contains multiple symbols set for specific graphic attribute values) on the graphics layer. The second workflow is to create a specific symbol and set it directly on a graphic. If both workflows are implemented, the symbol set directly on the graphic takes precedence.

The following sections summarize and explain the two workflows in more detail.

Set a renderer on the graphics layer

This is the recommended workflow to provide symbols for features, since you only need to set the renderer on the graphics layer once. All subsequent graphics added to the layer have their appropriate symbols set automatically. However, if complex logic is required, which is not supported by the available renderers in ArcGIS Runtime SDK for Android, or if multiple geometry types in a single graphics layer are required, then setting symbols directly on the graphics is recommended.

1. Initialize a GraphicsLayer object and set its renderer.
2. Set up the task's query parameters and execute the query task asynchronously.
3. When the task result is returned, place the graphics from the result into the graphics layer.
4. Refresh the graphics layer.
   The graphics display with the symbol defined by the renderer.

When a graphics layer's renderer is applied, it's assumed that its graphics have only one type of geometry, and the renderer should define the symbology for graphics of that geometry type. Graphics of other geometry types are ignored and will fail to display.

You can choose from one of the available renderers based on your requirements. A SimpleRenderer uses one symbol for every graphic. The UniqueValueRenderer symbolizes graphics into groups with matching attribute values, while a default symbol is assigned to graphics without a matching attribute. A ClassBreaksRenderer symbolizes the graphics according to a numeric range of attribute values. See the following code example:

The following code snippet shows how to define a ClassBreaksRenderer.

```
ClassBreaksRenderer renderer = new ClassBreaksRenderer();
renderer.setMinValue(0.0);
renderer.setField("POP07_SQMI");
ClassBreak cb1 = new ClassBreak();
cb1.setClassMaxValue(25);
cb1.setSymbol(new SimpleFillSymbol(Color.argb(128, 56, 168, 0)));
cb1.setLabel("First class");
ClassBreak cb2 = new ClassBreak();
cb2.setClassMaxValue(75);
cb2.setSymbol(new SimpleFillSymbol(Color.argb(128, 139, 209, 0)));
cb2.setLabel("Second class");
renderer.addClassBreak(cb1);
renderer.addClassBreak(cb2);
```

Set symbols directly on the graphics

This approach is recommended if you have complex logic to determine the symbology of a graphic that is not supported by the available renderers previously described, or if you want to add graphics of multiple geometry types to a single graphics layer on the map.

1. Initialize a GraphicsLayer object.
2. Set up the task's query parameters and execute the query task asynchronously.
3. When the task result is returned, inspect each feature in turn, and create and define a symbol for each.
4. Add each graphic to the graphics layer.
5. Refresh the graphics layer.
   The graphics display with the defined symbols.

Copyright © 1995-2016 Esri. All rights reserved.

A rich set of symbols are provided by ArcGIS Runtime SDK for Android for the display of graphics. For points, you can select from SimpleMarkerSymbol (simple shapes such as circles, squares, and so on), PictureMarkerSymbol (an image you choose), and TextSymbol (to display text). For lines, you can use a SimpleLineSymbol to set the line thickness, color, style, and opacity. For polygons, you can use the SimpleFillSymbol to set the color, opacity, and outline (which is a SimpleFillSymbol). See the following code example:

The following code snippet demonstrates how to create a PictureMarkerSymbol for a point using a building image.

```
Graphic gr = new Graphic();
Bitmap libImage = BitmapFactory.decodeResource(getResources(), R.drawable.building);
BitmapDrawable libDrawable = new BitmapDrawable(libImage);
PictureMarkerSymbol libSymbol = new PictureMarkerSymbol(libDrawable);
gr.setSymbol(libSymbol)
```

Display selected features in a feature layer

The feature layer is a representation of a feature service or map service that contains multiple features in the form of graphic objects. Since the ArcGISFeatureLayer class extends the GraphicsLayer class, these layers can also be used to show results; however, it's not recommended to add graphics to a feature layer directly. Either use the feature layer connected to a service, or create a feature layer from a feature collection. For more information on feature layer settings and selecting features, see Layer types.

1. Initialize an ArcGISFeatureLayer object.
2. Set the layer's renderer or the layer's selection symbol.
3. Set up a query to select features from the feature layer, or apply a layer definition expression.
   The features (either all or the selected features depending on the layer's settings) display with the appropriate symbol based on the defined renderer.

To symbolize features in a feature layer, it's recommended to set the renderer at the layer level via the setRenderer() method (for all features) or the setSelectionSymbol() method (for selected features only). You should not set the symbol directly on a graphic of a feature layer, since these graphics are updated from the server and their data can be temporal; consequently, the symbol could be overwritten.

Add a callout

You can enhance your results display by showing the graphic's attributes in a callout. Consider defining an InfoTemplate for the graphic if the callout's default look and feel is acceptable for your application. For more information, see Customize the callout.

Copyright © 1995-2016 Esri. All rights reserved.

Geometry operations

Geometry operations let you create geometries (shapes with locations) that represent real-world objects and let you compare and relate those shapes.

The term "geometry" in ArcGIS refers to the location and shape of a real-world object or a geometric construct such as an area of interest or a buffer area around an object.

For example, you may want to measure the area of a polygon representing a lake or district. Perhaps you have multiple geometries, and you want to know their relationship to one another. Geometry is the fundamental element for performing spatial analysis. With ArcGIS Runtime SDKs, you can perform spatial analysis by relating geometries in a near-endless number of ways. Additional examples are as follows:

- At a clicked point on the map, display the land area's vegetation type.
- Verify that all the building polygons in a layer lie completely within one of the parcel polygons in another layer.
- Determine whether a proposed school site is within 300 meters of any liquor store.

Create geometry

Geometries come in different types. A point may represent a light pole, a polyline may represent a street centerline, or a polygon may represent a parcel of land. In addition to single points, polylines, or polygons, there are multipart types as well.

The API includes a geometry class. This base class represents a geometry of any type. There are also classes derived from the geometry class to be used when the geometry type is explicit.

Geometry type	Description	Example of use
Point	A single point location	Location of survey monument
Multipoint	An ordered collection of zero or more point locations in one geometry	Locations of multiple bore holes at a drilling site
Line	A single two-vertex line	The shortest path from one point to another
Polyline	One or more lines, each with two or more vertices	A road centerline
Polygon	An area, possibly multipart, whose parts may have interior holes	A group of islands
Envelope	A 4-sided polygon with sides aligned to the x and y axes	An area of interest

A geometry object contains a single geometry. The geometry class also has methods to operate on geometry objects. You can create geometries in some task results by using methods that return geometry objects, and by invoking a class constructor. Examples are as follows:

- A find task finds features in a service using a text search, returning the geometry in the results. The geometry is constructed for you by the API using data returned by the find task.
- You can use an operation such as buffer to create a new geometry from another geometry plus a buffer distance.
- You can call a constructor to create points, polygons, and so on, providing the necessary information for that specific geometry type.

You can create new geometries from existing geometries by performing operations such as these:

- Buffer—Buffer a geometry at a specified distance, creating a buffer polygon.

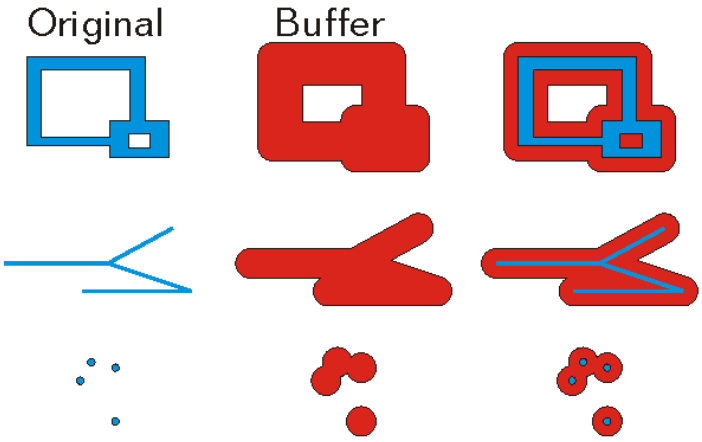

Copyright © 1995-2016 Esri. All rights reserved.

- Clip—Create a geometry by clipping a geometry with an envelope.

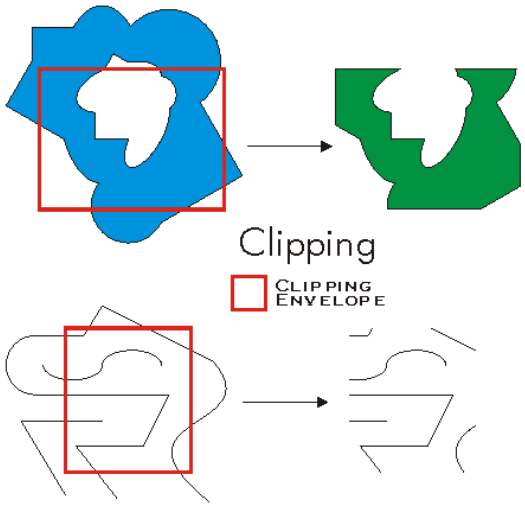

-
- Densify—Create a densified copy of the input geometry by adding vertices between existing vertices.

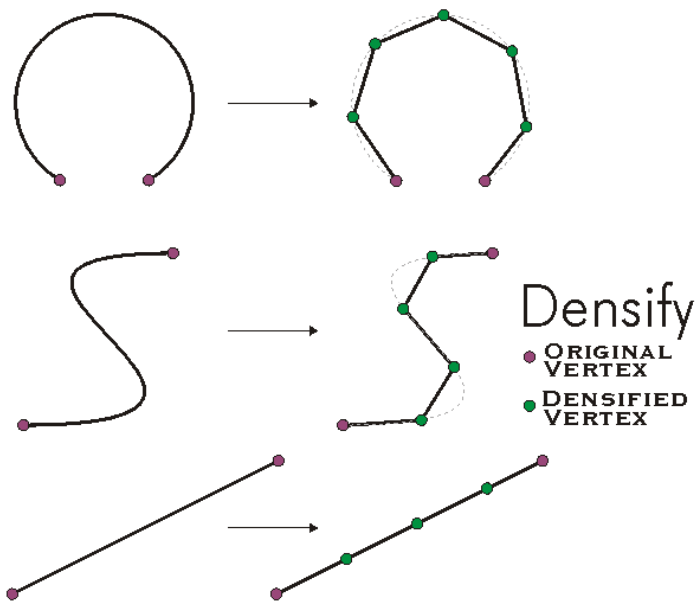

- Difference—Create a geometry that is the topological difference of two geometries.

Copyright © 1995-2016 Esri. All rights reserved.

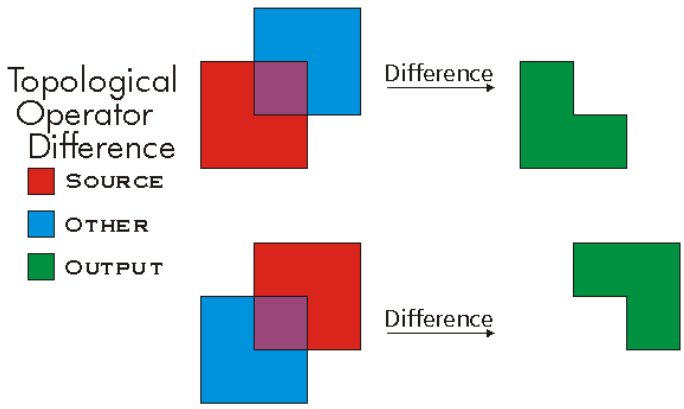

- Offset—Create an offset version of the input geometry.

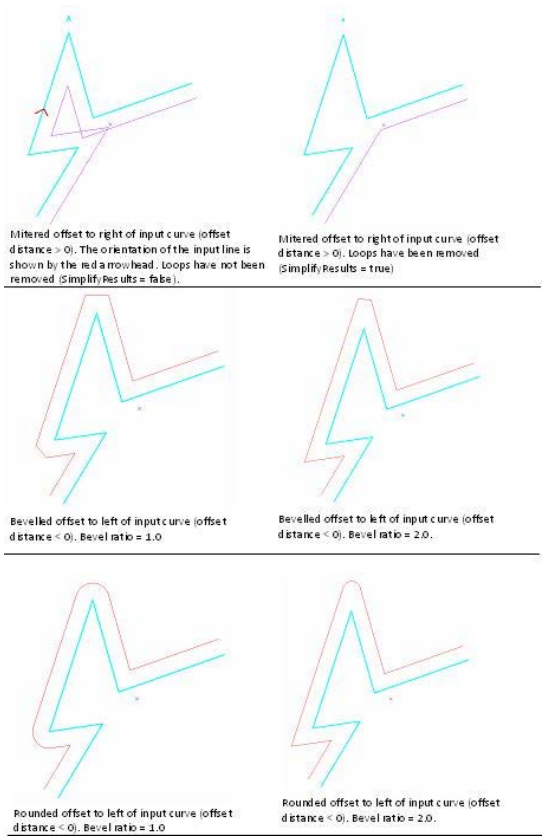

- Union—Create a geometry that is the union of two or more geometries.

Copyright © 1995-2016 Esri. All rights reserved.

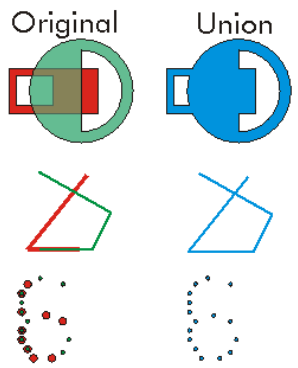

- Intersection—Create a geometry that is the topological intersection of two geometries.

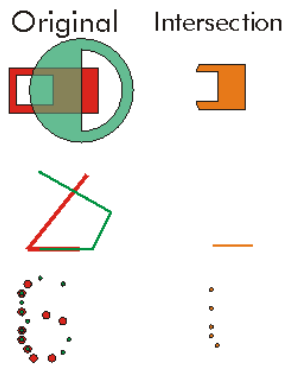

- Symmetric Difference—Create a geometry that is the topological symmetric difference of two geometries.

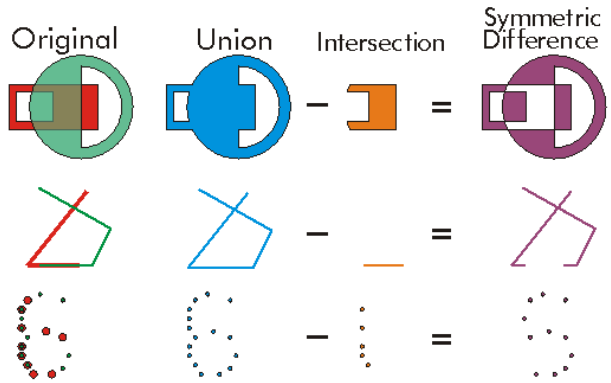

- Simplify



Copyright © 1995-2016 Esri. All rights reserved.

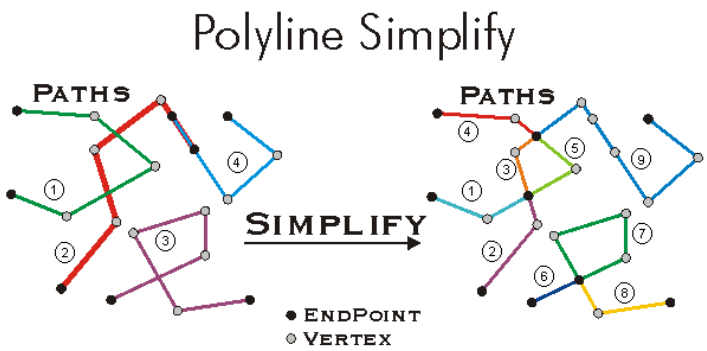

Geometry engine

The geometry engine performs geometric operations, such as measuring distance, determining spatial relationships, and altering geometries, all locally on the client. Each of the geometry engine methods are static, which means they can be called directly on the class (without instantiating an object variable).

Spatial relationships

When you have multiple geometries on a map, you may want to know their relationship to each other. For example, you may want to know if a polyline representing a creek crosses through a polygon representing your property. Given two geometry objects, the geometry engine can tell you whether a given spatial relationship is true of those geometries. The spatial relationship is determined by whether the boundaries or interiors of a geometry intersect. The meaning of boundary and interior are well defined for each basic geometry type.

- Boundary—For lines, the line's endpoints, or the endpoints of each line in a multipart line. For polygons, the line that circumscribes the interior area or areas (for multipart polygons) or circumscribe any interior holes.
- Interior—Points are entirely interior and have no boundary. For lines and polygons, the interior is any part of the geometry that is not part of the boundary.

The basic relationships the geometry engine supports are as follows:

- Contains—The base geometry completely contains the comparison geometry.

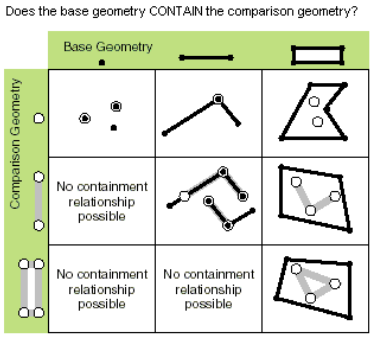

- Crosses—The geometries share some interior area, but not all interior area.

Copyright © 1995-2016 Esri. All rights reserved.

Does the base geometry CROSS the comparison geometry?

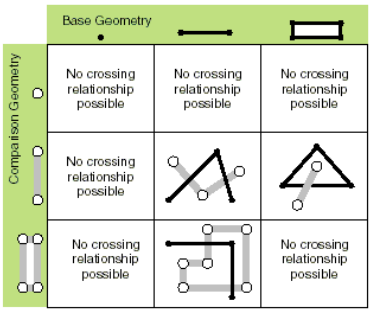

- Disjoint—No part of the base geometry intersects the comparison geometry.

Is the base geometry DISJOINT from the comparison geometry?

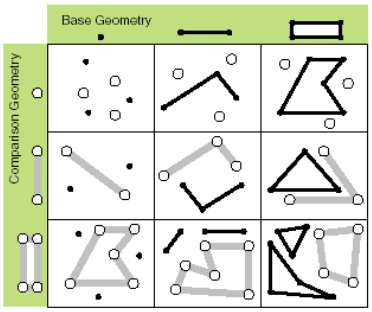

- Intersects—Not disjoint.
- Touches—The boundaries of the geometries intersect, but not their interiors.

Does the base geometry TOUCH the comparison geometry?

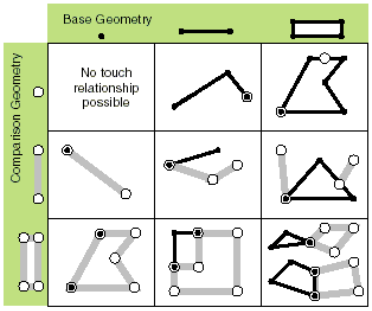

- Within—The base geometry lies completely within the comparison geometry.

Copyright © 1995-2016 Esri. All rights reserved.

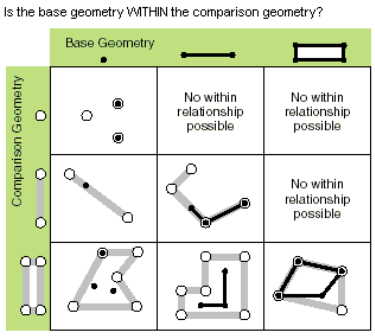

For each spatial relationship, there is a method that returns a Boolean value indicating whether that relationship is true of the two geometries. For spatial relationships that are true of one geometry but not the other, such as Within or Contains, the geometry engine considers the order of the geometries entered.

Projecting to different spatial references

There may be times when you have geometries in a map or service with a particular spatial reference and want to display them on a map with a different spatial reference. The geometry engine allows you to do this with a simple method call, `project()`. When projecting, similar to modifying geometry objects, the instance of the geometry object passed in is not actually changed; rather, a new geometry object is returned. When projecting, you can apply a specific transformation using the `project()` method. Different transformations are suitable for different areas of the world or different spatial references. Some Runtime SDKs support a common set of datum transformations and some support grid-based transformations. Grid-based transformations require additional files to be deployed or provisioned.

Geodetic and planar lines

In a geometry the path of the line connecting ordered vertices is implied, not stored. Along what path do these lines run? When you view a map on a device, you usually see the vertices connected with straight line segments. As long as the distances are short, such as between corners of a small building, the visual path of the line closely approximates the real location of the edge of the building.

What if the vertices of a line are farther apart? What if one vertex was near the center of Reykjavik, Iceland, and the other near the center of Oslo, Norway? The following map uses the projected coordinate system WGS 84 Web Mercator (auxiliary sphere) to display a map of such a line:

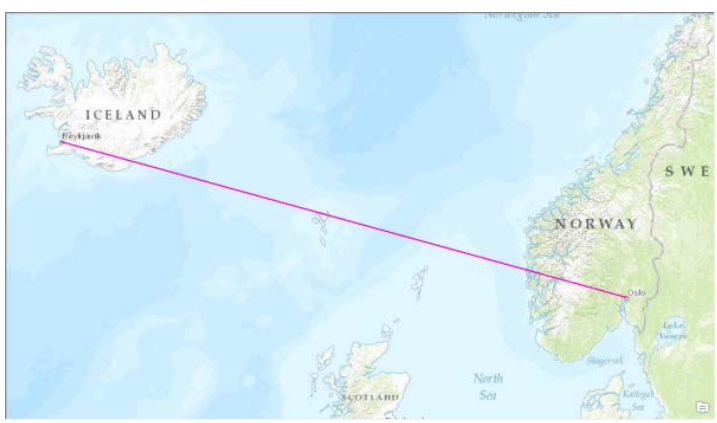

The line appears straight when drawn on the plane of the map surface, passing through the Faroe Islands. On the map surface, this line is the closest path between the points. But in the real world, the Earth is round. The shortest distance between points on the surface of the Earth follows a geodesic path. The geodesic path would appear straight to an observer on the ground. However, the line is curved with respect to the projected coordinate system used in the map.

Copyright © 1995-2016 Esri. All rights reserved.

It is important to remember that in both maps used here, the lines are approximations. When a map is projected onto a 2-D map surface from a 3-D Earth image, the 2-D map cannot perfectly represent all the features on the map. Some objects are distorted, including the path and length of lines, the area of polygons, and the relative position of points. This behavior is normal. The reason there are many coordinate systems is that they are designed to reduce different types of distortion in different areas of the Earth. Keep this in mind when choosing a coordinate system and whether to use the geodetic version of some geometry methods.

Geometry contents

At its core, a geometry is a collection of one or more vertices (locations) that may be connected, one to the next, in a linear order. A geometry does not store the lines that connect the vertices, such as those that represent the boundary of a polygon. Instead, it stores the vertices in linear order along a polyline's path or around a polygon. The lines between the vertices are implied by this ordering.

Coordinates are used to denote the location of the vertices. Coordinates can represent 2-D (x,y) or 3-D (x,y,z) locations. The meaning of the x,y,z-coordinates is determined by a coordinate system. The vertices and coordinate system together allow your app to translate a real-world object from its location on the Earth to its location on your map.

Coordinate systems, also known as map projections, provide a common basis for communication about a particular place or area on the Earth's surface. When data sets have the same coordinate system, they can be integrated within a map that uses that coordinate system. Geometries with a coordinate system different from the map's can be reprojected (translated) to the map's coordinate system for display. In addition to integrating data sets within maps, coordinate systems allow you to perform various integrated analytical operations such as overlaying data layers that come from different sources.

In the API, a spatial reference class represents a coordinate system. It contains a coordinate system and helper methods to access and use it. The spatial reference class is associated with several other API classes that need a coordinate system to function. For example, layers have an associated spatial reference. Some task parameters, such as those for the query task and the local routing task, are spatial reference objects.

To use the contents of a geometry object, you must know the associated spatial reference. It's meaningless to compare two geometry objects or determine their spatial relationship if they have different spatial references. To display a geometry in a map layer, the geometry must have either the same spatial reference as the layer or be projected to the layer's spatial reference. To use two objects together, if those objects each have a spatial reference, they should have the same spatial reference.

When working with geometry operations, it's important that you understand the basics of spatial references (the different types of coordinate systems there are, when you have to know about spatial references, and so on) that are outlined in Spatial references.

Z-coordinates represent the vertical aspect of a vertex, such as elevation for a location. Z-coordinates may be associated with a vertical coordinate system. Generally, they are not used when drawing the geometry on a 2-D map display.

In some cases, vertex coordinates include measure values, often called m-values. M-values are used in linear referencing to calculate values between polyline vertices. M-values are not used when drawing a geometry. A geometry can contain m-values without containing z-coordinates.

Geometry classes include methods to determine whether the object includes z-coordinates or m-values. Some task parameters, such as those for the find task, allow you to choose whether z-coordinates or m-values should be returned in the result geometries.

Related topics

Spatial references

Copyright © 1995-2016 Esri. All rights reserved.

Access the ArcGIS platform

The ArcGIS platform provides a full range of GIS capabilities. There are various ways to add powerful functionality and intelligence to your ArcGIS Runtime app by connecting to platform capabilities.

ArcGIS Online

ArcGIS Online is a cloud-based, collaborative content management system for maps, apps, data, and other geographic content. You can access ArcGIS Online through mobile devices, a website (www.ArcGIS.com), and desktop map viewers. With ArcGIS Online you can do the following:

- Create web maps.
- Web enable your data.
- Share your maps, data, and applications.
- Find relevant and useful basemaps, data, and configurable GIS resources.
- Manage content and users in your organization.

Tip: With your free ArcGIS for Developers account, you have access to ArcGIS Online for development and testing. Sign in at developers.arcgis.com or www.ArcGIS.com.

Using ArcGIS Runtime, you can access and search content, users, and groups.

Learn more about developing with ArcGIS Online in ArcGIS Online Help.

ArcGIS for organizations

To access all the capabilities of ArcGIS Online, your organization can purchase a subscription. With this subscription, you can store and process geographic data, solve complex routing problems, perform spatial analysis, create reports, and enrich your own data with demographic and geographic attributes. You also gain access to various productivity apps. A subscription can help you make geospatial information more pervasive, both within your organization and throughout the general public.

Tip: Your free ArcGIS for Developers account includes some subscription-only services for development and testing. Sign in at developers.arcgis.com or www.ArcGIS.com. If you upgrade your free account to a paid plan, you can still sign in using both of these sites.

Learn more about ArcGIS for organizations on esri.com.

Portals, users, roles, groups, and sharing

ArcGIS Online is an information portal and is represented in the API by the `Portal` class.

When you sign in to ArcGIS Online with an organization account, you see a specialized view that your organization administrator has configured for you, giving you access to maps, content, and other services specific to your organization. You can also access all your own content and services.

A registered user of a portal is represented in the API by the `PortalUser` class. When you have signed in to a portal, you can get information relating to the authenticated user from the portal class. There are different ways to sign in to a portal—see the Authentication documentation online.

Portals and users have an essential role to play in some app licensing scenarios. For more information about licensing, see License your app.

Groups are a way to collaborate with other users who share a common interest. A user can create groups, join groups, and share items with those groups. Groups have titles, descriptions, thumbnails, and unique IDs to help users identify them. The sharing model within ArcGIS Online is based on groups. Groups are represented in the API by the `PortalGroup` class.

A free, public account is another way to access ArcGIS Online. These accounts are not associated with an organization and offer a limited set of functionality. A public account allows you to use and create maps and share your maps and apps with everyone. Public accounts are for noncommercial use only.

Connect to public content and services on ArcGIS Online

To connect to ArcGIS Online and access public content anonymously, you can begin by creating a portal, without passing in any user credentials:

Copyright © 1995-2016 Esri. All rights reserved.

```
Portal portal = new Portal("http://www.arcgis.com", null);
PortalInfo info = portal.fetchPortalInfo();
String name = info.getPortalName(); // Returns 'ArcGIS Online'
```

From here, you can access public content; for example, you can display a web map, or download the data stored in a portal item. You can also search for content such as web maps, map services, map features, groups, and users.

Some organizations share content publicly and allow anonymous access to that content; connect to publicly accessible content from such organizations by specifying the organization URL, for example:

```
Portal portal = new Portal("http://anorganization.maps.arcgis.com", null);
```

Connect to secured content and services on ArcGIS Online

Apps that target organization users who are known to the ArcGIS platform (a named user) should pass credentials for the user when creating the portal object.

```
PortalInfo info = portal.fetchPortalInfo();
PortalUser user = portal.fetchUser();
String userDisplayName = user.getFullName();
String organizationName = info.getPortalName();
```

The portal object now has access to all the secure content for which the user has access rights and can find out more information about the user, such as the full name (instead of the account user name). Additionally, information about the organization such as the name, banner image, description, and so on, can be found as shown above. Apps often make use of this information when a user connects to a specific portal, to show the user organization branding and context.

Typically, the portal object with the authenticated user is cached and used throughout the app session, to provide the app with a view of a portal that is centered around a single user. When the app is restarted, the credentials must be reinstated, or the user must repeat the authentication process.

To access secure content, an app needs to provide a way to sign in to the platform, a process often known as authentication. The recommended approach for authenticating a user known to the platform is to use a user login and OAuth. Apps that target users who are unknown to the ArcGIS platform can authenticate with the platform on behalf of the user by using an app login.

The portal class contains methods to authenticate using OAuth 2.0 for both user and app logins. Again, the authenticated portal object can be cached and reused throughout the app session.

Portal for ArcGIS

Portal for ArcGIS provides you with the same core capabilities as ArcGIS Online, but it can be installed and hosted on your own premises, behind your firewall, for controlled distribution of content.

Learn more about Portal for ArcGIS on esri.com.

Connect to Portal for ArcGIS

Connecting to an instance of Portal for ArcGIS is done in a very similar way to connecting to ArcGIS Online and is represented in the API by the same class, `Portal`. Use the URL to the Portal for ArcGIS website, along with appropriate credentials valid on that portal, or no credentials if accessing public content anonymously.

```
Portal portal = new Portal("http://geoportal.mycompany.com", credentials);
```

ArcGIS for Server

ArcGIS for Server is a complete and integrated server-based GIS, allowing you to publish many different types of GIS services for use by a variety of clients including ArcGIS Runtime apps. Some services provide similar functionality to that available from ArcGIS Online—for example, you can create map layers based on map, feature, or WMS services, and perform geocoding, routing, or geoprocessing functions by using services hosted by ArcGIS for Server.

Discover content and services on ArcGIS for Server

Use the ArcGIS Services Directory to browse the available services on an ArcGIS for Server site. Open the REST Services home page in a browser, for example, http://sampleserver6.arcgisonline.com/arcgis/rest/services.

Contact your ArcGIS Server system administrator if you're uncertain about the server URL or ArcGIS instance.

Copyright © 1995-2016 Esri. All rights reserved.

Connect to ArcGIS for Server

Connecting to ArcGIS for Server is a little different from connecting to portals—instead of connecting to the portal itself, you pass the URL of the service you want to use to a class designed to work with that service type.

For example, you can create a map layer by passing in the URL to a dynamic map service:

```
ArcGISDynamicMapServiceLayer dynamicLayer = new ArcGISDynamicMapServiceLayer(
    "http://sampleserver6.arcgisonline.com/arcgis/rest/services/DamageAssessment/MapServer");
```

If the service is secured, pass in valid `UserCredentials` to the map layer constructor in addition to the URL. See working with secure ArcGIS services for more information.

ArcGIS for Server services are listed below, along with the classes that make use of them.

Service type	API classes
Feature service	`ArcGISFeatureLayer, FeatureLayer, FeatureTable`
Feature service—Query endpoint	`QueryTask`
Feature service—Create replica, synchronize replica, unregister replica, and apply edits endpoints	`GeodatabaseSyncTask`
Map service—Dynamic	`ArcGISDynamicMapServiceLayer`
Map service—Tiled	`ArcGISTiledMapServiceLayer`
Map service—WMS endpoint	`WMSLayer`
Map service—WMTS endpoint	`WMTSLayer`
Map service—Identify endpoint	`IdentifyTask`
Map service—Export tiles endpoint	`ExportTileCacheTask`
GeocodeServer	`Locator`
GPServer	`Geoprocessor`
NAServer	`RouteTask`
NAServer—Closest facility endpoint	`ClosestFacilityTask`
NAServer—Service area endpoint	`ServiceAreaTask`

ArcGIS for Server services and related API classes

Services that do not have a native API class, for example, the Legend endpoint on a MapServer, can be accessed via REST. If credentials are required, generate a token using the GenerateToken service on the ArcGIS for Server site, and append this to the URL. For an example, see the Map Legend Gradle sample on GitHub.

Learn more about ArcGIS for Server on esri.com.

Copyright © 1995-2016 Esri. All rights reserved.

Access portal content

Portals such as ArcGIS Online and Portal for ArcGIS can store many types of data. Perhaps the type most commonly used by apps is a web map—a JSON description of the data in a map, along with other display and behavioral properties. Other types include tile packages, feature collections, and services. Some types, such as globe documents and map templates, may only be relevant to desktop systems. Although you can access these items using the API, you may not be able to use them on a mobile device.

The `PortalItem` object represents an individual item stored on a portal. Each item includes the following:

- Metadata, such as a unique identifier (ID), title, summary, description, thumbnail image, and tags
- Binary or text-based data—for example, the JSON that defines a web map or a feature collection, or a URL pointing to a map service, or the binary data of a tile package or shapefile

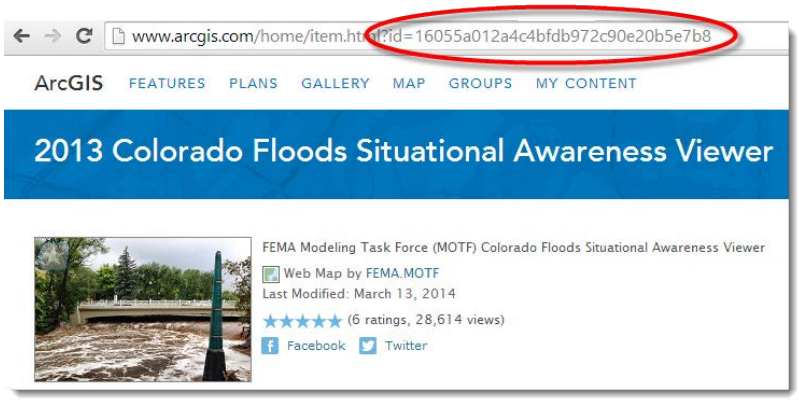

Apps use portal items in different ways. They may show a user a range of items from a portal by combining the title, thumbnail image, and other metadata. This approach is often used to allow users to browse web maps, basemaps, or map services, and identify the item to work with. If a user selects an item, the app may then download the data stored in the portal item, for example, by opening and displaying a web map in a map, or downloading a tile package. Apps sometimes access items directly by ID if a specific item should always be used.

The portal API cannot change any of the fields of a portal item or group; refer to the REST API for information on the calls you can make through REST to make portal changes.

You access the content of a portal item differently depending on its type. Below you can find examples of accessing different types of portal items. For more information on connecting to a portal, see Access the ArcGIS platform. To find out how you can allow apps to browse or search for items and groups, see Search for content.

Display a web map by ID

A very common task is to display a web map from a portal. Web maps are stored as portal items and can be opened by using the ID of the item, along with the URL of the portal. If the map is not public (for example, if it is shared only with a specific group), you also need to pass in valid credentials with permission to view the map. See Access the ArcGIS platform for more information on accessing secured items.

The code below creates a `MapView` from a URL consisting of the portal URL and the portal item ID taken directly from a portal item (this could alternatively be hard coded). `UserCredentials` of a user with access rights to the web map are also passed in to the constructor.

```
String webmapUrl = String.format("%s/item/id=%s", portal.getUrl(), item.getItemId());
MapView mapViewFromUrl = new MapView(context, webmapUrl, credentials, null, null);
```

If defining your `MapView` within an XML layout, you can also hard code the URL to use, as shown below. This might be useful when testing, but is not a reliable approach for a production app.

```
<com.esri.android.map.MapView
  xmlns:android=http://schemas.android.com/apk/res/android
  android:id="@+id/map"
  url="http://www.arcgis.com/home/item.html?id=1966ef409a344d089b001df85332608f"
>
```

Open a web map

You can also create an object that represents a web map without needing to display it immediately. From this, you could find out more about the contents of the map before displaying it—for example, getting the basemap, operational layers, bookmarks, and initial extent.

Copyright © 1995-2016 Esri. All rights reserved.

```
// Create a WebMap without displaying it.
WebMap webMap = WebMap.newInstance("1966ef409a344d089b001df85332608f");
for(Bookmark bookmark : webMap.getBookmarks()) {
  Envelope env = bookmark.getExtent();
  // Use bookmarks as required.
}
// Pass a WebMap to the MapView constructor overload to display it.
MapView mapViewFromWebmap = new MapView(context, webMap, null, null);
```

Caution: If the item cannot be found, for example, if the item owner has unshared or deleted it, then an exception will be thrown, so ensure you have exception handling code in place.

Note: Remember that the credentials must be for a valid user with access to the item.

Find information about any portal item by ID

You can use the ID of any item stored in a portal to access it, and also to find its fields—properties such as its title, description, thumbnail image, owner, and any ratings or comments added by portal users. You can also find out the type of data it contains.

The code below creates a `PortalItem` object representing a web map, and then finds the title and the date it was last modified.

```
PortalItem item = PortalItem.fetchItem(portal, "1966ef409a344d089b001df85332608f");
Date modified = new Date(item.getModified());
String itemDetails = String.format("%s was last modified on %tA, %te of %tB", item.getTitle(), modified, modified, modified);
```

Note: The thumbnail of a portal item, along with the ratings and data, is not returned from the portal when you initially create the item, in order to reduce the network traffic and memory requirements. See the section below on how to access these properties.

Fetch thumbnails of items

When you create a portal item object, not all information associated with it is immediately returned. This allows you to work with the item using a minimum amount of memory and delay fetching the larger pieces of data unless, or until, you really need them. Information you need to fetch, if required, includes thumbnail images, ratings and comments, item data, group memberships, and user folder contents.

The code below shows how to fetch the thumbnail image from a portal item and convert it to a `Bitmap`. You can then convert this to a `BitmapDrawable` to use it in your layout, as shown below, ensuring this is performed on the UI thread.

```
if (item.getThumbnailFileName() != null) {
  byte[] itemThumbnailData = item.fetchThumbnail();
  if ((itemThumbnailData != null) && (itemThumbnailData.length > 0)) {
    Bitmap itemThumbnail = BitmapFactory.decodeByteArray(itemThumbnailData, 0, itemThumbnailData.length);
    final BitmapDrawable drawable = new BitmapDrawable(getApplicationContext().getResources(), itemThumbnail);
    if (drawable != null) {
      myActivity.this.runOnUiThread(new Runnable() {
        @Override
        public void run() {
          if (mImageView != null) {
            mImageView.setImageBitmap(drawable.getBitmap());
          }
        }
      });
    }
  }
}
```

The same applies to the thumbnails of other classes, like users, groups, and organizations. Use the `PortalInfo.fetchOrganizationThumbnail`, `PortalInfo.fetchPortalThumbnail`, `PortalUser.fetchThumbnail`, and `PortalGroup.fetchThumbnail` methods. Check the `PortalUser`, `PortalItem`, and `PortalGroup` classes for other similar fetch methods.

Access item data

Portal items that represent files, such as tile packages, images, documents, PDF files, and so on, can be opened, downloaded, and then stored or opened in your app or in another app. As in the previous example, you will need to specifically fetch the data of a portal item after you create it. Use the `fetchData` method to do this.

The following example creates a `PortalItem` from a `Portal` and an item ID string referring to a tile package, and then calls the `fetchData` method. Note that as `fetchData` must not be called on the UI thread (as it performs network communications), this is done in the `doInBackground` method of a task. Once the download is complete, in the `onPostExecute` method of the task (in the main thread), the file is then added as an `ArcGISLocalTiledLayer` to a map.

Copyright © 1995-2016 Esri. All rights reserved.

```
class DataFetchTask extends AsyncTask<String, Void, String> {
        @Override
        protected String doInBackground(String... arg0) {

                String itemId = arg0[0];
                String filePath = "";
                try
                {
                  // Fetch the portal item by ID, and the data, passing in a Portal with an
      // authenticated user with access to the item.
                  PortalItem item = PortalItem.fetchItem(portal, itemId);
                  filePath = Environment.getExternalStorageDirectory().getPath() + "/download/" + item.getName();
                  InputStream inputStream = item.fetchData();

                  // Save the data to a file.
                  OutputStream outputStream = new FileOutputStream(filePath);
       byte[] buf = new byte[4096];
       int len, size = 0;
       while ((len = inputStream.read(buf)) != -1) {
         outputStream.write(buf, 0, len);
         size += len;
       }
       outputStream.flush();
       outputStream.close();
       inputStream.close();
                } catch (Exception e) {
                        Log.e(TAG, "Exception while downloading item: " + e.getMessage());
                }
                return filePath;
        }

        @Override
        protected void onPostExecute(String result) {
          // Add the file as a layer to the map.
                File file = new File(result);
                if (file.exists()) {
                  ArcGISLocalTiledLayer tiledLayer = new ArcGISLocalTiledLayer(result);
                  map.addLayer(tiledLayer);
                }
        }
}
```

Fetch a user's content

Many apps present a list of maps or other items that belong to the current user. Users can create folders within their portal accounts to help organize their work. Apps should respect the user's view of their content and present the list of folders to the user, allowing the user to choose which folder to look at in detail.

It's easy to get all the portal items owned by the authenticated user (that represent the content and services items created by that user).

A `PortalUser` represents information about a user, and from this you can retrieve all of the items and folders (represented by `PortalFolder`) owned by the user. The code below iterates all of the items belonging to the authenticated user of the `portal` variable that are in the default (or root) user folder, using the `PortalUserContent` returned from `PortalUser.fetchContent`. Also, each folder and its contents are iterated, using `fetchFolders`, and all of the folders and the items each folder contains.

```
PortalUser user = portal.fetchUser();
PortalUserContent rootContent = user.fetchContent();
for (PortalItem item : rootContent.getItems())
{
  // Iterate items in root folder…
  itemNames.add(item.getTitle());
}

// Iterate folders.
for (PortalFolder folder : rootContent.getFolders())
{
  folderNames.add(folder.getTitle());
  // Iterate items in the folder…
  PortalUserContent folderContent = user.fetchContentInFolder(folder.getFolderId());
  for (PortalItem folderItem : folderContent.getItems())
  {
    // Iterate items in root folder…
    folderItemNames.add(folderItem.getTitle());
  }
}
```

More typically, you may write an `Adapter` class to show `PortalFolders` and `PortalItems` in a `ListView` to a user (perhaps showing the title, thumbnail, and summary), and add the values from `getItems` and `getFolders` to those adapters. You can see an example of a `PortalItemListAdapter`, showing the title and thumbnail image from a portal item, in the Portal Featured User Groups sample.

Note: As seen in the code above, user content is another example of information that you must explicitly fetch, like portal item thumbnails and content.

To get items shared with the current user, or items owned by a different user, you need to search for content.

List the groups a user belongs to

Groups can be configured in different ways—some groups are open to all users; some are only accessible by invitation; and for others, any user can request to join. The groups to which the authenticated user belongs can be accessed, and for any group, the identities of the members can be found.

Copyright © 1995-2016 Esri. All rights reserved.

The `PortalGroup` class represents a group. You can get a list of the groups a user belongs to by calling the `PortalUser.fetchGroups` method. Use another fetch method, `fetchAndUpdateMembership`, to retrieve the users in each group—after that, you can get the members from the `getUsers` method.

```
PortalUser user = portal.fetchUser();
for (PortalGroup group : user.getGroups()) {
  // Find out the membership of each group.
  if (group.fetchAndUpdateMembership())
  {
    List<String> groupUsers = group.getUsers();
    Log.i(TAG, String.format("Group %s members are %s",
      group.getTitle(), TextUtils.join(",", groupUsers.toArray())));
  }
}
```

From the group, you can find out if membership is by invitation only (using `PortalGroup.isInvitationOnly`), and if the user can share items with the group (using `PortalGroup.isViewOnly`). To find out the items currently shared with a specific group, you need to use the group ID to search for content in a group. To find other groups, for example, those relating to a keyword (tag), you can search for groups, or find the featured groups of a portal.

Samples

You can find examples of working with a portal and searching for content in the Portal Featured User Groups sample.

Copyright © 1995-2016 Esri. All rights reserved.

Search for content

Portals can contain a huge amount of information, so to help your users find the information they want to work with, you can add searching to your app. Searching can allow users to find information in different ways, for example, by searching for the groups that include a keyword, or finding all portal items that are web maps that have specific tags.

Portals provide some predefined queries for common requests. For example, you can use predefined queries to find the basemaps or featured maps that have been configured by the portal administrator. Learn more about using predefined portal queries.

Searching is done from the `Portal` class. Publicly accessible items and groups can be accessed without any authentication, but to find items that are secured, a user with access to the item must be authenticated with the portal. See Access the ArcGIS Platform for more information about authenticating with a portal.

Searching may be a lengthy operation, so when adding search functionality to your app, make sure that it does not block the user interface, and ideally you should allow search cancellation. Searching performs network requests, so it should always be performed on a background thread, for example, by placing the search operations in the run method of a `Runnable`, as seen in many of the samples.

Search by defining query parameters

The API provides a flexible, generic search, along with some convenience methods to help you perform common portal searches.

Find portal items by keyword

To search for portal items using a keyword, construct a query that includes the keyword you want to search for. By default, the query will return portal items that include the keyword in any of the common fields of a portal item, including the title, tags, description, and type. The results of the query can be iterated.

Create a `PortalQueryParams` object and pass the keyword you want to search for into the constructor as the query parameter. Then pass the `PortalQueryParams` to the `Portal.findItems` method. The resulting `PortalQueryResultSet` should contain all of the portal items that contain the keyword in any of the searched fields.

```
Portal portal = new Portal("http://myportal.maps.arcgis.com/", userCredentials);
PortalQueryParams queryParams = new PortalQueryParams("san francisco");
PortalQueryResultSet<PortalItem> resultSet = portal.findItems(queryParams);
```

Note: Remember, only the items that are accessible to the authenticated user of the portal will be included in the search results.

The result set contains only the first 10 results but provides a convenient way to fetch subsequent sets of results if required. To learn more about working with large result sets, see Display many search results.

For a full list of the default fields used for searching, and complete information on constructing portal query strings, see the ArcGIS Online Search reference.

Display search results by order

If there are only a few results, all of the results might immediately be displayed. However, if there are many results, you may want to help your user narrow down the results to find items of most interest. The code below shows the most recently updated results to the user first, sorting search results by the date they were last modified, in descending order.

```
queryParams.setSortField("modified");
queryParams.setSortOrder(PortalQuerySortOrder.DESCENDING);
```

Results can be sorted in either ascending or descending order, by portal item fields such as the title, date of creation or date last modified, type, and owner. For a full list of sort fields, see ArcGIS Online Search.

Find items by type

You can restrict the results of a search to be a specific type or types of content; for example, you can adapt the previous example to find only web maps.

The `setQuery` method has a number of overloads—the code below uses the overload allowing you to specify the `PortalItemType` that results must match, along with a group ID (in this case, null indicates you want to search regardless of any groups) and the search query. The `PortalItemType` enum provides a full list of content types that may be stored as items in a portal.

Copyright © 1995-2016 Esri. All rights reserved.

```
PortalQueryParams queryParams = new PortalQueryParams();
queryParams.setQuery(PortalItemType.WEBMAP, null, "san francisco");
PortalQueryResultSet<PortalItem> resultSet = portal.findItems(queryParams);
```

If you want to find results of more than one type of portal item, you can do this by defining your query string.

Find items in your organization

By default, a search returns results from within an organization, and also public results from outside the organization. It may be useful to restrict results to only those within the organization of the authenticated user, as shown below.

```
queryParams.setCanSearchPublic(false);
```

Portal administrators can turn off the ability for their users to search for items outside the organization when using the website. This setting is independent of the query API, but you can get and use the portal-level setting as shown below to allow the portal administrators setting to determine the search behavior in your app as well as in the website.

```
PortalInfo info = portal.fetchPortalInfo();
PortalQueryParams queryParams = new PortalQueryParams("san francisco");
queryParams.setCanSearchPublic(info.isCanSearchPublic());
PortalQueryResultSet<PortalItem> resultSet = portal.findItems(queryParams);
```

Find groups by keyword

You can find groups by using a keyword in a similar way used when finding portal items. For groups, the default fields searched include title, description, and tags (as for portal items), but also include owner.

Create a `PortalQueryParams` object and pass the keyword you want to search for into the constructor as the query parameter. Then pass the `PortalQueryParams` to the `Portal.findGroups` method. The resulting `PortalQueryResultSet` should contain all of the groups that contain the keyword in any of the searched fields. In this case, the query should find all of the groups containing "esri_demographics", including those owned by the user named "esri_demographics".

```
PortalQueryParams groupQuery = new PortalQueryParams("esri_demographics");
PortalQueryResultSet<PortalGroup> groupResults = portal.findGroups(groupQuery);
```

Find items in a known group

After a search for groups, you might want to list all of the items shared with those groups. Alternatively, you might want to list the items in a group returned from the authenticated users list of groups. If a search result set contains at least one group, to find all the items in that group, issue a second search using the group ID as part of the second query.

The code below continues from the previous example, by creating a second `PortalQueryParams` object, using the first `PortalGroup` from the initial search to set the group ID in the `setQueryForItemsInGroup` method, and then calling the `Portal.findItems` method to perform the second search.

```
if (groupResults.getResults().size() > 0)
{
  PortalGroup group = groupResults.getResults().get(0);
  PortalQueryParams groupContentQuery = new PortalQueryParams();
  groupContentQuery.setQueryForItemsInGroup(group.getGroupId());
  PortalQueryResultSet<PortalItem> groupContentResults = portal.findItems(groupContentQuery);
  // Display the results.
}
```

Find items by ID

If you already know the ID of a portal item, you can search for it by using that ID. You might find this technique useful if your app is closed while displaying a specific item—you can save the ID and fetch the item again to ensure the item is still accessible and all the properties are up-to-date, and use this information to restore the state of the app. If the search returns no results, then the item may no longer be available; for example, the owner may have changed the access permissions, and your app can react accordingly.

```
PortalQueryParams itemIdQuery = new PortalQueryParams("");
itemIdQuery.setQueryForItemWithId("1966ef409a344d089b001df85332608f ");
PortalQueryResultSet<PortalItem> itemResults = portal.findItems(itemIdQuery);
if (! itemResults.getResults().isEmpty()) {
  PortalItem theItem = itemResults.getResults().get(0);
}
```

You can also directly fetch a `PortalItem` by ID using the static `PortalItem.fetchItem` method, passing in the ID and the `Portal`. However, this approach throws an exception if the item cannot be found.

```
PortalItem itm = PortalItem.fetchItem(portal, "1966ef409a344d089b001df85332608f ");
```

Copyright © 1995-2016 Esri. All rights reserved.

Define a query

If you need to search for items using more complex criteria, you can build a query to satisfy that, making use of multiple predicates, Boolean operators, ranges, and wildcards. For example, the query below finds items that are WebMaps, owned by the user "esri", with either of the tags "atlantic" or "pacific".

```
PortalQueryParams queryParams = new PortalQueryParams(
  "type:"\web map\" AND owner:esri AND tags:(pacific OR atlantic)"
```

Adding specific criteria can be especially useful when you are localizing your app, as you can limit results to a specific culture.

```
PortalQueryParams queryParams = new PortalQueryParams(
  "culture:fr-FR AND type:\"map service\"");
```

Tip: You can also search using ranges of dates items were created and last modified, using the created and modified fields of a portal item. However, be aware that portal searches use UNIX epoch dates (defined as the number of seconds that have elapsed since midnight January 1, 1970), as noted in the ArcGIS Online Search reference.

Search using predefined queries

As well as creating your own queries, you can search by using a number of predefined queries, defined on a portal depending on the configurations made by the portal administrator.

Get Homepage and Gallery featured content

Administrators can configure two groups that contain featured content to show in different situations. The Gallery can be populated either with the contents of a group or with the top 100 most-viewed items. The Homepage of the organization can display up to 12 items of featured content from a chosen group. Depending on the type of content that is featured, you may want your app to display the same featured items as shown in the website. For example, if the groups contain web maps, the results of the queries may be especially useful to app users.

To search for the items displayed as Homepage featured content, create a query using the `PortalInfo.getHomepageFeaturedContentGroupQuery` method to set the query string. Use the query to find the group containing the featured content, and then perform a second search to find the items shared with that group.

```
PortalInfo info = portal.fetchPortalInfo();
PortalQueryParams featuredContentGroupQuery =
  new PortalQueryParams(info.getHomepageFeaturedContentGroupQuery());
PortalQueryResultSet<PortalGroup> featuredContentGroupResults =
  portal.findGroups(featuredContentGroupQuery);
if (! featuredContentGroupResults.getResults().isEmpty()) {
  PortalGroup group = featuredContentGroupResults.getResults().get(0);
  PortalQueryParams groupContentQuery = new PortalQueryParams();
  groupContentQuery.setQueryForItemsInGroup(group.getGroupId());
  PortalQueryResultSet<PortalItem> groupContentResults =
    portal.findItems(groupContentQuery);
  // Display the results.
}
```

To search for the items displayed in the Gallery, create a query using the `PortalInfo.getHomepageFeaturedContentGroupQuery` method to set the query string. Note that if the administrator has chosen to show most-viewed items, this query will in fact return portal items (not groups).

Get a list of configured basemaps

Many apps allow a user to change the basemap used to provide context for other data shown in a map. Portal administrators can configure the list of basemaps they want to be available to a user of a portal by sharing web maps into a specific group. You can use another predefined query to find out the basemaps group for a portal, and from there you can list the items in that group.

```
PortalQueryParams basemapsGroupQuery =
  new PortalQueryParams(info.getBasemapGalleryGroupQuery());
PortalQueryResultSet<PortalGroup> basemapGroupResults =
  portal.findGroups(basemapsGroupQuery);
```

For each web map in the result set, you can show the thumbnail and title of the item in a gallery or list. You can easily display a web map from the selected item by using its ID.

Switching the basemap of an existing `MapView` with the basemap from a `WebMap` can be done easily by using the `MapView.switchBaseMap` method. See the Switch Basemaps sample for an example of this.

Copyright © 1995-2016 Esri. All rights reserved.

Get featured groups

A list of featured groups can be configured to appear on the Groups and My Organization pages of the website. Searching for these groups is slightly different from the predefined queries above, as there are multiple queries used to find all of the groups. You can get a list of queries from the portal, each of which should return a single featured group.

```
PortalInfo info = portal.fetchPortalInfo();
List<String> querys = info.getFeaturedGroupsQueries();
int totalResults = 0;
for (String query : querys) {
  PortalQueryParams featuredGroupsQuery = new PortalQueryParams(query);
  PortalQueryResultSet<PortalGroup> featuredGroupsResults = portal.findGroups(featuredGroupsQuery);
  if (! featuredGroupsResults.getResults().isEmpty()) {
    // Use the groups found by the query.
  }
}
```

Display many search results

Searches may return just a few results, or many thousands of results. To reduce network traffic and memory , search results are returned in batches (by default, only the first 10 are returned), along with a count of the total results found on the portal.

Often, the required item is in the first set of results, but your app can let the user decide if they need to see more items, for example, by scrolling past the end of a list, switching to the next page of results, or by tapping a more results button. You can easily issue another query to find the next set of results, as the result set from your first query constructs the correct subsequent query for you.

The code below uses creates a `PortalQueryParams`, sets the initial query, and calls the `Portal.findItems` method. After iterating through the initial results, `PortalQueryParams.getNextQueryParams` is used to get the correct query to find the next set of results (you can check the `getQuery` method to find out how this works). If this query is not null, then a second call to `findItems` is made. This pattern is repeated until `getNextQueryParams` returns null, indicating there are no more results to fetch.

```
PortalQueryResultSet<PortalItem> resultSet = null;
PortalQueryParams queryParams = new PortalQueryParams("global rainfall");
while ( queryParams != null ) {
  resultSet = portal.findItems(queryParams);
  if (resultSet == null) continue;
  for (PortalItem result : resultSet.getResults()) {
    // Display the result
  }
  queryParams = resultSet.getNextQueryParams();
}
```

If you want to retrieve results in larger batches, use the `PortalQueryParams.setLimit` method to change the batch size.

Copyright © 1995-2016 Esri. All rights reserved.

Working with secure ArcGIS services

Layers and tasks in ArcGIS Runtime SDK for Android communicate with ArcGIS for Server web services. These services can be secured to permit access to only authorized users. An ArcGIS for Server instance can use one of two authentication modes: token-based authentication or HTTP (including Windows) authentication. Both modes are supported by the runtime.

If you're the administrator of an ArcGIS for Server system and want to restrict access to your ArcGIS web services, information is available in Securing your ArcGIS Server site (Windows) and Securing your ArcGIS Server site (Linux) in the ArcGIS for Server online help.

Token-based authentication

Services secured with token-based authentication require that a token be included in each request for a map, query, and so on. To use a secure service through the API, you need to know the credentials (username and password) or tokens to access the service. The server administrator can provide this information. Once you know the credentials or tokens to use, you need to pass them to the layer or the task through a `UserCredentials` object in the Java code or hardcode the tokens in the layout XML by including a long-term token directly in the URL. The following code examples demonstrate several different ways to access secure services.

Instantiate the layer or task with credentials through the `UserCredentials` object in Java code as shown in the following example:

```
UserCredentials creds = new UserCredentials();
creds.setUserAccount("username", "password ");
// The following line can be omitted if the default token service is used.
creds.setTokenServiceUrl("http://hostname/ArcGIS/tokens");
ArcGISDynamicMapServiceLayer layer = new ArcGISDynamicMapServiceLayer(
  "http://servicesbeta.esri.com/ArcGIS/rest/services/SanJuan/TrailConditions/MapServer",
  null,
  creds);
```

Alternatively, instead of passing in the username and password, you can pass in a token obtained from the corresponding token service as shown in the following example:

```
UserCredentials creds = new UserCredentials();
creds.setUserToken("token", "referer");
Locator al = new Locator(
  "http://xxx.esri.com/ArcGIS/rest/services/SanFranciscoLocator/GeocodeServer",
  creds);
```

The API will automatically try to discover the URL of the token service where tokens can be acquired. If you know this information in advance, you can provide it to the `UserCredentials` object as shown in the previous example so that it does not make any unnecessary network requests to discover the same information.

Using self-signed certificates

To safeguard content exchanged over the network, HTTPS should be used whenever supported by the service. HTTPS connections use Secure Sockets Layer (SSL) to encrypt information that is exchanged over the network and digital certificates to verify identities of the parties involved. The ArcGIS API for Android supports certificates issued by a trusted certificate authority as well as self-signed certificates. If you want to trust a server that is using a self-signed certificate, you can choose one of two workflows supported by ArcGIS API for Android based on your business requirement.

Workflow 1

You can trust a certain server using self-signed certificates by importing the server's certificate and pre-loading the trusted certificate on the client side. This workflow enables server authentication when supplied with a truststore file containing one or several trusted certificates. See the following code example:

```
// Load self-signed certificate
KeyStore keyStore = KeyStore.getInstance("BKS");
InputStream is = this.getResources().openRawResource(R.raw.xxx);
keyStore.load(is, "xxx".toCharArray());
// Populate Security Info
UserCredentials creds = new UserCredentials();
creds.setUserAccount("username", "password");
UserCredentials.setTrustStore(keyStore);
ArcGISFeatureLayer layer = new ArcGISFeatureLayer(
  "https://xxx.esri.com/ArcGIS/rest/services/dc_fire_sde/FeatureServer/1",
  MODE.ONDEMAND,
  creds);
```

Copyright © 1995-2016 Esri. All rights reserved.

Workflow 2

This workflow allows users to trust a server using self-signed certificates without pre-loading the server certificate. To do so, create an instance of OnSelfSignedCertificateListener and register it to SelfSignedCertificateHandler, which is a final class. OnSelfSignedCertificateListener will be fired when the server is using a self-signed certificate. Return true from OnSelfSignedCertificateListener if you want to trust the server. The following code snippet shows this workflow:

```
import com.esri.core.io.SelfSignedCertificateHandle;
……
public boolean getUserPermission() {
…
}
// Set listener to handle self-signed certificate
SelfSignedCertificateHandler.setOnSelfSignedCertificateListener(
  new OnSelfSignedCertificateListener() {
    public boolean checkServerTrusted(X509Certificate[] chain, String authType) {
      try {
        chain[0].checkValidity();
      } catch (Exception e) {
        return getUserPermission();
      }

      return true;
    }
  });
```

HTTP/Windows authentication

When a request is made to a service secured with HTTP authentication (HTTP basic or HTTP digest), user credentials must be supplied to the service through the `UserCredentials` object. See the following code example:

```
UserCredentials creds = new UserCredentials();
creds.setUserAccount("xxx", "xxx");
Geoprocessor gp = new Geoprocessor(
  "https://hostname/ArcGIS/rest/services/BufferService/GPServer/BufferPoints",
  creds);
```

Exception handling

When a layer fails to load to a map due to security, both the layer and the map will send out an `EsriSecurityException` error. Users can listen to the status changed events on `MapView` or `Layer` to handle the error. You can listen to the LAYER_LOADING_FAILED on `MapView` or INITIALIZATION_FAILED on `Layer` and get the error detail through the getError() method on STATUS. A layer can be re-initialized with a given credential. If the layer is re-initialized successfully, it will be reloaded into the map automatically. The following is an example of exception handling through `MapView`:

```
MapView map;
ArcGISFeatureLayer fl;

public void onCreate(Bundle savedInstanceState) {
  super.onCreate(savedInstanceState);
  map = new MapView(this);
  String url = ...;
  fl = new ArcGISFeatureLayer(url, MODE.ONDEMAND);
  map.addLayer(fl);
  setContentView(map);
  ...
  // Handle status change event on MapView
  map.setOnStatusChangedListener(new OnStatusChangedListener() {
    private static final long serialVersionUID = 1L;

    public void onStatusChanged(Object source, STATUS status) {
      // Check if a layer is failed to be loaded due to security
      if (status == STATUS.LAYER_LOADING_FAILED) {
        if ((status.getError()) instanceof EsriSecurityException) {
          EsriSecurityException securityEx = (EsriSecurityException) status.getError();
          if (securityEx.getCode() == EsriSecurityException.AUTHENTICATION_FAILED)
            Toast.makeText(map.getContext(), "Authentication Failed!",
                Toast.LENGTH_SHORT).show();
          else if (securityEx.getCode() == EsriSecurityException.TOKEN_INVALID)
            Toast.makeText(map.getContext(), "Invalid Token!", Toast.LENGTH_SHORT).show();
          else if (securityEx.getCode() == EsriSecurityException.TOKEN_SERVICE_NOT_FOUND)
            Toast.makeText(map.getContext(), "Token Service Not Found!",
                Toast.LENGTH_SHORT).show();
          else if (securityEx.getCode() == EsriSecurityException.UNTRUSTED_SERVER_CERTIFICATE)
            Toast.makeText(map.getContext(), "Untrusted Host!", Toast.LENGTH_SHORT).show();

          if (source instanceof ArcGISFeatureLayer) {
            // Set user credential through username and password
            UserCredentials creds = new UserCredentials();
            creds.setUserAccount("username", "password");
            fl.reinitializeLayer(creds);
          }
        }
      }
    }
  });
  ...
```

When an operational layer of a web map is fails to load due to security, the map will send out an `EsriSecurityException` error. Users can listen to the `WebMap` loading events to handle the error as shown in the following code example:

Copyright © 1995-2016 Esri. All rights reserved.

```
MapView map;

public void onCreate(Bundle savedInstanceState) {
  ...
  OnWebMapLoadListener listener = new OnWebMapLoadListener() {

    public MapLoadAction<UserCredentials> onWebMapLoadError(MapView source,
      WebMap webmap, WebMapLayer wmlayer, Layer layer, Throwable error,
      UserCredentials credentials) {
      if (error instanceof EsriSecurityException) {
        UserCredentials creds;
        creds = new UserCredentials();
        creds.setUserAccount("username", "password");

        if (credentials != null && (credentials.getUserName() == creds.getUserName()
           && credentials.getPassword() == creds.getPassword()))
          return null;

        return new MapLoadAction<UserCredentials>(Action.CONTINUE_OPEN_WITH_THE_PARAMETER, creds);
      }
      return null;
   }

   public void onWebMapLayerAdd(MapView source, WebMap webmap,
     WebMapLayer wmlayer, Layer layer, UserCredentials credentials) {
     ...
   }

  };

  String url = ...;
  map = new MapView(this, url, "", "", "", listener);
  ...
 }
```

Public key infrastructure

A public key infrastructure (PKI) is a set of policies and services used to support authentication and secure communication over insecure networks. In a PKI, the identity of a user, organization, or software agent is represented by a pair of digital keys. Users in a PKI are required to authenticate themselves by presenting their digital keys and are never issued a user name and password. PKI uses a mathematical technique called public key cryptography to generate the digital keys that represent a user or organization.

Using ArcGIS for Server in a PKI

ArcGIS for Server will leverage the PKI solution in COTS Web Servers (IIS, WebLogic and Websphere, and so on) through the use of the ArcGIS Web Adaptor. When a request is made for a resource on ArcGIS for Server, the web server will authenticate the user by validating the client certificate provided. The request (along with the user name) is then forwarded to ArcGIS for Server via the Web Adaptor. ArcGIS for Server verifies that the specified user has access to the requested resource before sending back the appropriate response.

Learn how to enable SSL using a new CA-signed certificate

Accessing PKI services

Accessing PKI services from an Android device is OS dependent. You can install certificates on your device from **Settings > Security > Install certificates from storage**. At issue is the fact that you may not be able to access certificates installed in this manner from devices with v3.x (Honeycomb) or earlier. Version 4.0.x Ice Cream Sandwich (ICS) introduces a new KeyChain class to access these certificates. If you're using a pre-ICS device, you can access some of the installed certificates in a keystore located in the following locations:

- Pre ICS > /system/etc/security/cacerts.bks
- ICS or later > /system/etc/security/cacerts

You can read the certificate there; however, some devices don't list the one you just installed. In this case, you can access your certificate from anywhere on the device that is accessible by the API. To support all devices with API 2.2 and later, the KeyStore class is used, which maintains keys and their owners. See the following code example:

Access PKI from sdcard location

```
KeyStore keystore = KeyStore.getInstance("BKS");
certInputStream = new FileInputStream("/sdcard/cert/example.bks");
keystore.load(is, "web.adf".toCharArray());
UserCredentials.setTrustStore(keystore, "web.adf", keystore);
```

Copyright © 1995-2016 Esri. All rights reserved.

Deploy your app

ArcGIS Runtime SDK for Android enables you to build mapping applications for Android platform phones and tablet devices. Follow the steps below to ensure you've licensed the capabilities your app uses and that you understand associated costs.

1. License your app.
2. Verify that you have appropriately notified Esri of your deployment plans as follows:

App contains:	Required for deployment:
Content or services from ArcGIS Online	Get an ArcGIS Online Developer subscription. See Plans for your options, and FAQ for details.
Content or services from on-premises (ArcGIS for Server or Portal for ArcGIS)	Fill out a deployment questionnaire and e-mail it to arcgis4android@esri.com.
A mix of content and services from ArcGIS Online and on-premises solutions	Start by filling out a deployment questionnaire and e-mailing it to arcgis4android@esri.com. We will guide you with what else is required.

If your app is licensed at the Standard level and you would like to deploy it via an app store or marketplace, let us know by emailing runtimelic@esri.com.

Copyright © 1995-2016 Esri. All rights reserved.

License your app

With a developer account, you can download and install an ArcGIS Runtime SDK and immediately have access to all of the functionality in the API for development and testing purposes. However, any map in your app will be watermarked (as pictured below) and debug messages will appear saying that your app is licensed for developer use only.

To deploy an app, you must license it at either the Basic or Standard level. When deploying Runtime technology, costs are incurred only at the Standard level. Usage of ArcGIS Online services may also incur costs. For details, see Terms of Use - FAQ and Plans. For an overview of the current ArcGIS Runtime licensing model, see Licensing your Runtime app.

License your app for deployment by adding a few lines of code, as described in the following sections. After this is done, the watermark and debug messages will no longer display and your app is ready to be deployed.

The following table shows which functionality will work for each license level:

License level	Available functionality
Developer (development and testing only)	All functionality (watermarks and debug messages will be generated)
Basic	All functionality except: • Local locators (geocoding) • Local routing • Local editing (such as geodatabase and geopackage editing) • Local geodatabase sync operations with an upload
Standard	All functionality

License your app at the Basic level

1. Read the end user license agreement.
2. Go to developers.arcgis.com and sign into your ArcGIS for Developers account.

   Note: If you do not have access to an ArcGIS for Developers account then you can obtain a client ID by contacting the Esri office that serves you. If you're in the United States, call Esri at 1-800-447-9778. Then skip to Step 5.

3. Once you're logged in, the **Applications** section displays. If you haven't already done so, register your app by clicking the **Register New Application** button. On the page that displays, complete the fields, then click **Register New Application**. In the page that displays, a client ID appears for your app.
4. Copy the client ID.
5. Use the following code to set the client ID in your app in a location in your project that comes before any ArcGIS Runtime functionality is used:

```
ArcGISRuntime.setClientId("myClientID");
```

Your app is now licensed at the Basic level for deployment.

License your app at the Standard level

You can license your app at the Standard level in one of two ways:

- Use ArcGIS Online or Portal for ArcGIS to license your app if your app will be connected to ArcGIS Online or your portal at least every 30 days.

Copyright © 1995-2016 Esri. All rights reserved.

- Use a license code to license your app if you're writing an app that is either never connected to a network or is disconnected for periods of 30 days or more. Obtain a license code (purchase Standard deployment packs). To purchase deployment packs, contact the Esri office that serves you. If you're in the United States, call Esri at 1-800-447-9778.

Use ArcGIS Online or Portal for ArcGIS to license your app

Users of your app can unlock its Standard level functionality for up to 30 days by authenticating with their organizational account on ArcGIS Online or with their Portal for ArcGIS. The app will then work in a disconnected mode for up to 30 days. Follow these steps to license your app this way:

1. Obtain and set the client ID for your app by following all of the Basic level licensing steps.
2. Allow the app user to authenticate with ArcGIS Online or Portal for ArcGIS. You must do this before any Standard level ArcGIS Runtime functionality is used. As part of the process, save the license information in preparation for your app being used in an offline environment for up to 30 days. This is achieved as follows:

```
  /**
   * Sets up a sign in UI that allows the user to sign in to a portal via OAuth. OAuth is the recommended authentication
   * method to sign in to a portal. After successful sign in the obtained UserCredentials are used to set the license
   * level to standard by retrieving a LicenseInfo object from an authenticated Portal instance (see
   * setStandardLicenseWithLicenseInfo() method).
   */
  private void signInWithOAuth() {
    mOAuthView = new OAuthView(this, PORTAL_URL, CLIENT_ID, OAUTH_EXPIRATION_NEVER,
        new CallbackListener<UserCredentials>() {

          @Override
          public void onError(Throwable e) {
            MessageDialogFragment.showMessage(getString(R.string.oauth_login_failed), getFragmentManager());
          }

          @Override
          public void onCallback(UserCredentials credentials) {
            if (credentials != null) {
              setStandardLicenseWithLicenseInfo(credentials);
            } else {
              MessageDialogFragment.showMessage(getString(R.string.oauth_login_failed), getFragmentManager());
            }
          }
        });

  }

 /**
   * This method attempts to set the license level of the application to LicenseLevel.Standard. Standard license level
   * is set by retrieving a LicenseInfo object from an authenticated Portal instance. The authenticated Portal instance
   * is created with the UserCredentials obtained from the previous OAuth sign in step.
   */
  private void setStandardLicenseWithLicenseInfo(UserCredentials credentials) {
    Portal portal = new Portal(PORTAL_URL, credentials);
    PortalInfo portalInfo = null;

    try {
      portalInfo = portal.fetchPortalInfo();
    } catch (Exception e) {
      MessageDialogFragment.showMessage(getString(R.string.standard_license_failed), getFragmentManager());

      return;
    }

    LicenseInfo licenseInfo = portalInfo.getLicenseInfo();

    LicenseResult licenseResult = ArcGISRuntime.License.setLicense(licenseInfo);
    LicenseLevel licenseLevel = ArcGISRuntime.License.getLicenseLevel();

    if (licenseResult == LicenseResult.VALID && licenseLevel == LicenseLevel.STANDARD) {
      MessageDialogFragment.showMessage(getString(R.string.standard_license_succeeded), getFragmentManager());
    } else {
      MessageDialogFragment.showMessage(getString(R.string.standard_license_failed), getFragmentManager());
    }

    showMap();
  }
```

3. If you saved the license information on local storage, your app can be started in an offline environment. You need to license your app with the following code:

```
// set the client ID
ArcGISRuntime.setClientID("myClientID");

// Add code here to fetch the saved license information from local storage
String loadedString = "string fetched from local storage";

// Create a LicenseInfo object from the JSON string
LicenseInfo licenseInfo = LicenseInfo.fromJson(loadedString);

// Apply the license
ArcGISRuntime.License.setLicense(licenseInfo);

// The applicaton is now licensed at Standard level
```

The saved license information will allow your app to be used offline for a period of 30 days, after which the license information will expire. The app must reconnect to ArcGIS Online or Portal for ArcGIS for new license information to be obtained and a new 30 day period to start. If an app attempts to use expired license information, it will only function with Basic level functionality.

Copyright © 1995-2016 Esri. All rights reserved.

Your app is now licensed for deployment with Standard functionality.

Use a license code to license your app

1. Obtain and set the client ID for your app by following all of the Basic level licensing steps.
2. Obtain a license code by contacting the Esri office that serves you. You can also obtain a client ID from this Esri office if you don't have access to an ArcGIS for Developers account. If you're in the United States, call Esri at 1-800-447-9778.
3. Using the following code sample, set the license code in your app after you set the client ID and before any ArcGIS Runtime functionality is used:

```
// set the Client ID first
ArcGISRuntime.setClientId("myClientID");

// example license code; obtain an actual license code from customer service or your Esri distributor
String licenseCode = "runtimestandard,101,rux00000,none,XXXXXXX";

// enable Standard level functionality in your app using your license code
ArcGISRuntime.License.setLicense(licenseCode);
```

Your app will now function offline or online with Standard functionality without any time limitations.

Attribute Esri in your app

You are required to attribute Esri in your app using the following guidelines:

- About and Credit screens must include the following text: "Mapping API provided by Esri ArcGIS Runtime SDK for Android".
- Map data—All map data used in an application must be attributed in About and Credit screens using the **Copyright Text** section of the REST endpoint(s) being used. For example, ESRI_Imagery_World_2D service must use **Copyright:© 2013 ESRI, i-cubed, GeoEye**.
- Esri logo—If your application uses data served by Esri through ArcGIS Online, you must display a logo on the map. For examples of such data, see this ArcGIS Online page.

Copyright © 1995-2016 Esri. All rights reserved.

Localization

The ArcGIS Android SDK uses English as the default language for UI components, e.g. text in Pop-ups. We provide a set of UI localization strings for you to use in your apps.

UI Popup localization

Steps to add localization to your apps UI Popups.

- Download the SDK
- Extract the SDK archive to disk
- All the supported resource values are in the **res/** folder
- Copy the **res/values/arcgis_ui_strings.xml** file to your apps **res/values** folder
- Copy the language you want to support from the **res/** folder to your apps **res/** folder

Example

If you want to localize your apps UI Popups to support **Italian** you would do the following:

- Copy the **res/values/arcgis_ui_strings** file to your apps **res/values** folder
- Copy **res/values-it/** folder to your apps **res/** folder

Supported languages

Table below represents the list of supported languages with the accompanying folder name:

Language	Folder
English	values
Polish	values-pl
Arabic	values-ar
German	values-de
Italian	values-it
Korean	values-ko
Portuguese (Brazil) Portuguese (Portugal)	values-pt-rBR values-pt-rPT
Romanian	values-ro
Spanish	values-es
Lithuanian	values-lt
Latvian	values-lv
Czech	values-cs
Turkish	values-tr
Chinese (Simplified)	values-zh
Danish	values-da
French	values-fr
Hebrew	values-he
Japanese	values-ja
Norwegian	values-no
Russian	values-ru
Swedish	values-sv
Dutch	values-nl
Estonian	values-et
Finnish	values-fi
Thai	values-th

Copyright © 1995-2016 Esri. All rights reserved.

Design considerations

When you're starting to build an app, consider the following:

- The type of app to build—Because you're reading an ArcGIS Runtime SDK guide right now, most likely it will be a native app. But you can review the advantages and disadvantages to each type of app—native, hybrid, and web— in Native vs. web.
- The type of location-based app to build and how it should be presented to your users—Determine your app/map pattern discusses the main location-based app patterns and how they can affect the overall design of your app.
- The main UI design elements of a mapping app—Provide map tools discusses tools and map interactions. It's designed to get you started quickly, especially if you're an advanced mobile developer new to GIS or a GIS developer new to delivering mobile apps.
- Performance—Device and network limitations are among the things that can affect performance. For details, see Performance considerations.
- Online or offline—If your users will be working without an Internet connection, determine what capabilities will be supported offline. For details, see Create an offline map.
- The costs associated with licensing and deploying your app—For details, see Deploy your app.

Copyright © 1995-2016 Esri. All rights reserved.

Determine your app/map pattern

Many apps contain maps or location-based intelligence, yet they can be very different. Have you ever thought about why they differ so greatly? These differences may be attributed to the many individual and creative ideas of the different designers and developers. But quite often the look and behavior of these apps are due to the developers and designers recognizing the specific goals of their users and adapting their app to meet those goals.

While this topic provides a detailed look at the main types of native, location-based apps (patterns), you also need to have a solid understanding of your users and what they need to achieve with the app.

The patterns can be categorized into two main groups: apps with maps and mapless apps. The latter group is by no means inferior. ArcGIS Runtime SDKs contain a large amount of functionality that can be leveraged with and without a map.

For details about choosing among the native, hybrid, and web patterns, see Native vs. web.

Mapping apps

Maps can be added to an app for different reasons. It is the context in which the map is used that determines how it should appear and behave in the app, which, in turn, is determined by what your users need.

Map-centric apps

In map-centric apps, the map is the most important thing about the app. Usually the map opens first and is the focus of the app. Examples include the ArcGIS App and Collector for ArcGIS. The user gets value out of the app by interacting with the map; it's the map that provides the desired intelligence or information.

Many of these apps open only one map or allow the user to choose from a few maps that are important to them. Users interact with the same map for some time.

An example of this type of app is one that allows field workers to:

- View their organization's assets in relation to their current location.
- Determine the route and time it will take to get to the asset.

The value to the user is the map itself.

App start-up

In these apps, it's imperative that users get to the map as quickly as possible every time they start the app. Re-opening the last map they were looking at is usually good practice. To do this, store information about the map (and its state, if desired) on disk so it can be retrieved when the app restarts.

Device form factor

The form factor of the device will also affect how the map is presented. Map-centric apps will take over the entire screen of devices such as tablets and phones, whether in portrait or landscape. However, on tablets in landscape mode or on desktops, there may be enough screen real estate to incorporate side panels that contain information about the map. Some apps restrict the screen orientation to ensure a good user experience. For example, an app may restrict phones to portrait because in landscape, the map is too small and getting to the tools too difficult. Consider carefully what the user needs to do and whether they get usability benefits from using the app in the different orientations.

If you do support multiple screen orientations and sizes, you should make sure that you optimize the design for each of those that you support. This may mean designing specific screen layouts for the different options. You may also have to consider what happens when a user turns the device from one orientation to another.

Changing the orientation is a configuration change, and the framework allows for different screen assets and layouts to be used for each. There are multiple ways of dealing with configuration changes; it's recommended you read Android's topic, Handling Runtime Changes.

Copyright © 1995-2016 Esri. All rights reserved.

Cartography

The cartography of the map is also important. Full cartography recommendations are outside the scope of this topic, but many resources are available to help you make maps like professional cartographers do, such as the Esri Mapping Center. In general, use appropriate symbols that make sense to the user without having to look at a legend. A legend should be the user's last resort. Ensure layers are visible at appropriate scales. Using scale dependency settings not only provides the right information at the right time (scale), but it also can improve performance. Also ensure that colors of symbols and the commonly used basemap in your app work well together.

Tools

Be aware of the tools your apps expose. Your default tools should be the most commonly used, and they should be provided to the user in an appropriate way for the platform and form factor your app is running on. For tips on appropriate use of tools, see Provide mapping tools.

Map-as-navigation apps

In maps-as-navigation apps, the map is important, but it's not the most important part of the app. The map in this case drives the navigation of the app and lets the user discover additional information and access other screens that provide value to the user. From the user's point of view, the map itself has little value in this app; it's a tool to get to the information they need.

The toolset associated with the map should be focused, as the user will not be performing many additional map functions unless it allows them to get to the target information more quickly or add some value to the information they receive. Often a drawing or selection tool is appropriate to allow users to quickly draw their area of interest as a graphic on the map. The resulting graphic is then used to query information (in the form of a QueryTask or query on a layer in the map). It's possible to query for information as the graphic is being drawn to provide instant feedback, although the performance considerations of this should be evaluated. The use of geoprocessing to retrieve data and provide information can also be used in this scenario.

Cartography is typically important, as the map should be simple and allow the user to select the areas or features that will display the information of interest without any distractions. Consider which basemap you should use in this scenario.

An example of this type of app is one that allows users to define areas on the map that show what properties are for sale, what school districts the properties are in, and what the average sales price is. The valuable content for the user is not the map, but the resulting information. However, without the map, the user is unable to get to the target information.

Pop-ups can be used to display information based on features in the map. These are UI components that are provided in the SDKs that allow you to build rich user experiences through map configuration rather than code.

The View pop-ups topic has more details.

Map-as-context apps

In a map-as-context app, the map is an additional or auxiliary view in the app and is mainly used for contextual purposes. The map is created and shown based on some other source information also visible in the app. The map displays additional information, which the user can choose to consider. The map is typically auto-populated with the correct layers, layer filters (also called layer definitions), location, and zoom level specifically based on the source information.

In this case, map tools should be limited. In many cases, there should be no map tools, and the source information actually navigates or changes the map. This requires binding the map's behavior to other view controls or elements that hold the source information and can provide for an intuitive user experience, especially for those users who are not used to working with map interfaces.

Again, cartography is important for this scenario, as there should be few distractions on the map.

An example of this scenario is displaying a weather map for a specific location and time. The source information in this case is the location name, the time of day, and the weather forecast for that area (temperature, wind speed, humidity, and so on). Initially, the map shows additional weather information (cloud cover and rain radar for example) for the location and its surroundings at the time that is being displayed. If the user changes the time of day, the map updates to show the weather information for the new time. The information the user wants to know is the weather forecast (the source information); the map in this case is additional contextual information that adds value to the source information. A map can be useful in this scenario, for example, when the source data shows the location will have clear skies at 1:00 p.m., but the map shows a rain cloud nearby, at 2:00 p.m. the forecast is still sunny but the rain cloud is closer, the user now knows a rain cloud is heading in their direction.

Copyright © 1995-2016 Esri. All rights reserved.

Tips

It's recommended you use an Android Fragment to house the map component, so that it can be reused as contextual information in other screens of the app. This also allows you to reposition the map component of the view based on different device form factors.

When handling runtime configuration changes of the app, ensure that all the view elements being displayed are handled correctly. It is recommended that you allow your activity or fragment to be restarted in this instance so that device-specific resources can be loaded. For more information, see Android's Handling Runtime Changes topic.

Mapless apps

Mapless apps that contain location-based intelligence are common and valuable, especially in devices that leverage GPS and motion sensors to provide information to users. In this pattern, the user should never know about GIS, spatial intelligence, or mapping, and you should choose your tool names and information screens carefully to hide these from the user.

Any spatial tasks that are run in these apps are run in the background and should not interrupt the user's flow. This typically requires asynchronous development for tasks to run on background threads (not on the UI thread).

Some of these mapless apps (as well as many mapping apps) may require local data to be on the device. To achieve this, you can use services, or you can provision the device with the data. For details on how to retrieve and access offline data (whether using a map or not), see Create an offline map.

ArcGIS Runtime SDKs have many functions, described in the following bullets, that can help you build a mapless app.

- Geometry engine (GeometryEngine class) allows you to:
  - Measure distances—How far away is a location I'm interested in?
  - Determine intersections/proximity of features and geometries—What county am I in? Does this road cross any rivers?
  - Buffer locations to find other features—How many coffee shops are near me?
  - Perform conversion from one coordinate system to another—Where am I on the map? You can convert lat/long coordinates from a GPS to a projected coordinate system.
- Geocoding (Locator class) allows you to:
  - Find places—Where is Redlands, CA? Can you show me coffee shops near me?
  - Reverse geocode—What's the address at this location?
- Routing (RouteTask class) allows you to show directions without a map—What are the driving directions to get from one location to another?

Related topics

Design considerations

Copyright © 1995-2016 Esri. All rights reserved.

Provide map tools

When considering which tools your users need and which map interactions make sense for their tasks, it's important to know which tools are available and current trends and user expectations. Equally important is understanding device and platform patterns as well as your users' various environments. ArcGIS Runtime SDKs provide many tools and capabilities out of the box, such as those for navigating the map, displaying information, and performing actions in context.

Easy and focused apps are trending

Apps are becoming more focused. Ease-of-use expectations (getting the job done quickly) are on the rise. User perceptions are more relevant in app design than they've been in the past.

Especially in the world of smartphones and tablets, today's trend is toward making apps more focused and targeted at a specific use case. Users are accustomed to using multiple apps to get their work done. They've come to expect an app to be focused on helping them get one or a small number of tasks accomplished quickly. More and more, users have a high expectation that an app will get the job done quickly and effortlessly.

Devices have become a part of most users' everyday life, even to the point that some users develop an emotional attachment to them. App builders and UX designers alike recognize that this attachment can come from a pleasant experience or a feeling of satisfaction when using an app. These feelings can derive from the app making the task fun, from the UI being particularly pleasing, or from the task just being just easy to do.

Devices (even desktops) have changed significantly. UIs are simplified, often animated, and aesthetically appealing. Touch screens and the touch-enabled mouse devices have had an enormous impact on the user experience. In addition to expecting a fast and easy experience, users have come to expect using an app to be an enjoyable and delightful experience.

The focused apps of today are built to run on a variety of devices, including small form factors. Long toolbars with multiple tools which some GIS users have become accustomed to are unwieldy and unnecessary. The story is similar for other tools. For example, in most cases, pop-ups are a better choice for an app than the Identify button. Pop-ups remove an extra click for the user to get to the same information. The same goes for a long table of contents pane with an endless number of layers. Often a long table of contents is a sign that the app doesn't target a specific enough task.

Map interactions

Think about how your users will want to interact with the map. Older applications required you to pick a particular tool on a toolbar to pan, zoom in, zoom out, or view the full extent. With touch screens, mouse devices, and trackpads, many of these tools can be provided through gestures, removing the need for tools on a tool bar altogether. In addition, the proliferation of devices that can provide their own location based on GPS or other technique means that you can use this information to change the map's extent without the user doing anything.

ArcGIS Runtime SDKs provide many of these interactions for you out of the box. But you still need to consider whether they're suitable for your app. What will the user expect to happen when they touch the map? Will they be able to use two fingers to pinch and spread the map (are they wearing gloves for instance)? Will they know to try a long press, double-tap, and a left/right swipe to open the search tool? For answers to questions similar to these, see the section Understand your users and their surrounding environment.

Gestures

ArcGIS Runtime SDKs provide many gestures out of the box. Gestures aren't the answer to everything, but if you keep things simple, intuitive, and follow the device's standard practices, you can provide a lot of functionality in your mapping app without a toolbar.

Android Design documentation provides more detailed information on Gestures.

Map gestures that come pre-set with the ArcGIS Runtime SDK for Android MapView control are:

- Map pan—Drag
- Map fling—Drag and release while dragging
- Zoom in—Double touch
- Zoom in—Pinch open
- Zoom out—Two finger touch
- Zoom out—Pinch close

You can also override or add your own gestures to the map through overriding and implementing your own MapOnTouchListener and setting this onto the MapView (using the View.setOnTouchListener() method). The MapOnTouchListener has the following events for you to handle:

Copyright © 1995-2016 Esri. All rights reserved.

- onDoubleTap—Notified when a single-pointer-double-tap gesture occurs
- onDragPointerMove—Notified when a part of a single touch drag gesture event occurs
- onDragPointerUp—Notified when a part of a single-touch-drag gesture event occurs
- onLongPress—Notified when a long-press gesture occurs
- onMultiPointersSingleTap—Notified when a two-pointers-single-tap gesture occurs
- onPinchPointersDown—Notified when a part of a pinch gesture occurs
- onPinchPointersMove—Notified when a part of a pinch gesture occurs
- onPinchPointersUp—Notified when a part of a pinch gesture occurs
- onSingleTap—Notified when a single-pointer-single-tap gesture occurs
- onTouch—Called when a touch event is dispatched to a view

For an example of a custom MapOnTouchListener see the Geometry Editor sample where it is used to provide a sketch layer for editing.

Display information

Once you've built some default map interactions or gesture-based tools, the next step is to display some information to the user. You can turn complex data into rich, decision-making information for your users. If you understand your users and know what they want to achieve, displaying the right information in an appropriate way can reduce the need for additional tools. Older GIS applications have displayed tables and rows of data to the user, but modern approaches are more intuitive and powerful.

ArcGIS Runtime SDKs provide several API components to display information:

- Graphics—ArcGIS Runtime SDKs provide a graphics layer. Graphics layers allow you to add, to a map, graphics (points, lines, polygons, or text) that can be associated with a symbol to make the graphics look the way you want. Graphics let you provide a lot of information to users about something they have tapped on or an area they're interested in. However, you might need a legend or additional information to allow the user to interpret what you've added. For details on graphics layers, see Add graphics and text.
- Callouts—A callout is a small view that displays on top of the map and has a leader that can point to a feature on the map. You can use these effectively as long as you have enough screen real estate. You can embed text, images, and other items in these callouts to provide information. The callout can be considered part of the map as it is tied to a specific geographic location and therefore it moves as the map is panned or zoomed. Use the Callout class, which is obtained from the MapView.
- Pop-ups, supported throughout the ArcGIS platform, are a powerful way to bring your maps to life. ArcGIS Runtime SDKs fully support pop-up configurations and provide you with views to display their content without having to write any of the UI code yourself. More information on using Androids Runtime pop-ups can be found here.
- GPS/Location information-The ArcGIS Runtime SDK for Android provides an out of the box location display which uses the Android platforms LocationService. This shows the devices current location and approximate accuracy on the map. This component can also be set to automatically pan the map as the location moves in addition to being set into modes useful for navigation or compass based directions. More information can be found in the API reference for the LocationDisplayManager
- Platform-specific views—For native apps, there's a wide array of platform-specific views, widgets, and graphical layouts you can use to display information, such as graphs, pie charts, meters, categorized text, and so on. Read information on Android Design to understand what you can use and how you should use them.

Contextual actions

When you want to provide non-gesture based functionality or tools for your users, you want to ensure they appear at the right place at the right time. They don’t always need to be executed from a toolbar.

For instance, let's say that a default map interaction of a long press adds a feature to the map and displays a list of actions or tools that can be performed on the location like viewing more details, zooming, or finding directions to the location. You can change these actions or tools based on the type of location the user pressed. This approach is typically better than exposing these actions on a toolbar, as they would be active only after a location had been selected—they might be greyed out most of the time, taking up valuable screen real estate and confusing the user as to when they can be used.

For capabilities that may be hidden, such as a long press in a blank area of the map as a way to add a feature, it is recommended you add in-app help. For example, to ensure the user knows that a long press adds a feature, when the user first opens the app, you could have an image of a finger "fly in" from the right, then animate it to mimic the adding of a feature, with a dismiss control the user can press once he understands the message being conveyed.

Copyright © 1995-2016 Esri. All rights reserved.

With contextual actions, you need to provide a clear exit path for the user, so they can return to where they came from. Use your target platform's best practice and navigation tools to provide this behavior.

For example, in Android, this means ensuring the Back button and action bar Up button behave as expected. For more information on Android navigation design patterns, see Navigation with Back and Up on the Android developers site.

Toolbars

Not everything can be done without a toolbar. If your app requires a toolbar, make sure you plan out where the tools will display and how the user will access or interact with them. You have many options to consider here, some of which depend on the platform and form factor of the devices you're targeting.

Tools on top of the map

Many map-centric applications add tools that hover on top of the map. This approach makes sense for tools that are directly associated with the map, such as navigation buttons (which may make it easier than a gesture to zoom and pan the map with one hand or when wearing gloves). The GPS tool can often be seen near the top of the map, and, since it usually navigates the map to your current location, this approach makes sense.

Tools on a toolbar

Android has explicit design guidelines for adding tools to a toolbar (or ActionBar, in Android's case) that are relevant to all platforms. Essentially, tools should be visible if they adhere to the FIT scheme (frequently used, important, and/or typical). If you are adding tools to your toolbar try to adhere to this guidance. Cluttered toolbars make it difficult for users to find what they are looking for.

Hidden toolbars

Another approach is to provide the user with toolbars or menus that are viewable only through a gesture or button click. This allows a number of tools to be shown at once but without them cluttering up the app's interface at all times. Patterns in use for hidden toolbars include the following:

- Slide out drawers—Menus or tools display from the side of the screen via a gesture or a button click. Lots of apps are using this approach so that commonly used tools don't clutter the app's screen real estate. The tools are easy for the user to show at any time and can provide a long list of scrollable menus or tools. Most apps use menu items with clear text and icons so the user knows exactly what will happen when these are pressed.
- Tool wheel—Menus and tools display in a wheel shape via a gesture or button click. This approach is more commonly used for showing multiple tool buttons (typically without accompanying text) rather than menus. Like the slide out drawers, this approach provides quick access to a number of tools for the user to quickly switch between. It's been used in apps for advanced drawing to allow users to quickly switch between the vast array of draw tools. It's also been used in camera apps, whfere the user needs to quickly pick the right setting to take pictures.

Platform concepts and patterns

Above all, it's important for your user experience and user interface design to incorporate guidelines, best practices, and design patterns specific to the platform you're using. This should include the icon styles to use (flat vs 3D), the use and design of tabs (top or bottom of the screen), app navigation tools (OS back button vs app back buttons) and the change in interface as screens are rotated or as the screens appear on different devices.

Guidelines for Android are provided on Android's developer site, in the Design section.

Your users and their environment

Additional important questions to ask yourself about your users and their surrounding environment are provided below. The answers can affect the user experience and how you present tools.

- Where will they be using the application?—Outdoors in strong sunlight? Indoors in a dark basement? At night? Or all three? The answer will affect the design of your UI and icons. A white background with dark text is good for an app used in strong daylight. A dark background with light colored text is best for dark conditions. Does you app need both a daytime mode and a night mode with different icon sets for each?
- How will your users be working with the application and what else might they be doing at the same time?—Will they be sitting down? Standing up? Driving? Flying helicopters? (ArcGIS Runtime SDK apps have been built for pilots.). The answer tells you if they are holding the device in one hand, two hands, or relying on a device docking station. This information, in turn, helps you

Copyright © 1995-2016 Esri. All rights reserved.

determine which tools and gestures will work. For example, a pinch won't work to zoom out of a map if the user only has one hand available. Voice commands or some other handling should be considered in that case.

- What will users be wearing?—Will they be wearing gloves? If so, button and tool size need to take this into account. For example, bigger buttons and controls are needed for gloved fingers. Will they be wearing sunglasses, helmets, or other items that will get in the way of the screen and affect how the screen looks?
- What sort of device will they be using?—A tablet, phone, laptop, or an embedded device? These form factors will likely affect your choice of how best to provide tools. Phones require the ability to work with a single hand for most things. Tablets typically allow the user to place them on a surface so that two hands can be used (but this depends on how they will be using the application). For laptops, typically two hands are available for gestures and touches. Embedded devices might come with multiple ways to control the app, such as hard buttons, dials, and switches. An app may sometimes be connected to a keyboard and at other times not; in that case, you need to account for both scenarios.

Related topics

Design considerations

Copyright © 1995-2016 Esri. All rights reserved.

Performance considerations

Mobile mapping application issues

This topic describes the issues encountered by mobile mapping applications written with the ArcGIS Runtime SDK for Android and what to consider when designing map layer types to use in your application. The Layer types topic contains more detailed information on the available map layer types.

Asynchronous programming

On mobile devices where you have limited resources and variable network speed (see below) it is advisable to perform long running tasks on a background thread. The Android system guards against unresponsive apps by showing "Application Not Responding" or ANR dialogs, these should be avoided at all costs, more information can be found in the Android guide here. The design of the ArcGIS Runtime SDK for Android has taken this into account and implemented a number of asynchronous methods which put tasks on a background thread for you (noticeable as they commonly return a java Future and take a Callback as a parameter e.g Locator.find()) but a lot of other methods provide only synchronous calls that you will need to handle yourself. However, since threads consume device resources, you still do need to pay particular attention to minimizing the amount of threads that are created.

Device limitations

Android devices have less processor and memory resources compared to standard desktop machines. For this reason, applications need to be developed to run in an efficient manner. The processing of complex server JavaScript Object Notation (JSON) responses can take time, so responses that contain large or complex geometries, such as JSON (queries or feature layer map requests), slow down your application. This is due to the processor speed in processing the response, as well as memory usage and the virtual machine's garbage collection being invoked.

Network speed

Android mobile devices often use 3G or sometimes lower speed radio communication networks to obtain and transfer data. The speed of these networks vary but are much slower (in terms of data per second) than wired or wireless networks. Due to this network latency, small requests can take time to return, which makes your application seem sluggish. Therefore, you need to carefully manage the total amount of data and the number of network requests submitted by your Android application. As an example, it may be more efficient to send a single large request for data rather than multiple small requests. Changing the layer types, application functions, or the flow of your application can also affect network speed.

If your mobile application users are always in the range of a wireless network, your application can retrieve and submit larger amounts of data. However, even in this scenario, it's always good practice to remember the amount of data and number of requests your application uses, whatever the bandwidth.

By understanding the characteristics of the different types of map layers in the API, you can determine the best layers for your needs and ensure that your application performs for your users.

Network connectivity

Some application users may only have intermittent network access, such as intermittent 3G access due to working in remote areas or daily access to a wireless network for synchronizing data. If this is the case, local storage usage is important. The application can be designed to connect to the server to retrieve data the user needs, then store this data on disk or in a local SQLite database. Applications need to be developed robustly with this in mind, because the network connection can be dropped anytime. Functions need to fail gracefully, and any long running application transactions may need to be rolled back.

Analyzing these issues in Android

There are various debug tools provided by the Android software development kit (SDK) that can help analyze these issues in more detail. SDK tools exist for profiling memory, and viewing thread and network activity. For more information, see the Debugging section in the Android Developer Guide.

What do you want from your data?

There are two things to consider when designing the data layers for your application. First, what functionality do you need to provide to your users? The different layer types have different functional characteristics, which are explained in more detail in the Layer types topic. Second, what are the performance characteristics of the data layers? This is also described in the Map layer types topic. You may need to

Copyright © 1995-2016 Esri. All rights reserved.

prioritize one of these issues and compromise the other, because often the layer's characteristics conflict with performance. For example, the layer that gives you the best functionality may be the slowest to perform in your scenario.

Related topics

Design considerations

Copyright © 1995-2016 Esri. All rights reserved.

Native vs. web

ArcGIS software development patterns are similar at a high level across ArcGIS Runtime SDKs and ArcGIS Web APIs. When choosing an approach for creating apps with ArcGIS capabilities, it's helpful to have an understanding of the general differences among native, web, and hybrid apps, as well as the differences in ArcGIS capabilities among native, web, and hybrid apps.

- **Native**—The native strategy offers the best device integration and the most out-of-the-box functionality for offline workflows, but it requires native development skills. You can use the ArcGIS Runtime SDK for Android to create native apps.
- **Hybrid**—Hybrid strategies use a mix of native components and web app content (HTML, JavaScript and CSS) to build native applications and there are many different ways that this can be achieved. The easiest approach is to embed a web control into a native app and load web content. More advanced approaches include using frameworks (for example, PhoneGap or Appcelerator Titanium) that allow for richer integration with the native platform. You can use Esri's JavaScript API and the ArcGIS Runtime SDK for Android in hybrid strategies. The Wikipedia topic on hybrids explain hybrid strategies. These topics provide additional context, that is, Inside Facebook's mobile strategy by Kurt Wagner, Mashable, and Mobile: Native Apps, Web Apps, and Hybrid Apps, by Raluca Budiu of Nielsen Norman Group.
- **Web**—A web strategy is one in which HTML, JavaScript, and CSS are hosted on a web server and delivered to the user's device or desktop using its web browser. This strategy is best if you don't know the devices your users have and you need to reach a wide audience. You can use Esri's JavaScript API in a web strategy.

The content from this topic was excerpted from Development strategies for targeting Android, iOS, and Windows Phone.

Key comparison points

The most important goal is to deliver the best experience and functionality for the audience of your app. Below are questions to ask yourself to help you achieve this.

- How widespread of a mobile audience must you reach?
- Do you know the regions of the world you want to target? Do you know what devices they have?
- Who is the target audience (internal or consumer public) and what functionality (mapping, advanced analysis, and so on) is required to support the application?
- Are your users sometimes disconnected and need the app to run offline?
- What skills do your current development team possess?
- What data and web services are required to support the application?
- Who is the steward of the data behind the web services? Do you have access to the data if necessary (for example, ability to create offline data sources)?
- Are there requirements for device integration, such as use of the device's GPS, compass, media, calendar, contacts, text messaging (SMS), notifications, and so on?

The tables below provides a detailed look at these and additional comparison points.

General differences compared

Consideration	Native strategy	Hybrid strategy	Web strategy	Notes
Understanding your users and which devices they prefer	Target each specific device OS, and deliver the best native experience (an app for each device OS)	Target each specific device OS, but leverage existing web content and native APIs (an app for each device OS)	Target the device's browser (a single hosted web app used by all)	Device popularity varies geographically (North America, Europe, Asia)
What skills do your developers have?	Requires skills developing on each native platform (for example, Objective-C for iOS, Java for Android, and .NET for Windows Phone)	Requires HTML, JavaScript, and CSS, and knowledge about compiling the hybrid framework	Requires HTML, JavaScript, and CSS	
Do you want to distribute the app through a store (App Store and/or Google Play)?	Distribution through a store is supported	Distribution through a store is supported	Distribution through a store is not supported	
Access to device utilities	Access to all device utilities (GPS, compass, calendar, media, contacts, camera, and so on)	Limited based on the development approach, and frameworks used	Limited to HTML5 mobile features	Some hybrid strategies (frameworks) provide wrapper calls to underlying native API technology

Copyright © 1995-2016 Esri. All rights reserved.

Maintenance on multiple devices and desktops	When you update your app, update it for each device type	When you update your app, update it for each device type	When you update your app, it is immediately available to all devices	

ArcGIS capabilities compared

Consideration	Native strategy	Hybrid strategy	Web strategy	Notes
Will users need to use the app and data offline?	Offline app use is built into the native platforms. Offline GIS is possible and includes offline map viewing, editing with sync, geocoding, routing, and analysis.***	Offline app use is possible through the hybrid framework's local storage mechanism. Offline GIS is possible but involved** for the developer.	Some local storage is possible with HTML5. Offline GIS is also possible but involved** for the developer.	Hybrid offline workflows using PhoneGap or Titanium are not straightforward and basic as compared to building native apps.
Routing and geocoding	Online and offline are supported.*** Requires ArcGIS for Desktop to author offline data sources.	Online only*	Online only*	
GeoEnrichment (demographic and landscape variables)	Online only**	Online only*	Online only*	
Analysis (geometry operations)	Supported online** and offline***	Online only*	Online only*	Operations such as clip, buffer, and intersect. Editing workflows such as simplify, densify, union, merge, split, and so on.
Model-based analysis (geoprocessing)	Supported online*** and offline. Offline is available on Windows and Linux.***	Online only*	Online only*	Build models in ArcGIS for Desktop, and provide clients analysis through geoprocessing services.
Geometric network tracing	Supported online*** and offline. Offline is available on Windows and Linux***	Online only*	Online only*	Supported through model-based analysis (geoprocessing service), for example, valve isolation trace.
Advanced cartography and symbology	Supported online and offline***	Online only*	Online only*	Includes support for rotation, offset, geodesic symbols, and military symbology, such as 2525C and APP-6B.
Display and animate large numbers of features	Once you have the features, animate their graphics, and maintain smooth and fast map navigation.***	Not recommended	Not recommended	A native app can support millions of features. For web and hybrid, the number of features you can have before performance degrades depend on several factors, such as the browser, but generally 10,000 – 100,000 is the maximum.
Local file based data (shapefiles and imagery) offline	Offline and local access to shapefiles and imagery is built into the native platforms.***	Not available	Not available	Planned in a future release.

* Uses ArcGIS API for JavaScript out-of-the-box API components.

** Uses ArcGIS REST API, and the developer sends requests and processes responses.

*** Uses ArcGIS Runtime SDKs out-of-the-box API components.

Related topics

Design considerations
Determine your app/map pattern

Copyright © 1995-2016 Esri. All rights reserved.

Handle device configuration changes

Apps need to handle changes in device configuration that can happen at run time, for example, screen orientation change, keyboard show or hide, or a change in language setting.

Standard Android behavior is to destroy and recreate the running activity when the device configuration changes, and for activities and fragments to save their state in the `onSaveInstanceState` method, and restore it in the `onCreate` or `onRestoreInstanceState` method. However, it is not possible to save and restore complex map data objects (for example `WebMaps` or `Layers`) in this way. As the `onSaveInstanceState` bundle mechanism is not designed to handle such potentially large objects, objects such as `WebMap` and `Layer` do not support the `Parcelable` interface required to add them to a bundle.

Learn more about handling configuration change in Android apps.

This topic describes three options for dealing with configuration change in your app. Each option has different benefits and drawbacks and may be appropriate in different parts of different apps. Choose the most appropriate option or options for your app. You may find the best approach is to use a combination of these options, as demonstrated in the highlighted samples.

Option 1: Retain fragment instance

Use fragments to host the views in your app, and call `setRetainInstance` on the `Fragment` object or objects that display map data. This prevents the fragment from being destroyed when the activity that contains it is destroyed and recreated. The fragment must recreate the `MapView` it uses to display the map, because the old `MapView` is associated with the old activity that is destroyed. At this point, you can populate the new `MapView` with `Layer` class member variables if they still remain in memory so data will not need to be fetched from the server again. If the layer objects have already been destroyed, the layers will need to be recreated.

This is the recommended option if your app does not use `WebMap` objects, and if your app uses config-dependent layouts, strings, drawables, dimensions, and so on. It comes at the small cost of the screen going blank for a moment when the `MapView` is recreated and redisplayed. If your app does use `WebMap` objects, consider handling orientation changes yourself (option 2) instead.

Samples

The Fragment Management sample uses this option to retain a number of `Layer` objects as member variables, and populates the `MapView` using these layers if they still remain in memory. It also recreates all objects (option 3) as a fallback option if the `Layer` objects are lost because the system destroys the fragment that contains them.

The Portal Featured User Groups sample uses this option to retain `Portal`, `PortalGroup`, and `PortalItem` objects but handles configuration changes itself (option 2) in a different activity to retain a `WebMap` object. See the Device Configuration Changes section in the description of this sample for further explanation. It also recreates all objects (option 3) as a fallback option if these objects are lost.

Option 2: Handle configuration changes yourself

Configure activities that display map data to handle configuration changes yourself to prevent the system from destroying and recreating these activities when orientation and keyboard configuration changes occur. Add the `android:configChanges` attribute to the appropriate `activity` element or elements in the app's AndroidManifest.xml file. For example, the following code sample indicates the activity will manually handle any changes of device orientation, screen size, keyboard type, or accessibility:

AndroidManifest.xml file entry to handle configuration changes manually in an activity

```
<activity android:name=".ActivityName"
  android:label="@string/app_name"
  android:configChanges="orientation|screenSize|keyboard|keyboardHidden"
  ...
/>
```

This option can offer a smooth user experience when the configuration changes, because the `MapView` and any contained objects do not need to be recreated, so there is minimal disruption to what the user sees on the screen.

However, it comes at a significant cost if your app makes extensive use of config-dependent layouts, strings, drawables, dimensions, and so on, as you must add code to the `onConfigurationChanged` method in your activities to make any required changes to your app when the configuration changes. This process is also likely to be error prone. See Handling The Change in the Android developer documentation for a description of how to handle config changes yourself.

This option is the only way to retain `WebMap` objects when the configuration changes. A `WebMap` is attached to the `MapView` used to display it, and all its data needs to be fetched from the server again if it is passed to a new `MapView`.

Copyright © 1995-2016 Esri. All rights reserved.

Samples

The Simple Map sample uses this option, as no configuration changes are required by this app if the device orientation changes or the keyboard is shown or hidden.

The Portal Featured User Groups sample uses this option in one activity to retain a `WebMap` object, in addition to using options 1 and 3 where appropriate. See the Device Configuration Changes section in the description of this sample for further explanation.

Option 3: Recreate all objects

Create new mapping data objects each time your activities are created or recreated. This is the most straightforward option to implement but gives the worst user experience, as the `MapView` must be entirely recreated. Any server data will have to be fetched each time the activity is destroyed and recreated, which is time consuming and uses more network communications than may otherwise be necessary.

However, all apps should implement this as a fallback option for scenarios where the original objects will be lost. For example, in options 1 and 2, your `Fragment` and/or `Activity` may be destroyed by the system if they are pushed into the background and memory resources become low. You'll need to recreate all your objects when your `Activity` is restarted.

Samples

The Fragment Management sample uses this option as a fallback option (in addition to option 1) if the `Layer` objects are lost because the system destroys the fragment that contains them.

The Portal Featured User Groups sample uses this option as a fallback option (in addition to option 1 and 2 where appropriate) if portal and `WebMap` objects are lost.

Copyright © 1995-2016 Esri. All rights reserved.

Release notes for 10.2.9

This topic describes the changes in version 10.2.9 of ArcGIS Runtime SDK for Android.

Issues addressed

- BUG-000098117: Executing bidirectional sync causes the following error, "File opened that is not a database file". API passes a token for getting ArcGIS Server delta files with ArcGIS Online hosted services.

Known issues

- Some services have a casing mismatch between the field names used in the `EditFieldsInfo` returned from `ArcGISFeatureLayer.getEditFieldsInfo()` and the `Fields` JSON attribute, which is defined in the service's REST endpoint. A workaround for this mismatch is to correct the casing in your app code.
- Advanced symbology doesn't support MIL-STD-2525C and APP-6(B) dictionaries installed on the same device. Work around this issue by setting the path of one of the resources explicitly using the `MessageProcessor` constructor that allows you to set the symbol dictionary path.

Related topics

Release Notes for 10.2.8
Release Notes for 10.2.7
Release notes for 10.2.6
Release notes for 10.2.5
Release notes for 10.2.4

Copyright © 1995-2016 Esri. All rights reserved.

System requirements for 10.2.9

Supported operating systems

The operating systems that the ArcGIS Runtime SDK for Android supports are the same as those listed for the Android SDK developed by Google. Generally, development is supported on Mac OS X (Intel), Linux, and Windows-based operating systems. Refer to Google documentation for the specific operating system versions that are supported.

Software and platform requirements

The apps you build will run on Android phones and tablets with the Android platform version 4.0.3 (API level 15) and above.

Android SDK support

The following is required for development with this SDK:

- Java Development Kit (JDK) is required. A Java runtime environment (JRE) is not enough for development
- Android SDK Tools. The downloadable component of the Android SDK which is included with Android Studio.

Integrated Development Environment (IDE)

Android Studio

Esri supports and recommends the use of Android Studio for development of apps that use ArcGIS Runtime SDK for Android, as this is the IDE officially supported by Google for Android development.

IntelliJ IDEA

IntelliJ IDEA is the IDE upon which Android Studio is based. However, IntelliJ IDEA comes bundled with an Android plugin and supports Android Gradle based build system so you can work directly with the ArcGIS Runtime SDK for Android in IntelliJ IDEA. More information about support for Android development in IntelliJ IDEA can be found here.

Eclipse

Eclipse Mars and above include Buildship, the official support for Gradle for Eclipse, however support for the Android build system is limited.

OpenGL ES 2.0

The ArcGIS Runtime SDK for Android uses OpenGL ES 2.0 technology to render map images. This technology makes the product much more versatile and usable by reducing the memory footprint, dramatically improving rendering speeds and using less power.

The Android SDK version 4.0.3 r2 (API level 15) added Graphics Processing Unit (GPU) support in the emulator, which allows apps built with ArcGIS Runtime SDK for Android to be deployed and tested on the emulator. Please refer to our blog post for specific setup instructions.

ArcGIS for Server and ArcGIS for Portal versions and platforms

To connect your app to ArcGIS for Server data or services, use ArcGIS for Server version 10.0 or later. To use ArcGIS for Server data when your app is offline, use ArcGIS for Server version 10.2.2 or later.

You can use ArcGIS for Portal version 10.2 or later with your app.

Copyright © 1995-2016 Esri. All rights reserved.

Release notes for 10.2.8-1

This topic describes the changes in versions 10.2.8-1 and 10.2.8 of ArcGIS Runtime SDK for Android.

10.2.8-1

This release updates an API libpng dependency to address security vulnerabilities. This update allows ArcGIS Android apps that are published to the Google Play store to be updated and any new published apps to comply with Google Play's Malicious Behavior policy. You can read more about this vulnerability in CVE-2015-8540.

10.2.8

Issues addressed

- Updated the SDK OpenSSL to version 1.0.2g to address security vulnerabilities. See this Google FAQ for more information.

Known issues

- Some services have a casing mismatch between the field names used in the `EditFieldsInfo` returned from `ArcGISFeatureLayer.getEditFieldsInfo()` and the `Fields` JSON attribute, which is defined in the service's REST endpoint. A workaround for this mismatch is to correct the casing in your app code.
- Advanced symbology doesn't support military dictionaries installed on the same device. Work around this issue by setting the path of one of the resources explicitly using the `MessageProcessor` constructor that allows you to set the symbol dictionary path.

Related topics

Release notes for 10.2.9
Release Notes for 10.2.7
Release notes for 10.2.6
Release notes for 10.2.5
Release notes for 10.2.4

Copyright © 1995-2016 Esri. All rights reserved.

Release notes for 10.2.7

This topic describes the changes in version 10.2.7 of ArcGIS Runtime SDK for Android.

Issues addressed

- BUG-000084945: Adding an offline geodatabase content to a map does not display the label of a feature class if the label is in the Chinese language.
- BUG-000089134: The Location Display Manager stops updating the phone's current location on the map if the accuracy of the incoming coordinate is much less accurate than the previous coordinate.
- BUG-000089200: The LocationDisplayManager class shows an obviously bigger GPS indicator on Motorola Droid Turbo.
- ENH-000090442: The geocode.arcgis.com service has new properties that enable developers to tailor suggest results to specific areas making suggest results more meaningful. Country code and location, geometry, and distance are now honored as suggest parameters.
- BUG-000088984/BUG-000088511: This fix for the PortalInfo print service parsing allows a web map to open from an organization when the print service is not set as esri default on the org.

Known issues

- Some services have a casing mismatch between the field names used in the `EditFieldsInfo` returned from `ArcGISFeatureLayer.getEditFieldsInfo()` and the `Fields` JSON attribute, which is defined in the service's REST endpoint. A workaround for this mismatch is to correct the casing in your app code.
- Advanced symbology doesn't support military dictionaries installed on the same device. Work around this issue by setting the path of one of the resources explicitly, using the `MessageProcessor` constructor that allows you to set the symbol dictionary path.

Late-breaking information

Information about excluding duplicate files from the Android Package (APK) file was omitted from the "Install and setup section." It's been added as step 4 of that section in this guide.

Related topics

Release notes for 10.2.9
Release Notes for 10.2.8
Release notes for 10.2.6
Release notes for 10.2.5
Release notes for 10.2.4

Copyright © 1995-2016 Esri. All rights reserved.

Release notes for 10.2.6

10.2.6-2

There is no new functionality as this minor release is a bug fix release

10.2.6-1

There is no new functionality as this minor release fixes one significant bug offered below:

1. x86 libs bundled in AAR file now work with emulators and x86 devices running lollipop, Android API 5.x.

10.2.6

API additions

- Implemented java.io.Serializable interface on the SyncGeodatabaseParameters class, to allow geodatabase synchronization parameters to be serialized to local storage when required, for example if an app is terminated or paused while synchronizing.
- Added GeodatabaseStatusInfo.fromJson(JsonParser, String) overload. You can pass in a string representing the JobId to set on the resulting GeodatabaseStatusInfo object.

Issues fixed

- ENH-000085213 - When no location updates are available (for example, when using device GPS only, and no GPS signal is available), GPS indicator in map will now use a grey symbol to indicate using last known location (previously may have remained as a blue icon).
- ENH-000084892 - LocationDisplayManager can no longer be successfully started if all location settings are disabled on the device; in this case, warnings are logged in Android LogCat (previously, GPS indicator may have displayed a symbol at 0,0 lat,long if GPS sensor was off, and there was no indication that making use of the LocationDisplayManager correctly was not possible).
- BUG-000084156 - If network connections are interrupted prior to executing synchronizeReplica when synchronizing disconnected edits, a synchronizeReplica call that was interrupted during the synchronize process can now successfully be re-attempted using the same sync parameters (previously the edits could no longer be synchronized and subsequent attempts were unsuccessful).
- BUG-000086242 - A new token is generated to access hosted services through an HTTP secured portal when using credentials that have been serialized and deserialized (previously a new token may not have been correctly generated in this case).
- The ArcGIS Runtime SDK for Android library module hosted in the Bintray maven repository contains fixes for the following issues (these issues were not in the local download of the SDK at version 10.2.5).
    - BUG-000087617 - Synchronizing edits to feature service that is hosted in ArcGIS Server 10.2.2 fails with an error in uploading item part XXX when using ArcGIS runtime SDK for Android 10.2.5 available through an Esri maven repository hosted with Bintray.
    - BUG-000084930 - The issue of creating an ArcGISDynamicMapServiceLayer with a map service URL on Android API level 21 crashing the application has been fixed.
    - BUG-000086307 - The problem displaying a service with a spatial reference of 102441 or 102443 in a ArcGIS Runtime SDK for Android application targeting Android 5.0 Lollipop operating system has been fixed.
    - BUG-000087382 - The issue that MapOptions.Center does not work when the device language setting is Finnish has been fixed.
- Culture is now correctly set for Portal queries using the getBasemapGalleryGroupQuery, resulting in correctly localized responses.
- LocationDisplayManager performance has been enhanced to store symbols as Json allowing for a smaller memory footprint (previously, symbols were stored as drawables).
- The GeodatabaseStatusInfo.getJobId method now correctly returns the synchronization job ID.
- When editing a layer with feature templates in a popup, changing a field that changes the feature template will display a dialog prompting the user to either cancel the change, reapply the default template values for all fields, or to keep the current edits (previously the default values would overwrite any other edits previously made to the feature attributes).
- A drawing issue specific to using the Android emulator on systems with Intel graphics cards has been addressed; this no longer causes a crash.

Copyright © 1995-2016 Esri. All rights reserved.

Known limitations

- x86 native *.so files bundled in AAR do not work on android stock x86 emulator. They do work on device. If you need to test on x86 emulator then you should avoid using the AAR bundle, and instead add all the libs manually.

  Note: This is fixed with v10.2.6-1, we encourage everyone to be using v10.2.6 Update 1.

- For Android 5.0 devices, if SwitchBaseMap is called twice in succession, the first call will be cancelled, but the onSwitchBaseMapCompleted callback will not be called back for the cancelled call.
- In some cases when zooming in on a map with a RasterLayer, the data from the previous zoom level may remain in the display.
- A RasterLayer instantiated from FileRasterSource cannot be reprojected automatically. **Workaround:** Call the FileRasterSource.project method before passing the FileRasterSource to the RasterLayer constructor.
- If a geodatabase file has been replaced with different data, an existing Geodatabase instance may still have a reference to the replicaId of the previous deleted geodatabase file.
- When wrap-around is enabled for a map, loading a web map that has an extent with coordinates outside the bounds of the spatial reference can result in the wrap-around failing.
- When uploading attachments to a secure service, 403 errors received from the service may be treated as unauthorized access exceptions.
- When using a FeatureServiceTable, you can edit related records, but relationships between records cannot be edited, created, or deleted.
- It is not possible to use Ownership Based Access Control (OBAC) functionality with a disconnected geodatabase created from an ArcGIS Server version earlier than 10.3. **Workaround:** Use ArcGIS for Server 10.3.
- Geopackage vector feature tables that have a geometry type defined as Geometry or Geometry Collection cannot be read, displayed, or edited.
- Each individual raster file used in a raster layer is limited in size to 4GB; this is a current limitation of the Android platform.
- Callouts that contain WebViews as content, and that are displayed using Callout.animatedShow() or Callout.animatedHide(), may display content poorly—content may appear fuzzy, and callout may flash at end of hide animation. Workaround is to use non-animated alternatives, Callout.hide() and Callout.show(), if affected.
- FeatureServiceTable does not support time-awareness.
- Advanced Symbology doesn't support MIL-2525C and APP 6B dictionaries installed on same device. Workaround this issue by setting the path of one of the resources explicitly, using the MessageProcessor constructor that allows you to set the symbol dictionary path.
- New feature services created from ArcMap from feature classes that have names containing SQL keywords like "desc" and "asc" may cause initialization to fail if used in a GeodatabaseFeatureServiceTable. Workaround is to change feature class names to non-reserved words.
- CalloutPopupWindow may display incorrectly if style with corner curve value of 0 is used.
- When not using a full screen view for the OAuthView, enterprise logins may not work properly if the organization has several redirect pages.
- Geodatabases need to be synced and edited from the same thread, otherwise edits will not be visible.
- Services with a casing mismatch between the field names used in the 'editFieldsInfo' and 'fields' JSON attributes (defined in the service REST endpoint) may not honor editor tracking.
- Rendering fails for layers with class breaks renderer when the class breaks field is SHAPE.AREA or SHAPE.LEN.
- Failure to load webmaps with basemaps that have pop-ups defined.
- WebMap which contains ArcGIS Server .NET 10.1 secured services never loads, and WebMapLayer which should be skipped is not skipped.
- When a Popup has multiple media and one image has invalid URL and a valid URL is linked to this image , tapping on this image in full screen mode won't open the linked page.
- If there are more than one reference layer in a basemap they don't all get shown.
- Popup Pie chart can't be created if one of the values is negative.
- Selection mode 'subtract' does not work correctly when using ArcGISFeatureLayer in snapshot mode.

Copyright © 1995-2016 Esri. All rights reserved.

- The onWebMapLayerAdd event won't be triggered when a feature collection is added to a webmap.
- Unique value renderer does not support field2.
- NIM103321 Chinese and Korean characters may not display correctly in a text symbol if using a default font.

Related topics

Release notes for 10.2.9
Release Notes for 10.2.8
Release Notes for 10.2.7
Release notes for 10.2.5
Release notes for 10.2.4

Copyright © 1995-2016 Esri. All rights reserved.

Release notes for 10.2.5

This topic describes the changes in version 10.2.5 of the ArcGIS Runtime SDK for Android.

Android Studio support

Android Studio from Google is now the official supported Integrated Development Environment (IDE) for creating Android apps. At this release, we support ArcGIS Runtime SDK for Android development with Android Studio.

An Android Archive (AAR) is available from the Bintray Maven central repository, or the ArcGIS Runtime SDK for Android download from developers.arcgis.com; you can reference this AAR as a dependency in your Gradle build script.

Samples are now available for Android Studio, from the samples repository on GitHub.com, or from the SDK download.

Tutorials for creating apps with the new Android Studio are available in the Guide. If you are unfamiliar with Android Studio, you may want to start with Add a map to your app.

Caution: Note that it is not currently possible to use the AAR with x86 devices or emulators—an UnsatisfiedLinkError will be thrown. You can workaround this issue by referencing local copies of the .so and .jar libraries directly from your Android Studio project, instead of building against the AAR which includes these dependencies for you. To find out more about adding a dependency to the ArcGIS Runtime SDK for Android, refer to Install and set up.

Eclipse

The Eclipse plugin is deprecated. From version 10.2.5, Esri no longer provides tools for the Eclipse IDE in the form of a plugin, however, it is possible to continue to develop existing apps using Eclipse by referencing the required .jar and .so files directly from your project.

Read the Developer IDE's topic for more information.

A number of other smaller bug fixes and improvements have also been added.

API additions

- Added GeometryEngine.normalizeCentralMeridian method. This allows geometries created in wrap-around maps to be normalized within the spatial reference bounds.
- New parameterless constructor, and new methods fetchDrawable, getUrl and setUrl on PictureMarkerSymbol for setting PictureMarkerSymbols using URLs of bitmaps. These methods should be used when setting PictureMarkerSymbol bitmaps from a URL instead of a local resource.
- New classes LayerRelationship.Cardinality and LayerRelationship.Role, and new methods getCardinality, getRole, getKeyField and isComposite on LayerRelationship class. These classes are used in layers with related records. For more information, see the API reference.

API deprecations

- PictureMarkerSymbol(String) constructor is deprecated in favor of a combination of the new parameterless constructor and setUrl and fetchDrawable methods. See theAPI reference documentation for PictureMarkerSymbol for more information.

Issues fixed

- BUG-000082775: MapOptions.Center does not work when device language setting is German.
- OutOfMemoryError exception thrown while trying to upload a large attachment(~60 MB) to server during sync.

Known limitations

- x86 native *.so files bundled in AAR do not work on android stock x86 emulator. They do work on device. If you need to test on x86 emulator then you need to should not use the AAR bundle and instead add all the libs manually.
- For Android 5.0 devices, if SwitchBaseMap is called twice in succession, the first call will be cancelled, but the onSwitchBaseMapCompleted callback will not be called back for the cancelled call.
- In some cases when zooming in on a map with a RasterLayer, the data from the previous zoom level may remain in the display.
- A RasterLayer instantiated from FileRasterSource cannot be reprojected automatically. **Workaround:** Call the FileRasterSource.project method before passing the FileRasterSource to the RasterLayer constructor.

Copyright © 1995-2016 Esri. All rights reserved.

- If a geodatabase file has been replaced with different data, an existing Geodatabase instance may still have a reference to the replicaId of the previous deleted geodatabase file.
- When wrap-around is enabled for a map, loading a web map that has an extent with coordinates outside the bounds of the spatial reference can result in the wrap-around failing.
- When uploading attachments to a secure service, 403 errors received from the service may be treated as unauthorized access exceptions.
- When using a FeatureServiceTable, you can edit related records, but relationships between records cannot be edited, created, or deleted.
- It is not possible to use Ownership Based Access Control (OBAC) functionality with a disconnected geodatabase created from an ArcGIS Server version earlier than 10.3. **Workaround:** Use ArcGIS for Server 10.3.
- Geopackage vector feature tables that have a geometry type defined as Geometry or Geometry Collection cannot be read, displayed, or edited.
- Each individual raster file used in a raster layer is limited in size to 4GB; this is a current limitation of the Android platform.
- Callouts that contain WebViews as content, and that are displayed using Callout.animatedShow() or Callout.animatedHide(), may display content poorly—content may appear fuzzy, and callout may flash at end of hide animation. Workaround is to use non-animated alternatives, Callout.hide() and Callout.show(), if affected.
- FeatureServiceTable does not support time-awareness.
- Advanced Symbology doesn't support MIL-2525C and APP 6B dictionaries installed on same device. Workaround this issue by setting the path of one of the resources explicitly, using the MessageProcessor constructor that allows you to set the symbol dictionary path.
- New feature services created from ArcMap from feature classes that have names containing SQL keywords like "desc" and "asc" may cause initialization to fail if used in a GeodatabaseFeatureServiceTable. Workaround is to change feature class names to non-reserved words.
- CalloutPopupWindow may display incorrectly if style with corner curve value of 0 is used.
- When not using a full screen view for the OAuthView, enterprise logins may not work properly if the organization has several redirect pages.
- Geodatabases need to be synced and edited from the same thread, otherwise edits will not be visible.
- Services with a casing mismatch between the field names used in the 'editFieldsInfo' and 'fields' JSON attributes (defined in the service REST endpoint) may not honor editor tracking.
- Rendering fails for layers with class breaks renderer when the class breaks field is SHAPE.AREA or SHAPE.LEN.
- Failure to load webmaps with basemaps that have popups defined.
- WebMap which contains ArcGIS Server .NET 10.1 secured services never loads, and WebMapLayer which should be skipped is not skipped.
- When a Popup has multiple media and one image has invalid URL and a valid URL is linked to this image , tapping on this image in full screen mode won't open the linked page.
- If there are more than one reference layer in a basemap they don't all get shown.
- Popup Pie chart can't be created if one of the values is negative.
- Selection mode 'subtract' does not work correctly when using ArcGISFeatureLayer in snapshot mode.
- The onWebMapLayerAdd event won't be triggered when a feature collection is added to a webmap.
- Unique value renderer does not support field2.
- NIM103321 Chinese and Korean characters may not display correctly in a text symbol if using a default font.

Related topics

Release notes for 10.2.9
Release Notes for 10.2.8
Release Notes for 10.2.7
Release notes for 10.2.6
Release notes for 10.2.4

Copyright © 1995-2016 Esri. All rights reserved.

Release notes for 10.2.4

This topic describes the changes in version 10.2.4 of the ArcGIS Runtime SDK for Android.

If you are using Eclipse or ADT as your development environment you can use the Upgrade ArcGIS projects tool, provided with the SDK, to update your ArcGIS projects to the latest installed version.

Minimum Android API level support

At this release, we have updated the minimum supported Android platform version to Android platform version 4.0.1 (API level 14).

Direct local support for vector and raster formats

Local shapefiles, KML files, and geopackages are now supported for map display. Feature layers can now display data from a `ShapefileFeatureTable`, itself created from the path to a shapefile (.shp) on the local machine. Feature data from a GeoPackage, an Open Geospatial Consortium data format, can also be displayed in a feature layer, after first creating a `GeopackageFeatureTable`. The `KMLLayer` class in `com.esri.android.map.ogc.kml` supports the ability to work with local and remote (via a URL) KML files.

You can also now display local raster data files. Refer to the `com.esri.core.raster` package, and the `RasterLayer` class in the `com.esri.android.map` package for more information. Supported formats are:

- ASRP/USRP
- CIB1,5,10
- DTED0, 1, 2
- GeoPackage
- GeoTIFF
- HFA
- HRE
- IMG
- JPEG
- JPEG2000
- NITF
- PNG
- RPF
- SRTM1, 2

Note: Rasters stored in Geodatabases are not supported

Spatial analysis functions (BETA)

New local spatial analysis functions are available in beta in this release, using fast GPU-based processing. Available functions are:

- Line of sight
- Viewshed

Refer to the new com.esri.core.analysis package for more information.

Note: Spatial analysis is not currently usable on x86 devices.

Geodatabase feature service table

At this release we have continued to improved the API support for applications that can work both online and offline using a single API, using the `GeodatabaseFeatureServiceTable`.

The `GeodatabaseFeatureServiceTable` class now supports:

- Editor tracking functionality
- Creating a GeodatabaseFeatureServiceTable from a nonspatial table (as opposed to a spatial layer) from a service
- Performing related table queries

The `GeodatabaseFeatureServiceTable` currently does not support time-aware data.

Copyright © 1995-2016 Esri. All rights reserved.

For more information, see the Layer types topic.

WMTS support

WMTS services are now supported, by using the new `WMTSLayer` class.

Web map enhancements

Support for web maps with image service layers, and WMTS services.

Offline API quality improvements

A number of quality improvements have been made to APIs involving offline data.

Map behavior and performance improvements

A new zoom gesture on the MapView is available, double-tap-and-drag. By default, this gesture is used for single-pointer zooming. A double-tap gesture followed by an upwards vertical drag gesture zooms the map in; double-tap followed by downwards vertical drag gesture zooms out. Note that the pointer must not be released after the second tap of the double-tap; the pointer should remain on the surface from the second tap, while performing the zoom in and/or out. This gesture can be overridden—see the API additions section below for information about the API additions for this gesture. The speed of the zoom effect is determined by the distance the pointer has moved from the original tap event. Only vertical movement is considered; horizontal movement is ignored.

A number of performance improvements have been made to various areas of the API, including increasing the speed of map animations to be consistent with other APIs and improving the performance of some specific cases of panning the map interactively.

See also the new `setBufferEnabled` method described in the API Additions section.

Callout enhancements

- By default the size of the callout window will stretch to accommodate the content that is to appear inside it, potentially becoming almost as large as the entire MapView. The maximum width and height are now customizable using either absolute pixels or density-independent pixels.
- The maximum width/height of the callout window is now passed down to the content views inside the callout, to help these views size themselves correctly, improving the display of more complex callout content.
- Improved behavior of animated show/hide and floating anchor.

API breaking changes

- AttachmentManager.retrieveAttachmentInfos behavioral change: The attachmentListener now calls back on worker thread while previously called back on UI thread.

API additions

- Added MapOnTouchListener.onLongPressUp event. This simplifies the magnifier workflow so that users only need to override this event in order to get notified when the magnifier is released.
- Added onDoubleTapDrag and onDoubleTapDragUp events to the MapOnTouchListener; .
- Added UserCredentials.clearCachedCredentials(String url) method. This is useful because the Apache HttpClient will cache credentials for HTTP based security types (basic, digest, ntlm, iwa), there were some issues where someone would sign out and then go to sign in as someone else, but they were already authenticated with the cached credentials. This method provides a way to clear any cached credentials for a given URL.
- Added a new MapView constructor to support offline basemaps. This is to allow basemap switching for a Webmap (online or offline) and use a TPK as the basemap.
- Added new MapView.switchBasemap method.
- Added async methods createPopupInfo, fetchPopupInfo, and fetchLayerServiceInfo to ArcGISTiledMapServiceLayer and ArcGISDynamicMapServiceLayer. Also added simple getter for getLayerServiceInfo to the ArcGISDynamicMapServiceLayer.
- Added get/setDefinitionExpression methods on a FeatureLayer to filter out features to be displayed.
- Callout class: added new methods to get/set the maximum width/height of callouts and callout offsets using density-independent pixels. Also added setPassTouchEventsToMapView and isPassTouchEventsToMapView methods to control how events are propogated to child views. The CalloutStyle class also gains new methods to get/set maximum width/height and corner curve size using density-independent pixels.

Copyright © 1995-2016 Esri. All rights reserved.

- Added methods getTimeExtent, getTimeInfo, getTimeInterval and isTimeAware to ArcGISImageServiceLayer to support time-aware scenarios.
- New setBufferEnabled method onTiledLayer allows the ability to turn off buffering extra band of tiles being fetched outside the MapView (in case of multiple tiled services). This results in faster rendering.
- Added the new package com.esri.android.map.ogc.kml containing the KMLLayer class, for working with both remote and local KML files.

API deprecations

- The MapGestureDetector class and OnGestureListener interface have been deprecated since they are intended for internal use only; use the MapOnTouchListener or other listeners in the com.esri.android.map.event package instead.
- Deprecated the synchronous createPopupInfo and getPopupInfo in ArcGISTiledMapServiceLayer and ArcGISDynamicMapServiceLayer; use the alternative methods with callback parameters instead.
- Deprecated the fetchLayerInfo method on the ArcGISPopupInfo class; refer to the new alternative methods on the ArcGISTiledMapServiceLayer and ArcGISDynamicMapServiceLayer classes instead.
- Deprecated CalloutPopupWindow in favor of Callout (which has been enhanced as described in the section above).
- Deprecated the get and set methods for title text attributes in CalloutStyle (for example, get/setTitleTextColor), as callout titles were removed in a previous release.
- Deprecated the KMLLayer class in the com.esri.android.map.ogc package; this is superseded by the new KMLLayer class in the com.esri.android.map.ogc.kml package.

New and updated in the SDK

The SDK includes a number of new samples (GeoJSONEarthquakeMap, ClassBreaksRenderer, UniqueValueRenderer, and DynamicLayerRenderer).

All samples have been updated to use minimum SDK version number 15, and many of the samples have also been updated to use a new fragment-based architecture, more modern user interface elements, and to demonstrate current best practices and address bugs.

Updated guide documentation on APIs for working with portals (ArcGIS Online and ArcGIS for Portal) has been added. See Access the ArcGIS Platform, Access content, and Search for content.

There are also new guide documentation topics giving guidance on understanding and using spatial references.

Issues fixed

- NIM102062: Local tiled layers are not completely rendered in full extent on a Panasonic ToughPad FZ-A1 device.
- NIM104756: Basemap does not always load after performing geocoding or routing.
- NIM102514: The OnDragPointerUp event listener does not get fired consistently.
- NIM104263: When editing a hosted feature service in a web map an "Update failed" error occurs when using cellular service and leaving the Collector for ArcGIS application idling in between edits.
- NIM102260: Collector for ArcGIS (Android) incorrectly rounds off the values in double field.

Known limitations

- When using a FeatureServiceTable, you can edit related records, but relationships between records cannot be edited, created, or deleted.
- It is not possible to use Ownership Based Access Control (OBAC) functionality with a disconnected geodatabase created from an ArcGIS Server version earlier than 10.3. **Workaround:** Use ArcGIS for Server 10.3.
- Geopackage vector feature tables that have a geometry type defined as Geometry or Geometry Collection cannot be read, displayed, or edited.
- Each individual raster file used in a raster layer is limited in size to 4GB; this is a current limitation of the Android platform.
- Callouts that contain WebViews as content, and that are displayed using Callout.animatedShow() or Callout.animatedHide(), may display content poorly—content may appear fuzzy, and callout may flash at end of hide animation. Workaround is to use non-animated alternatives, Callout.hide() and Callout.show(), if affected.
- FeatureServiceTable does not support time-awareness.

Copyright © 1995-2016 Esri. All rights reserved.

- Advanced Symbology doesn't support MIL-2525C and APP 6B dictionaries installed on same device. Workaround this issue by setting the path of one of the resources explicitly, using the MessageProcessor constructor that allows you to set the symbol dictionary path.
- New feature services created from ArcMap from feature classes that have names containing SQL keywords like "desc" and "asc" may cause initialization to fail if used in a GeodatabaseFeatureServiceTable. Workaround is to change feature class names to non-reserved words.
- CalloutPopupWindow may display incorrectly if style with corner curve value of 0 is used.
- When not using a full screen view for the OAuthView, enterprise logins may not work properly if the organization has several redirect pages.
- Drawable.createFromStream() throws NetworkOnMainThreadException while constructing PictureMarkerSymbol from a URL.
- OutOfMemoryError exception thrown while trying to upload a large attachment(~60 MB) to server during sync.
- Geodatabases need to be synced and edited from the same thread, otherwise edits will not be visible.
- Services with a casing mismatch between the field names used in the 'editFieldsInfo' and 'fields' JSON attributes (defined in the service REST endpoint) may not honor editor tracking.
- Rendering fails for layers with class breaks renderer when the class breaks field is SHAPE.AREA or SHAPE.LEN.
- Failure to load webmaps with basemaps that have popups defined.
- WebMap which contains ArcGIS Server .NET 10.1 secured services never loads, and WebMapLayer which should be skipped is not skipped.
- When a Popup has multiple media and one image has invalid URL and a valid URL is linked to this image , tapping on this image in full screen mode won't open the linked page.
- If there are more than one reference layer in a basemap they don't all get shown.
- Popup Pie chart can't be created if one of the values is negative.
- Selection mode 'subtract' does not work correctly when using ArcGISFeatureLayer in snapshot mode.
- The onWebMapLayerAdd event won't be triggered when a feature collection is added to a webmap.
- Unique value renderer does not support field2.
- Chinese characters won't work in text symbol.

Related topics

Release notes for 10.2.9
Release Notes for 10.2.8
Release Notes for 10.2.7
Release notes for 10.2.6
Release notes for 10.2.5

Copyright © 1995-2016 Esri. All rights reserved.

Essential vocabulary

analysis

A systematic examination of a problem that provides new information. ArcGIS Runtime SDKs support many types of analysis, from simple geometry-based analysis to advanced spatial analysis. You can also string analysis operations together to build models for analysis. For details on analysis and model building, see geoprocessing.

API

Application programming interface. A specification that allows developers to create applications.

basemap

A map layer that helps orient the user of the map. Typically it shows roads and buildings, is non-editable, and is a tiled layer. For a description of basemaps and other layer types, see Layer types.

cache

For details, see tile cache.

Client ID

In ArcGIS Runtime SDKs, an identifier you associate with the app you build (one Client ID per app). You get a Client ID by signing into developers.arcgis.com. For details, see License your app.

connected

In ArcGIS Runtime SDKs, the state of having a network connection to one or more of the following: ArcGIS for Server, Portal for ArcGIS, or ArcGIS Online.

coordinate

A value that denotes the location of a vertex. Coordinates may represent 2D (x,y) or 3D (x,y,z) space. The meaning of the x,y,z-coordinates is determined by a coordinate system. The vertices and coordinate system together allow your app to translate a real-world object from its location on the Earth to its location on your map. For details, see Geometry contents in the Geometry operations topic.

coordinate system

A reference framework consisting of a set of points, lines, and/or surfaces, and a set of rules, used to define the positions of points in space in two or three dimensions. For details, see Geometry contents in the Geometry operations topic. Also known as map projections.

device

In ArcGIS Runtime SDKs, nearly any kind of computer, including desktops, mobile phones and devices, laptops, smartwatches, and large mainframes.

disconnected

For details, see offline.

feature

A representation of a real-world object on a map, such as a building, a river, or a county. A feature may include attributes and a geometry . For more information, see Features and graphics.

geodatabase feature

A representation of a real-world object persisted in a geodatabase. When displayed, it is displayed in a feature layer. GeodatabaseFeatures can have geometry and attributes. GeodatabaseFeatures are associated with a feature table, with which they share a common schema.

geometry

The combination of location and shape for a real-world object or for a geometric construct such as an area of interest or a buffer area around an object. Geometry is the fundamental element for performing spatial analysis. For information on analysis operations such as clip, buffer, and intersect, see Geometry operations.

Copyright © 1995-2016 Esri. All rights reserved.

GeoPackage

A single SQLite file (.gpkg) that conforms to OGC GeoPackage specification (http://www.opengeospatial.org/standards/geopackage) that defines GeoPackages for direct use of vector geospatial features and/or tile matrix sets.

geometry

The combination of location and shape for a real-world object or for a geometric construct such as an area of interest or a buffer area around an object. Geometry is the fundamental element for performing spatial analysis. For information on analysis operations such as clip, buffer, and intersect, see Geometry operations.

geoprocessing

A GIS operation used to manipulate data. A typical geoprocessing operation takes an input dataset, performs an operation on that dataset, and returns the result of the operation as an output dataset. Common geoprocessing operations include geographic feature overlay, feature selection and analysis, topology processing, raster processing, and data conversion. Geoprocessing allows for definition, management, and analysis of information used to form decisions.

You can use geoprocessing tools to chain together a sequence of operations, feeding the output of one tool into another tool, to automate your work, solve complex problems, or perform batch processing. Sequencing operations like this are referred to as model building.

Your app can consume online geoprocessing services by using the Geoprocessor class. See the Viewshed sample for an example of working with a geoprocessing service..

graphic

A representation of a real-world object stored in memory. When displayed, it is displayed in a graphics layer. Graphics exist while the app is running, and therefore are used often for temporary features. Graphics can have geometry and attributes. Graphics are not associated with a feature table. For more information, see Features and graphics.

license code

A string of characters that you add to your project, as described in License your app to unlock certain capabilities on the deployment device.

map cache

For details, see tile cache.

mobile app

In ArcGIS Runtime SDKs, a software application that operates on a mobile device. A mobile device is typically a mobile phone or tablet, such as an iPhone, iPad, and an Android phone and tablet. Apps for custom-purpose handhelds, such as Windows Mobile devices, and car navigation systems are not included unless otherwise specified.

mobile device

In ArcGIS Runtime SDKs, a mobile phone or tablet, such as an iPhone, iPad, and an Android phone and tablet. Custom-purpose handheld devices, such as Windows Mobile devices, and car navigation systems are not included unless otherwise specified.

offline

In ArcGIS Runtime SDKs, the state of having no network connection to any of the following: ArcGIS for Server, ArcGIS Online, or Portal for ArcGIS.

operational layer

A map layer that users can interact with. Typically, an operational layer is vector-based and is editable by users. However, it can also be tiled data that can be queried against. See Maps and layers for more information.

package

A set of items, such as a map and its referenced data, that ArcGIS for Desktop bundles into a single file on your local machine so that the items can be easily transfered from user to user or provisioned onto a device. Especially useful for disconnected apps.

Copyright © 1995-2016 Esri. All rights reserved.

raster

A matrix of cells (or pixels) organized into rows and columns (or a grid) where each cell contains a value representing information, such as temperature. Rasters are digital aerial photographs, imagery from satellites, digital pictures, or even scanned maps. For general information on rasters, see What is raster data? in ArcGIS Help. For information on how to add rasters to your ArcGIS Runtime app, see Add raster data in this guide.

renderer

A mechanism that defines how data appears when displayed. See Working with symbols and renderers for more information.

Runtime core

Client files (.dll or .so) that must be deployed with all ArcGIS Runtime apps. For Java, Qt, and WPF, you can use the Deployment Builder wizard to choose which Local Server capabilities you want to deploy so they can be bundled with the Runtime core files for you.

SDK

Software development kit. A collection of documentation, sample code, and sample apps to help a developer use an API to build apps.

shapefile

A vector data storage format for storing the location, shape, and attributes of geographic features. A shapefile is stored in a set of related files.

side-by-side development

A capability that lets you develop with different versions of the same SDK on the same machine.

tile

An image, often a graphics file (for example, a .jpg file) and typically stored in a directory known as a cache. The image is part of a set of tiles that, conceptually, are pieces of a bigger map. How the tiles fit into the bigger map, along with other information, is defined in a tiling scheme. Two tile categories are:

- Tiles in dynamic layers are created on-the-fly and can be stored in a cache on the client machine or on the server machine. Which tiles are created in this scenario depends on where the user pans and zooms, so technically, the tiles may not make up a complete bigger map when put together.
- Tiles in tile cache layers are created before users view the map, often by a developer or GIS data administrator. These tiles are known as pre-processed tiles.

Also see tile cache.

tile cache

A directory that contains tiles of a map extent at specific levels. The directory can be local to a desktop app or to a client app in a client/server configuration. Also see tile.

tiled layer

A tiled layer is a layer comprised of images that when put together make up a bigger image of a map. Tiles are generated before they're displayed for the user. This differs from a dynamic layer, which generates the images as they are requested by the user, or on-the-fly. Tiled layers are often used for basemaps.

tile package

Tile packages (.tpk files) make is easy to share complete map documents with others. A tile package contains a map and the tile cache of the data contained within it, packaged into one convenient, portable file. Tile packages can be used for easy sharing of cached maps between colleagues in a workgroup, across departments in an organization, or with any other ArcGIS user using ArcGIS Online. Tile packages are ideal in disconnected environments where access to local data is required.

toolkit

A set of application components to assist rapid application development. The application toolkit components are contained in the toolkit .jar. See Application toolkit for ArcGIS Android for more information.

Copyright © 1995-2016 Esri. All rights reserved.

vertex

A point that stands alone or makes up part of a geometry. Vertices that make up a geometry may be connected, one to the next, in a linear order. For more information on vertices and how they're stored in geometries, see Geometry contents in the Geometry operations topic.

viewshed

The locations visible from one or more specified points or lines. Viewshed maps are useful for such applications as finding well-exposed places for communication towers, or hidden places for parking lots.

USB flash drive

A removable thumb-sized device that provides storage space. USB stands for universal serial bus, an interface compatible with most computers. Also known as thumb drive, flash drive, USB drive, and memory stick.

Copyright © 1995-2016 Esri. All rights reserved.

Geographic coordinate systems

Well-known ID	Name	Well-known text
3819	GCS_HD1909	GEOGCS["GCS_HD1909",DATUM["D_Hungarian_Datum_1909",SPHEROID["Bessel_1841",6377397.155,299.1528
3821	GCS_TWD_1967	GEOGCS["GCS_TWD_1967",DATUM["D_TWD_1967",SPHEROID["GRS_1967_Truncated",6378160.0,298.25]],PR
3824	GCS_TWD_1997	GEOGCS["GCS_TWD_1997",DATUM["D_TWD_1997",SPHEROID["GRS_1980",6378137.0,298.257222101]],PRIM
3889	GCS_IGRS	GEOGCS["GCS_IGRS",DATUM["D_Iraqi_Geospatial_Reference_System",SPHEROID["GRS_1980",6378137.0,298
3906	GCS_MGI_1901	GEOGCS["GCS_MGI_1901",DATUM["D_MGI_1901",SPHEROID["Bessel_1841",6377397.155,299.1528128]],PRIM
4001	GCS_Airy_1830	GEOGCS["GCS_Airy_1830",DATUM["D_Airy_1830",SPHEROID["Airy_1830",6377563.396,299.3249646]],PRIMEM[
4002	GCS_Airy_Modified	GEOGCS["GCS_Airy_Modified",DATUM["D_Airy_Modified",SPHEROID["Airy_Modified",6377340.189,299.3249646]
4003	GCS_Australian	GEOGCS["GCS_Australian",DATUM["D_Australian",SPHEROID["Australian",6378160.0,298.25]],PRIMEM["Greenw
4004	GCS_Bessel_1841	GEOGCS["GCS_Bessel_1841",DATUM["D_Bessel_1841",SPHEROID["Bessel_1841",6377397.155,299.1528128]],P
4005	GCS_Bessel_Modified	GEOGCS["GCS_Bessel_Modified",DATUM["D_Bessel_Modified",SPHEROID["Bessel_Modified",6377492.018,299.1
4006	GCS_Bessel_Namibia	GEOGCS["GCS_Bessel_Namibia",DATUM["D_Bessel_Namibia",SPHEROID["Bessel_Namibia",6377483.865280418
4007	GCS_Clarke_1858	GEOGCS["GCS_Clarke_1858",DATUM["D_Clarke_1858",SPHEROID["Clarke_1858",6378293.645208759,294.2606
4008	GCS_Clarke_1866	GEOGCS["GCS_Clarke_1866",DATUM["D_Clarke_1866",SPHEROID["Clarke_1866",6378206.4,294.9786982]],PRI
4009	GCS_Clarke_1866_Michigan	GEOGCS["GCS_Clarke_1866_Michigan",DATUM["D_Clarke_1866_Michigan",SPHEROID["Clarke_1866_Michigan"
4010	GCS_Clarke_1880_Benoit	GEOGCS["GCS_Clarke_1880_Benoit",DATUM["D_Clarke_1880_Benoit",SPHEROID["Clarke_1880_Benoit",637830
4011	GCS_Clarke_1880_IGN	GEOGCS["GCS_Clarke_1880_IGN",DATUM["D_Clarke_1880_IGN",SPHEROID["Clarke_1880_IGN",6378249.2,293
4012	GCS_Clarke_1880_RGS	GEOGCS["GCS_Clarke_1880_RGS",DATUM["D_Clarke_1880_RGS",SPHEROID["Clarke_1880_RGS",6378249.14
4013	GCS_Clarke_1880_Arc	GEOGCS["GCS_Clarke_1880_Arc",DATUM["D_Clarke_1880_Arc",SPHEROID["Clarke_1880_Arc",6378249.145,29
4014	GCS_Clarke_1880_SGA	GEOGCS["GCS_Clarke_1880_SGA",DATUM["D_Clarke_1880_SGA",SPHEROID["Clarke_1880_SGA",6378249.2,2
4015	GCS_Everest_Adj_1937	GEOGCS["GCS_Everest_Adj_1937",DATUM["D_Everest_Adj_1937",SPHEROID["Everest_Adjustment_1937",6377
4016	GCS_Everest_def_1967	GEOGCS["GCS_Everest_def_1967",DATUM["D_Everest_Def_1967",SPHEROID["Everest_Definition_1967",637729
4018	GCS_Everest_Modified	GEOGCS["GCS_Everest_Modified",DATUM["D_Everest_Modified",SPHEROID["Everest_1830_Modified",6377304.0
4019	GCS_GRS_1980	GEOGCS["GCS_GRS_1980",DATUM["D_GRS_1980",SPHEROID["GRS_1980",6378137.0,298.257222101]],PRIME
4020	GCS_Helmert_1906	GEOGCS["GCS_Helmert_1906",DATUM["D_Helmert_1906",SPHEROID["Helmert_1906",6378200.0,298.3]],PRIME
4021	GCS_Indonesian	GEOGCS["GCS_Indonesian",DATUM["D_Indonesian",SPHEROID["Indonesian",6378160.0,298.247]],PRIMEM["Gre
4022	GCS_International_1924	GEOGCS["GCS_International_1924",DATUM["D_International_1924",SPHEROID["International_1924",6378388.0,2
4023	GCS_MOLDREF99	GEOGCS["GCS_MOLDREF99",DATUM["D_MOLDREF99",SPHEROID["GRS_1980",6378137.0,298.257222101]],P
4024	GCS_Krasovsky_1940	GEOGCS["GCS_Krasovsky_1940",DATUM["D_Krasovsky_1940",SPHEROID["Krasovsky_1940",6378245.0,298.3]],
4025	GCS_NWL_9D	GEOGCS["GCS_NWL_9D",DATUM["D_NWL_9D",SPHEROID["NWL_9D",6378145.0,298.25]],PRIMEM["Greenwich
4027	GCS_Plessis_1817	GEOGCS["GCS_Plessis_1817",DATUM["D_Plessis_1817",SPHEROID["Plessis_1817",6376523.0,308.64]],PRIMEM
4028	GCS_Struve_1860	GEOGCS["GCS_Struve_1860",DATUM["D_Struve_1860",SPHEROID["Struve_1860",6378298.3,294.73]],PRIMEM["'
4029	GCS_War_Office	GEOGCS["GCS_War_Office",DATUM["D_War_Office",SPHEROID["War_Office",6378300.0,296.0]],PRIMEM["Green
4031	GCS_GEM_10C	GEOGCS["GCS_GEM_10C",DATUM["D_GEM_10C",SPHEROID["GEM_10C",6378137.0,298.257223563]],PRIMEM
4032	GCS_OSU_86F	GEOGCS["GCS_OSU_86F",DATUM["D_OSU_86F",SPHEROID["OSU_86F",6378136.2,298.257223563]],PRIMEM[
4033	GCS_OSU_91A	GEOGCS["GCS_OSU_91A",DATUM["D_OSU_91A",SPHEROID["OSU_91A",6378136.3,298.257223563]],PRIMEM[
4034	GCS_Clarke_1880	GEOGCS["GCS_Clarke_1880",DATUM["D_Clarke_1880",SPHEROID["Clarke_1880",6378249.144808011,293.4663
4035	GCS_Sphere	GEOGCS["GCS_Sphere",DATUM["D_Sphere",SPHEROID["Sphere",6371000.0,0.0]],PRIMEM["Greenwich",0.0],UN
4036	GCS_GRS_1967	GEOGCS["GCS_GRS_1967",DATUM["D_GRS_1967",SPHEROID["GRS_1967",6378160.0,298.247167427]],PRIME
4042	GCS_Everest_1830	GEOGCS["GCS_Everest_1830",DATUM["D_Everest_1830",SPHEROID["Everest_1830",6377299.36,300.8017]],PR
4044	GCS_Everest_def_1962	GEOGCS["GCS_Everest_def_1962",DATUM["D_Everest_Def_1962",SPHEROID["Everest_Definition_1962",637730
4045	GCS_Everest_def_1975	GEOGCS["GCS_Everest_def_1975",DATUM["D_Everest_Def_1975",SPHEROID["Everest_Definition_1975",637729
4046	GCS_RGRDC_2005	GEOGCS["GCS_RGRDC_2005",DATUM["D_Reseau_Geodesique_de_la_RDC_2005",SPHEROID["GRS_1980",63
4047	GCS_Sphere_GRS_1980_Authalic	GEOGCS["GCS_Sphere_GRS_1980_Authalic",DATUM["D_Sphere_GRS_1980_Authalic",SPHEROID["Sphere_GR
4052	GCS_Sphere_Clarke_1866_Authalic	GEOGCS["GCS_Sphere_Clarke_1866_Authalic",DATUM["D_Sphere_Clarke_1866_Authalic",SPHEROID["Sphere_
4053	GCS_Sphere_International_1924_Authalic	GEOGCS["GCS_Sphere_International_1924_Authalic",DATUM["D_Sphere_International_1924_Authalic",SPHEROI
4054	GCS_Hughes_1980	GEOGCS["GCS_Hughes_1980",DATUM["D_Hughes_1980",SPHEROID["Hughes_1980",6378273.0,298.279411123
4075	GCS_SREF98	GEOGCS["GCS_SREF98",DATUM["D_Serbian_Reference_Network_1998",SPHEROID["GRS_1980",6378137.0,29
4081	GCS_REGCAN95	GEOGCS["GCS_REGCAN95",DATUM["D_Red_Geodesica_de_Canarias_1995",SPHEROID["GRS_1980",6378137
4120	GCS_Greek	GEOGCS["GCS_Greek",DATUM["D_Greek",SPHEROID["Bessel_1841",6377397.155,299.1528128]],PRIMEM["Gre
4121	GCS_GGRS_1987	GEOGCS["GCS_GGRS_1987",DATUM["D_GGRS_1987",SPHEROID["GRS_1980",6378137.0,298.257222101]],PR

Copyright © 1995-2016 Esri. All rights reserved.

4122	GCS_ATS_1977	GEOGCS["GCS_ATS_1977",DATUM["D_ATS_1977",SPHEROID["ATS_1977",6378135.0,298.257]],PRIMEM["Gree
4123	GCS_KKJ	GEOGCS["GCS_KKJ",DATUM["D_KKJ",SPHEROID["International_1924",6378388.0,297.0]],PRIMEM["Greenwich",
4124	GCS_RT_1990	GEOGCS["GCS_RT_1990",DATUM["D_RT_1990",SPHEROID["Bessel_1841",6377397.155,299.1528128]],PRIMEM
4125	GCS_Samboja	GEOGCS["GCS_Samboja",DATUM["D_Samboja",SPHEROID["Bessel_1841",6377397.155,299.1528128]],PRIMEM
4127	GCS_Tete	GEOGCS["GCS_Tete",DATUM["D_Tete",SPHEROID["Clarke_1866",6378206.4,294.9786982]],PRIMEM["Greenwich
4128	GCS_Madzansua	GEOGCS["GCS_Madzansua",DATUM["D_Madzansua",SPHEROID["Clarke_1866",6378206.4,294.9786982]],PRIME
4129	GCS_Observatario	GEOGCS["GCS_Observatario",DATUM["D_Observatario",SPHEROID["Clarke_1866",6378206.4,294.9786982]],PRI
4130	GCS_Moznet	GEOGCS["GCS_Moznet",DATUM["D_Moznet",SPHEROID["WGS_1984",6378137.0,298.257223563]],PRIMEM["Gr
4131	GCS_Indian_1960	GEOGCS["GCS_Indian_1960",DATUM["D_Indian_1960",SPHEROID["Everest_Adjustment_1937",6377276.345,300
4132	GCS_FD_1958	GEOGCS["GCS_FD_1958",DATUM["D_FD_1958",SPHEROID["Clarke_1880_RGS",6378249.145,293.465]],PRIME
4133	GCS_Estonia_1992	GEOGCS["GCS_Estonia_1992",DATUM["D_Estonia_1992",SPHEROID["GRS_1980",6378137.0,298.257222101]],P
4134	GCS_PDO_1993	GEOGCS["GCS_PDO_1993",DATUM["D_PDO_1993",SPHEROID["Clarke_1880_RGS",6378249.145,293.465]],PRI
4135	GCS_Old_Hawaiian	GEOGCS["GCS_Old_Hawaiian",DATUM["D_Old_Hawaiian",SPHEROID["Clarke_1866",6378206.4,294.9786982]],P
4136	GCS_St_Lawrence_Island	GEOGCS["GCS_St_Lawrence_Island",DATUM["D_St_Lawrence_Island",SPHEROID["Clarke_1866",6378206.4,294
4137	GCS_St_Paul_Island	GEOGCS["GCS_St_Paul_Island",DATUM["D_St_Paul_Island",SPHEROID["Clarke_1866",6378206.4,294.9786982]]
4138	GCS_St_George_Island	GEOGCS["GCS_St_George_Island",DATUM["D_St_George_Island",SPHEROID["Clarke_1866",6378206.4,294.978
4139	GCS_Puerto_Rico	GEOGCS["GCS_Puerto_Rico",DATUM["D_Puerto_Rico",SPHEROID["Clarke_1866",6378206.4,294.9786982]],PRIM
4141	GCS_Israel	GEOGCS["GCS_Israel",DATUM["D_Israel",SPHEROID["GRS_1980",6378137.0,298.257222101]],PRIMEM["Greenw
4142	GCS_Locodjo_1965	GEOGCS["GCS_Locodjo_1965",DATUM["D_Locodjo_1965",SPHEROID["Clarke_1880_RGS",6378249.145,293.465
4143	GCS_Abidjan_1987	GEOGCS["GCS_Abidjan_1987",DATUM["D_Abidjan_1987",SPHEROID["Clarke_1880_RGS",6378249.145,293.465
4144	GCS_Kalianpur_1937	GEOGCS["GCS_Kalianpur_1937",DATUM["D_Kalianpur_1937",SPHEROID["Everest_Adjustment_1937",6377276.3
4145	GCS_Kalianpur_1962	GEOGCS["GCS_Kalianpur_1962",DATUM["D_Kalianpur_1962",SPHEROID["Everest_Definition_1962",6377301.243
4146	GCS_Kalianpur_1975	GEOGCS["GCS_Kalianpur_1975",DATUM["D_Kalianpur_1975",SPHEROID["Everest_Definition_1975",6377299.151
4147	GCS_Hanoi_1972	GEOGCS["GCS_Hanoi_1972",DATUM["D_Hanoi_1972",SPHEROID["Krasovsky_1940",6378245.0,298.3]],PRIMEM
4148	GCS_Hartebeesthoek_1994	GEOGCS["GCS_Hartebeesthoek_1994",DATUM["D_Hartebeesthoek_1994",SPHEROID["WGS_1984",6378137.0,2
4149	GCS_CH1903	GEOGCS["GCS_CH1903",DATUM["D_CH1903",SPHEROID["Bessel_1841",6377397.155,299.1528128]],PRIMEM["]
4150	GCS_CH1903+	GEOGCS["GCS_CH1903+",DATUM["D_CH1903+",SPHEROID["Bessel_1841",6377397.155,299.1528128]],PRIME
4151	GCS_Swiss_TRF_1995	GEOGCS["GCS_Swiss_TRF_1995",DATUM["D_Swiss_TRF_1995",SPHEROID["GRS_1980",6378137.0,298.25722
4152	GCS_North_American_1983_HARN	GEOGCS["GCS_North_American_1983_HARN",DATUM["D_North_American_1983_HARN",SPHEROID["GRS_198
4153	GCS_Rassadiran	GEOGCS["GCS_Rassadiran",DATUM["D_Rassadiran",SPHEROID["International_1924",6378388.0,297.0]],PRIMEM
4154	GCS_European_1950_ED77	GEOGCS["GCS_European_1950_ED77",DATUM["D_European_1950_ED77",SPHEROID["International_1924",637
4155	GCS_Dabola_1981	GEOGCS["GCS_Dabola_1981",DATUM["D_Dabola_1981",SPHEROID["Clarke_1880_IGN",6378249.2,293.4660212
4156	GCS_S_JTSK	GEOGCS["GCS_S_JTSK",DATUM["D_S_JTSK",SPHEROID["Bessel_1841",6377397.155,299.1528128]],PRIMEM["]
4157	GCS_Mount_Dillon	GEOGCS["GCS_Mount_Dillon",DATUM["D_Mount_Dillon",SPHEROID["Clarke_1858",6378293.645208759,294.260
4158	GCS_Naparima_1955	GEOGCS["GCS_Naparima_1955",DATUM["D_Naparima_1955",SPHEROID["International_1924",6378388.0,297.0]
4159	GCS_European_Libyan_Datum_1979	GEOGCS["GCS_European_Libyan_Datum_1979",DATUM["D_European_Libyan_1979",SPHEROID["International_
4160	GCS_Chos_Malal_1914	GEOGCS["GCS_Chos_Malal_1914",DATUM["D_Chos_Malal_1914",SPHEROID["International_1924",6378388.0,29
4161	GCS_Pampa_del_Castillo	GEOGCS["GCS_Pampa_del_Castillo",DATUM["D_Pampa_del_Castillo",SPHEROID["International_1924",6378388.
4162	GCS_Korean_Datum_1985	GEOGCS["GCS_Korean_Datum_1985",DATUM["D_Korean_Datum_1985",SPHEROID["Bessel_1841",6377397.155
4163	GCS_Yemen_NGN_1996	GEOGCS["GCS_Yemen_NGN_1996",DATUM["D_Yemen_NGN_1996",SPHEROID["WGS_1984",6378137.0,298.25
4164	GCS_South_Yemen	GEOGCS["GCS_South_Yemen",DATUM["D_South_Yemen",SPHEROID["Krasovsky_1940",6378245.0,298.3]],PRIM
4165	GCS_Bissau	GEOGCS["GCS_Bissau",DATUM["D_Bissau",SPHEROID["International_1924",6378388.0,297.0]],PRIMEM["Greenw
4166	GCS_Korean_Datum_1995	GEOGCS["GCS_Korean_Datum_1995",DATUM["D_Korean_Datum_1995",SPHEROID["WGS_1984",6378137.0,298
4167	GCS_NZGD_2000	GEOGCS["GCS_NZGD_2000",DATUM["D_NZGD_2000",SPHEROID["GRS_1980",6378137.0,298.257222101]],PR
4168	GCS_Accra	GEOGCS["GCS_Accra",DATUM["D_Accra",SPHEROID["War_Office",6378300.0,296.0]],PRIMEM["Greenwich",0.0],
4169	GCS_American_Samoa_1962	GEOGCS["GCS_American_Samoa_1962",DATUM["D_American_Samoa_1962",SPHEROID["Clarke_1866",637820
4170	GCS_SIRGAS	GEOGCS["GCS_SIRGAS",DATUM["D_SIRGAS",SPHEROID["GRS_1980",6378137.0,298.257222101]],PRIMEM["G
4171	GCS_RGF_1993	GEOGCS["GCS_RGF_1993",DATUM["D_RGF_1993",SPHEROID["GRS_1980",6378137.0,298.257222101]],PRIME
4172	GCS_POSGAR	GEOGCS["GCS_POSGAR",DATUM["D_POSGAR",SPHEROID["GRS_1980",6378137.0,298.257222101]],PRIMEM[
4173	GCS_IRENET95	GEOGCS["GCS_IRENET95",DATUM["D_IRENET95",SPHEROID["GRS_1980",6378137.0,298.257222101]],PRIME
4174	GCS_Sierra_Leone_1924	GEOGCS["GCS_Sierra_Leone_1924",DATUM["D_Sierra_Leone_1924",SPHEROID["War_Office",6378300.0,296.0]
4175	GCS_Sierra_Leone_1968	GEOGCS["GCS_Sierra_Leone_1968",DATUM["D_Sierra_Leone_1968",SPHEROID["Clarke_1880_RGS",6378249.
4176	GCS_Australian_Antarctic_1998	GEOGCS["GCS_Australian_Antarctic_1998",DATUM["D_Australian_Antarctic_1998",SPHEROID["GRS_1980",6378
4178	GCS_Pulkovo_1942_Adj_1983	GEOGCS["GCS_Pulkovo_1942_Adj_1983",DATUM["D_Pulkovo_1942_Adj_1983",SPHEROID["Krasovsky_1940",63

Copyright © 1995-2016 Esri. All rights reserved.

4179	GCS_Pulkovo_1942_Adj_1958	GEOGCS["GCS_Pulkovo_1942_Adj_1958",DATUM["D_Pulkovo_1942_Adj_1958",SPHEROID["Krasovsky_1940",63
4180	GCS_Estonia_1997	GEOGCS["GCS_Estonia_1997",DATUM["D_Estonia_1997",SPHEROID["GRS_1980",6378137.0,298.257222101]],P
4181	GCS_Luxembourg_1930	GEOGCS["GCS_Luxembourg_1930",DATUM["D_Luxembourg_1930",SPHEROID["International_1924",6378388.0,2
4182	GCS_Azores_Occidental_1939	GEOGCS["GCS_Azores_Occidental_1939",DATUM["D_Azores_Occidental_Islands_1939",SPHEROID["Internationa
4183	GCS_Azores_Central_1948	GEOGCS["GCS_Azores_Central_1948",DATUM["D_Azores_Central_Islands_1948",SPHEROID["International_1924
4184	GCS_Azores_Oriental_1940	GEOGCS["GCS_Azores_Oriental_1940",DATUM["D_Azores_Oriental_Islands_1940",SPHEROID["International_192
4185	GCS_Madeira_1936	GEOGCS["GCS_Madeira_1936",DATUM["D_Madeira_1936",SPHEROID["International_1924",6378388.0,297.0]],PR
4188	GCS_OSNI_1952	GEOGCS["GCS_OSNI_1952",DATUM["D_OSNI_1952",SPHEROID["Airy_1830",6377563.396,299.3249646]],PRIME
4189	GCS_REGVEN	GEOGCS["GCS_REGVEN",DATUM["D_REGVEN",SPHEROID["GRS_1980",6378137.0,298.257222101]],PRIMEM[
4190	GCS_POSGAR_1998	GEOGCS["GCS_POSGAR_1998",DATUM["D_POSGAR_1998",SPHEROID["GRS_1980",6378137.0,298.25722210
4191	GCS_Albanian_1987	GEOGCS["GCS_Albanian_1987",DATUM["D_Albanian_1987",SPHEROID["Krasovsky_1940",6378245.0,298.3]],PR
4192	GCS_Douala_1948	GEOGCS["GCS_Douala_1948",DATUM["D_Douala_1948",SPHEROID["International_1924",6378388.0,297.0]],PRI
4193	GCS_Manoca_1962	GEOGCS["GCS_Manoca_1962",DATUM["D_Manoca_1962",SPHEROID["Clarke_1880_IGN",6378249.2,293.46602
4194	GCS_Qornoq_1927	GEOGCS["GCS_Qornoq_1927",DATUM["D_Qornoq_1927",SPHEROID["International_1924",6378388.0,297.0]],PRI
4195	GCS_Scoresbysund_1952	GEOGCS["GCS_Scoresbysund_1952",DATUM["D_Scoresbysund_1952",SPHEROID["International_1924",6378388
4196	GCS_Ammassalik_1958	GEOGCS["GCS_Ammassalik_1958",DATUM["D_Ammassalik_1958",SPHEROID["International_1924",6378388.0,29
4197	GCS_Garoua	GEOGCS["GCS_Garoua",DATUM["D_Garoua",SPHEROID["Clarke_1880_RGS",6378249.145,293.465]],PRIMEM["(
4198	GCS_Kousseri	GEOGCS["GCS_Kousseri",DATUM["D_Kousseri",SPHEROID["Clarke_1880_RGS",6378249.145,293.465]],PRIMEM
4199	GCS_Egypt_1930	GEOGCS["GCS_Egypt_1930",DATUM["D_Egypt_1930",SPHEROID["International_1924",6378388.0,297.0]],PRIME
4200	GCS_Pulkovo_1995	GEOGCS["GCS_Pulkovo_1995",DATUM["D_Pulkovo_1995",SPHEROID["Krasovsky_1940",6378245.0,298.3]],PRIM
4201	GCS_Adindan	GEOGCS["GCS_Adindan",DATUM["D_Adindan",SPHEROID["Clarke_1880_RGS",6378249.145,293.465]],PRIMEM[
4202	GCS_Australian_1966	GEOGCS["GCS_Australian_1966",DATUM["D_Australian_1966",SPHEROID["Australian",6378160.0,298.25]],PRIM
4203	GCS_Australian_1984	GEOGCS["GCS_Australian_1984",DATUM["D_Australian_1984",SPHEROID["Australian",6378160.0,298.25]],PRIM
4204	GCS_Ain_el_Abd_1970	GEOGCS["GCS_Ain_el_Abd_1970",DATUM["D_Ain_el_Abd_1970",SPHEROID["International_1924",6378388.0,297
4205	GCS_Afgooye	GEOGCS["GCS_Afgooye",DATUM["D_Afgooye",SPHEROID["Krasovsky_1940",6378245.0,298.3]],PRIMEM["Green
4206	GCS_Agadez	GEOGCS["GCS_Agadez",DATUM["D_Agadez",SPHEROID["Clarke_1880_IGN",6378249.2,293.4660212936265]],P
4207	GCS_Lisbon	GEOGCS["GCS_Lisbon",DATUM["D_Lisbon",SPHEROID["International_1924",6378388.0,297.0]],PRIMEM["Greenw
4208	GCS_Aratu	GEOGCS["GCS_Aratu",DATUM["D_Aratu",SPHEROID["International_1924",6378388.0,297.0]],PRIMEM["Greenwic
4209	GCS_Arc_1950	GEOGCS["GCS_Arc_1950",DATUM["D_Arc_1950",SPHEROID["Clarke_1880_Arc",6378249.145,293.466307656]],
4210	GCS_Arc_1960	GEOGCS["GCS_Arc_1960",DATUM["D_Arc_1960",SPHEROID["Clarke_1880_RGS",6378249.145,293.465]],PRIME
4211	GCS_Batavia	GEOGCS["GCS_Batavia",DATUM["D_Batavia",SPHEROID["Bessel_1841",6377397.155,299.1528128]],PRIMEM["G
4212	GCS_Barbados_1938	GEOGCS["GCS_Barbados_1938",DATUM["D_Barbados_1938",SPHEROID["Clarke_1880_RGS",6378249.145,293
4213	GCS_Beduaram	GEOGCS["GCS_Beduaram",DATUM["D_Beduaram",SPHEROID["Clarke_1880_IGN",6378249.2,293.46602129362
4214	GCS_Beijing_1954	GEOGCS["GCS_Beijing_1954",DATUM["D_Beijing_1954",SPHEROID["Krasovsky_1940",6378245.0,298.3]],PRIME
4215	GCS_Belge_1950	GEOGCS["GCS_Belge_1950",DATUM["D_Belge_1950",SPHEROID["International_1924",6378388.0,297.0]],PRIME
4216	GCS_Bermuda_1957	GEOGCS["GCS_Bermuda_1957",DATUM["D_Bermuda_1957",SPHEROID["Clarke_1866",6378206.4,294.9786982]
4218	GCS_Bogota	GEOGCS["GCS_Bogota",DATUM["D_Bogota",SPHEROID["International_1924",6378388.0,297.0]],PRIMEM["Green
4219	GCS_Bukit_Rimpah	GEOGCS["GCS_Bukit_Rimpah",DATUM["D_Bukit_Rimpah",SPHEROID["Bessel_1841",6377397.155,299.1528128]
4220	GCS_Camacupa	GEOGCS["GCS_Camacupa",DATUM["D_Camacupa",SPHEROID["Clarke_1880_RGS",6378249.145,293.465]],PRI
4221	GCS_Campo_Inchauspe	GEOGCS["GCS_Campo_Inchauspe",DATUM["D_Campo_Inchauspe",SPHEROID["International_1924",6378388.0,2
4222	GCS_Cape	GEOGCS["GCS_Cape",DATUM["D_Cape",SPHEROID["Clarke_1880_Arc",6378249.145,293.466307656]],PRIMEM
4223	GCS_Carthage	GEOGCS["GCS_Carthage",DATUM["D_Carthage",SPHEROID["Clarke_1880_IGN",6378249.2,293.4660212936265
4224	GCS_Chua	GEOGCS["GCS_Chua",DATUM["D_Chua",SPHEROID["International_1924",6378388.0,297.0]],PRIMEM["Greenwic
4225	GCS_Corrego_Alegre	GEOGCS["GCS_Corrego_Alegre",DATUM["D_Corrego_Alegre",SPHEROID["International_1924",6378388.0,297.0]
4226	GCS_Cote_d_Ivoire	GEOGCS["GCS_Cote_d_Ivoire",DATUM["D_Cote_d_Ivoire",SPHEROID["Clarke_1880_IGN",6378249.2,293.46602
4227	GCS_Deir_ez_Zor	GEOGCS["GCS_Deir_ez_Zor",DATUM["D_Deir_ez_Zor",SPHEROID["Clarke_1880_IGN",6378249.2,293.46602129
4228	GCS_Douala	GEOGCS["GCS_Douala",DATUM["D_Douala",SPHEROID["Clarke_1880_IGN",6378249.2,293.4660212936265]],PR
4229	GCS_Egypt_1907	GEOGCS["GCS_Egypt_1907",DATUM["D_Egypt_1907",SPHEROID["Helmert_1906",6378200.0,298.3]],PRIMEM["G
4230	GCS_European_1950	GEOGCS["GCS_European_1950",DATUM["D_European_1950",SPHEROID["International_1924",6378388.0,297.0]
4231	GCS_European_1987	GEOGCS["GCS_European_1987",DATUM["D_European_1987",SPHEROID["International_1924",6378388.0,297.0]
4232	GCS_Fahud	GEOGCS["GCS_Fahud",DATUM["D_Fahud",SPHEROID["Clarke_1880_RGS",6378249.145,293.465]],PRIMEM["Gr
4235	GCS_Guyane_Francaise	GEOGCS["GCS_Guyane_Francaise",DATUM["D_Guyane_Francaise",SPHEROID["International_1924",6378388.0,2
4236	GCS_Hu_Tzu_Shan	GEOGCS["GCS_Hu_Tzu_Shan",DATUM["D_Hu_Tzu_Shan",SPHEROID["International_1924",6378388.0,297.0]],PR
4237	GCS_Hungarian_1972	GEOGCS["GCS_Hungarian_1972",DATUM["D_Hungarian_1972",SPHEROID["GRS_1967",6378160.0,298.2471674

Copyright © 1995-2016 Esri. All rights reserved.

4238	GCS_Indonesian_1974	GEOGCS["GCS_Indonesian_1974",DATUM["D_Indonesian_1974",SPHEROID["Indonesian",6378160.0,298.247]],P
4239	GCS_Indian_1954	GEOGCS["GCS_Indian_1954",DATUM["D_Indian_1954",SPHEROID["Everest_Adjustment_1937",6377276.345,300
4240	GCS_Indian_1975	GEOGCS["GCS_Indian_1975",DATUM["D_Indian_1975",SPHEROID["Everest_Adjustment_1937",6377276.345,300
4241	GCS_Jamaica_1875	GEOGCS["GCS_Jamaica_1875",DATUM["D_Jamaica_1875",SPHEROID["Clarke_1880",6378249.144808011,293.4
4242	GCS_Jamaica_1969	GEOGCS["GCS_Jamaica_1969",DATUM["D_Jamaica_1969",SPHEROID["Clarke_1866",6378206.4,294.9786982]],
4243	GCS_Kalianpur_1880	GEOGCS["GCS_Kalianpur_1880",DATUM["D_Kalianpur_1880",SPHEROID["Everest_1830",6377299.36,300.8017]]
4244	GCS_Kandawala	GEOGCS["GCS_Kandawala",DATUM["D_Kandawala",SPHEROID["Everest_Adjustment_1937",6377276.345,300.8
4245	GCS_Kertau	GEOGCS["GCS_Kertau",DATUM["D_Kertau",SPHEROID["Everest_1830_Modified",6377304.063,300.8017]],PRIME
4246	GCS_Kuwait_Oil_Company	GEOGCS["GCS_Kuwait_Oil_Company",DATUM["D_Kuwait_Oil_Company",SPHEROID["Clarke_1880_RGS",63782
4247	GCS_La_Canoa	GEOGCS["GCS_La_Canoa",DATUM["D_La_Canoa",SPHEROID["International_1924",6378388.0,297.0]],PRIMEM[""
4248	GCS_Provisional_S_American_1956	GEOGCS["GCS_Provisional_S_American_1956",DATUM["D_Provisional_S_American_1956",SPHEROID["Internati
4249	GCS_Lake	GEOGCS["GCS_Lake",DATUM["D_Lake",SPHEROID["International_1924",6378388.0,297.0]],PRIMEM["Greenwich
4250	GCS_Leigon	GEOGCS["GCS_Leigon",DATUM["D_Leigon",SPHEROID["Clarke_1880_RGS",6378249.145,293.465]],PRIMEM["G
4251	GCS_Liberia_1964	GEOGCS["GCS_Liberia_1964",DATUM["D_Liberia_1964",SPHEROID["Clarke_1880_RGS",6378249.145,293.465]],
4252	GCS_Lome	GEOGCS["GCS_Lome",DATUM["D_Lome",SPHEROID["Clarke_1880_IGN",6378249.2,293.4660212936265]],PRIM
4253	GCS_Luzon_1911	GEOGCS["GCS_Luzon_1911",DATUM["D_Luzon_1911",SPHEROID["Clarke_1866",6378206.4,294.9786982]],PRIM
4254	GCS_Hito_XVIII_1963	GEOGCS["GCS_Hito_XVIII_1963",DATUM["D_Hito_XVIII_1963",SPHEROID["International_1924",6378388.0,297.0
4255	GCS_Herat_North	GEOGCS["GCS_Herat_North",DATUM["D_Herat_North",SPHEROID["International_1924",6378388.0,297.0]],PRIME
4256	GCS_Mahe_1971	GEOGCS["GCS_Mahe_1971",DATUM["D_Mahe_1971",SPHEROID["Clarke_1880_RGS",6378249.145,293.465]],P
4257	GCS_Makassar	GEOGCS["GCS_Makassar",DATUM["D_Makassar",SPHEROID["Bessel_1841",6377397.155,299.1528128]],PRIME
4258	GCS_ETRS_1989	GEOGCS["GCS_ETRS_1989",DATUM["D_ETRS_1989",SPHEROID["GRS_1980",6378137.0,298.257222101]],PRI
4259	GCS_Malongo_1987	GEOGCS["GCS_Malongo_1987",DATUM["D_Malongo_1987",SPHEROID["International_1924",6378388.0,297.0]],P
4260	GCS_Manoca	GEOGCS["GCS_Manoca",DATUM["D_Manoca",SPHEROID["Clarke_1880_RGS",6378249.145,293.465]],PRIMEM[
4261	GCS_Merchich	GEOGCS["GCS_Merchich",DATUM["D_Merchich",SPHEROID["Clarke_1880_IGN",6378249.2,293.4660212936265
4262	GCS_Massawa	GEOGCS["GCS_Massawa",DATUM["D_Massawa",SPHEROID["Bessel_1841",6377397.155,299.1528128]],PRIME
4263	GCS_Minna	GEOGCS["GCS_Minna",DATUM["D_Minna",SPHEROID["Clarke_1880_RGS",6378249.145,293.465]],PRIMEM["Gre
4265	GCS_Monte_Mario	GEOGCS["GCS_Monte_Mario",DATUM["D_Monte_Mario",SPHEROID["International_1924",6378388.0,297.0]],PRIM
4266	GCS_Mporaloko	GEOGCS["GCS_Mporaloko",DATUM["D_Mporaloko",SPHEROID["Clarke_1880_IGN",6378249.2,293.46602129362
4267	GCS_North_American_1927	GEOGCS["GCS_North_American_1927",DATUM["D_North_American_1927",SPHEROID["Clarke_1866",6378206.4
4269	GCS_North_American_1983	GEOGCS["GCS_North_American_1983",DATUM["D_North_American_1983",SPHEROID["GRS_1980",6378137.0,2
4270	GCS_Nahrwan_1967	GEOGCS["GCS_Nahrwan_1967",DATUM["D_Nahrwan_1967",SPHEROID["Clarke_1880_RGS",6378249.145,293.4
4271	GCS_Naparima_1972	GEOGCS["GCS_Naparima_1972",DATUM["D_Naparima_1972",SPHEROID["International_1924",6378388.0,297.0]
4272	GCS_New_Zealand_1949	GEOGCS["GCS_New_Zealand_1949",DATUM["D_New_Zealand_1949",SPHEROID["International_1924",6378388.
4273	GCS_NGO_1948	GEOGCS["GCS_NGO_1948",DATUM["D_NGO_1948",SPHEROID["Bessel_Modified",6377492.018,299.1528128]],
4274	GCS_Datum_73	GEOGCS["GCS_Datum_73",DATUM["D_Datum_73",SPHEROID["International_1924",6378388.0,297.0]],PRIMEM[""
4275	GCS_NTF	GEOGCS["GCS_NTF",DATUM["D_NTF",SPHEROID["Clarke_1880_IGN",6378249.2,293.4660212936265]],PRIMEM
4276	GCS_NSWC_9Z_2	GEOGCS["GCS_NSWC_9Z_2",DATUM["D_NSWC_9Z_2",SPHEROID["NWL_9D",6378145.0,298.25]],PRIMEM["Gr
4277	GCS_OSGB_1936	GEOGCS["GCS_OSGB_1936",DATUM["D_OSGB_1936",SPHEROID["Airy_1830",6377563.396,299.3249646]],PRI
4278	GCS_OSGB_1970_SN	GEOGCS["GCS_OSGB_1970_SN",DATUM["D_OSGB_1970_SN",SPHEROID["Airy_1830",6377563.396,299.32496
4279	GCS_OS_SN_1980	GEOGCS["GCS_OS_SN_1980",DATUM["D_OS_SN_1980",SPHEROID["Airy_1830",6377563.396,299.3249646]],P
4280	GCS_Padang_1884	GEOGCS["GCS_Padang_1884",DATUM["D_Padang_1884",SPHEROID["Bessel_1841",6377397.155,299.1528128]
4281	GCS_Palestine_1923	GEOGCS["GCS_Palestine_1923",DATUM["D_Palestine_1923",SPHEROID["Clarke_1880_Benoit",6378300.789,293
4282	GCS_Pointe_Noire	GEOGCS["GCS_Pointe_Noire",DATUM["D_Pointe_Noire",SPHEROID["Clarke_1880_IGN",6378249.2,293.4660212
4283	GCS_GDA_1994	GEOGCS["GCS_GDA_1994",DATUM["D_GDA_1994",SPHEROID["GRS_1980",6378137.0,298.257222101]],PRIME
4284	GCS_Pulkovo_1942	GEOGCS["GCS_Pulkovo_1942",DATUM["D_Pulkovo_1942",SPHEROID["Krasovsky_1940",6378245.0,298.3]],PRIM
4285	GCS_Qatar_1974	GEOGCS["GCS_Qatar_1974",DATUM["D_Qatar",SPHEROID["International_1924",6378388.0,297.0]],PRIMEM["Gre
4286	GCS_Qatar_1948	GEOGCS["GCS_Qatar_1948",DATUM["D_Qatar_1948",SPHEROID["Helmert_1906",6378200.0,298.3]],PRIMEM["G
4288	GCS_Loma_Quintana	GEOGCS["GCS_Loma_Quintana",DATUM["D_Loma_Quintana",SPHEROID["International_1924",6378388.0,297.0]
4289	GCS_Amersfoort	GEOGCS["GCS_Amersfoort",DATUM["D_Amersfoort",SPHEROID["Bessel_1841",6377397.155,299.1528128]],PRIM
4292	GCS_Sapper_Hill_1943	GEOGCS["GCS_Sapper_Hill_1943",DATUM["D_Sapper_Hill_1943",SPHEROID["International_1924",6378388.0,29
4293	GCS_Schwarzeck	GEOGCS["GCS_Schwarzeck",DATUM["D_Schwarzeck",SPHEROID["Bessel_Namibia",6377483.865280418,299.15
4294	GCS_Segora	GEOGCS["GCS_Segora",DATUM["D_Segora",SPHEROID["Bessel_1841",6377397.155,299.1528128]],PRIMEM["G
4295	GCS_Serindung	GEOGCS["GCS_Serindung",DATUM["D_Serindung",SPHEROID["Bessel_1841",6377397.155,299.1528128]],PRIME
4296	GCS_Sudan	GEOGCS["GCS_Sudan",DATUM["D_Sudan",SPHEROID["Clarke_1880_IGN",6378249.2,293.4660212936265]],PRI

Copyright © 1995-2016 Esri. All rights reserved.

4297	GCS_Tananarive_1925	GEOGCS["GCS_Tananarive_1925",DATUM["D_Tananarive_1925",SPHEROID["International_1924",6378388.0,297
4298	GCS_Timbalai_1948	GEOGCS["GCS_Timbalai_1948",DATUM["D_Timbalai_1948",SPHEROID["Everest_Definition_1967",6377298.556,3
4299	GCS_TM65	GEOGCS["GCS_TM65",DATUM["D_TM65",SPHEROID["Airy_Modified",6377340.189,299.3249646]],PRIMEM["Gree
4300	GCS_TM75	GEOGCS["GCS_TM75",DATUM["D_TM75",SPHEROID["Airy_Modified",6377340.189,299.3249646]],PRIMEM["Gree
4301	GCS_Tokyo	GEOGCS["GCS_Tokyo",DATUM["D_Tokyo",SPHEROID["Bessel_1841",6377397.155,299.1528128]],PRIMEM["Gree
4302	GCS_Trinidad_1903	GEOGCS["GCS_Trinidad_1903",DATUM["D_Trinidad_1903",SPHEROID["Clarke_1858",6378293.645208759,294.2
4303	GCS_Trucial_Coast_1948	GEOGCS["GCS_Trucial_Coast_1948",DATUM["D_Trucial_Coast_1948",SPHEROID["Helmert_1906",6378200.0,298
4304	GCS_Voirol_1875	GEOGCS["GCS_Voirol_1875",DATUM["D_Voirol_1875",SPHEROID["Clarke_1880_IGN",6378249.2,293.466021293
4305	GCS_Voirol_Unifie_1960	GEOGCS["GCS_Voirol_Unifie_1960",DATUM["D_Voirol_Unifie_1960",SPHEROID["Clarke_1880_RGS",6378249.14
4306	GCS_Bern_1938	GEOGCS["GCS_Bern_1938",DATUM["D_Bern_1938",SPHEROID["Bessel_1841",6377397.155,299.1528128]],PRIM
4307	GCS_Nord_Sahara_1959	GEOGCS["GCS_Nord_Sahara_1959",DATUM["D_Nord_Sahara_1959",SPHEROID["Clarke_1880_RGS",6378249.1
4308	GCS_RT38	GEOGCS["GCS_RT38",DATUM["D_Stockholm_1938",SPHEROID["Bessel_1841",6377397.155,299.1528128]],PRIM
4309	GCS_Yacare	GEOGCS["GCS_Yacare",DATUM["D_Yacare",SPHEROID["International_1924",6378388.0,297.0]],PRIMEM["Greenw
4310	GCS_Yoff	GEOGCS["GCS_Yoff",DATUM["D_Yoff",SPHEROID["Clarke_1880_IGN",6378249.2,293.4660212936265]],PRIMEM
4311	GCS_Zanderij	GEOGCS["GCS_Zanderij",DATUM["D_Zanderij",SPHEROID["International_1924",6378388.0,297.0]],PRIMEM["Gree
4312	GCS_MGI	GEOGCS["GCS_MGI",DATUM["D_MGI",SPHEROID["Bessel_1841",6377397.155,299.1528128]],PRIMEM["Greenw
4313	GCS_Belge_1972	GEOGCS["GCS_Belge_1972",DATUM["D_Belge_1972",SPHEROID["International_1924",6378388.0,297.0]],PRIME
4314	GCS_Deutsches_Hauptdreiecksnetz	GEOGCS["GCS_Deutsches_Hauptdreiecksnetz",DATUM["D_Deutsches_Hauptdreiecksnetz",SPHEROID["Bessel_1
4315	GCS_Conakry_1905	GEOGCS["GCS_Conakry_1905",DATUM["D_Conakry_1905",SPHEROID["Clarke_1880_IGN",6378249.2,293.46602
4316	GCS_Dealul_Piscului_1933	GEOGCS["GCS_Dealul_Piscului_1933",DATUM["D_Dealul_Piscului_1933",SPHEROID["International_1924",63783
4317	GCS_Dealul_Piscului_1970	GEOGCS["GCS_Dealul_Piscului_1970",DATUM["D_Dealul_Piscului_1970",SPHEROID["Krasovsky_1940",6378245
4318	GCS_NGN	GEOGCS["GCS_NGN",DATUM["D_NGN",SPHEROID["WGS_1984",6378137.0,298.257223563]],PRIMEM["Greenw
4319	GCS_KUDAMS	GEOGCS["GCS_KUDAMS",DATUM["D_Kuwait_Utility",SPHEROID["GRS_1980",6378137.0,298.257222101]],PRIM
4322	GCS_WGS_1972	GEOGCS["GCS_WGS_1972",DATUM["D_WGS_1972",SPHEROID["WGS_1972",6378135.0,298.26]],PRIMEM["Gre
4324	GCS_WGS_1972_BE	GEOGCS["GCS_WGS_1972_BE",DATUM["D_WGS_1972_BE",SPHEROID["WGS_1972",6378135.0,298.26]],PRIM
4326	GCS_WGS_1984	GEOGCS["GCS_WGS_1984",DATUM["D_WGS_1984",SPHEROID["WGS_1984",6378137.0,298.257223563]],PRIM
4463	GCS_RGSPM_2006	GEOGCS["GCS_RGSPM_2006",DATUM["D_Reseau_Geodesique_de_St_Pierre_et_Miquelon_2006",SPHEROID["
4470	GCS_RGM_2004	GEOGCS["GCS_RGM_2004",DATUM["D_Reseau_Geodesique_de_Mayotte_2004",SPHEROID["GRS_1980",6378
4475	GCS_Cadastre_1997	GEOGCS["GCS_Cadastre_1997",DATUM["D_Cadastre_1997",SPHEROID["International_1924",6378388.0,297.0]],
4483	GCS_Mexican_Datum_of_1993	GEOGCS["GCS_Mexican_Datum_of_1993",DATUM["D_Mexican_Datum_of_1993",SPHEROID["GRS_1980",63781
4490	GCS_China_Geodetic_Coordinate_System_2000	GEOGCS["GCS_China_Geodetic_Coordinate_System_2000",DATUM["D_China_2000",SPHEROID["CGCS2000",6
4555	GCS_New_Beijing	GEOGCS["GCS_New_Beijing",DATUM["D_New_Beijing",SPHEROID["Krasovsky_1940",6378245.0,298.3]],PRIMEM
4558	GCS_RRAF_1991	GEOGCS["GCS_RRAF_1991",DATUM["D_RRAF_1991",SPHEROID["GRS_1980",6378137.0,298.257222101]],PRI
4600	GCS_Anguilla_1957	GEOGCS["GCS_Anguilla_1957",DATUM["D_Anguilla_1957",SPHEROID["Clarke_1880_RGS",6378249.145,293.465
4601	GCS_Antigua_1943	GEOGCS["GCS_Antigua_1943",DATUM["D_Antigua_1943",SPHEROID["Clarke_1880_RGS",6378249.145,293.465
4602	GCS_Dominica_1945	GEOGCS["GCS_Dominica_1945",DATUM["D_Dominica_1945",SPHEROID["Clarke_1880_RGS",6378249.145,293.
4603	GCS_Grenada_1953	GEOGCS["GCS_Grenada_1953",DATUM["D_Grenada_1953",SPHEROID["Clarke_1880_RGS",6378249.145,293.4
4604	GCS_Montserrat_1958	GEOGCS["GCS_Montserrat_1958",DATUM["D_Montserrat_1958",SPHEROID["Clarke_1880_RGS",6378249.145,29
4605	GCS_St_Kitts_1955	GEOGCS["GCS_St_Kitts_1955",DATUM["D_St_Kitts_1955",SPHEROID["Clarke_1880_RGS",6378249.145,293.465
4606	GCS_St_Lucia_1955	GEOGCS["GCS_St_Lucia_1955",DATUM["D_St_Lucia_1955",SPHEROID["Clarke_1880_RGS",6378249.145,293.4
4607	GCS_St_Vincent_1945	GEOGCS["GCS_St_Vincent_1945",DATUM["D_St_Vincent_1945",SPHEROID["Clarke_1880_RGS",6378249.145,29
4608	GCS_NAD_1927_Definition_1976	GEOGCS["GCS_NAD_1927_Definition_1976",DATUM["D_NAD_1927_Definition_1976",SPHEROID["Clarke_1866",
4609	GCS_NAD_1927_CGQ77	GEOGCS["GCS_NAD_1927_CGQ77",DATUM["D_NAD_1927_CGQ77",SPHEROID["Clarke_1866",6378206.4,294.
4610	GCS_Xian_1980	GEOGCS["GCS_Xian_1980",DATUM["D_Xian_1980",SPHEROID["Xian_1980",6378140.0,298.257]],PRIMEM["Gree
4611	GCS_Hong_Kong_1980	GEOGCS["GCS_Hong_Kong_1980",DATUM["D_Hong_Kong_1980",SPHEROID["International_1924",6378388.0,29
4612	GCS_JGD_2000	GEOGCS["GCS_JGD_2000",DATUM["D_JGD_2000",SPHEROID["GRS_1980",6378137.0,298.257222101]],PRIME
4613	GCS_Gunung_Segara	GEOGCS["GCS_Gunung_Segara",DATUM["D_Gunung_Segara",SPHEROID["Bessel_1841",6377397.155,299.1528
4614	GCS_QND_1995	GEOGCS["GCS_QND_1995",DATUM["D_QND_1995",SPHEROID["International_1924",6378388.0,297.0]],PRIMEM
4615	GCS_Porto_Santo_1936	GEOGCS["GCS_Porto_Santo_1936",DATUM["D_Porto_Santo_1936",SPHEROID["International_1924",6378388.0,2
4616	GCS_Selvagem_Grande_1938	GEOGCS["GCS_Selvagem_Grande_1938",DATUM["D_Selvagem_Grande_1938",SPHEROID["International_1924",
4617	GCS_North_American_1983_CSRS	GEOGCS["GCS_North_American_1983_CSRS",DATUM["D_North_American_1983_CSRS",SPHEROID["GRS_198
4618	GCS_South_American_1969	GEOGCS["GCS_South_American_1969",DATUM["D_South_American_1969",SPHEROID["GRS_1967_Truncated",
4619	GCS_SWEREF99	GEOGCS["GCS_SWEREF99",DATUM["D_SWEREF99",SPHEROID["GRS_1980",6378137.0,298.257222101]],PRI
4620	GCS_Point_58	GEOGCS["GCS_Point_58",DATUM["D_Point_58",SPHEROID["Clarke_1880_RGS",6378249.145,293.465]],PRIMEM

Copyright © 1995-2016 Esri. All rights reserved.

4621	GCS_Fort_Marigot	GEOGCS["GCS_Fort_Marigot",DATUM["D_Fort_Marigot",SPHEROID["International_1924",6378388.0,297.0]],PRIM
4622	GCS_Sainte_Anne	GEOGCS["GCS_Sainte_Anne",DATUM["D_Sainte_Anne",SPHEROID["International_1924",6378388.0,297.0]],PRIM
4623	GCS_CSG_1967	GEOGCS["GCS_CSG_1967",DATUM["D_CSG_1967",SPHEROID["International_1924",6378388.0,297.0]],PRIMEM
4624	GCS_RGFG_1995	GEOGCS["GCS_RGFG_1995",DATUM["D_RGFG_1995",SPHEROID["GRS_1980",6378137.0,298.257222101]],PR
4625	GCS_Fort_Desaix	GEOGCS["GCS_Fort_Desaix",DATUM["D_Fort_Desaix",SPHEROID["International_1924",6378388.0,297.0]],PRIME
4626	GCS_Reunion_1947	GEOGCS["GCS_Reunion_1947",DATUM["D_Reunion_1947",SPHEROID["International_1924",6378388.0,297.0]],P
4627	GCS_RGR_1992	GEOGCS["GCS_RGR_1992",DATUM["D_RGR_1992",SPHEROID["GRS_1980",6378137.0,298.257222101]],PRIM
4628	GCS_Tahiti_1952	GEOGCS["GCS_Tahiti_1952",DATUM["D_Tahiti_1952",SPHEROID["International_1924",6378388.0,297.0]],PRIMEM
4629	GCS_Tahaa_1954	GEOGCS["GCS_Tahaa_1954",DATUM["D_Tahaa_1954",SPHEROID["International_1924",6378388.0,297.0]],PRIME
4630	GCS_IGN72_Nuku_Hiva	GEOGCS["GCS_IGN72_Nuku_Hiva",DATUM["D_IGN72_Nuku_Hiva",SPHEROID["International_1924",6378388.0,2
4632	GCS_Combani_1950	GEOGCS["GCS_Combani_1950",DATUM["D_Combani_1950",SPHEROID["International_1924",6378388.0,297.0]],
4633	GCS_IGN56_Lifou	GEOGCS["GCS_IGN56_Lifou",DATUM["D_IGN56_Lifou",SPHEROID["International_1924",6378388.0,297.0]],PRIM
4636	GCS_Petrels_1972	GEOGCS["GCS_Petrels_1972",DATUM["D_Petrels_1972",SPHEROID["International_1924",6378388.0,297.0]],PRI
4637	GCS_Pointe_Geologie_Perroud_1950	GEOGCS["GCS_Pointe_Geologie_Perroud_1950",DATUM["D_Pointe_Geologie_Perroud_1950",SPHEROID["Intern
4638	GCS_Saint_Pierre_et_Miquelon_1950	GEOGCS["GCS_Saint_Pierre_et_Miquelon_1950",DATUM["D_Saint_Pierre_et_Miquelon_1950",SPHEROID["Clark
4639	GCS_MOP78	GEOGCS["GCS_MOP78",DATUM["D_MOP78",SPHEROID["International_1924",6378388.0,297.0]],PRIMEM["Gree
4641	GCS_IGN53_Mare	GEOGCS["GCS_IGN53_Mare",DATUM["D_IGN53_Mare",SPHEROID["International_1924",6378388.0,297.0]],PRIM
4642	GCS_ST84_Ile_des_Pins	GEOGCS["GCS_ST84_Ile_des_Pins",DATUM["D_ST84_Ile_des_Pins",SPHEROID["International_1924",6378388.0
4643	GCS_ST71_Belep	GEOGCS["GCS_ST71_Belep",DATUM["D_ST71_Belep",SPHEROID["International_1924",6378388.0,297.0]],PRIME
4644	GCS_NEA74_Noumea	GEOGCS["GCS_NEA74_Noumea",DATUM["D_NEA74_Noumea",SPHEROID["International_1924",6378388.0,297.
4645	GCS_RGNC_1991	GEOGCS["GCS_RGNC_1991",DATUM["D_RGNC_1991",SPHEROID["International_1924",6378388.0,297.0]],PRIM
4646	GCS_Grand_Comoros	GEOGCS["GCS_Grand_Comoros",DATUM["D_Grand_Comoros",SPHEROID["International_1924",6378388.0,297.0
4657	GCS_Reykjavik_1900	GEOGCS["GCS_Reykjavik_1900",DATUM["D_Reykjavik_1900",SPHEROID["Danish_1876",6377019.27,300.0]],PR
4658	GCS_Hjorsey_1955	GEOGCS["GCS_Hjorsey_1955",DATUM["D_Hjorsey_1955",SPHEROID["International_1924",6378388.0,297.0]],PR
4659	GCS_ISN_1993	GEOGCS["GCS_ISN_1993",DATUM["D_Islands_Network_1993",SPHEROID["GRS_1980",6378137.0,298.2572221
4660	GCS_Helle_1954	GEOGCS["GCS_Helle_1954",DATUM["D_Helle_1954",SPHEROID["International_1924",6378388.0,297.0]],PRIMEM
4661	GCS_LKS_1992	GEOGCS["GCS_LKS_1992",DATUM["D_Latvia_1992",SPHEROID["GRS_1980",6378137.0,298.257222101]],PRIM
4662	GCS_IGN72_Grande_Terre	GEOGCS["GCS_IGN72_Grande_Terre",DATUM["D_IGN72_Grande_Terre",SPHEROID["International_1924",63783
4663	GCS_Porto_Santo_1995	GEOGCS["GCS_Porto_Santo_1995",DATUM["D_Porto_Santo_1995",SPHEROID["International_1924",6378388.0,2
4664	GCS_Azores_Oriental_1995	GEOGCS["GCS_Azores_Oriental_1995",DATUM["D_Azores_Oriental_Islands_1995",SPHEROID["International_192
4665	GCS_Azores_Central_1995	GEOGCS["GCS_Azores_Central_1995",DATUM["D_Azores_Central_Islands_1995",SPHEROID["International_1924
4666	GCS_Lisbon_1890	GEOGCS["GCS_Lisbon_1890",DATUM["D_Lisbon_1890",SPHEROID["Bessel_1841",6377397.155,299.1528128]],P
4667	GCS_IKBD_1992	GEOGCS["GCS_IKBD_1992",DATUM["D_Iraq_Kuwait_Boundary_1992",SPHEROID["WGS_1984",6378137.0,298.2
4668	GCS_European_1979	GEOGCS["GCS_European_1979",DATUM["D_European_1979",SPHEROID["International_1924",6378388.0,297.0]
4669	GCS_LKS_1994	GEOGCS["GCS_LKS_1994",DATUM["D_Lithuania_1994",SPHEROID["GRS_1980",6378137.0,298.257222101]],PR
4670	GCS_IGM_1995	GEOGCS["GCS_IGM_1995",DATUM["D_IGM_1995",SPHEROID["WGS_1984",6378137.0,298.257223563]],PRIME
4671	GCS_Voirol_1879	GEOGCS["GCS_Voirol_1879",DATUM["D_Voirol_1879",SPHEROID["Clarke_1880_IGN",6378249.2,293.466021293
4672	GCS_Chatham_Island_1971	GEOGCS["GCS_Chatham_Island_1971",DATUM["D_Chatham_Island_1971",SPHEROID["International_1924",6378
4673	GCS_Chatham_Islands_1979	GEOGCS["GCS_Chatham_Islands_1979",DATUM["D_Chatham_Islands_1979",SPHEROID["International_1924",63
4674	GCS_SIRGAS_2000	GEOGCS["GCS_SIRGAS_2000",DATUM["D_SIRGAS_2000",SPHEROID["GRS_1980",6378137.0,298.257222101]
4675	GCS_Guam_1963	GEOGCS["GCS_Guam_1963",DATUM["D_Guam_1963",SPHEROID["Clarke_1866",6378206.4,294.9786982]],PRIM
4676	GCS_Vientiane_1982	GEOGCS["GCS_Vientiane_1982",DATUM["D_Vientiane_1982",SPHEROID["Krasovsky_1940",6378245.0,298.3]],P
4677	GCS_Lao_1993	GEOGCS["GCS_Lao_1993",DATUM["D_Lao_1993",SPHEROID["Krasovsky_1940",6378245.0,298.3]],PRIMEM["Gr
4678	GCS_Lao_1997	GEOGCS["GCS_Lao_1997",DATUM["D_Lao_National_Datum_1997",SPHEROID["Krasovsky_1940",6378245.0,298
4679	GCS_Jouik_1961	GEOGCS["GCS_Jouik_1961",DATUM["D_Jouik_1961",SPHEROID["Clarke_1880_RGS",6378249.145,293.465]],PR
4680	GCS_Nouakchott_1965	GEOGCS["GCS_Nouakchott_1965",DATUM["D_Nouakchott_1965",SPHEROID["Clarke_1880_RGS",6378249.145,
4682	GCS_Gulshan_303	GEOGCS["GCS_Gulshan_303",DATUM["D_Gulshan_303",SPHEROID["Everest_Adjustment_1937",6377276.345,3
4683	GCS_PRS_1992	GEOGCS["GCS_PRS_1992",DATUM["D_Philippine_Reference_System_1992",SPHEROID["Clarke_1866",6378206
4684	GCS_Gan_1970	GEOGCS["GCS_Gan_1970",DATUM["D_Gan_1970",SPHEROID["International_1924",6378388.0,297.0]],PRIMEM["
4686	GCS_MAGNA	GEOGCS["GCS_MAGNA",DATUM["D_MAGNA",SPHEROID["GRS_1980",6378137.0,298.257222101]],PRIMEM["G
4687	GCS_RGPF	GEOGCS["GCS_RGPF",DATUM["D_Reseau_Geodesique_de_la_Polynesie_Francaise",SPHEROID["GRS_1980",6
4688	GCS_Fatu_Iva_1972	GEOGCS["GCS_Fatu_Iva_1972",DATUM["D_Fatu_Iva_1972",SPHEROID["International_1924",6378388.0,297.0]],P
4689	GCS_IGN63_Hiva_Oa	GEOGCS["GCS_IGN63_Hiva_Oa",DATUM["D_IGN63_Hiva_Oa",SPHEROID["International_1924",6378388.0,297.0
4690	GCS_Tahiti_1979	GEOGCS["GCS_Tahiti_1979",DATUM["D_Tahiti_1979",SPHEROID["International_1924",6378388.0,297.0]],PRIMEM

Copyright © 1995-2016 Esri. All rights reserved.

4691	GCS_Moorea_1987	GEOGCS["GCS_Moorea_1987",DATUM["D_Moorea_1987",SPHEROID["International_1924",6378388.0,297.0]],PR
4692	GCS_Maupiti_1983	GEOGCS["GCS_Maupiti_1983",DATUM["D_Maupiti_1983",SPHEROID["International_1924",6378388.0,297.0]],PRI
4693	GCS_Nakhl-e_Ghanem	GEOGCS["GCS_Nakhl-e_Ghanem",DATUM["D_Nakhl-e_Ghanem",SPHEROID["WGS_1984",6378137.0,298.25722
4694	GCS_POSGAR_1994	GEOGCS["GCS_POSGAR_1994",DATUM["D_POSGAR_1994",SPHEROID["GRS_1980",6378137.0,298.25722210
4695	GCS_Katanga_1955	GEOGCS["GCS_Katanga_1955",DATUM["D_Katanga_1955",SPHEROID["Clarke_1866",6378206.4,294.9786982]],
4696	GCS_Kasai_1953	GEOGCS["GCS_Kasai_1953",DATUM["D_Kasai_1953",SPHEROID["Clarke_1880_RGS",6378249.145,293.465]],P
4697	GCS_IGC_1962_6th_Parallel_South	GEOGCS["GCS_IGC_1962_6th_Parallel_South",DATUM["D_IGC_1962_Arc_of_the_6th_Parallel_South",SPHERO
4698	GCS_Kerguelen_Island_1949	GEOGCS["GCS_Kerguelen_Island_1949",DATUM["D_Kerguelen_Island_1949",SPHEROID["International_1924",63
4699	GCS_Le_Pouce_1934	GEOGCS["GCS_Le_Pouce_1934",DATUM["D_Le_Pouce_1934",SPHEROID["Clarke_1880_RGS",6378249.145,293
4700	GCS_IGN_Astro_1960	GEOGCS["GCS_IGN_Astro_1960",DATUM["D_IGN_Astro_1960",SPHEROID["Clarke_1880_RGS",6378249.145,29
4701	GCS_IGCB_1955	GEOGCS["GCS_IGCB_1955",DATUM["D_Institut_Geographique_du_Congo_Belge_1955",SPHEROID["Clarke_188
4702	GCS_Mauritania_1999	GEOGCS["GCS_Mauritania_1999",DATUM["D_Mauritania_1999",SPHEROID["GRS_1980",6378137.0,298.257222
4703	GCS_Mhast_1951	GEOGCS["GCS_Mhast_1951",DATUM["D_Mhast_1951",SPHEROID["Clarke_1880_RGS",6378249.145,293.465]],P
4704	GCS_Mhast_Onshore	GEOGCS["GCS_Mhast_Onshore",DATUM["D_Mhast_Onshore",SPHEROID["International_1924",6378388.0,297.0]
4705	GCS_Mhast_Offshore	GEOGCS["GCS_Mhast_Offshore",DATUM["D_Mhast_Offshore",SPHEROID["International_1924",6378388.0,297.0]
4706	GCS_Egypt_Gulf_of_Suez_S-650_TL	GEOGCS["GCS_Egypt_Gulf_of_Suez_S-650_TL",DATUM["D_Egypt_Gulf_of_Suez_S-650_TL",SPHEROID["Helme
4707	GCS_Tern_Island_1961	GEOGCS["GCS_Tern_Island_1961",DATUM["D_Tern_Island_1961",SPHEROID["International_1924",6378388.0,29
4708	GCS_Anna_1_1965	GEOGCS["GCS_Anna_1_1965",DATUM["D_Anna_1_1965",SPHEROID["Australian",6378160.0,298.25]],PRIMEM[""
4709	GCS_Beacon_E_1945	GEOGCS["GCS_Beacon_E_1945",DATUM["D_Beacon_E_1945",SPHEROID["International_1924",6378388.0,297.0
4710	GCS_DOS_71_4	GEOGCS["GCS_DOS_71_4",DATUM["D_DOS_71_4",SPHEROID["International_1924",6378388.0,297.0]],PRIMEM
4711	GCS_Astro_1952	GEOGCS["GCS_Astro_1952",DATUM["D_Astro_1952",SPHEROID["International_1924",6378388.0,297.0]],PRIMEM
4712	GCS_Ascension_Island_1958	GEOGCS["GCS_Ascension_Island_1958",DATUM["D_Ascension_Island_1958",SPHEROID["International_1924",63
4713	GCS_Ayabelle	GEOGCS["GCS_Ayabelle",DATUM["D_Ayabelle",SPHEROID["Clarke_1880_RGS",6378249.145,293.465]],PRIMEM
4714	GCS_Bellevue_IGN	GEOGCS["GCS_Bellevue_IGN",DATUM["D_Bellevue_IGN",SPHEROID["International_1924",6378388.0,297.0]],PR
4715	GCS_Camp_Area	GEOGCS["GCS_Camp_Area",DATUM["D_Camp_Area",SPHEROID["International_1924",6378388.0,297.0]],PRIME
4716	GCS_Canton_1966	GEOGCS["GCS_Canton_1966",DATUM["D_Canton_1966",SPHEROID["International_1924",6378388.0,297.0]],PRI
4717	GCS_Cape_Canaveral	GEOGCS["GCS_Cape_Canaveral",DATUM["D_Cape_Canaveral",SPHEROID["Clarke_1866",6378206.4,294.97869
4718	GCS_Solomon_1968	GEOGCS["GCS_Solomon_1968",DATUM["D_Solomon_1968",SPHEROID["International_1924",6378388.0,297.0]],P
4719	GCS_Easter_Island_1967	GEOGCS["GCS_Easter_Island_1967",DATUM["D_Easter_Island_1967",SPHEROID["International_1924",6378388.0
4720	GCS_Fiji_1986	GEOGCS["GCS_Fiji_1986",DATUM["D_Fiji_1986",SPHEROID["WGS_1972",6378135.0,298.26]],PRIMEM["Greenwi
4721	GCS_Fiji_1956	GEOGCS["GCS_Fiji_1956",DATUM["D_Fiji_1956",SPHEROID["International_1924",6378388.0,297.0]],PRIMEM["Gr
4722	GCS_ISTS_061_1968	GEOGCS["GCS_ISTS_061_1968",DATUM["D_ISTS_061_1968",SPHEROID["International_1924",6378388.0,297.0]
4723	GCS_Grand_Cayman_1959	GEOGCS["GCS_Grand_Cayman_1959",DATUM["D_Grand_Cayman_1959",SPHEROID["Clarke_1866",6378206.4,
4724	GCS_ISTS_073_1969	GEOGCS["GCS_ISTS_073_1969",DATUM["D_ISTS_073_1969",SPHEROID["International_1924",6378388.0,297.0]
4725	GCS_Johnston_Island_1961	GEOGCS["GCS_Johnston_Island_1961",DATUM["D_Johnston_Island_1961",SPHEROID["International_1924",6378
4726	GCS_Little_Cayman_1961	GEOGCS["GCS_Little_Cayman_1961",DATUM["D_Little_Cayman_1961",SPHEROID["Clarke_1866",6378206.4,294
4727	GCS_Midway_1961	GEOGCS["GCS_Midway_1961",DATUM["D_Midway_1961",SPHEROID["International_1924",6378388.0,297.0]],PR
4728	GCS_Pico_de_Las_Nieves	GEOGCS["GCS_Pico_de_Las_Nieves",DATUM["D_Pico_de_Las_Nieves",SPHEROID["International_1924",637838
4729	GCS_Pitcairn_1967	GEOGCS["GCS_Pitcairn_1967",DATUM["D_Pitcairn_1967",SPHEROID["International_1924",6378388.0,297.0]],PRI
4730	GCS_Santo_DOS_1965	GEOGCS["GCS_Santo_DOS_1965",DATUM["D_Santo_DOS_1965",SPHEROID["International_1924",6378388.0,29
4731	GCS_Viti_Levu_1916	GEOGCS["GCS_Viti_Levu_1916",DATUM["D_Viti_Levu_1916",SPHEROID["Clarke_1880_RGS",6378249.145,293.4
4732	GCS_Wake_Eniwetok_1960	GEOGCS["GCS_Wake_Eniwetok_1960",DATUM["D_Wake_Eniwetok_1960",SPHEROID["Hough_1960",6378270.0,
4733	GCS_Wake_Island_1952	GEOGCS["GCS_Wake_Island_1952",DATUM["D_Wake_Island_1952",SPHEROID["International_1924",6378388.0,
4734	GCS_Tristan_1968	GEOGCS["GCS_Tristan_1968",DATUM["D_Tristan_1968",SPHEROID["International_1924",6378388.0,297.0]],PRIM
4735	GCS_Kusaie_1951	GEOGCS["GCS_Kusaie_1951",DATUM["D_Kusaie_1951",SPHEROID["International_1924",6378388.0,297.0]],PRIM
4736	GCS_Deception_Island	GEOGCS["GCS_Deception_Island",DATUM["D_Deception_Island",SPHEROID["Clarke_1880_RGS",6378249.145,2
4737	GCS_Korea_2000	GEOGCS["GCS_Korea_2000",DATUM["D_Korea_2000",SPHEROID["GRS_1980",6378137.0,298.257222101]],PRI
4738	GCS_Hong_Kong_1963	GEOGCS["GCS_Hong_Kong_1963",DATUM["D_Hong_Kong_1963",SPHEROID["Clarke_1858",6378293.64520875
4739	GCS_Hong_Kong_1963_67	GEOGCS["GCS_Hong_Kong_1963_67",DATUM["D_Hong_Kong_1963_67",SPHEROID["International_1924",63783
4740	GCS_PZ_1990	GEOGCS["GCS_PZ_1990",DATUM["D_Parametrop_Zemp_1990",SPHEROID["PZ_1990",6378136.0,298.2578393
4741	GCS_FD_1954	GEOGCS["GCS_FD_1954",DATUM["D_Faroe_Datum_1954",SPHEROID["International_1924",6378388.0,297.0]],P
4742	GCS_GDM_2000	GEOGCS["GCS_GDM_2000",DATUM["D_GDM_2000",SPHEROID["GRS_1980",6378137.0,298.257222101]],PRIM
4743	GCS_Karbala_1979_Polservice	GEOGCS["GCS_Karbala_1979_Polservice",DATUM["D_Karbala_1979_Polservice",SPHEROID["Clarke_1880_RGS
4744	GCS_Nahrwan_1934	GEOGCS["GCS_Nahrwan_1934",DATUM["D_Nahrwan_1934",SPHEROID["Clarke_1880_RGS",6378249.145,293.4

Copyright © 1995-2016 Esri. All rights reserved.

4745	GCS_RD/83	GEOGCS["GCS_RD/83",DATUM["D_Rauenberg_1983",SPHEROID["Bessel_1841",6377397.155,299.1528128]],PR
4746	GCS_PD/83	GEOGCS["GCS_PD/83",DATUM["D_Potsdam_1983",SPHEROID["Bessel_1841",6377397.155,299.1528128]],PRIM
4747	GCS_Greenland_1996	GEOGCS["GCS_Greenland_1996",DATUM["D_Greenland_1996",SPHEROID["GRS_1980",6378137.0,298.257222
4748	GCS_Vanua_Levu_1915	GEOGCS["GCS_Vanua_Levu_1915",DATUM["D_Vanua_Levu_1915",SPHEROID["Clarke_1880_Intl_Ft",6378306.3
4749	GCS_RGNC_1991-93	GEOGCS["GCS_RGNC_1991-93",DATUM["D_Reseau_Geodesique_de_Nouvelle_Caledonie_1991-93",SPHEROID
4750	GCS_ST87_Ouvea	GEOGCS["GCS_ST87_Ouvea",DATUM["D_ST87_Ouvea",SPHEROID["WGS_1984",6378137.0,298.257223563]],P
4751	GCS_Kertau_RSO	GEOGCS["GCS_Kertau_RSO",DATUM["D_Kertau_RSO",SPHEROID["Everest_Modified_1969",6377295.664,300.8
4752	GCS_Viti_Levu_1912	GEOGCS["GCS_Viti_Levu_1912",DATUM["D_Viti_Levu_1912",SPHEROID["Clarke_1880_Intl_Ft",6378306.3696,29
4753	GCS_fk89	GEOGCS["GCS_fk89",DATUM["D_fk89",SPHEROID["International_1924",6378388.0,297.0]],PRIMEM["Greenwich",
4754	GCS_LGD2006	GEOGCS["GCS_LGD2006",DATUM["D_Libyan_Geodetic_Datum_2006",SPHEROID["International_1924",6378388.
4755	GCS_DGN_1995	GEOGCS["GCS_DGN_1995",DATUM["D_Datum_Geodesi_Nasional_1995",SPHEROID["WGS_1984",6378137.0,29
4756	GCS_VN_2000	GEOGCS["GCS_VN_2000",DATUM["D_Vietnam_2000",SPHEROID["WGS_1984",6378137.0,298.257223563]],PRI
4757	GCS_SVY21	GEOGCS["GCS_SVY21",DATUM["D_SVY21",SPHEROID["WGS_1984",6378137.0,298.257223563]],PRIMEM["Gre
4758	GCS_JAD_2001	GEOGCS["GCS_JAD_2001",DATUM["D_Jamaica_2001",SPHEROID["WGS_1984",6378137.0,298.257223563]],PR
4759	GCS_NAD_1983_NSRS2007	GEOGCS["GCS_NAD_1983_NSRS2007",DATUM["D_NAD_1983_NSRS2007",SPHEROID["GRS_1980",6378137.0
4760	GCS_WGS_1966	GEOGCS["GCS_WGS_1966",DATUM["D_WGS_1966",SPHEROID["WGS_1966",6378145.0,298.25]],PRIMEM["Gre
4761	GCS_HTRS96	GEOGCS["GCS_HTRS96",DATUM["D_Croatian_Terrestrial_Reference_System",SPHEROID["GRS_1980",6378137
4762	GCS_Bermuda_2000	GEOGCS["GCS_Bermuda_2000",DATUM["D_Bermuda_2000",SPHEROID["WGS_1984",6378137.0,298.25722356
4763	GCS_Pitcairn_2006	GEOGCS["GCS_Pitcairn_2006",DATUM["D_Pitcairn_2006",SPHEROID["WGS_1984",6378137.0,298.257223563]],
4764	GCS_RSRGD2000	GEOGCS["GCS_RSRGD2000",DATUM["D_Ross_Sea_Region_Geodetic_Datum_2000",SPHEROID["GRS_1980",6
4765	GCS_Slovenia_1996	GEOGCS["GCS_Slovenia_1996",DATUM["D_Slovenia_Geodetic_Datum_1996",SPHEROID["GRS_1980",6378137.
4801	GCS_Bern_1898_Bern	GEOGCS["GCS_Bern_1898_Bern",DATUM["D_Bern_1898",SPHEROID["Bessel_1841",6377397.155,299.1528128]
4802	GCS_Bogota_Bogota	GEOGCS["GCS_Bogota_Bogota",DATUM["D_Bogota",SPHEROID["International_1924",6378388.0,297.0]],PRIMEM
4803	GCS_Lisbon_Lisbon	GEOGCS["GCS_Lisbon_Lisbon",DATUM["D_Lisbon",SPHEROID["International_1924",6378388.0,297.0]],PRIMEM[
4804	GCS_Makassar_Jakarta	GEOGCS["GCS_Makassar_Jakarta",DATUM["D_Makassar",SPHEROID["Bessel_1841",6377397.155,299.1528128]
4805	GCS_MGI_Ferro	GEOGCS["GCS_MGI_Ferro",DATUM["D_MGI",SPHEROID["Bessel_1841",6377397.155,299.1528128]],PRIMEM["F
4806	GCS_Monte_Mario_Rome	GEOGCS["GCS_Monte_Mario_Rome",DATUM["D_Monte_Mario",SPHEROID["International_1924",6378388.0,297.0
4807	GCS_NTF_Paris	GEOGCS["GCS_NTF_Paris",DATUM["D_NTF",SPHEROID["Clarke_1880_IGN",6378249.2,293.4660212936265]],P
4808	GCS_Padang_1884_Jakarta	GEOGCS["GCS_Padang_1884_Jakarta",DATUM["D_Padang_1884",SPHEROID["Bessel_1841",6377397.155,299.1
4809	GCS_Belge_1950_Brussels	GEOGCS["GCS_Belge_1950_Brussels",DATUM["D_Belge_1950",SPHEROID["International_1924",6378388.0,297.0
4810	GCS_Tananarive_1925_Paris	GEOGCS["GCS_Tananarive_1925_Paris",DATUM["D_Tananarive_1925",SPHEROID["International_1924",6378388
4811	GCS_Voirol_1875_Paris	GEOGCS["GCS_Voirol_1875_Paris",DATUM["D_Voirol_1875",SPHEROID["Clarke_1880_IGN",6378249.2,293.4660
4812	GCS_Voirol_Unifie_1960_Paris	GEOGCS["GCS_Voirol_Unifie_1960_Paris",DATUM["D_Voirol_Unifie_1960",SPHEROID["Clarke_1880_RGS",6378
4813	GCS_Batavia_Jakarta	GEOGCS["GCS_Batavia_Jakarta",DATUM["D_Batavia",SPHEROID["Bessel_1841",6377397.155,299.1528128]],PR
4814	GCS_RT38_Stockholm	GEOGCS["GCS_RT38_Stockholm",DATUM["D_Stockholm_1938",SPHEROID["Bessel_1841",6377397.155,299.152
4815	GCS_Greek_Athens	GEOGCS["GCS_Greek_Athens",DATUM["D_Greek",SPHEROID["Bessel_1841",6377397.155,299.1528128]],PRIME
4816	GCS_Carthage_Paris	GEOGCS["GCS_Carthage_Paris",DATUM["D_Carthage",SPHEROID["Clarke_1880_IGN",6378249.2,293.46602129
4817	GCS_NGO_1948_Oslo	GEOGCS["GCS_NGO_1948_Oslo",DATUM["D_NGO_1948",SPHEROID["Bessel_Modified",6377492.018,299.1528
4818	GCS_S_JTSK_Ferro	GEOGCS["GCS_S_JTSK_Ferro",DATUM["D_S_JTSK",SPHEROID["Bessel_1841",6377397.155,299.1528128]],PRI
4819	GCS_Nord_Sahara_1959_Paris	GEOGCS["GCS_Nord_Sahara_1959_Paris",DATUM["D_Nord_Sahara_1959",SPHEROID["Clarke_1880_RGS",637
4820	GCS_Gunung_Segara_Jakarta	GEOGCS["GCS_Gunung_Segara_Jakarta",DATUM["D_Gunung_Segara",SPHEROID["Bessel_1841",6377397.155,
4821	GCS_Voirol_1879_Paris	GEOGCS["GCS_Voirol_1879_Paris",DATUM["D_Voirol_1879",SPHEROID["Clarke_1880_IGN",6378249.2,293.4660
4823	GCS_Sao_Tome	GEOGCS["GCS_Sao_Tome",DATUM["D_Sao_Tome",SPHEROID["International_1924",6378388.0,297.0]],PRIMEM[
4824	GCS_Principe	GEOGCS["GCS_Principe",DATUM["D_Principe",SPHEROID["International_1924",6378388.0,297.0]],PRIMEM["Gree
4901	GCS_ATF_Paris	GEOGCS["GCS_ATF_Paris",DATUM["D_ATF",SPHEROID["Plessis_1817",6376523.0,308.64]],PRIMEM["Paris_RGS
4902	GCS_Nord_de_Guerre_Paris	GEOGCS["GCS_Nord_de_Guerre_Paris",DATUM["D_Nord_de_Guerre",SPHEROID["Plessis_1817",6376523.0,308
4903	GCS_Madrid_1870_Madrid	GEOGCS["GCS_Madrid_1870_Madrid",DATUM["D_Madrid_1870",SPHEROID["Struve_1860",6378298.3,294.73]],P
4904	GCS_Lisbon_1890_Lisbon	GEOGCS["GCS_Lisbon_1890_Lisbon",DATUM["D_Lisbon_1890",SPHEROID["Bessel_1841",6377397.155,299.152
5013	GCS_PTRA08	GEOGCS["GCS_PTRA08",DATUM["D_PTRA08",SPHEROID["GRS_1980",6378137.0,298.257222101]],PRIMEM["G
5228	GCS_S_JTSK/05	GEOGCS["GCS_S_JTSK/05",DATUM["D_S_JTSK_05",SPHEROID["Bessel_1841",6377397.155,299.1528128]],PR
5229	GCS_S_JTSK/05_Ferro	GEOGCS["GCS_S_JTSK/05_Ferro",DATUM["D_S_JTSK_05",SPHEROID["Bessel_1841",6377397.155,299.152812
5233	GCS_SLD99	GEOGCS["GCS_SLD99",DATUM["D_Sri_Lanka_Datum_1999",SPHEROID["Everest_Adjustment_1937",6377276.34
5246	GCS_GDBD2009	GEOGCS["GCS_GDBD2009",DATUM["D_GDBD2009",SPHEROID["GRS_1980",6378137.0,298.257222101]],PRIM
5252	GCS_TUREF	GEOGCS["GCS_TUREF",DATUM["D_Turkish_National_Reference_Frame",SPHEROID["GRS_1980",6378137.0,29

Copyright © 1995-2016 Esri. All rights reserved.

5264	GCS_DRUKREF_03	GEOGCS["GCS_DRUKREF_03",DATUM["D_Bhutan_National_Geodetic_Datum",SPHEROID["GRS_1980",637813
5324	GCS_ISN_2004	GEOGCS["GCS_ISN_2004",DATUM["D_Islands_Network_2004",SPHEROID["GRS_1980",6378137.0,298.2572221
5340	GCS_POSGAR_2007	GEOGCS["GCS_POSGAR_2007",DATUM["D_POSGAR_2007",SPHEROID["GRS_1980",6378137.0,298.25722210
5354	GCS_MARGEN	GEOGCS["GCS_MARGEN",DATUM["D_Marco_Geodesico_Nacional",SPHEROID["GRS_1980",6378137.0,298.257
5360	GCS_SIRGAS-Chile	GEOGCS["GCS_SIRGAS-Chile",DATUM["D_SIRGAS-Chile",SPHEROID["GRS_1980",6378137.0,298.257222101]],
5365	GCS_CR05	GEOGCS["GCS_CR05",DATUM["D_Costa_Rica_2005",SPHEROID["WGS_1984",6378137.0,298.257223563]],PRI
5371	GCS_MARCARIO_SOLIS	GEOGCS["GCS_MARCARIO_SOLIS",DATUM["D_SGNP_MARCARIO_SOLIS",SPHEROID["GRS_1980",6378137.
5373	GCS_Peru96	GEOGCS["GCS_Peru96",DATUM["D_Peru96",SPHEROID["GRS_1980",6378137.0,298.257222101]],PRIMEM["Gre
5381	GCS_SIRGAS-ROU98	GEOGCS["GCS_SIRGAS-ROU98",DATUM["D_SIRGAS-ROU98",SPHEROID["WGS_1984",6378137.0,298.257223
5393	GCS_SIRGAS_ES2007.8	GEOGCS["GCS_SIRGAS_ES2007.8",DATUM["D_SIRGAS_ES2007.8",SPHEROID["GRS_1980",6378137.0,298.25
5451	GCS_Ocotepeque_1935	GEOGCS["GCS_Ocotepeque_1935",DATUM["D_Ocotepeque_1935",SPHEROID["Clarke_1866",6378206.4,294.978
5464	GCS_Sibun_Gorge_1922	GEOGCS["GCS_Sibun_Gorge_1922",DATUM["D_Sibun_Gorge_1922",SPHEROID["Clarke_1858",6378293.645208
5467	GCS_Panama-Colon_1911	GEOGCS["GCS_Panama-Colon_1911",DATUM["D_Panama-Colon-1911",SPHEROID["Clarke_1866",6378206.4,29
5489	GCS_RGAF09	GEOGCS["GCS_RGAF09",DATUM["Reseau_Geodesique_des_Antilles_Francaises_2009",SPHEROID["GRS_1980
5524	GCS_Corrego_Alegre_1961	GEOGCS["GCS_Corrego_Alegre_1961",DATUM["D_Corrego_Alegre_1961",SPHEROID["International_1924",6378
5527	GCS_SAD_1969_96	GEOGCS["GCS_SAD_1969_96",DATUM["D_South_American_Datum_1969_96",SPHEROID["GRS_1967_Truncate
5546	GCS_PNG94	GEOGCS["GCS_PNG94",DATUM["D_Papua_New_Guinea_Geodetic_Datum_1994",SPHEROID["GRS_1980",6378
5561	GCS_Ukraine_2000	GEOGCS["GCS_Ukraine_2000",DATUM["D_Ukraine_2000",SPHEROID["Krasovsky_1940",6378245.0,298.3]],PRI
5593	GCS_FEH2010	GEOGCS["GCS_FEH2010",DATUM["D_Fehmarnbelt_Datum_2010",SPHEROID["GRS_1980",6378137.0,298.2572
5681	GCS_DB_REF	GEOGCS["GCS_DB_REF",DATUM["D_Deutsche_Bahn_Reference_System",SPHEROID["Bessel_1841",6377397.1
5886	GCS_TGD2005	GEOGCS["GCS_TGD2005",DATUM["D_Tonga_Geodetic_Datum_2005",SPHEROID["GRS_1980",6378137.0,298.2
6135	GCS_CIGD11	GEOGCS["GCS_CIGD11",DATUM["D_Cayman_Islands_Geodetic_Datum_2011",SPHEROID["GRS_1980",6378137
6207	GCS_Nepal_Nagarkot	GEOGCS["GCS_Nepal_Nagarkot",DATUM["D_Nepal_Nagarkot",SPHEROID["Everest_Adjustment_1937",6377276.
6318	GCS_NAD_1983_2011	GEOGCS["GCS_NAD_1983_2011",DATUM["D_NAD_1983_2011",SPHEROID["GRS_1980",6378137.0,298.257222
6322	GCS_NAD_1983_PA11	GEOGCS["GCS_NAD_1983_PA11",DATUM["D_NAD_1983_PA11",SPHEROID["GRS_1980",6378137.0,298.25722
6325	GCS_NAD_1983_MA11	GEOGCS["GCS_NAD_1983_MA11",DATUM["D_NAD_1983_MA11",SPHEROID["GRS_1980",6378137.0,298.2572
6365	GCS_Mexico_ITRF2008	GEOGCS["GCS_Mexico_ITRF2008",DATUM["D_Mexico_ITRF2008",SPHEROID["GRS_1980",6378137.0,298.2572
6668	GCS_JGD_2011	GEOGCS["GCS_JGD_2011",DATUM["D_JGD_2011",SPHEROID["GRS_1980",6378137.0,298.257222101]],PRIME
6706	GCS_RDN2008	GEOGCS["GCS_RDN2008",DATUM["D_Rete_Dinamica_Nazionale_2008",SPHEROID["GRS_1980",6378137.0,298
37002	GCS_Fischer_1960	GEOGCS["GCS_Fischer_1960",DATUM["D_Fischer_1960",SPHEROID["Fischer_1960",6378166.0,298.3]],PRIMEM
37003	GCS_Fischer_1968	GEOGCS["GCS_Fischer_1968",DATUM["D_Fischer_1968",SPHEROID["Fischer_1968",6378150.0,298.3]],PRIMEM
37004	GCS_Fischer_Modified	GEOGCS["GCS_Fischer_Modified",DATUM["D_Fischer_Modified",SPHEROID["Fischer_Modified",6378155.0,298.3
37005	GCS_Hough_1960	GEOGCS["GCS_Hough_1960",DATUM["D_Hough_1960",SPHEROID["Hough_1960",6378270.0,297.0]],PRIMEM["G
37006	GCS_Everest_Modified_1969	GEOGCS["GCS_Everest_Modified_1969",DATUM["D_Everest_Modified_1969",SPHEROID["Everest_Modified_196
37007	GCS_Walbeck	GEOGCS["GCS_Walbeck",DATUM["D_Walbeck",SPHEROID["Walbeck",6376896.0,302.78]],PRIMEM["Greenwich",
37008	GCS_Sphere_ARC_INFO	GEOGCS["GCS_Sphere_ARC_INFO",DATUM["D_Sphere_ARC_INFO",SPHEROID["Sphere_ARC_INFO",6370997
37202	GCS_Everest_Bangladesh	GEOGCS["GCS_Everest_Bangladesh",DATUM["D_Everest_Bangladesh",SPHEROID["Everest_Adjustment_1937",
37203	GCS_Everest_India_Nepal	GEOGCS["GCS_Everest_India_Nepal",DATUM["D_Everest_India_Nepal",SPHEROID["Everest_Definition_1962",63
37206	GCS_Oman	GEOGCS["GCS_Oman",DATUM["D_Oman",SPHEROID["Clarke_1880_RGS",6378249.145,293.465]],PRIMEM["Gre
37207	GCS_South_Asia_Singapore	GEOGCS["GCS_South_Asia_Singapore",DATUM["D_South_Asia_Singapore",SPHEROID["Fischer_Modified",6378
37218	GCS_DOS_1968	GEOGCS["GCS_DOS_1968",DATUM["D_DOS_1968",SPHEROID["International_1924",6378388.0,297.0]],PRIMEM
37221	GCS_GUX_1	GEOGCS["GCS_GUX_1",DATUM["D_GUX_1",SPHEROID["International_1924",6378388.0,297.0]],PRIMEM["Green
37225	GCS_Carthage_Grad	GEOGCS["GCS_Carthage_Grad",DATUM["D_Carthage",SPHEROID["Clarke_1880_IGN",6378249.2,293.46602129
37240	GCS_Fort_Thomas_1955	GEOGCS["GCS_Fort_Thomas_1955",DATUM["D_Fort_Thomas_1955",SPHEROID["Clarke_1880_RGS",6378249.1
37241	GCS_Graciosa_Base_SW_1948	GEOGCS["GCS_Graciosa_Base_SW_1948",DATUM["D_Graciosa_Base_SW_1948",SPHEROID["International_192
37243	GCS_LC5_1961	GEOGCS["GCS_LC5_1961",DATUM["D_LC5_1961",SPHEROID["Clarke_1866",6378206.4,294.9786982]],PRIMEM
37245	GCS_Observatorio_Meteorologico_1939	GEOGCS["GCS_Observatorio_Meteorologico_1939",DATUM["D_Observatorio_Meteorologico_1939",SPHEROID["I
37249	GCS_Sao_Braz	GEOGCS["GCS_Sao_Braz",DATUM["D_Sao_Braz",SPHEROID["International_1924",6378388.0,297.0]],PRIMEM["G
37257	GCS_S42_Hungary	GEOGCS["GCS_S42_Hungary",DATUM["D_S42_Hungary",SPHEROID["Krasovsky_1940",6378245.0,298.3]],PRIM
37260	GCS_Alaskan_Islands	GEOGCS["GCS_Alaskan_Islands",DATUM["D_Alaskan_Islands",SPHEROID["Clarke_1866",6378206.4,294.978698
104101	GCS_Estonia_1937	GEOGCS["GCS_Estonia_1937",DATUM["D_Estonia_1937",SPHEROID["Bessel_1841",6377397.155,299.1528128]]
104102	GCS_Hermannskogel	GEOGCS["GCS_Hermannskogel",DATUM["D_Hermannskogel",SPHEROID["Bessel_1841",6377397.155,299.15281
104103	GCS_Sierra_Leone_1960	GEOGCS["GCS_Sierra_Leone_1960",DATUM["D_Sierra_Leone_1960",SPHEROID["Clarke_1880_RGS",6378249.1
104105	GCS_Datum_Lisboa_Bessel	GEOGCS["GCS_Datum_Lisboa_Bessel",DATUM["D_Datum_Lisboa_Bessel",SPHEROID["Bessel_1841",6377397.1

Copyright © 1995-2016 Esri. All rights reserved.

104106	GCS_Datum_Lisboa_Hayford	GEOGCS["GCS_Datum_Lisboa_Hayford",DATUM["D_Datum_Lisboa_Hayford",SPHEROID["International_1924",63
104109	GCS_Pohnpei	GEOGCS["GCS_Pohnpei",DATUM["D_Pohnpei",SPHEROID["Clarke_1866",6378206.4,294.9786982]],PRIMEM["Gr
104112	GCS_Bab_South	GEOGCS["GCS_Bab_South",DATUM["D_Bab_South",SPHEROID["Clarke_1866",6378206.4,294.9786982]],PRIME
104113	GCS_Majuro	GEOGCS["GCS_Majuro",DATUM["D_Majuro",SPHEROID["Clarke_1866",6378206.4,294.9786982]],PRIMEM["Gree
104115	GCS_ITRF_1988	GEOGCS["GCS_ITRF_1988",DATUM["D_ITRF_1988",SPHEROID["GRS_1980",6378137.0,298.257222101]],PRIM
104116	GCS_ITRF_1989	GEOGCS["GCS_ITRF_1989",DATUM["D_ITRF_1989",SPHEROID["GRS_1980",6378137.0,298.257222101]],PRIM
104117	GCS_ITRF_1990	GEOGCS["GCS_ITRF_1990",DATUM["D_ITRF_1990",SPHEROID["GRS_1980",6378137.0,298.257222101]],PRIM
104118	GCS_ITRF_1991	GEOGCS["GCS_ITRF_1991",DATUM["D_ITRF_1991",SPHEROID["GRS_1980",6378137.0,298.257222101]],PRIM
104119	GCS_ITRF_1992	GEOGCS["GCS_ITRF_1992",DATUM["D_ITRF_1992",SPHEROID["GRS_1980",6378137.0,298.257222101]],PRIM
104120	GCS_ITRF_1993	GEOGCS["GCS_ITRF_1993",DATUM["D_ITRF_1993",SPHEROID["GRS_1980",6378137.0,298.257222101]],PRIM
104121	GCS_ITRF_1994	GEOGCS["GCS_ITRF_1994",DATUM["D_ITRF_1994",SPHEROID["GRS_1980",6378137.0,298.257222101]],PRIM
104122	GCS_ITRF_1996	GEOGCS["GCS_ITRF_1996",DATUM["D_ITRF_1996",SPHEROID["GRS_1980",6378137.0,298.257222101]],PRIM
104123	GCS_ITRF_1997	GEOGCS["GCS_ITRF_1997",DATUM["D_ITRF_1997",SPHEROID["GRS_1980",6378137.0,298.257222101]],PRIM
104124	GCS_ITRF_2000	GEOGCS["GCS_ITRF_2000",DATUM["D_ITRF_2000",SPHEROID["GRS_1980",6378137.0,298.257222101]],PRIM
104126	GCS_Observatorio_Meteorologico_1965	GEOGCS["GCS_Observatorio_Meteorologico_1965",DATUM["D_Observatorio_Meteorologico_1965",SPHEROID["I
104127	GCS_Roma_1940	GEOGCS["GCS_Roma_1940",DATUM["D_Roma_1940",SPHEROID["International_1924",6378388.0,297.0]],PRIME
104128	GCS_Sphere_EMEP	GEOGCS["GCS_Sphere_EMEP",DATUM["D_Sphere_EMEP",SPHEROID["Sphere_EMEP",6370000.0,0.0]],PRIME
104129	GCS_EUREF_FIN	GEOGCS["GCS_EUREF_FIN",DATUM["D_ETRS_1989",SPHEROID["GRS_1980",6378137.0,298.257222101]],PRI
104130	GCS_Jordan	GEOGCS["GCS_Jordan",DATUM["D_Jordan",SPHEROID["International_1924",6378388.0,297.0]],PRIMEM["Greenw
104131	GCS_D48	GEOGCS["GCS_D48",DATUM["D_D48",SPHEROID["Bessel_1841",6377397.155,299.1528128]],PRIMEM["Greenw
104134	GCS_MONREF_1997	GEOGCS["GCS_MONREF_1997",DATUM["D_ITRF_2000",SPHEROID["GRS_1980",6378137.0,298.257222101]],P
104135	GCS_MSK_1942	GEOGCS["GCS_MSK_1942",DATUM["D_Pulkovo_1942",SPHEROID["Krasovsky_1940",6378245.0,298.3]],PRIME
104138	GCS_Old_Hawaiian_Intl_1924	GEOGCS["GCS_Old_Hawaiian_Intl_1924",DATUM["D_Old_Hawaiian_Intl_1924",SPHEROID["International_1924",6
104139	GCS_Voirol_1875_Grad	GEOGCS["GCS_Voirol_1875_Grad",DATUM["D_Voirol_1875",SPHEROID["Clarke_1880_IGN",6378249.2,293.4660
104140	GCS_Voirol_1879_Grad	GEOGCS["GCS_Voirol_1879_Grad",DATUM["D_Voirol_1879",SPHEROID["Clarke_1880_IGN",6378249.2,293.4660
104141	GCS_CGRS_1993	GEOGCS["GCS_CGRS_1993",DATUM["D_Cyprus_Geodetic_Reference_System_1993",SPHEROID["WGS_1984",
104223	GCS_NAD_1983_CORS96	GEOGCS["GCS_NAD_1983_CORS96",DATUM["D_NAD_1983_CORS96",SPHEROID["GRS_1980",6378137.0,298
104248	GCS_MACAO_2008	GEOGCS["GCS_MACAO_2008",DATUM["D_MACAO_2008",SPHEROID["GRS_1980",6378137.0,298.257222101]]
104257	GCS_ITRF_2008	GEOGCS["GCS_ITRF_2008",DATUM["D_ITRF_2008",SPHEROID["GRS_1980",6378137.0,298.257222101]],PRIM
104258	GCS_ETRF_1989	GEOGCS["GCS_ETRF_1989",DATUM["D_ETRF_1989",SPHEROID["WGS_1984",6378137.0,298.257223563]],PRI
104259	GCS_NAD_1983_PACP00	GEOGCS["GCS_NAD_1983_PACP00",DATUM["D_NAD_1983_PACP00",SPHEROID["GRS_1980",6378137.0,298.
104260	GCS_NAD_1983_MARP00	GEOGCS["GCS_NAD_1983_MARP00",DATUM["D_NAD_1983_MARP00",SPHEROID["GRS_1980",6378137.0,298
104261	GCS_Merchich_Degree	GEOGCS["GCS_Merchich_Degree",DATUM["D_Merchich",SPHEROID["Clarke_1880_IGN",6378249.2,293.466021
104305	GCS_Voirol_Unifie_1960_Degree	GEOGCS["GCS_Voirol_Unifie_1960_Degree",DATUM["D_Voirol_Unifie_1960",SPHEROID["Clarke_1880_RGS",637
104700	GCS_NAD_1983_HARN_Adj_MN_Anoka	GEOGCS["GCS_NAD_1983_HARN_Adj_MN_Anoka",DATUM["D_NAD_1983_HARN_Adj_MN_Anoka",SPHEROID
104701	GCS_NAD_1983_HARN_Adj_MN_Becker	GEOGCS["GCS_NAD_1983_HARN_Adj_MN_Becker",DATUM["D_NAD_1983_HARN_Adj_MN_Becker",SPHEROID
104702	GCS_NAD_1983_HARN_Adj_MN_Beltrami_North	GEOGCS["GCS_NAD_1983_HARN_Adj_MN_Beltrami_North",DATUM["D_NAD_1983_HARN_Adj_MN_Beltrami_N
104703	GCS_NAD_1983_HARN_Adj_MN_Beltrami_South	GEOGCS["GCS_NAD_1983_HARN_Adj_MN_Beltrami_South",DATUM["D_NAD_1983_HARN_Adj_MN_Beltrami_S
104704	GCS_NAD_1983_HARN_Adj_MN_Benton	GEOGCS["GCS_NAD_1983_HARN_Adj_MN_Benton",DATUM["D_NAD_1983_HARN_Adj_MN_Benton",SPHEROI
104705	GCS_NAD_1983_HARN_Adj_MN_Big_Stone	GEOGCS["GCS_NAD_1983_HARN_Adj_MN_Big_Stone",DATUM["D_NAD_1983_HARN_Adj_MN_Big_Stone",SPH
104706	GCS_NAD_1983_HARN_Adj_MN_Blue_Earth	GEOGCS["GCS_NAD_1983_HARN_Adj_MN_Blue_Earth",DATUM["D_NAD_1983_HARN_Adj_MN_Blue_Earth",SP
104707	GCS_NAD_1983_HARN_Adj_MN_Brown	GEOGCS["GCS_NAD_1983_HARN_Adj_MN_Brown",DATUM["D_NAD_1983_HARN_Adj_MN_Brown",SPHEROID
104708	GCS_NAD_1983_HARN_Adj_MN_Carlton	GEOGCS["GCS_NAD_1983_HARN_Adj_MN_Carlton",DATUM["D_NAD_1983_HARN_Adj_MN_Carlton",SPHEROI
104709	GCS_NAD_1983_HARN_Adj_MN_Carver	GEOGCS["GCS_NAD_1983_HARN_Adj_MN_Carver",DATUM["D_NAD_1983_HARN_Adj_MN_Carver",SPHEROID
104710	GCS_NAD_1983_HARN_Adj_MN_Cass_North	GEOGCS["GCS_NAD_1983_HARN_Adj_MN_Cass_North",DATUM["D_NAD_1983_HARN_Adj_MN_Cass_North",S
104711	GCS_NAD_1983_HARN_Adj_MN_Cass_South	GEOGCS["GCS_NAD_1983_HARN_Adj_MN_Cass_South",DATUM["D_NAD_1983_HARN_Adj_MN_Cass_South",
104712	GCS_NAD_1983_HARN_Adj_MN_Chippewa	GEOGCS["GCS_NAD_1983_HARN_Adj_MN_Chippewa",DATUM["D_NAD_1983_HARN_Adj_MN_Chippewa",SPH
104713	GCS_NAD_1983_HARN_Adj_MN_Chisago	GEOGCS["GCS_NAD_1983_HARN_Adj_MN_Chisago",DATUM["D_NAD_1983_HARN_Adj_MN_Chisago",SPHER
104714	GCS_NAD_1983_HARN_Adj_MN_Cook_North	GEOGCS["GCS_NAD_1983_HARN_Adj_MN_Cook_North",DATUM["D_NAD_1983_HARN_Adj_MN_Cook_North",S
104715	GCS_NAD_1983_HARN_Adj_MN_Cook_South	GEOGCS["GCS_NAD_1983_HARN_Adj_MN_Cook_South",DATUM["D_NAD_1983_HARN_Adj_MN_Cook_South",
104716	GCS_NAD_1983_HARN_Adj_MN_Cottonwood	GEOGCS["GCS_NAD_1983_HARN_Adj_MN_Cottonwood",DATUM["D_NAD_1983_HARN_Adj_MN_Cottonwood",S
104717	GCS_NAD_1983_HARN_Adj_MN_Crow_Wing	GEOGCS["GCS_NAD_1983_HARN_Adj_MN_Crow_Wing",DATUM["D_NAD_1983_HARN_Adj_MN_Crow_Wing",S
104718	GCS_NAD_1983_HARN_Adj_MN_Dakota	GEOGCS["GCS_NAD_1983_HARN_Adj_MN_Dakota",DATUM["D_NAD_1983_HARN_Adj_MN_Dakota",SPHEROI
104719	GCS_NAD_1983_HARN_Adj_MN_Dodge	GEOGCS["GCS_NAD_1983_HARN_Adj_MN_Dodge",DATUM["D_NAD_1983_HARN_Adj_MN_Dodge",SPHEROID

Copyright © 1995-2016 Esri. All rights reserved.

104720	GCS_NAD_1983_HARN_Adj_MN_Douglas	GEOGCS["GCS_NAD_1983_HARN_Adj_MN_Douglas",DATUM["D_NAD_1983_HARN_Adj_MN_Douglas",SPHERO
104721	GCS_NAD_1983_HARN_Adj_MN_Faribault	GEOGCS["GCS_NAD_1983_HARN_Adj_MN_Faribault",DATUM["D_NAD_1983_HARN_Adj_MN_Faribault",SPHER
104722	GCS_NAD_1983_HARN_Adj_MN_Fillmore	GEOGCS["GCS_NAD_1983_HARN_Adj_MN_Fillmore",DATUM["D_NAD_1983_HARN_Adj_MN_Fillmore",SPHERO
104723	GCS_NAD_1983_HARN_Adj_MN_Freeborn	GEOGCS["GCS_NAD_1983_HARN_Adj_MN_Freeborn",DATUM["D_NAD_1983_HARN_Adj_MN_Freeborn",SPHE
104724	GCS_NAD_1983_HARN_Adj_MN_Goodhue	GEOGCS["GCS_NAD_1983_HARN_Adj_MN_Goodhue",DATUM["D_NAD_1983_HARN_Adj_MN_Goodhue",SPHE
104725	GCS_NAD_1983_HARN_Adj_MN_Grant	GEOGCS["GCS_NAD_1983_HARN_Adj_MN_Grant",DATUM["D_NAD_1983_HARN_Adj_MN_Grant",SPHEROID["S
104726	GCS_NAD_1983_HARN_Adj_MN_Hennepin	GEOGCS["GCS_NAD_1983_HARN_Adj_MN_Hennepin",DATUM["D_NAD_1983_HARN_Adj_MN_Hennepin",SPHE
104727	GCS_NAD_1983_HARN_Adj_MN_Houston	GEOGCS["GCS_NAD_1983_HARN_Adj_MN_Houston",DATUM["D_NAD_1983_HARN_Adj_MN_Houston",SPHERO
104728	GCS_NAD_1983_HARN_Adj_MN_Isanti	GEOGCS["GCS_NAD_1983_HARN_Adj_MN_Isanti",DATUM["D_NAD_1983_HARN_Adj_MN_Isanti",SPHEROID["S
104729	GCS_NAD_1983_HARN_Adj_MN_Itasca_North	GEOGCS["GCS_NAD_1983_HARN_Adj_MN_Itasca_North",DATUM["D_NAD_1983_HARN_Adj_MN_Itasca_North"
104730	GCS_NAD_1983_HARN_Adj_MN_Itasca_South	GEOGCS["GCS_NAD_1983_HARN_Adj_MN_Itasca_South",DATUM["D_NAD_1983_HARN_Adj_MN_Itasca_South
104731	GCS_NAD_1983_HARN_Adj_MN_Jackson	GEOGCS["GCS_NAD_1983_HARN_Adj_MN_Jackson",DATUM["D_NAD_1983_HARN_Adj_MN_Jackson",SPHERO
104732	GCS_NAD_1983_HARN_Adj_MN_Kanabec	GEOGCS["GCS_NAD_1983_HARN_Adj_MN_Kanabec",DATUM["D_NAD_1983_HARN_Adj_MN_Kanabec",SPHER
104733	GCS_NAD_1983_HARN_Adj_MN_Kandiyohi	GEOGCS["GCS_NAD_1983_HARN_Adj_MN_Kandiyohi",DATUM["D_NAD_1983_HARN_Adj_MN_Kandiyohi",SPH
104734	GCS_NAD_1983_HARN_Adj_MN_Kittson	GEOGCS["GCS_NAD_1983_HARN_Adj_MN_Kittson",DATUM["D_NAD_1983_HARN_Adj_MN_Kittson",SPHEROID
104735	GCS_NAD_1983_HARN_Adj_MN_Koochiching	GEOGCS["GCS_NAD_1983_HARN_Adj_MN_Koochiching",DATUM["D_NAD_1983_HARN_Adj_MN_Koochiching",
104736	GCS_NAD_1983_HARN_Adj_MN_Lac_Qui_Parle	GEOGCS["GCS_NAD_1983_HARN_Adj_MN_Lac_Qui_Parle",DATUM["D_NAD_1983_HARN_Adj_MN_Lac_Qui_P
104737	GCS_NAD_1983_HARN_Adj_MN_Lake_of_the_Woods_North	GEOGCS["GCS_NAD_1983_HARN_Adj_MN_Lake_of_the_Woods_North",DATUM["D_NAD_1983_HARN_Adj_MN
104738	GCS_NAD_1983_HARN_Adj_MN_Lake_of_the_Woods_South	GEOGCS["GCS_NAD_1983_HARN_Adj_MN_Lake_of_the_Woods_South",DATUM["D_NAD_1983_HARN_Adj_MN
104739	GCS_NAD_1983_HARN_Adj_MN_Le_Sueur	GEOGCS["GCS_NAD_1983_HARN_Adj_MN_Le_Sueur",DATUM["D_NAD_1983_HARN_Adj_MN_Le_Sueur",SPHE
104740	GCS_NAD_1983_HARN_Adj_MN_Lincoln	GEOGCS["GCS_NAD_1983_HARN_Adj_MN_Lincoln",DATUM["D_NAD_1983_HARN_Adj_MN_Lincoln",SPHEROI
104741	GCS_NAD_1983_HARN_Adj_MN_Lyon	GEOGCS["GCS_NAD_1983_HARN_Adj_MN_Lyon",DATUM["D_NAD_1983_HARN_Adj_MN_Lyon",SPHEROID["S_
104742	GCS_NAD_1983_HARN_Adj_MN_McLeod	GEOGCS["GCS_NAD_1983_HARN_Adj_MN_McLeod",DATUM["D_NAD_1983_HARN_Adj_MN_McLeod",SPHERO
104743	GCS_NAD_1983_HARN_Adj_MN_Mahnomen	GEOGCS["GCS_NAD_1983_HARN_Adj_MN_Mahnomen",DATUM["D_NAD_1983_HARN_Adj_MN_Mahnomen",SP
104744	GCS_NAD_1983_HARN_Adj_MN_Marshall	GEOGCS["GCS_NAD_1983_HARN_Adj_MN_Marshall",DATUM["D_NAD_1983_HARN_Adj_MN_Marshall",SPHER
104745	GCS_NAD_1983_HARN_Adj_MN_Martin	GEOGCS["GCS_NAD_1983_HARN_Adj_MN_Martin",DATUM["D_NAD_1983_HARN_Adj_MN_Martin",SPHEROID[
104746	GCS_NAD_1983_HARN_Adj_MN_Meeker	GEOGCS["GCS_NAD_1983_HARN_Adj_MN_Meeker",DATUM["D_NAD_1983_HARN_Adj_MN_Meeker",SPHERO
104747	GCS_NAD_1983_HARN_Adj_MN_Morrison	GEOGCS["GCS_NAD_1983_HARN_Adj_MN_Morrison",DATUM["D_NAD_1983_HARN_Adj_MN_Morrison",SPHER
104748	GCS_NAD_1983_HARN_Adj_MN_Mower	GEOGCS["GCS_NAD_1983_HARN_Adj_MN_Mower",DATUM["D_NAD_1983_HARN_Adj_MN_Mower",SPHEROID
104749	GCS_NAD_1983_HARN_Adj_MN_Murray	GEOGCS["GCS_NAD_1983_HARN_Adj_MN_Murray",DATUM["D_NAD_1983_HARN_Adj_MN_Murray",SPHEROID
104750	GCS_NAD_1983_HARN_Adj_MN_Nicollet	GEOGCS["GCS_NAD_1983_HARN_Adj_MN_Nicollet",DATUM["D_NAD_1983_HARN_Adj_MN_Nicollet",SPHEROI
104751	GCS_NAD_1983_HARN_Adj_MN_Nobles	GEOGCS["GCS_NAD_1983_HARN_Adj_MN_Nobles",DATUM["D_NAD_1983_HARN_Adj_MN_Nobles",SPHEROID
104752	GCS_NAD_1983_HARN_Adj_MN_Norman	GEOGCS["GCS_NAD_1983_HARN_Adj_MN_Norman",DATUM["D_NAD_1983_HARN_Adj_MN_Norman",SPHERO
104753	GCS_NAD_1983_HARN_Adj_MN_Olmsted	GEOGCS["GCS_NAD_1983_HARN_Adj_MN_Olmsted",DATUM["D_NAD_1983_HARN_Adj_MN_Olmsted",SPHER
104754	GCS_NAD_1983_HARN_Adj_MN_Ottertail	GEOGCS["GCS_NAD_1983_HARN_Adj_MN_Ottertail",DATUM["D_NAD_1983_HARN_Adj_MN_Ottertail",SPHERO
104755	GCS_NAD_1983_HARN_Adj_MN_Pennington	GEOGCS["GCS_NAD_1983_HARN_Adj_MN_Pennington",DATUM["D_NAD_1983_HARN_Adj_MN_Pennington",SI
104756	GCS_NAD_1983_HARN_Adj_MN_Pine	GEOGCS["GCS_NAD_1983_HARN_Adj_MN_Pine",DATUM["D_NAD_1983_HARN_Adj_MN_Pine",SPHEROID["S_
104757	GCS_NAD_1983_HARN_Adj_MN_Pipestone	GEOGCS["GCS_NAD_1983_HARN_Adj_MN_Pipestone",DATUM["D_NAD_1983_HARN_Adj_MN_Pipestone",SPH
104758	GCS_NAD_1983_HARN_Adj_MN_Polk	GEOGCS["GCS_NAD_1983_HARN_Adj_MN_Polk",DATUM["D_NAD_1983_HARN_Adj_MN_Polk",SPHEROID["S_
104759	GCS_NAD_1983_HARN_Adj_MN_Pope	GEOGCS["GCS_NAD_1983_HARN_Adj_MN_Pope",DATUM["D_NAD_1983_HARN_Adj_MN_Pope",SPHEROID["S
104760	GCS_NAD_1983_HARN_Adj_MN_Ramsey	GEOGCS["GCS_NAD_1983_HARN_Adj_MN_Ramsey",DATUM["D_NAD_1983_HARN_Adj_MN_Ramsey",SPHERO
104761	GCS_NAD_1983_HARN_Adj_MN_Red_Lake	GEOGCS["GCS_NAD_1983_HARN_Adj_MN_Red_Lake",DATUM["D_NAD_1983_HARN_Adj_MN_Red_Lake",SPH
104762	GCS_NAD_1983_HARN_Adj_MN_Redwood	GEOGCS["GCS_NAD_1983_HARN_Adj_MN_Redwood",DATUM["D_NAD_1983_HARN_Adj_MN_Redwood",SPHE
104763	GCS_NAD_1983_HARN_Adj_MN_Renville	GEOGCS["GCS_NAD_1983_HARN_Adj_MN_Renville",DATUM["D_NAD_1983_HARN_Adj_MN_Renville",SPHERO
104764	GCS_NAD_1983_HARN_Adj_MN_Rice	GEOGCS["GCS_NAD_1983_HARN_Adj_MN_Rice",DATUM["D_NAD_1983_HARN_Adj_MN_Rice",SPHEROID["S_
104765	GCS_NAD_1983_HARN_Adj_MN_Rock	GEOGCS["GCS_NAD_1983_HARN_Adj_MN_Rock",DATUM["D_NAD_1983_HARN_Adj_MN_Rock",SPHEROID["S
104766	GCS_NAD_1983_HARN_Adj_MN_Roseau	GEOGCS["GCS_NAD_1983_HARN_Adj_MN_Roseau",DATUM["D_NAD_1983_HARN_Adj_MN_Roseau",SPHERO
104767	GCS_NAD_1983_HARN_Adj_MN_St_Louis_North	GEOGCS["GCS_NAD_1983_HARN_Adj_MN_St_Louis_North",DATUM["D_NAD_1983_HARN_Adj_MN_St_Louis_N
104768	GCS_NAD_1983_HARN_Adj_MN_St_Louis_Central	GEOGCS["GCS_NAD_1983_HARN_Adj_MN_St_Louis_Central",DATUM["D_NAD_1983_HARN_Adj_MN_St_Louis
104769	GCS_NAD_1983_HARN_Adj_MN_St_Louis_South	GEOGCS["GCS_NAD_1983_HARN_Adj_MN_St_Louis_South",DATUM["D_NAD_1983_HARN_Adj_MN_St_Louis_
104770	GCS_NAD_1983_HARN_Adj_MN_Scott	GEOGCS["GCS_NAD_1983_HARN_Adj_MN_Scott",DATUM["D_NAD_1983_HARN_Adj_MN_Scott",SPHEROID["S
104771	GCS_NAD_1983_HARN_Adj_MN_Sherburne	GEOGCS["GCS_NAD_1983_HARN_Adj_MN_Sherburne",DATUM["D_NAD_1983_HARN_Adj_MN_Sherburne",SPH
104772	GCS_NAD_1983_HARN_Adj_MN_Sibley	GEOGCS["GCS_NAD_1983_HARN_Adj_MN_Sibley",DATUM["D_NAD_1983_HARN_Adj_MN_Sibley",SPHEROID[
104773	GCS_NAD_1983_HARN_Adj_MN_Stearns	GEOGCS["GCS_NAD_1983_HARN_Adj_MN_Stearns",DATUM["D_NAD_1983_HARN_Adj_MN_Stearns",SPHERO

Copyright © 1995-2016 Esri. All rights reserved.

104774	GCS_NAD_1983_HARN_Adj_MN_Steele	GEOGCS["GCS_NAD_1983_HARN_Adj_MN_Steele",DATUM["D_NAD_1983_HARN_Adj_MN_Steele",SPHEROID[
104775	GCS_NAD_1983_HARN_Adj_MN_Stevens	GEOGCS["GCS_NAD_1983_HARN_Adj_MN_Stevens",DATUM["D_NAD_1983_HARN_Adj_MN_Stevens",SPHERO
104776	GCS_NAD_1983_HARN_Adj_MN_Swift	GEOGCS["GCS_NAD_1983_HARN_Adj_MN_Swift",DATUM["D_NAD_1983_HARN_Adj_MN_Swift",SPHEROID["S_
104777	GCS_NAD_1983_HARN_Adj_MN_Todd	GEOGCS["GCS_NAD_1983_HARN_Adj_MN_Todd",DATUM["D_NAD_1983_HARN_Adj_MN_Todd",SPHEROID["S_
104778	GCS_NAD_1983_HARN_Adj_MN_Traverse	GEOGCS["GCS_NAD_1983_HARN_Adj_MN_Traverse",DATUM["D_NAD_1983_HARN_Adj_MN_Traverse",SPHER
104779	GCS_NAD_1983_HARN_Adj_MN_Wabasha	GEOGCS["GCS_NAD_1983_HARN_Adj_MN_Wabasha",DATUM["D_NAD_1983_HARN_Adj_MN_Wabasha",SPHE
104780	GCS_NAD_1983_HARN_Adj_MN_Wadena	GEOGCS["GCS_NAD_1983_HARN_Adj_MN_Wadena",DATUM["D_NAD_1983_HARN_Adj_MN_Wadena",SPHERO
104781	GCS_NAD_1983_HARN_Adj_MN_Waseca	GEOGCS["GCS_NAD_1983_HARN_Adj_MN_Waseca",DATUM["D_NAD_1983_HARN_Adj_MN_Waseca",SPHERO
104782	GCS_NAD_1983_HARN_Adj_MN_Watonwan	GEOGCS["GCS_NAD_1983_HARN_Adj_MN_Watonwan",DATUM["D_NAD_1983_HARN_Adj_MN_Watonwan",SPH
104783	GCS_NAD_1983_HARN_Adj_MN_Winona	GEOGCS["GCS_NAD_1983_HARN_Adj_MN_Winona",DATUM["D_NAD_1983_HARN_Adj_MN_Winona",SPHERO
104784	GCS_NAD_1983_HARN_Adj_MN_Wright	GEOGCS["GCS_NAD_1983_HARN_Adj_MN_Wright",DATUM["D_NAD_1983_HARN_Adj_MN_Wright",SPHEROID
104785	GCS_NAD_1983_HARN_Adj_MN_Yellow_Medicine	GEOGCS["GCS_NAD_1983_HARN_Adj_MN_Yellow_Medicine",DATUM["D_NAD_1983_HARN_Adj_MN_Yellow_M
104786	GCS_NAD_1983_HARN_Adj_MN_St_Louis	GEOGCS["GCS_NAD_1983_HARN_Adj_MN_St_Louis",DATUM["D_NAD_1983_HARN_Adj_MN_St_Louis",SPHER
104896	GCS_ITRF_2005	GEOGCS["GCS_ITRF_2005",DATUM["D_ITRF_2005",SPHEROID["GRS_1980",6378137.0,298.257222101]],PRIM
104900	GCS_Mercury_2000	GEOGCS["GCS_Mercury_2000",DATUM["D_Mercury_2000",SPHEROID["Mercury_2000_IAU_IAG",2439700.0,0.0]
104901	GCS_Venus_1985	GEOGCS["GCS_Venus_1985",DATUM["D_Venus_1985",SPHEROID["Venus_1985_IAU_IAG_COSPAR",6051000.0
104902	GCS_Venus_2000	GEOGCS["GCS_Venus_2000",DATUM["D_Venus_2000",SPHEROID["Venus_2000_IAU_IAG",6051800.0,0.0]],PRIM
104903	GCS_Moon_2000	GEOGCS["GCS_Moon_2000",DATUM["D_Moon_2000",SPHEROID["Moon_2000_IAU_IAG",1737400.0,0.0]],PRIME
104904	GCS_Mars_1979	GEOGCS["GCS_Mars_1979",DATUM["D_Mars_1979",SPHEROID["Mars_1979_IAU_IAG",3393400.0,192.0430107
104905	GCS_Mars_2000	GEOGCS["GCS_Mars_2000",DATUM["D_Mars_2000",SPHEROID["Mars_2000_IAU_IAG",3396190.0,169.8944472
104906	GCS_Deimos_2000	GEOGCS["GCS_Deimos_2000",DATUM["D_Deimos_2000",SPHEROID["Deimos_2000_IAU_IAG",6200.0,0.0]],PRI
104907	GCS_Phobos_2000	GEOGCS["GCS_Phobos_2000",DATUM["D_Phobos_2000",SPHEROID["Phobos_2000_IAU_IAG",11100.0,0.0]],PR
104908	GCS_Jupiter_2000	GEOGCS["GCS_Jupiter_2000",DATUM["D_Jupiter_2000",SPHEROID["Jupiter_2000_IAU_IAG",71492000.0,15.414
104909	GCS_Adrastea_2000	GEOGCS["GCS_Adrastea_2000",DATUM["D_Adrastea_2000",SPHEROID["Adrastea_2000_IAU_IAG",8200.0,0.0]],
104910	GCS_Amalthea_2000	GEOGCS["GCS_Amalthea_2000",DATUM["D_Amalthea_2000",SPHEROID["Amalthea_2000_IAU_IAG",83500.0,0.0
104911	GCS_Ananke_2000	GEOGCS["GCS_Ananke_2000",DATUM["D_Ananke_2000",SPHEROID["Ananke_2000_IAU_IAG",10000.0,0.0]],PR
104912	GCS_Callisto_2000	GEOGCS["GCS_Callisto_2000",DATUM["D_Callisto_2000",SPHEROID["Callisto_2000_IAU_IAG",2409300.0,0.0]],P
104913	GCS_Carme_2000	GEOGCS["GCS_Carme_2000",DATUM["D_Carme_2000",SPHEROID["Carme_2000_IAU_IAG",15000.0,0.0]],PRIM
104914	GCS_Elara_2000	GEOGCS["GCS_Elara_2000",DATUM["D_Elara_2000",SPHEROID["Elara_2000_IAU_IAG",40000.0,0.0]],PRIMEM["
104915	GCS_Europa_2000	GEOGCS["GCS_Europa_2000",DATUM["D_Europa_2000",SPHEROID["Europa_2000_IAU_IAG",1562090.0,0.0]],P
104916	GCS_Ganymede_2000	GEOGCS["GCS_Ganymede_2000",DATUM["D_Ganymede_2000",SPHEROID["Ganymede_2000_IAU_IAG",26323
104917	GCS_Himalia_2000	GEOGCS["GCS_Himalia_2000",DATUM["D_Himalia_2000",SPHEROID["Himalia_2000_IAU_IAG",85000.0,0.0]],PR
104918	GCS_Io_2000	GEOGCS["GCS_Io_2000",DATUM["D_Io_2000",SPHEROID["Io_2000_IAU_IAG",1821460.0,0.0]],PRIMEM["Referen
104919	GCS_Leda_2000	GEOGCS["GCS_Leda_2000",DATUM["D_Leda_2000",SPHEROID["Leda_2000_IAU_IAG",5000.0,0.0]],PRIMEM["R
104920	GCS_Lysithea_2000	GEOGCS["GCS_Lysithea_2000",DATUM["D_Lysithea_2000",SPHEROID["Lysithea_2000_IAU_IAG",12000.0,0.0]],P
104921	GCS_Metis_2000	GEOGCS["GCS_Metis_2000",DATUM["D_Metis_2000",SPHEROID["Metis_2000_IAU_IAG",30000.0,3.0]],PRIMEM[
104922	GCS_Pasiphae_2000	GEOGCS["GCS_Pasiphae_2000",DATUM["D_Pasiphae_2000",SPHEROID["Pasiphae_2000_IAU_IAG",18000.0,0.0
104923	GCS_Sinope_2000	GEOGCS["GCS_Sinope_2000",DATUM["D_Sinope_2000",SPHEROID["Sinope_2000_IAU_IAG",14000.0,0.0]],PRIM
104924	GCS_Thebe_2000	GEOGCS["GCS_Thebe_2000",DATUM["D_Thebe_2000",SPHEROID["Thebe_2000_IAU_IAG",49300.0,0.0]],PRIME
104925	GCS_Saturn_2000	GEOGCS["GCS_Saturn_2000",DATUM["D_Saturn_2000",SPHEROID["Saturn_2000_IAU_IAG",60268000.0,10.207
104926	GCS_Atlas_2000	GEOGCS["GCS_Atlas_2000",DATUM["D_Atlas_2000",SPHEROID["Atlas_2000_IAU_IAG",16000.0,0.0]],PRIMEM["I
104927	GCS_Calypso_2000	GEOGCS["GCS_Calypso_2000",DATUM["D_Calypso_2000",SPHEROID["Calypso_2000_IAU_IAG",9500.0,0.0]],PR
104928	GCS_Dione_2000	GEOGCS["GCS_Dione_2000",DATUM["D_Dione_2000",SPHEROID["Dione_2000_IAU_IAG",560000.0,0.0]],PRIME
104929	GCS_Enceladus_2000	GEOGCS["GCS_Enceladus_2000",DATUM["D_Enceladus_2000",SPHEROID["Enceladus_2000_IAU_IAG",249400.
104930	GCS_Epimetheus_2000	GEOGCS["GCS_Epimetheus_2000",DATUM["D_Epimetheus_2000",SPHEROID["Epimetheus_2000_IAU_IAG",595
104931	GCS_Helene_2000	GEOGCS["GCS_Helene_2000",DATUM["D_Helene_2000",SPHEROID["Helene_2000_IAU_IAG",16000.0,0.0]],PRIM
104932	GCS_Hyperion_2000	GEOGCS["GCS_Hyperion_2000",DATUM["D_Hyperion_2000",SPHEROID["Hyperion_2000_IAU_IAG",133000.0,0.0
104933	GCS_Iapetus_2000	GEOGCS["GCS_Iapetus_2000",DATUM["D_Iapetus_2000",SPHEROID["Iapetus_2000_IAU_IAG",718000.0,0.0]],PR
104934	GCS_Janus_2000	GEOGCS["GCS_Janus_2000",DATUM["D_Janus_2000",SPHEROID["Janus_2000_IAU_IAG",888000.0,0.0]],PRIME
104935	GCS_Mimas_2000	GEOGCS["GCS_Mimas_2000",DATUM["D_Mimas_2000",SPHEROID["Mimas_2000_IAU_IAG",1986300.0,0.0]],PR
104936	GCS_Pan_2000	GEOGCS["GCS_Pan_2000",DATUM["D_Pan_2000",SPHEROID["Pan_2000_IAU_IAG",10000.0,0.0]],PRIMEM["Ref
104937	GCS_Pandora_2000	GEOGCS["GCS_Pandora_2000",DATUM["D_Pandora_2000",SPHEROID["Pandora_2000_IAU_IAG",41900.0,0.0]],
104938	GCS_Phoebe_2000	GEOGCS["GCS_Phoebe_2000",DATUM["D_Phoebe_2000",SPHEROID["Phoebe_2000_IAU_IAG",110000.0,0.0]],P
104939	GCS_Prometheus_2000	GEOGCS["GCS_Prometheus_2000",DATUM["D_Prometheus_2000",SPHEROID["Prometheus_2000_IAU_IAG",501

Copyright © 1995-2016 Esri. All rights reserved.

104940	GCS_Rhea_2000	GEOGCS["GCS_Rhea_2000",DATUM["D_Rhea_2000",SPHEROID["Rhea_2000_IAU_IAG",764000.0,0.0]],PRIMEM
104941	GCS_Telesto_2000	GEOGCS["GCS_Telesto_2000",DATUM["D_Telesto_2000",SPHEROID["Telesto_2000_IAU_IAG",11000.0,0.0]],PRI
104942	GCS_Tethys_2000	GEOGCS["GCS_Tethys_2000",DATUM["D_Tethys_2000",SPHEROID["Tethys_2000_IAU_IAG",529800.0,0.0]],PRIM
104943	GCS_Titan_2000	GEOGCS["GCS_Titan_2000",DATUM["D_Titan_2000",SPHEROID["Titan_2000_IAU_IAG",2575000.0,0.0]],PRIMEM
104944	GCS_Uranus_2000	GEOGCS["GCS_Uranus_2000",DATUM["D_Uranus_2000",SPHEROID["Uranus_2000_IAU_IAG",25559000.0,43.61
104945	GCS_Ariel_2000	GEOGCS["GCS_Ariel_2000",DATUM["D_Ariel_2000",SPHEROID["Ariel_2000_IAU_IAG",578900.0,0.0]],PRIMEM["F
104946	GCS_Belinda_2000	GEOGCS["GCS_Belinda_2000",DATUM["D_Belinda_2000",SPHEROID["Belinda_2000_IAU_IAG",33000.0,0.0]],PR
104947	GCS_Bianca_2000	GEOGCS["GCS_Bianca_2000",DATUM["D_Bianca_2000",SPHEROID["Bianca_2000_IAU_IAG",21000.0,0.0]],PRIM
104948	GCS_Cordelia_2000	GEOGCS["GCS_Cordelia_2000",DATUM["D_Cordelia_2000",SPHEROID["Cordelia_2000_IAU_IAG",13000.0,0.0]],P
104949	GCS_Cressida_2000	GEOGCS["GCS_Cressida_2000",DATUM["D_Cressida_2000",SPHEROID["Cressida_2000_IAU_IAG",31000.0,0.0]]
104950	GCS_Desdemona_2000	GEOGCS["GCS_Desdemona_2000",DATUM["D_Desdemona_2000",SPHEROID["Desdemona_2000_IAU_IAG",270
104951	GCS_Juliet_2000	GEOGCS["GCS_Juliet_2000",DATUM["D_Juliet_2000",SPHEROID["Juliet_2000_IAU_IAG",42000.0,0.0]],PRIMEM["F
104952	GCS_Miranda_2000	GEOGCS["GCS_Miranda_2000",DATUM["D_Miranda_2000",SPHEROID["Miranda_2000_IAU_IAG",235800.0,0.0]],
104953	GCS_Oberon_2000	GEOGCS["GCS_Oberon_2000",DATUM["D_Oberon_2000",SPHEROID["Oberon_2000_IAU_IAG",761400.0,0.0]],PR
104954	GCS_Ophelia_2000	GEOGCS["GCS_Ophelia_2000",DATUM["D_Ophelia_2000",SPHEROID["Ophelia_2000_IAU_IAG",15000.0,0.0]],PR
104955	GCS_Portia_2000	GEOGCS["GCS_Portia_2000",DATUM["D_Portia_2000",SPHEROID["Portia_2000_IAU_IAG",54000.0,0.0]],PRIMEM
104956	GCS_Puck_2000	GEOGCS["GCS_Puck_2000",DATUM["D_Puck_2000",SPHEROID["Puck_2000_IAU_IAG",77000.0,0.0]],PRIMEM["F
104957	GCS_Rosalind_2000	GEOGCS["GCS_Rosalind_2000",DATUM["D_Rosalind_2000",SPHEROID["Rosalind_2000_IAU_IAG",27000.0,0.0]]
104958	GCS_Titania_2000	GEOGCS["GCS_Titania_2000",DATUM["D_Titania_2000",SPHEROID["Titania_2000_IAU_IAG",788900.0,0.0]],PRIM
104959	GCS_Umbriel_2000	GEOGCS["GCS_Umbriel_2000",DATUM["D_Umbriel_2000",SPHEROID["Umbriel_2000_IAU_IAG",584700.0,0.0]],P
104960	GCS_Neptune_2000	GEOGCS["GCS_Neptune_2000",DATUM["D_Neptune_2000",SPHEROID["Neptune_2000_IAU_IAG",24764000.0,5
104961	GCS_Despina_2000	GEOGCS["GCS_Despina_2000",DATUM["D_Despina_2000",SPHEROID["Despina_2000_IAU_IAG",74000.0,0.0]],P
104962	GCS_Galatea_2000	GEOGCS["GCS_Galatea_2000",DATUM["D_Galatea_2000",SPHEROID["Galatea_2000_IAU_IAG",79000.0,0.0]],PR
104963	GCS_Larissa_2000	GEOGCS["GCS_Larissa_2000",DATUM["D_Larissa_2000",SPHEROID["Larissa_2000_IAU_IAG",104000.0,6.93333
104964	GCS_Naiad_2000	GEOGCS["GCS_Naiad_2000",DATUM["D_Naiad_2000",SPHEROID["Naiad_2000_IAU_IAG",29000.0,0.0]],PRIMEM
104965	GCS_Nereid_2000	GEOGCS["GCS_Nereid_2000",DATUM["D_Nereid_2000",SPHEROID["Nereid_2000_IAU_IAG",170000.0,0.0]],PRIM
104966	GCS_Proteus_2000	GEOGCS["GCS_Proteus_2000",DATUM["D_Proteus_2000",SPHEROID["Proteus_2000_IAU_IAG",208000.0,0.0]],P
104967	GCS_Thalassa_2000	GEOGCS["GCS_Thalassa_2000",DATUM["D_Thalassa_2000",SPHEROID["Thalassa_2000_IAU_IAG",40000.0,0.0
104968	GCS_Triton_2000	GEOGCS["GCS_Triton_2000",DATUM["D_Triton_2000",SPHEROID["Triton_2000_IAU_IAG",1352600.0,0.0]],PRIME
104969	GCS_Pluto_2000	GEOGCS["GCS_Pluto_2000",DATUM["D_Pluto_2000",SPHEROID["Pluto_2000_IAU_IAG",1195000.0,0.0]],PRIMEM
104970	GCS_Charon_2000	GEOGCS["GCS_Charon_2000",DATUM["D_Charon_2000",SPHEROID["Charon_2000_IAU_IAG",593000.0,0.0]],PR

Related topics

Spatial references

Copyright © 1995-2016 Esri. All rights reserved.

Projected coordinate systems

Well-known ID	Name	Well-known text
2000	Anguilla_1957_British_West_Indies_Grid	PROJCS["Anguilla_1957_British_West_Indies_Grid",GEOGCS["GCS_Anguilla_1957",DATUM["D_An
2001	Antigua_1943_British_West_Indies_Grid	PROJCS["Antigua_1943_British_West_Indies_Grid",GEOGCS["GCS_Antigua_1943",DATUM["D_An
2002	Dominica_1945_British_West_Indies_Grid	PROJCS["Dominica_1945_British_West_Indies_Grid",GEOGCS["GCS_Dominica_1945",DATUM["D_
2003	Grenada_1953_British_West_Indies_Grid	PROJCS["Grenada_1953_British_West_Indies_Grid",GEOGCS["GCS_Grenada_1953",DATUM["D_
2004	Montserrat_1958_British_West_Indies_Grid	PROJCS["Montserrat_1958_British_West_Indies_Grid",GEOGCS["GCS_Montserrat_1958",DATUM[
2005	St_Kitts_1955_British_West_Indies_Grid	PROJCS["St_Kitts_1955_British_West_Indies_Grid",GEOGCS["GCS_St_Kitts_1955",DATUM["D_St
2006	St_Lucia_1955_British_West_Indies_Grid	PROJCS["St_Lucia_1955_British_West_Indies_Grid",GEOGCS["GCS_St_Lucia_1955",DATUM["D_
2007	St_Vincent_1945_British_West_Indies_Grid	PROJCS["St_Vincent_1945_British_West_Indies_Grid",GEOGCS["GCS_St_Vincent_1945",DATUM[
2008	NAD_1927_CGQ77_MTM_2_SCoPQ	PROJCS["NAD_1927_CGQ77_MTM_2_SCoPQ",GEOGCS["GCS_NAD_1927_CGQ77",DATUM["D_
2009	NAD_1927_CGQ77_MTM_3_SCoPQ	PROJCS["NAD_1927_CGQ77_MTM_3_SCoPQ",GEOGCS["GCS_NAD_1927_CGQ77",DATUM["D_
2010	NAD_1927_CGQ77_MTM_4_SCoPQ	PROJCS["NAD_1927_CGQ77_MTM_4_SCoPQ",GEOGCS["GCS_NAD_1927_CGQ77",DATUM["D_
2011	NAD_1927_CGQ77_MTM_5_SCoPQ	PROJCS["NAD_1927_CGQ77_MTM_5_SCoPQ",GEOGCS["GCS_NAD_1927_CGQ77",DATUM["D_
2012	NAD_1927_CGQ77_MTM_6_SCoPQ	PROJCS["NAD_1927_CGQ77_MTM_6_SCoPQ",GEOGCS["GCS_NAD_1927_CGQ77",DATUM["D_
2013	NAD_1927_CGQ77_MTM_7_SCoPQ	PROJCS["NAD_1927_CGQ77_MTM_7_SCoPQ",GEOGCS["GCS_NAD_1927_CGQ77",DATUM["D_
2014	NAD_1927_CGQ77_MTM_8_SCoPQ	PROJCS["NAD_1927_CGQ77_MTM_8_SCoPQ",GEOGCS["GCS_NAD_1927_CGQ77",DATUM["D_
2015	NAD_1927_CGQ77_MTM_9_SCoPQ	PROJCS["NAD_1927_CGQ77_MTM_9_SCoPQ",GEOGCS["GCS_NAD_1927_CGQ77",DATUM["D_
2016	NAD_1927_CGQ77_MTM_10_SCoPQ	PROJCS["NAD_1927_CGQ77_MTM_10_SCoPQ",GEOGCS["GCS_NAD_1927_CGQ77",DATUM["D
2017	NAD_1927_DEF_1976_MTM_8	PROJCS["NAD_1927_DEF_1976_MTM_8",GEOGCS["GCS_NAD_1927_Definition_1976",DATUM["
2018	NAD_1927_DEF_1976_MTM_9	PROJCS["NAD_1927_DEF_1976_MTM_9",GEOGCS["GCS_NAD_1927_Definition_1976",DATUM["
2019	NAD_1927_DEF_1976_MTM_10	PROJCS["NAD_1927_DEF_1976_MTM_10",GEOGCS["GCS_NAD_1927_Definition_1976",DATUM
2020	NAD_1927_DEF_1976_MTM_11	PROJCS["NAD_1927_DEF_1976_MTM_11",GEOGCS["GCS_NAD_1927_Definition_1976",DATUM[
2021	NAD_1927_DEF_1976_MTM_12	PROJCS["NAD_1927_DEF_1976_MTM_12",GEOGCS["GCS_NAD_1927_Definition_1976",DATUM
2022	NAD_1927_DEF_1976_MTM_13	PROJCS["NAD_1927_DEF_1976_MTM_13",GEOGCS["GCS_NAD_1927_Definition_1976",DATUM
2023	NAD_1927_DEF_1976_MTM_14	PROJCS["NAD_1927_DEF_1976_MTM_14",GEOGCS["GCS_NAD_1927_Definition_1976",DATUM
2024	NAD_1927_DEF_1976_MTM_15	PROJCS["NAD_1927_DEF_1976_MTM_15",GEOGCS["GCS_NAD_1927_Definition_1976",DATUM
2025	NAD_1927_DEF_1976_MTM_16	PROJCS["NAD_1927_DEF_1976_MTM_16",GEOGCS["GCS_NAD_1927_Definition_1976",DATUM
2026	NAD_1927_DEF_1976_MTM_17	PROJCS["NAD_1927_DEF_1976_MTM_17",GEOGCS["GCS_NAD_1927_Definition_1976",DATUM
2027	NAD_1927_DEF_1976_UTM_Zone_15N	PROJCS["NAD_1927_DEF_1976_UTM_Zone_15N",GEOGCS["GCS_NAD_1927_Definition_1976",
2028	NAD_1927_DEF_1976_UTM_Zone_16N	PROJCS["NAD_1927_DEF_1976_UTM_Zone_16N",GEOGCS["GCS_NAD_1927_Definition_1976",
2029	NAD_1927_DEF_1976_UTM_Zone_17N	PROJCS["NAD_1927_DEF_1976_UTM_Zone_17N",GEOGCS["GCS_NAD_1927_Definition_1976",
2030	NAD_1927_DEF_1976_UTM_Zone_18N	PROJCS["NAD_1927_DEF_1976_UTM_Zone_18N",GEOGCS["GCS_NAD_1927_Definition_1976",
2031	NAD_1927_CGQ77_UTM_Zone_17N	PROJCS["NAD_1927_CGQ77_UTM_Zone_17N",GEOGCS["GCS_NAD_1927_CGQ77",DATUM["D_
2032	NAD_1927_CGQ77_UTM_Zone_18N	PROJCS["NAD_1927_CGQ77_UTM_Zone_18N",GEOGCS["GCS_NAD_1927_CGQ77",DATUM["D_
2033	NAD_1927_CGQ77_UTM_Zone_19N	PROJCS["NAD_1927_CGQ77_UTM_Zone_19N",GEOGCS["GCS_NAD_1927_CGQ77",DATUM["D_
2034	NAD_1927_CGQ77_UTM_Zone_20N	PROJCS["NAD_1927_CGQ77_UTM_Zone_20N",GEOGCS["GCS_NAD_1927_CGQ77",DATUM["D_
2035	NAD_1927_CGQ77_UTM_Zone_21N	PROJCS["NAD_1927_CGQ77_UTM_Zone_21N",GEOGCS["GCS_NAD_1927_CGQ77",DATUM["D_
2039	Israel_TM_Grid	PROJCS["Israel_TM_Grid",GEOGCS["GCS_Israel",DATUM["D_Israel",SPHEROID["GRS_1980",637
2040	Locodjo_1965_UTM_Zone_30N	PROJCS["Locodjo_1965_UTM_Zone_30N",GEOGCS["GCS_Locodjo_1965",DATUM["D_Locodjo_19
2041	Abidjan_1987_UTM_Zone_30N	PROJCS["Abidjan_1987_UTM_Zone_30N",GEOGCS["GCS_Abidjan_1987",DATUM["D_Abidjan_19
2042	Locodjo_1965_UTM_Zone_29N	PROJCS["Locodjo_1965_UTM_Zone_29N",GEOGCS["GCS_Locodjo_1965",DATUM["D_Locodjo_19
2043	Abidjan_1987_UTM_Zone_29N	PROJCS["Abidjan_1987_UTM_Zone_29N",GEOGCS["GCS_Abidjan_1987",DATUM["D_Abidjan_19
2044	Hanoi_1972_GK_Zone_18	PROJCS["Hanoi_1972_GK_Zone_18",GEOGCS["GCS_Hanoi_1972",DATUM["D_Hanoi_1972",SPH
2045	Hanoi_1972_GK_Zone_19	PROJCS["Hanoi_1972_GK_Zone_19",GEOGCS["GCS_Hanoi_1972",DATUM["D_Hanoi_1972",SPH
2056	CH1903+_LV95	PROJCS["CH1903+_LV95",GEOGCS["GCS_CH1903+",DATUM["D_CH1903+",SPHEROID["Bessel_
2057	Rassadiran_Nakhl_e_Taqi	PROJCS["Rassadiran_Nakhl_e_Taqi",GEOGCS["GCS_Rassadiran",DATUM["D_Rassadiran",SPHE
2058	ED_1950_ED77_UTM_Zone_38N	PROJCS["ED_1950_ED77_UTM_Zone_38N",GEOGCS["GCS_European_1950_ED77",DATUM["D_
2059	ED_1950_ED77_UTM_Zone_39N	PROJCS["ED_1950_ED77_UTM_Zone_39N",GEOGCS["GCS_European_1950_ED77",DATUM["D_
2060	ED_1950_ED77_UTM_Zone_40N	PROJCS["ED_1950_ED77_UTM_Zone_40N",GEOGCS["GCS_European_1950_ED77",DATUM["D_
2061	ED_1950_ED77_UTM_Zone_41N	PROJCS["ED_1950_ED77_UTM_Zone_41N",GEOGCS["GCS_European_1950_ED77",DATUM["D_
2062	Madrid_1870_Madrid_Spain	PROJCS["Madrid_1870_Madrid_Spain",GEOGCS["GCS_Madrid_1870_Madrid",DATUM["D_Madrid_

Copyright © 1995-2016 Esri. All rights reserved.

2065	S-JTSK_Ferro_Krovak	PROJCS["S-JTSK_Ferro_Krovak",GEOGCS["GCS_S_JTSK_Ferro",DATUM["D_S_JTSK",SPHERO
2066	Mount_Dillon_Tobago_Grid	PROJCS["Mount_Dillon_Tobago_Grid",GEOGCS["GCS_Mount_Dillon",DATUM["D_Mount_Dillon",SI
2067	Naparima_1955_UTM_Zone_20N	PROJCS["Naparima_1955_UTM_Zone_20N",GEOGCS["GCS_Naparima_1955",DATUM["D_Napari
2068	ELD_1979_Libya_5	PROJCS["ELD_1979_Libya_5",GEOGCS["GCS_European_Libyan_Datum_1979",DATUM["D_Europ
2069	ELD_1979_Libya_6	PROJCS["ELD_1979_Libya_6",GEOGCS["GCS_European_Libyan_Datum_1979",DATUM["D_Europ
2070	ELD_1979_Libya_7	PROJCS["ELD_1979_Libya_7",GEOGCS["GCS_European_Libyan_Datum_1979",DATUM["D_Europ
2071	ELD_1979_Libya_8	PROJCS["ELD_1979_Libya_8",GEOGCS["GCS_European_Libyan_Datum_1979",DATUM["D_Europ
2072	ELD_1979_Libya_9	PROJCS["ELD_1979_Libya_9",GEOGCS["GCS_European_Libyan_Datum_1979",DATUM["D_Europ
2073	ELD_1979_Libya_10	PROJCS["ELD_1979_Libya_10",GEOGCS["GCS_European_Libyan_Datum_1979",DATUM["D_Euro
2074	ELD_1979_Libya_11	PROJCS["ELD_1979_Libya_11",GEOGCS["GCS_European_Libyan_Datum_1979",DATUM["D_Euro
2075	ELD_1979_Libya_12	PROJCS["ELD_1979_Libya_12",GEOGCS["GCS_European_Libyan_Datum_1979",DATUM["D_Euro
2076	ELD_1979_Libya_13	PROJCS["ELD_1979_Libya_13",GEOGCS["GCS_European_Libyan_Datum_1979",DATUM["D_Euro
2077	ELD_1979_UTM_Zone_32N	PROJCS["ELD_1979_UTM_Zone_32N",GEOGCS["GCS_European_Libyan_Datum_1979",DATUM["
2078	ELD_1979_UTM_Zone_33N	PROJCS["ELD_1979_UTM_Zone_33N",GEOGCS["GCS_European_Libyan_Datum_1979",DATUM["
2079	ELD_1979_UTM_Zone_34N	PROJCS["ELD_1979_UTM_Zone_34N",GEOGCS["GCS_European_Libyan_Datum_1979",DATUM["
2080	ELD_1979_UTM_Zone_35N	PROJCS["ELD_1979_UTM_Zone_35N",GEOGCS["GCS_European_Libyan_Datum_1979",DATUM["
2081	Chos_Malal_1914_Argentina_2	PROJCS["Chos_Malal_1914_Argentina_2",GEOGCS["GCS_Chos_Malal_1914",DATUM["D_Chos_M
2082	Pampa_del_Castillo_Argentina_2	PROJCS["Pampa_del_Castillo_Argentina_2",GEOGCS["GCS_Pampa_del_Castillo",DATUM["D_Par
2083	Hito_XVIII_1963_Argentina_2	PROJCS["Hito_XVIII_1963_Argentina_2",GEOGCS["GCS_Hito_XVIII_1963",DATUM["D_Hito_XVIII_
2084	Hito_XVIII_1963_UTM_19S	PROJCS["Hito_XVIII_1963_UTM_19S",GEOGCS["GCS_Hito_XVIII_1963",DATUM["D_Hito_XVIII_1
2085	NAD_1927_Cuba_Norte	PROJCS["NAD_1927_Cuba_Norte",GEOGCS["GCS_North_American_1927",DATUM["D_North_Am
2086	NAD_1927_Cuba_Sur	PROJCS["NAD_1927_Cuba_Sur",GEOGCS["GCS_North_American_1927",DATUM["D_North_Amer
2087	ELD_1979_TM_12_NE	PROJCS["ELD_1979_TM_12_NE",GEOGCS["GCS_European_Libyan_Datum_1979",DATUM["D_Eu
2088	Carthage_TM_11_NE	PROJCS["Carthage_TM_11_NE",GEOGCS["GCS_Carthage",DATUM["D_Carthage",SPHEROID["Cl
2089	Yemen_NGN_1996_UTM_Zone_38N	PROJCS["Yemen_NGN_1996_UTM_Zone_38N",GEOGCS["GCS_Yemen_NGN_1996",DATUM["D_
2090	Yemen_NGN_1996_UTM_Zone_39N	PROJCS["Yemen_NGN_1996_UTM_Zone_39N",GEOGCS["GCS_Yemen_NGN_1996",DATUM["D_
2093	Hanoi_1972_GK_106_NE	PROJCS["Hanoi_1972_GK_106_NE",GEOGCS["GCS_Hanoi_1972",DATUM["D_Hanoi_1972",SPHE
2094	WGS_1972_BE_TM_106_NE	PROJCS["WGS_1972_BE_TM_106_NE",GEOGCS["GCS_WGS_1972_BE",DATUM["D_WGS_1972
2095	Bissau_UTM_Zone_28N	PROJCS["Bissau_UTM_Zone_28N",GEOGCS["GCS_Bissau",DATUM["D_Bissau",SPHEROID["Inter
2096	Korean_1985_Korea_East_Belt	PROJCS["Korean_1985_Korea_East_Belt",GEOGCS["GCS_Korean_Datum_1985",DATUM["D_Kore
2097	Korean_1985_Korea_Central_Belt	PROJCS["Korean_1985_Korea_Central_Belt",GEOGCS["GCS_Korean_Datum_1985",DATUM["D_K
2098	Korean_1985_Korea_West_Belt	PROJCS["Korean_1985_Korea_West_Belt",GEOGCS["GCS_Korean_Datum_1985",DATUM["D_Kor
2099	Qatar_1948_Qatar_Grid	PROJCS["Qatar_1948_Qatar_Grid",GEOGCS["GCS_Qatar_1948",DATUM["D_Qatar_1948",SPHER
2100	Greek_Grid	PROJCS["Greek_Grid",GEOGCS["GCS_GGRS_1987",DATUM["D_GGRS_1987",SPHEROID["GRS
2101	Lake_Maracaibo_Grid_M1	PROJCS["Lake_Maracaibo_Grid_M1",GEOGCS["GCS_Lake",DATUM["D_Lake",SPHEROID["Interna
2102	Lake_Maracaibo_Grid	PROJCS["Lake_Maracaibo_Grid",GEOGCS["GCS_Lake",DATUM["D_Lake",SPHEROID["Internation
2103	Lake_Maracaibo_Grid_M3	PROJCS["Lake_Maracaibo_Grid_M3",GEOGCS["GCS_Lake",DATUM["D_Lake",SPHEROID["Interna
2104	Lake_Maracaibo_La_Rosa_Grid	PROJCS["Lake_Maracaibo_La_Rosa_Grid",GEOGCS["GCS_Lake",DATUM["D_Lake",SPHEROID["
2105	NZGD_2000_Mount_Eden_Circuit	PROJCS["NZGD_2000_Mount_Eden_Circuit",GEOGCS["GCS_NZGD_2000",DATUM["D_NZGD_20
2106	NZGD_2000_Bay_of_Plenty_Circuit	PROJCS["NZGD_2000_Bay_of_Plenty_Circuit",GEOGCS["GCS_NZGD_2000",DATUM["D_NZGD_2
2107	NZGD_2000_Poverty_Bay_Circuit	PROJCS["NZGD_2000_Poverty_Bay_Circuit",GEOGCS["GCS_NZGD_2000",DATUM["D_NZGD_20
2108	NZGD_2000_Hawkes_Bay_Circuit	PROJCS["NZGD_2000_Hawkes_Bay_Circuit",GEOGCS["GCS_NZGD_2000",DATUM["D_NZGD_20
2109	NZGD_2000_Taranaki_Circuit	PROJCS["NZGD_2000_Taranaki_Circuit",GEOGCS["GCS_NZGD_2000",DATUM["D_NZGD_2000",
2110	NZGD_2000_Tuhirangi_Circuit	PROJCS["NZGD_2000_Tuhirangi_Circuit",GEOGCS["GCS_NZGD_2000",DATUM["D_NZGD_2000"
2111	NZGD_2000_Wanganui_Circuit	PROJCS["NZGD_2000_Wanganui_Circuit",GEOGCS["GCS_NZGD_2000",DATUM["D_NZGD_2000
2112	NZGD_2000_Wairarapa_Circuit	PROJCS["NZGD_2000_Wairarapa_Circuit",GEOGCS["GCS_NZGD_2000",DATUM["D_NZGD_2000
2113	NZGD_2000_Wellington_Circuit	PROJCS["NZGD_2000_Wellington_Circuit",GEOGCS["GCS_NZGD_2000",DATUM["D_NZGD_2000
2114	NZGD_2000_Collingwood_Circuit	PROJCS["NZGD_2000_Collingwood_Circuit",GEOGCS["GCS_NZGD_2000",DATUM["D_NZGD_20
2115	NZGD_2000_Nelson_Circuit	PROJCS["NZGD_2000_Nelson_Circuit",GEOGCS["GCS_NZGD_2000",DATUM["D_NZGD_2000",S
2116	NZGD_2000_Karamea_Circuit	PROJCS["NZGD_2000_Karamea_Circuit",GEOGCS["GCS_NZGD_2000",DATUM["D_NZGD_2000"
2117	NZGD_2000_Buller_Circuit	PROJCS["NZGD_2000_Buller_Circuit",GEOGCS["GCS_NZGD_2000",DATUM["D_NZGD_2000",SP
2118	NZGD_2000_Grey_Circuit	PROJCS["NZGD_2000_Grey_Circuit",GEOGCS["GCS_NZGD_2000",DATUM["D_NZGD_2000",SPH
2119	NZGD_2000_Amuri_Circuit	PROJCS["NZGD_2000_Amuri_Circuit",GEOGCS["GCS_NZGD_2000",DATUM["D_NZGD_2000",SP
2120	NZGD_2000_Marlborough_Circuit	PROJCS["NZGD_2000_Marlborough_Circuit",GEOGCS["GCS_NZGD_2000",DATUM["D_NZGD_20

Copyright © 1995-2016 Esri. All rights reserved.

2121	NZGD_2000_Hokitika_Circuit	PROJCS["NZGD_2000_Hokitika_Circuit",GEOGCS["GCS_NZGD_2000",DATUM["D_NZGD_2000",S
2122	NZGD_2000_Okarito_Circuit	PROJCS["NZGD_2000_Okarito_Circuit",GEOGCS["GCS_NZGD_2000",DATUM["D_NZGD_2000",S
2123	NZGD_2000_Jacksons_Bay_Circuit	PROJCS["NZGD_2000_Jacksons_Bay_Circuit",GEOGCS["GCS_NZGD_2000",DATUM["D_NZGD_2
2124	NZGD_2000_Mount_Pleasant_Circuit	PROJCS["NZGD_2000_Mount_Pleasant_Circuit",GEOGCS["GCS_NZGD_2000",DATUM["D_NZGD_
2125	NZGD_2000_Gawler_Circuit	PROJCS["NZGD_2000_Gawler_Circuit",GEOGCS["GCS_NZGD_2000",DATUM["D_NZGD_2000",S
2126	NZGD_2000_Timaru_Circuit	PROJCS["NZGD_2000_Timaru_Circuit",GEOGCS["GCS_NZGD_2000",DATUM["D_NZGD_2000",SI
2127	NZGD_2000_Lindis_Peak_Circuit	PROJCS["NZGD_2000_Lindis_Peak_Circuit",GEOGCS["GCS_NZGD_2000",DATUM["D_NZGD_20
2128	NZGD_2000_Mount_Nicholas_Circuit	PROJCS["NZGD_2000_Mount_Nicholas_Circuit",GEOGCS["GCS_NZGD_2000",DATUM["D_NZGD_
2129	NZGD_2000_Mount_York_Circuit	PROJCS["NZGD_2000_Mount_York_Circuit",GEOGCS["GCS_NZGD_2000",DATUM["D_NZGD_200
2130	NZGD_2000_Observation_Point_Circuit	PROJCS["NZGD_2000_Observation_Point_Circuit",GEOGCS["GCS_NZGD_2000",DATUM["D_NZG
2131	NZGD_2000_North_Taieri_Circuit	PROJCS["NZGD_2000_North_Taieri_Circuit",GEOGCS["GCS_NZGD_2000",DATUM["D_NZGD_200
2132	NZGD_2000_Bluff_Circuit	PROJCS["NZGD_2000_Bluff_Circuit",GEOGCS["GCS_NZGD_2000",DATUM["D_NZGD_2000",SPH
2133	NZGD_2000_UTM_Zone_58S	PROJCS["NZGD_2000_UTM_Zone_58S",GEOGCS["GCS_NZGD_2000",DATUM["D_NZGD_2000",
2134	NZGD_2000_UTM_Zone_59S	PROJCS["NZGD_2000_UTM_Zone_59S",GEOGCS["GCS_NZGD_2000",DATUM["D_NZGD_2000",
2135	NZGD_2000_UTM_Zone_60S	PROJCS["NZGD_2000_UTM_Zone_60S",GEOGCS["GCS_NZGD_2000",DATUM["D_NZGD_2000",
2136	Accra_Ghana_Grid	PROJCS["Accra_Ghana_Grid",GEOGCS["GCS_Accra",DATUM["D_Accra",SPHEROID["War_Office"
2137	Accra_TM_1_NW	PROJCS["Accra_TM_1_NW",GEOGCS["GCS_Accra",DATUM["D_Accra",SPHEROID["War_Office",
2138	NAD_1927_CGQ77_Quebec_Lambert	PROJCS["NAD_1927_CGQ77_Quebec_Lambert",GEOGCS["GCS_NAD_1927_CGQ77",DATUM["D
2154	RGF_1993_Lambert_93	PROJCS["RGF_1993_Lambert_93",GEOGCS["GCS_RGF_1993",DATUM["D_RGF_1993",SPHERO
2157	IRENET95_Irish_Transverse_Mercator	PROJCS["IRENET95_Irish_Transverse_Mercator",GEOGCS["GCS_IRENET95",DATUM["D_IRENE
2158	IRENET95_UTM_Zone_29N	PROJCS["IRENET95_UTM_Zone_29N",GEOGCS["GCS_IRENET95",DATUM["D_IRENET95",SPHE
2159	Sierra_Leone_1924_New_Colony_Grid	PROJCS["Sierra_Leone_1924_New_Colony_Grid",GEOGCS["GCS_Sierra_Leone_1924",DATUM["D
2160	Sierra_Leone_1924_New_War_Office_Grid	PROJCS["Sierra_Leone_1924_New_War_Office_Grid",GEOGCS["GCS_Sierra_Leone_1924",DATU
2161	Sierra_Leone_1968_UTM_Zone_28N	PROJCS["Sierra_Leone_1968_UTM_Zone_28N",GEOGCS["GCS_Sierra_Leone_1968",DATUM["D_
2162	Sierra_Leone_1968_UTM_Zone_29N	PROJCS["Sierra_Leone_1968_UTM_Zone_29N",GEOGCS["GCS_Sierra_Leone_1968",DATUM["D_
2163	US_National_Atlas_Equal_Area	PROJCS["US_National_Atlas_Equal_Area",GEOGCS["GCS_Sphere_Clarke_1866_Authalic",DATUM
2164	Locodjo_1965_TM_5_NW	PROJCS["Locodjo_1965_TM_5_NW",GEOGCS["GCS_Locodjo_1965",DATUM["D_Locodjo_1965",S
2165	Abidjan_1987_TM_5_NW	PROJCS["Abidjan_1987_TM_5_NW",GEOGCS["GCS_Abidjan_1987",DATUM["D_Abidjan_1987",SP
2169	Luxembourg_1930_Gauss	PROJCS["Luxembourg_1930_Gauss",GEOGCS["GCS_Luxembourg_1930",DATUM["D_Luxembourg
2170	MGI_Slovenia_Grid	PROJCS["MGI_Slovenia_Grid",GEOGCS["GCS_MGI",DATUM["D_MGI",SPHEROID["Bessel_1841",
2172	Pulkovo_1942_Adj_1958_Poland_Zone_II	PROJCS["Pulkovo_1942_Adj_1958_Poland_Zone_II",GEOGCS["GCS_Pulkovo_1942_Adj_1958",DA
2173	Pulkovo_1942_Adj_1958_Poland_Zone_III	PROJCS["Pulkovo_1942_Adj_1958_Poland_Zone_III",GEOGCS["GCS_Pulkovo_1942_Adj_1958",D
2174	Pulkovo_1942_Adj_1958_Poland_Zone_IV	PROJCS["Pulkovo_1942_Adj_1958_Poland_Zone_IV",GEOGCS["GCS_Pulkovo_1942_Adj_1958",D
2175	Pulkovo_1942_Adj_1958_Poland_Zone_V	PROJCS["Pulkovo_1942_Adj_1958_Poland_Zone_V",GEOGCS["GCS_Pulkovo_1942_Adj_1958",D
2176	ETRS_1989_Poland_CS2000_Zone_5	PROJCS["ETRS_1989_Poland_CS2000_Zone_5",GEOGCS["GCS_ETRS_1989",DATUM["D_ETRS
2177	ETRS_1989_Poland_CS2000_Zone_6	PROJCS["ETRS_1989_Poland_CS2000_Zone_6",GEOGCS["GCS_ETRS_1989",DATUM["D_ETRS
2178	ETRS_1989_Poland_CS2000_Zone_7	PROJCS["ETRS_1989_Poland_CS2000_Zone_7",GEOGCS["GCS_ETRS_1989",DATUM["D_ETRS
2179	ETRS_1989_Poland_CS2000_Zone_8	PROJCS["ETRS_1989_Poland_CS2000_Zone_8",GEOGCS["GCS_ETRS_1989",DATUM["D_ETRS
2180	ETRS_1989_Poland_CS92	PROJCS["ETRS_1989_Poland_CS92",GEOGCS["GCS_ETRS_1989",DATUM["D_ETRS_1989",SPH
2188	Azores_Occidental_1939_UTM_Zone_25N	PROJCS["Azores_Occidental_1939_UTM_Zone_25N",GEOGCS["GCS_Azores_Occidental_1939",D
2189	Azores_Central_1948_UTM_Zone_26N	PROJCS["Azores_Central_1948_UTM_Zone_26N",GEOGCS["GCS_Azores_Central_1948",DATUM
2190	Azores_Oriental_1940_UTM_Zone_26N	PROJCS["Azores_Oriental_1940_UTM_Zone_26N",GEOGCS["GCS_Azores_Oriental_1940",DATUM
2191	Madeira_1936_UTM_Zone_28N	PROJCS["Madeira_1936_UTM_Zone_28N",GEOGCS["GCS_Madeira_1936",DATUM["D_Madeira_1
2192	ED_1950_France_EuroLambert	PROJCS["ED_1950_France_EuroLambert",GEOGCS["GCS_European_1950",DATUM["D_Europea
2193	NZGD_2000_New_Zealand_Transverse_Mercator	PROJCS["NZGD_2000_New_Zealand_Transverse_Mercator",GEOGCS["GCS_NZGD_2000",DATU
2195	NAD_1983_HARN_UTM_Zone_2S	PROJCS["NAD_1983_HARN_UTM_Zone_2S",GEOGCS["GCS_North_American_1983_HARN",DAT
2196	ETRS_1989_Kp2000_Jutland	PROJCS["ETRS_1989_Kp2000_Jutland",GEOGCS["GCS_ETRS_1989",DATUM["D_ETRS_1989",S
2197	ETRS_1989_Kp2000_Zealand	PROJCS["ETRS_1989_Kp2000_Zealand",GEOGCS["GCS_ETRS_1989",DATUM["D_ETRS_1989",
2198	ETRS_1989_Kp2000_Bornholm	PROJCS["ETRS_1989_Kp2000_Bornholm",GEOGCS["GCS_ETRS_1989",DATUM["D_ETRS_1989
2200	ATS_1977_New_Brunswick_Stereographic	PROJCS["ATS_1977_New_Brunswick_Stereographic",GEOGCS["GCS_ATS_1977",DATUM["D_ATS
2201	REGVEN_UTM_Zone_18N	PROJCS["REGVEN_UTM_Zone_18N",GEOGCS["GCS_REGVEN",DATUM["D_REGVEN",SPHERO
2202	REGVEN_UTM_Zone_19N	PROJCS["REGVEN_UTM_Zone_19N",GEOGCS["GCS_REGVEN",DATUM["D_REGVEN",SPHERO
2203	REGVEN_UTM_Zone_20N	PROJCS["REGVEN_UTM_Zone_20N",GEOGCS["GCS_REGVEN",DATUM["D_REGVEN",SPHERO
2204	NAD_1927_StatePlane_Tennessee_FIPS_4100	PROJCS["NAD_1927_StatePlane_Tennessee_FIPS_4100",GEOGCS["GCS_North_American_1927

Copyright © 1995-2016 Esri. All rights reserved.

2205	NAD_1983_StatePlane_Kentucky_North_FIPS_1601	PROJCS["NAD_1983_StatePlane_Kentucky_North_FIPS_1601",GEOGCS["GCS_North_American_
2206	ED_1950_3_Degree_GK_Zone_9	PROJCS["ED_1950_3_Degree_GK_Zone_9",GEOGCS["GCS_European_1950",DATUM["D_Europe
2207	ED_1950_3_Degree_GK_Zone_10	PROJCS["ED_1950_3_Degree_GK_Zone_10",GEOGCS["GCS_European_1950",DATUM["D_Europ
2208	ED_1950_3_Degree_GK_Zone_11	PROJCS["ED_1950_3_Degree_GK_Zone_11",GEOGCS["GCS_European_1950",DATUM["D_Europ
2209	ED_1950_3_Degree_GK_Zone_12	PROJCS["ED_1950_3_Degree_GK_Zone_12",GEOGCS["GCS_European_1950",DATUM["D_Europ
2210	ED_1950_3_Degree_GK_Zone_13	PROJCS["ED_1950_3_Degree_GK_Zone_13",GEOGCS["GCS_European_1950",DATUM["D_Europ
2211	ED_1950_3_Degree_GK_Zone_14	PROJCS["ED_1950_3_Degree_GK_Zone_14",GEOGCS["GCS_European_1950",DATUM["D_Europ
2212	ED_1950_3_Degree_GK_Zone_15	PROJCS["ED_1950_3_Degree_GK_Zone_15",GEOGCS["GCS_European_1950",DATUM["D_Europ
2213	ETRS_1989_TM_30_NE	PROJCS["ETRS_1989_TM_30_NE",GEOGCS["GCS_ETRS_1989",DATUM["D_ETRS_1989",SPHE
2215	Manoca_1962_UTM_Zone_32N	PROJCS["Manoca_1962_UTM_Zone_32N",GEOGCS["GCS_Manoca_1962",DATUM["D_Manoca_1
2216	Qornoq_1927_UTM_Zone_22N	PROJCS["Qornoq_1927_UTM_Zone_22N",GEOGCS["GCS_Qornoq_1927",DATUM["D_Qornoq_19
2217	Qornoq_1927_UTM_Zone_23N	PROJCS["Qornoq_1927_UTM_Zone_23N",GEOGCS["GCS_Qornoq_1927",DATUM["D_Qornoq_19
2219	ATS_1977_UTM_Zone_19N	PROJCS["ATS_1977_UTM_Zone_19N",GEOGCS["GCS_ATS_1977",DATUM["D_ATS_1977",SPHE
2220	ATS_1977_UTM_Zone_20N	PROJCS["ATS_1977_UTM_Zone_20N",GEOGCS["GCS_ATS_1977",DATUM["D_ATS_1977",SPHE
2222	NAD_1983_StatePlane_Arizona_East_FIPS_0201_Feet_Intl	PROJCS["NAD_1983_StatePlane_Arizona_East_FIPS_0201_Feet_Intl",GEOGCS["GCS_North_Am
2223	NAD_1983_StatePlane_Arizona_Central_FIPS_0202_Feet_Intl	PROJCS["NAD_1983_StatePlane_Arizona_Central_FIPS_0202_Feet_Intl",GEOGCS["GCS_North_A
2224	NAD_1983_StatePlane_Arizona_West_FIPS_0203_Feet_Intl	PROJCS["NAD_1983_StatePlane_Arizona_West_FIPS_0203_Feet_Intl",GEOGCS["GCS_North_Am
2225	NAD_1983_StatePlane_California_I_FIPS_0401_Feet	PROJCS["NAD_1983_StatePlane_California_I_FIPS_0401_Feet",GEOGCS["GCS_North_American
2226	NAD_1983_StatePlane_California_II_FIPS_0402_Feet	PROJCS["NAD_1983_StatePlane_California_II_FIPS_0402_Feet",GEOGCS["GCS_North_American
2227	NAD_1983_StatePlane_California_III_FIPS_0403_Feet	PROJCS["NAD_1983_StatePlane_California_III_FIPS_0403_Feet",GEOGCS["GCS_North_America
2228	NAD_1983_StatePlane_California_IV_FIPS_0404_Feet	PROJCS["NAD_1983_StatePlane_California_IV_FIPS_0404_Feet",GEOGCS["GCS_North_America
2229	NAD_1983_StatePlane_California_V_FIPS_0405_Feet	PROJCS["NAD_1983_StatePlane_California_V_FIPS_0405_Feet",GEOGCS["GCS_North_American
2230	NAD_1983_StatePlane_California_VI_FIPS_0406_Feet	PROJCS["NAD_1983_StatePlane_California_VI_FIPS_0406_Feet",GEOGCS["GCS_North_America
2231	NAD_1983_StatePlane_Colorado_North_FIPS_0501_Feet	PROJCS["NAD_1983_StatePlane_Colorado_North_FIPS_0501_Feet",GEOGCS["GCS_North_Amer
2232	NAD_1983_StatePlane_Colorado_Central_FIPS_0502_Feet	PROJCS["NAD_1983_StatePlane_Colorado_Central_FIPS_0502_Feet",GEOGCS["GCS_North_Am
2233	NAD_1983_StatePlane_Colorado_South_FIPS_0503_Feet	PROJCS["NAD_1983_StatePlane_Colorado_South_FIPS_0503_Feet",GEOGCS["GCS_North_Ame
2234	NAD_1983_StatePlane_Connecticut_FIPS_0600_Feet	PROJCS["NAD_1983_StatePlane_Connecticut_FIPS_0600_Feet",GEOGCS["GCS_North_American
2235	NAD_1983_StatePlane_Delaware_FIPS_0700_Feet	PROJCS["NAD_1983_StatePlane_Delaware_FIPS_0700_Feet",GEOGCS["GCS_North_American_1
2236	NAD_1983_StatePlane_Florida_East_FIPS_0901_Feet	PROJCS["NAD_1983_StatePlane_Florida_East_FIPS_0901_Feet",GEOGCS["GCS_North_America
2237	NAD_1983_StatePlane_Florida_West_FIPS_0902_Feet	PROJCS["NAD_1983_StatePlane_Florida_West_FIPS_0902_Feet",GEOGCS["GCS_North_America
2238	NAD_1983_StatePlane_Florida_North_FIPS_0903_Feet	PROJCS["NAD_1983_StatePlane_Florida_North_FIPS_0903_Feet",GEOGCS["GCS_North_America
2239	NAD_1983_StatePlane_Georgia_East_FIPS_1001_Feet	PROJCS["NAD_1983_StatePlane_Georgia_East_FIPS_1001_Feet",GEOGCS["GCS_North_America
2240	NAD_1983_StatePlane_Georgia_West_FIPS_1002_Feet	PROJCS["NAD_1983_StatePlane_Georgia_West_FIPS_1002_Feet",GEOGCS["GCS_North_Americ
2241	NAD_1983_StatePlane_Idaho_East_FIPS_1101_Feet	PROJCS["NAD_1983_StatePlane_Idaho_East_FIPS_1101_Feet",GEOGCS["GCS_North_American
2242	NAD_1983_StatePlane_Idaho_Central_FIPS_1102_Feet	PROJCS["NAD_1983_StatePlane_Idaho_Central_FIPS_1102_Feet",GEOGCS["GCS_North_Americ
2243	NAD_1983_StatePlane_Idaho_West_FIPS_1103_Feet	PROJCS["NAD_1983_StatePlane_Idaho_West_FIPS_1103_Feet",GEOGCS["GCS_North_American
2246	NAD_1983_StatePlane_Kentucky_North_FIPS_1601_Feet	PROJCS["NAD_1983_StatePlane_Kentucky_North_FIPS_1601_Feet",GEOGCS["GCS_North_Amer
2247	NAD_1983_StatePlane_Kentucky_South_FIPS_1602_Feet	PROJCS["NAD_1983_StatePlane_Kentucky_South_FIPS_1602_Feet",GEOGCS["GCS_North_Ame
2248	NAD_1983_StatePlane_Maryland_FIPS_1900_Feet	PROJCS["NAD_1983_StatePlane_Maryland_FIPS_1900_Feet",GEOGCS["GCS_North_American_1
2249	NAD_1983_StatePlane_Massachusetts_Mainland_FIPS_2001_Feet	PROJCS["NAD_1983_StatePlane_Massachusetts_Mainland_FIPS_2001_Feet",GEOGCS["GCS_No
2250	NAD_1983_StatePlane_Massachusetts_Island_FIPS_2002_Feet	PROJCS["NAD_1983_StatePlane_Massachusetts_Island_FIPS_2002_Feet",GEOGCS["GCS_North
2251	NAD_1983_StatePlane_Michigan_North_FIPS_2111_Feet_Intl	PROJCS["NAD_1983_StatePlane_Michigan_North_FIPS_2111_Feet_Intl",GEOGCS["GCS_North_A
2252	NAD_1983_StatePlane_Michigan_Central_FIPS_2112_Feet_Intl	PROJCS["NAD_1983_StatePlane_Michigan_Central_FIPS_2112_Feet_Intl",GEOGCS["GCS_North_
2253	NAD_1983_StatePlane_Michigan_South_FIPS_2113_Feet_Intl	PROJCS["NAD_1983_StatePlane_Michigan_South_FIPS_2113_Feet_Intl",GEOGCS["GCS_North_A
2254	NAD_1983_StatePlane_Mississippi_East_FIPS_2301_Feet	PROJCS["NAD_1983_StatePlane_Mississippi_East_FIPS_2301_Feet",GEOGCS["GCS_North_Ame
2255	NAD_1983_StatePlane_Mississippi_West_FIPS_2302_Feet	PROJCS["NAD_1983_StatePlane_Mississippi_West_FIPS_2302_Feet",GEOGCS["GCS_North_Am
2256	NAD_1983_StatePlane_Montana_FIPS_2500_Feet_Intl	PROJCS["NAD_1983_StatePlane_Montana_FIPS_2500_Feet_Intl",GEOGCS["GCS_North_America
2257	NAD_1983_StatePlane_New_Mexico_East_FIPS_3001_Feet	PROJCS["NAD_1983_StatePlane_New_Mexico_East_FIPS_3001_Feet",GEOGCS["GCS_North_Ar
2258	NAD_1983_StatePlane_New_Mexico_Central_FIPS_3002_Feet	PROJCS["NAD_1983_StatePlane_New_Mexico_Central_FIPS_3002_Feet",GEOGCS["GCS_North_
2259	NAD_1983_StatePlane_New_Mexico_West_FIPS_3003_Feet	PROJCS["NAD_1983_StatePlane_New_Mexico_West_FIPS_3003_Feet",GEOGCS["GCS_North_A
2260	NAD_1983_StatePlane_New_York_East_FIPS_3101_Feet	PROJCS["NAD_1983_StatePlane_New_York_East_FIPS_3101_Feet",GEOGCS["GCS_North_Amer
2261	NAD_1983_StatePlane_New_York_Central_FIPS_3102_Feet	PROJCS["NAD_1983_StatePlane_New_York_Central_FIPS_3102_Feet",GEOGCS["GCS_North_Ar
2262	NAD_1983_StatePlane_New_York_West_FIPS_3103_Feet	PROJCS["NAD_1983_StatePlane_New_York_West_FIPS_3103_Feet",GEOGCS["GCS_North_Ame
2263	NAD_1983_StatePlane_New_York_Long_Island_FIPS_3104_Feet	PROJCS["NAD_1983_StatePlane_New_York_Long_Island_FIPS_3104_Feet",GEOGCS["GCS_Nor

Copyright © 1995-2016 Esri. All rights reserved.

2264	NAD_1983_StatePlane_North_Carolina_FIPS_3200_Feet	PROJCS["NAD_1983_StatePlane_North_Carolina_FIPS_3200_Feet",GEOGCS["GCS_North_Ameri
2265	NAD_1983_StatePlane_North_Dakota_North_FIPS_3301_Feet_Intl	PROJCS["NAD_1983_StatePlane_North_Dakota_North_FIPS_3301_Feet_Intl",GEOGCS["GCS_No
2266	NAD_1983_StatePlane_North_Dakota_South_FIPS_3302_Feet_Intl	PROJCS["NAD_1983_StatePlane_North_Dakota_South_FIPS_3302_Feet_Intl",GEOGCS["GCS_No
2267	NAD_1983_StatePlane_Oklahoma_North_FIPS_3501_Feet	PROJCS["NAD_1983_StatePlane_Oklahoma_North_FIPS_3501_Feet",GEOGCS["GCS_North_Ame
2268	NAD_1983_StatePlane_Oklahoma_South_FIPS_3502_Feet	PROJCS["NAD_1983_StatePlane_Oklahoma_South_FIPS_3502_Feet",GEOGCS["GCS_North_Am
2269	NAD_1983_StatePlane_Oregon_North_FIPS_3601_Feet_Intl	PROJCS["NAD_1983_StatePlane_Oregon_North_FIPS_3601_Feet_Intl",GEOGCS["GCS_North_An
2270	NAD_1983_StatePlane_Oregon_South_FIPS_3602_Feet_Intl	PROJCS["NAD_1983_StatePlane_Oregon_South_FIPS_3602_Feet_Intl",GEOGCS["GCS_North_Ar
2271	NAD_1983_StatePlane_Pennsylvania_North_FIPS_3701_Feet	PROJCS["NAD_1983_StatePlane_Pennsylvania_North_FIPS_3701_Feet",GEOGCS["GCS_North_A
2272	NAD_1983_StatePlane_Pennsylvania_South_FIPS_3702_Feet	PROJCS["NAD_1983_StatePlane_Pennsylvania_South_FIPS_3702_Feet",GEOGCS["GCS_North_A
2273	NAD_1983_StatePlane_South_Carolina_FIPS_3900_Feet_Intl	PROJCS["NAD_1983_StatePlane_South_Carolina_FIPS_3900_Feet_Intl",GEOGCS["GCS_North_A
2274	NAD_1983_StatePlane_Tennessee_FIPS_4100_Feet	PROJCS["NAD_1983_StatePlane_Tennessee_FIPS_4100_Feet",GEOGCS["GCS_North_American_
2275	NAD_1983_StatePlane_Texas_North_FIPS_4201_Feet	PROJCS["NAD_1983_StatePlane_Texas_North_FIPS_4201_Feet",GEOGCS["GCS_North_America
2276	NAD_1983_StatePlane_Texas_North_Central_FIPS_4202_Feet	PROJCS["NAD_1983_StatePlane_Texas_North_Central_FIPS_4202_Feet",GEOGCS["GCS_North_
2277	NAD_1983_StatePlane_Texas_Central_FIPS_4203_Feet	PROJCS["NAD_1983_StatePlane_Texas_Central_FIPS_4203_Feet",GEOGCS["GCS_North_Americ
2278	NAD_1983_StatePlane_Texas_South_Central_FIPS_4204_Feet	PROJCS["NAD_1983_StatePlane_Texas_South_Central_FIPS_4204_Feet",GEOGCS["GCS_North_
2279	NAD_1983_StatePlane_Texas_South_FIPS_4205_Feet	PROJCS["NAD_1983_StatePlane_Texas_South_FIPS_4205_Feet",GEOGCS["GCS_North_America
2280	NAD_1983_StatePlane_Utah_North_FIPS_4301_Feet_Intl	PROJCS["NAD_1983_StatePlane_Utah_North_FIPS_4301_Feet_Intl",GEOGCS["GCS_North_Amer
2281	NAD_1983_StatePlane_Utah_Central_FIPS_4302_Feet_Intl	PROJCS["NAD_1983_StatePlane_Utah_Central_FIPS_4302_Feet_Intl",GEOGCS["GCS_North_Am
2282	NAD_1983_StatePlane_Utah_South_FIPS_4303_Feet_Intl	PROJCS["NAD_1983_StatePlane_Utah_South_FIPS_4303_Feet_Intl",GEOGCS["GCS_North_Amer
2283	NAD_1983_StatePlane_Virginia_North_FIPS_4501_Feet	PROJCS["NAD_1983_StatePlane_Virginia_North_FIPS_4501_Feet",GEOGCS["GCS_North_Americ
2284	NAD_1983_StatePlane_Virginia_South_FIPS_4502_Feet	PROJCS["NAD_1983_StatePlane_Virginia_South_FIPS_4502_Feet",GEOGCS["GCS_North_Americ
2285	NAD_1983_StatePlane_Washington_North_FIPS_4601_Feet	PROJCS["NAD_1983_StatePlane_Washington_North_FIPS_4601_Feet",GEOGCS["GCS_North_An
2286	NAD_1983_StatePlane_Washington_South_FIPS_4602_Feet	PROJCS["NAD_1983_StatePlane_Washington_South_FIPS_4602_Feet",GEOGCS["GCS_North_Ar
2287	NAD_1983_StatePlane_Wisconsin_North_FIPS_4801_Feet	PROJCS["NAD_1983_StatePlane_Wisconsin_North_FIPS_4801_Feet",GEOGCS["GCS_North_Ame
2288	NAD_1983_StatePlane_Wisconsin_Central_FIPS_4802_Feet	PROJCS["NAD_1983_StatePlane_Wisconsin_Central_FIPS_4802_Feet",GEOGCS["GCS_North_Ar
2289	NAD_1983_StatePlane_Wisconsin_South_FIPS_4803_Feet	PROJCS["NAD_1983_StatePlane_Wisconsin_South_FIPS_4803_Feet",GEOGCS["GCS_North_Am
2290	Prince_Edward_Island_Stereographic	PROJCS["Prince_Edward_Island_Stereographic",GEOGCS["GCS_ATS_1977",DATUM["D_ATS_197
2294	ATS_1977_MTM_4_Nova_Scotia	PROJCS["ATS_1977_MTM_4_Nova_Scotia",GEOGCS["GCS_ATS_1977",DATUM["D_ATS_1977",S
2295	ATS_1977_MTM_5_Nova_Scotia	PROJCS["ATS_1977_MTM_5_Nova_Scotia",GEOGCS["GCS_ATS_1977",DATUM["D_ATS_1977",S
2308	Batavia_TM_109_SE	PROJCS["Batavia_TM_109_SE",GEOGCS["GCS_Batavia",DATUM["D_Batavia",SPHEROID["Besse
2309	WGS_1984_TM_116_SE	PROJCS["WGS_1984_TM_116_SE",GEOGCS["GCS_WGS_1984",DATUM["D_WGS_1984",SPHER
2310	WGS_1984_TM_132_SE	PROJCS["WGS_1984_TM_132_SE",GEOGCS["GCS_WGS_1984",DATUM["D_WGS_1984",SPHER
2311	WGS_1984_TM_6_NE	PROJCS["WGS_1984_TM_6_NE",GEOGCS["GCS_WGS_1984",DATUM["D_WGS_1984",SPHERO
2312	Garoua_UTM_Zone_33N	PROJCS["Garoua_UTM_Zone_33N",GEOGCS["GCS_Garoua",DATUM["D_Garoua",SPHEROID["Cl
2313	Kousseri_UTM_Zone_33N	PROJCS["Kousseri_UTM_Zone_33N",GEOGCS["GCS_Kousseri",DATUM["D_Kousseri",SPHEROID
2314	Trinidad_1903_Trinidad_Grid_Feet_Clarke	PROJCS["Trinidad_1903_Trinidad_Grid_Feet_Clarke",GEOGCS["GCS_Trinidad_1903",DATUM["D_
2315	Campo_Inchauspe_UTM_19S	PROJCS["Campo_Inchauspe_UTM_19S",GEOGCS["GCS_Campo_Inchauspe",DATUM["D_Campo_
2316	Campo_Inchauspe_UTM_20S	PROJCS["Campo_Inchauspe_UTM_20S",GEOGCS["GCS_Campo_Inchauspe",DATUM["D_Campo_
2317	PSAD_1956_ICN_Regional	PROJCS["PSAD_1956_ICN_Regional",GEOGCS["GCS_Provisional_S_American_1956",DATUM["D
2318	Ain_el_Abd_Aramco_Lambert	PROJCS["Ain_el_Abd_Aramco_Lambert",GEOGCS["GCS_Ain_el_Abd_1970",DATUM["D_Ain_el_A
2319	ED_1950_TM27	PROJCS["ED_1950_TM27",GEOGCS["GCS_European_1950",DATUM["D_European_1950",SPHER
2320	ED_1950_TM30	PROJCS["ED_1950_TM30",GEOGCS["GCS_European_1950",DATUM["D_European_1950",SPHER
2321	ED_1950_TM33	PROJCS["ED_1950_TM33",GEOGCS["GCS_European_1950",DATUM["D_European_1950",SPHER
2322	ED_1950_TM36	PROJCS["ED_1950_TM36",GEOGCS["GCS_European_1950",DATUM["D_European_1950",SPHER
2323	ED_1950_TM39	PROJCS["ED_1950_TM39",GEOGCS["GCS_European_1950",DATUM["D_European_1950",SPHER
2324	ED_1950_TM42	PROJCS["ED_1950_TM42",GEOGCS["GCS_European_1950",DATUM["D_European_1950",SPHER
2325	ED_1950_TM45	PROJCS["ED_1950_TM45",GEOGCS["GCS_European_1950",DATUM["D_European_1950",SPHER
2326	Hong_Kong_1980_Grid	PROJCS["Hong_Kong_1980_Grid",GEOGCS["GCS_Hong_Kong_1980",DATUM["D_Hong_Kong_19
2327	Xian_1980_GK_Zone_13	PROJCS["Xian_1980_GK_Zone_13",GEOGCS["GCS_Xian_1980",DATUM["D_Xian_1980",SPHERO
2328	Xian_1980_GK_Zone_14	PROJCS["Xian_1980_GK_Zone_14",GEOGCS["GCS_Xian_1980",DATUM["D_Xian_1980",SPHERO
2329	Xian_1980_GK_Zone_15	PROJCS["Xian_1980_GK_Zone_15",GEOGCS["GCS_Xian_1980",DATUM["D_Xian_1980",SPHERO
2330	Xian_1980_GK_Zone_16	PROJCS["Xian_1980_GK_Zone_16",GEOGCS["GCS_Xian_1980",DATUM["D_Xian_1980",SPHERO
2331	Xian_1980_GK_Zone_17	PROJCS["Xian_1980_GK_Zone_17",GEOGCS["GCS_Xian_1980",DATUM["D_Xian_1980",SPHERO
2332	Xian_1980_GK_Zone_18	PROJCS["Xian_1980_GK_Zone_18",GEOGCS["GCS_Xian_1980",DATUM["D_Xian_1980",SPHERO

Copyright © 1995-2016 Esri. All rights reserved.

2333	Xian_1980_GK_Zone_19	PROJCS["Xian_1980_GK_Zone_19",GEOGCS["GCS_Xian_1980",DATUM["D_Xian_1980",SPHERO
2334	Xian_1980_GK_Zone_20	PROJCS["Xian_1980_GK_Zone_20",GEOGCS["GCS_Xian_1980",DATUM["D_Xian_1980",SPHERO
2335	Xian_1980_GK_Zone_21	PROJCS["Xian_1980_GK_Zone_21",GEOGCS["GCS_Xian_1980",DATUM["D_Xian_1980",SPHERO
2336	Xian_1980_GK_Zone_22	PROJCS["Xian_1980_GK_Zone_22",GEOGCS["GCS_Xian_1980",DATUM["D_Xian_1980",SPHERO
2337	Xian_1980_GK_Zone_23	PROJCS["Xian_1980_GK_Zone_23",GEOGCS["GCS_Xian_1980",DATUM["D_Xian_1980",SPHERO
2338	Xian_1980_GK_CM_75E	PROJCS["Xian_1980_GK_CM_75E",GEOGCS["GCS_Xian_1980",DATUM["D_Xian_1980",SPHERO
2339	Xian_1980_GK_CM_81E	PROJCS["Xian_1980_GK_CM_81E",GEOGCS["GCS_Xian_1980",DATUM["D_Xian_1980",SPHERO
2340	Xian_1980_GK_CM_87E	PROJCS["Xian_1980_GK_CM_87E",GEOGCS["GCS_Xian_1980",DATUM["D_Xian_1980",SPHERO
2341	Xian_1980_GK_CM_93E	PROJCS["Xian_1980_GK_CM_93E",GEOGCS["GCS_Xian_1980",DATUM["D_Xian_1980",SPHERO
2342	Xian_1980_GK_CM_99E	PROJCS["Xian_1980_GK_CM_99E",GEOGCS["GCS_Xian_1980",DATUM["D_Xian_1980",SPHERO
2343	Xian_1980_GK_CM_105E	PROJCS["Xian_1980_GK_CM_105E",GEOGCS["GCS_Xian_1980",DATUM["D_Xian_1980",SPHER
2344	Xian_1980_GK_CM_111E	PROJCS["Xian_1980_GK_CM_111E",GEOGCS["GCS_Xian_1980",DATUM["D_Xian_1980",SPHER
2345	Xian_1980_GK_CM_117E	PROJCS["Xian_1980_GK_CM_117E",GEOGCS["GCS_Xian_1980",DATUM["D_Xian_1980",SPHER
2346	Xian_1980_GK_CM_123E	PROJCS["Xian_1980_GK_CM_123E",GEOGCS["GCS_Xian_1980",DATUM["D_Xian_1980",SPHER
2347	Xian_1980_GK_CM_129E	PROJCS["Xian_1980_GK_CM_129E",GEOGCS["GCS_Xian_1980",DATUM["D_Xian_1980",SPHER
2348	Xian_1980_GK_CM_135E	PROJCS["Xian_1980_GK_CM_135E",GEOGCS["GCS_Xian_1980",DATUM["D_Xian_1980",SPHER
2349	Xian_1980_3_Degree_GK_Zone_25	PROJCS["Xian_1980_3_Degree_GK_Zone_25",GEOGCS["GCS_Xian_1980",DATUM["D_Xian_198
2350	Xian_1980_3_Degree_GK_Zone_26	PROJCS["Xian_1980_3_Degree_GK_Zone_26",GEOGCS["GCS_Xian_1980",DATUM["D_Xian_198
2351	Xian_1980_3_Degree_GK_Zone_27	PROJCS["Xian_1980_3_Degree_GK_Zone_27",GEOGCS["GCS_Xian_1980",DATUM["D_Xian_198
2352	Xian_1980_3_Degree_GK_Zone_28	PROJCS["Xian_1980_3_Degree_GK_Zone_28",GEOGCS["GCS_Xian_1980",DATUM["D_Xian_198
2353	Xian_1980_3_Degree_GK_Zone_29	PROJCS["Xian_1980_3_Degree_GK_Zone_29",GEOGCS["GCS_Xian_1980",DATUM["D_Xian_198
2354	Xian_1980_3_Degree_GK_Zone_30	PROJCS["Xian_1980_3_Degree_GK_Zone_30",GEOGCS["GCS_Xian_1980",DATUM["D_Xian_198
2355	Xian_1980_3_Degree_GK_Zone_31	PROJCS["Xian_1980_3_Degree_GK_Zone_31",GEOGCS["GCS_Xian_1980",DATUM["D_Xian_198
2356	Xian_1980_3_Degree_GK_Zone_32	PROJCS["Xian_1980_3_Degree_GK_Zone_32",GEOGCS["GCS_Xian_1980",DATUM["D_Xian_198
2357	Xian_1980_3_Degree_GK_Zone_33	PROJCS["Xian_1980_3_Degree_GK_Zone_33",GEOGCS["GCS_Xian_1980",DATUM["D_Xian_198
2358	Xian_1980_3_Degree_GK_Zone_34	PROJCS["Xian_1980_3_Degree_GK_Zone_34",GEOGCS["GCS_Xian_1980",DATUM["D_Xian_198
2359	Xian_1980_3_Degree_GK_Zone_35	PROJCS["Xian_1980_3_Degree_GK_Zone_35",GEOGCS["GCS_Xian_1980",DATUM["D_Xian_198
2360	Xian_1980_3_Degree_GK_Zone_36	PROJCS["Xian_1980_3_Degree_GK_Zone_36",GEOGCS["GCS_Xian_1980",DATUM["D_Xian_198
2361	Xian_1980_3_Degree_GK_Zone_37	PROJCS["Xian_1980_3_Degree_GK_Zone_37",GEOGCS["GCS_Xian_1980",DATUM["D_Xian_198
2362	Xian_1980_3_Degree_GK_Zone_38	PROJCS["Xian_1980_3_Degree_GK_Zone_38",GEOGCS["GCS_Xian_1980",DATUM["D_Xian_198
2363	Xian_1980_3_Degree_GK_Zone_39	PROJCS["Xian_1980_3_Degree_GK_Zone_39",GEOGCS["GCS_Xian_1980",DATUM["D_Xian_198
2364	Xian_1980_3_Degree_GK_Zone_40	PROJCS["Xian_1980_3_Degree_GK_Zone_40",GEOGCS["GCS_Xian_1980",DATUM["D_Xian_198
2365	Xian_1980_3_Degree_GK_Zone_41	PROJCS["Xian_1980_3_Degree_GK_Zone_41",GEOGCS["GCS_Xian_1980",DATUM["D_Xian_198
2366	Xian_1980_3_Degree_GK_Zone_42	PROJCS["Xian_1980_3_Degree_GK_Zone_42",GEOGCS["GCS_Xian_1980",DATUM["D_Xian_198
2367	Xian_1980_3_Degree_GK_Zone_43	PROJCS["Xian_1980_3_Degree_GK_Zone_43",GEOGCS["GCS_Xian_1980",DATUM["D_Xian_198
2368	Xian_1980_3_Degree_GK_Zone_44	PROJCS["Xian_1980_3_Degree_GK_Zone_44",GEOGCS["GCS_Xian_1980",DATUM["D_Xian_198
2369	Xian_1980_3_Degree_GK_Zone_45	PROJCS["Xian_1980_3_Degree_GK_Zone_45",GEOGCS["GCS_Xian_1980",DATUM["D_Xian_198
2370	Xian_1980_3_Degree_GK_CM_75E	PROJCS["Xian_1980_3_Degree_GK_CM_75E",GEOGCS["GCS_Xian_1980",DATUM["D_Xian_198
2371	Xian_1980_3_Degree_GK_CM_78E	PROJCS["Xian_1980_3_Degree_GK_CM_78E",GEOGCS["GCS_Xian_1980",DATUM["D_Xian_198
2372	Xian_1980_3_Degree_GK_CM_81E	PROJCS["Xian_1980_3_Degree_GK_CM_81E",GEOGCS["GCS_Xian_1980",DATUM["D_Xian_198
2373	Xian_1980_3_Degree_GK_CM_84E	PROJCS["Xian_1980_3_Degree_GK_CM_84E",GEOGCS["GCS_Xian_1980",DATUM["D_Xian_198
2374	Xian_1980_3_Degree_GK_CM_87E	PROJCS["Xian_1980_3_Degree_GK_CM_87E",GEOGCS["GCS_Xian_1980",DATUM["D_Xian_198
2375	Xian_1980_3_Degree_GK_CM_90E	PROJCS["Xian_1980_3_Degree_GK_CM_90E",GEOGCS["GCS_Xian_1980",DATUM["D_Xian_198
2376	Xian_1980_3_Degree_GK_CM_93E	PROJCS["Xian_1980_3_Degree_GK_CM_93E",GEOGCS["GCS_Xian_1980",DATUM["D_Xian_198
2377	Xian_1980_3_Degree_GK_CM_96E	PROJCS["Xian_1980_3_Degree_GK_CM_96E",GEOGCS["GCS_Xian_1980",DATUM["D_Xian_198
2378	Xian_1980_3_Degree_GK_CM_99E	PROJCS["Xian_1980_3_Degree_GK_CM_99E",GEOGCS["GCS_Xian_1980",DATUM["D_Xian_198
2379	Xian_1980_3_Degree_GK_CM_102E	PROJCS["Xian_1980_3_Degree_GK_CM_102E",GEOGCS["GCS_Xian_1980",DATUM["D_Xian_19
2380	Xian_1980_3_Degree_GK_CM_105E	PROJCS["Xian_1980_3_Degree_GK_CM_105E",GEOGCS["GCS_Xian_1980",DATUM["D_Xian_19
2381	Xian_1980_3_Degree_GK_CM_108E	PROJCS["Xian_1980_3_Degree_GK_CM_108E",GEOGCS["GCS_Xian_1980",DATUM["D_Xian_19
2382	Xian_1980_3_Degree_GK_CM_111E	PROJCS["Xian_1980_3_Degree_GK_CM_111E",GEOGCS["GCS_Xian_1980",DATUM["D_Xian_198
2383	Xian_1980_3_Degree_GK_CM_114E	PROJCS["Xian_1980_3_Degree_GK_CM_114E",GEOGCS["GCS_Xian_1980",DATUM["D_Xian_198
2384	Xian_1980_3_Degree_GK_CM_117E	PROJCS["Xian_1980_3_Degree_GK_CM_117E",GEOGCS["GCS_Xian_1980",DATUM["D_Xian_198
2385	Xian_1980_3_Degree_GK_CM_120E	PROJCS["Xian_1980_3_Degree_GK_CM_120E",GEOGCS["GCS_Xian_1980",DATUM["D_Xian_19
2386	Xian_1980_3_Degree_GK_CM_123E	PROJCS["Xian_1980_3_Degree_GK_CM_123E",GEOGCS["GCS_Xian_1980",DATUM["D_Xian_19

Copyright © 1995-2016 Esri. All rights reserved.

2387	Xian_1980_3_Degree_GK_CM_126E	PROJCS["Xian_1980_3_Degree_GK_CM_126E",GEOGCS["GCS_Xian_1980",DATUM["D_Xian_19
2388	Xian_1980_3_Degree_GK_CM_129E	PROJCS["Xian_1980_3_Degree_GK_CM_129E",GEOGCS["GCS_Xian_1980",DATUM["D_Xian_19
2389	Xian_1980_3_Degree_GK_CM_132E	PROJCS["Xian_1980_3_Degree_GK_CM_132E",GEOGCS["GCS_Xian_1980",DATUM["D_Xian_19
2390	Xian_1980_3_Degree_GK_CM_135E	PROJCS["Xian_1980_3_Degree_GK_CM_135E",GEOGCS["GCS_Xian_1980",DATUM["D_Xian_19
2391	Finland_Zone_1	PROJCS["Finland_Zone_1",GEOGCS["GCS_KKJ",DATUM["D_KKJ",SPHEROID["International_192
2392	Finland_Zone_2	PROJCS["Finland_Zone_2",GEOGCS["GCS_KKJ",DATUM["D_KKJ",SPHEROID["International_192
2393	Finland_Zone_3	PROJCS["Finland_Zone_3",GEOGCS["GCS_KKJ",DATUM["D_KKJ",SPHEROID["International_192
2394	Finland_Zone_4	PROJCS["Finland_Zone_4",GEOGCS["GCS_KKJ",DATUM["D_KKJ",SPHEROID["International_192
2395	South_Yemen_GK_Zone_8	PROJCS["South_Yemen_GK_Zone_8",GEOGCS["GCS_South_Yemen",DATUM["D_South_Yemen",
2396	South_Yemen_GK_Zone_9	PROJCS["South_Yemen_GK_Zone_9",GEOGCS["GCS_South_Yemen",DATUM["D_South_Yemen",
2397	Pulkovo_1942_Adj_1983_3_Degree_GK_Zone_3	PROJCS["Pulkovo_1942_Adj_1983_3_Degree_GK_Zone_3",GEOGCS["GCS_Pulkovo_1942_Adj_1
2398	Pulkovo_1942_Adj_1983_3_Degree_GK_Zone_4	PROJCS["Pulkovo_1942_Adj_1983_3_Degree_GK_Zone_4",GEOGCS["GCS_Pulkovo_1942_Adj_1
2399	Pulkovo_1942_Adj_1983_3_Degree_GK_Zone_5	PROJCS["Pulkovo_1942_Adj_1983_3_Degree_GK_Zone_5",GEOGCS["GCS_Pulkovo_1942_Adj_1
2400	RT90_25_gon_W	PROJCS["RT90_25_gon_W",GEOGCS["GCS_RT_1990",DATUM["D_RT_1990",SPHEROID["Besse
2401	Beijing_1954_3_Degree_GK_Zone_25	PROJCS["Beijing_1954_3_Degree_GK_Zone_25",GEOGCS["GCS_Beijing_1954",DATUM["D_Beijin
2402	Beijing_1954_3_Degree_GK_Zone_26	PROJCS["Beijing_1954_3_Degree_GK_Zone_26",GEOGCS["GCS_Beijing_1954",DATUM["D_Beijin
2403	Beijing_1954_3_Degree_GK_Zone_27	PROJCS["Beijing_1954_3_Degree_GK_Zone_27",GEOGCS["GCS_Beijing_1954",DATUM["D_Beijin
2404	Beijing_1954_3_Degree_GK_Zone_28	PROJCS["Beijing_1954_3_Degree_GK_Zone_28",GEOGCS["GCS_Beijing_1954",DATUM["D_Beijin
2405	Beijing_1954_3_Degree_GK_Zone_29	PROJCS["Beijing_1954_3_Degree_GK_Zone_29",GEOGCS["GCS_Beijing_1954",DATUM["D_Beijin
2406	Beijing_1954_3_Degree_GK_Zone_30	PROJCS["Beijing_1954_3_Degree_GK_Zone_30",GEOGCS["GCS_Beijing_1954",DATUM["D_Beijin
2407	Beijing_1954_3_Degree_GK_Zone_31	PROJCS["Beijing_1954_3_Degree_GK_Zone_31",GEOGCS["GCS_Beijing_1954",DATUM["D_Beijin
2408	Beijing_1954_3_Degree_GK_Zone_32	PROJCS["Beijing_1954_3_Degree_GK_Zone_32",GEOGCS["GCS_Beijing_1954",DATUM["D_Beijin
2409	Beijing_1954_3_Degree_GK_Zone_33	PROJCS["Beijing_1954_3_Degree_GK_Zone_33",GEOGCS["GCS_Beijing_1954",DATUM["D_Beijin
2410	Beijing_1954_3_Degree_GK_Zone_34	PROJCS["Beijing_1954_3_Degree_GK_Zone_34",GEOGCS["GCS_Beijing_1954",DATUM["D_Beijin
2411	Beijing_1954_3_Degree_GK_Zone_35	PROJCS["Beijing_1954_3_Degree_GK_Zone_35",GEOGCS["GCS_Beijing_1954",DATUM["D_Beijin
2412	Beijing_1954_3_Degree_GK_Zone_36	PROJCS["Beijing_1954_3_Degree_GK_Zone_36",GEOGCS["GCS_Beijing_1954",DATUM["D_Beijin
2413	Beijing_1954_3_Degree_GK_Zone_37	PROJCS["Beijing_1954_3_Degree_GK_Zone_37",GEOGCS["GCS_Beijing_1954",DATUM["D_Beijin
2414	Beijing_1954_3_Degree_GK_Zone_38	PROJCS["Beijing_1954_3_Degree_GK_Zone_38",GEOGCS["GCS_Beijing_1954",DATUM["D_Beijin
2415	Beijing_1954_3_Degree_GK_Zone_39	PROJCS["Beijing_1954_3_Degree_GK_Zone_39",GEOGCS["GCS_Beijing_1954",DATUM["D_Beijin
2416	Beijing_1954_3_Degree_GK_Zone_40	PROJCS["Beijing_1954_3_Degree_GK_Zone_40",GEOGCS["GCS_Beijing_1954",DATUM["D_Beijin
2417	Beijing_1954_3_Degree_GK_Zone_41	PROJCS["Beijing_1954_3_Degree_GK_Zone_41",GEOGCS["GCS_Beijing_1954",DATUM["D_Beijin
2418	Beijing_1954_3_Degree_GK_Zone_42	PROJCS["Beijing_1954_3_Degree_GK_Zone_42",GEOGCS["GCS_Beijing_1954",DATUM["D_Beijin
2419	Beijing_1954_3_Degree_GK_Zone_43	PROJCS["Beijing_1954_3_Degree_GK_Zone_43",GEOGCS["GCS_Beijing_1954",DATUM["D_Beijin
2420	Beijing_1954_3_Degree_GK_Zone_44	PROJCS["Beijing_1954_3_Degree_GK_Zone_44",GEOGCS["GCS_Beijing_1954",DATUM["D_Beijin
2421	Beijing_1954_3_Degree_GK_Zone_45	PROJCS["Beijing_1954_3_Degree_GK_Zone_45",GEOGCS["GCS_Beijing_1954",DATUM["D_Beijin
2422	Beijing_1954_3_Degree_GK_CM_75E	PROJCS["Beijing_1954_3_Degree_GK_CM_75E",GEOGCS["GCS_Beijing_1954",DATUM["D_Beijin
2423	Beijing_1954_3_Degree_GK_CM_78E	PROJCS["Beijing_1954_3_Degree_GK_CM_78E",GEOGCS["GCS_Beijing_1954",DATUM["D_Beijin
2424	Beijing_1954_3_Degree_GK_CM_81E	PROJCS["Beijing_1954_3_Degree_GK_CM_81E",GEOGCS["GCS_Beijing_1954",DATUM["D_Beijin
2425	Beijing_1954_3_Degree_GK_CM_84E	PROJCS["Beijing_1954_3_Degree_GK_CM_84E",GEOGCS["GCS_Beijing_1954",DATUM["D_Beijin
2426	Beijing_1954_3_Degree_GK_CM_87E	PROJCS["Beijing_1954_3_Degree_GK_CM_87E",GEOGCS["GCS_Beijing_1954",DATUM["D_Beijin
2427	Beijing_1954_3_Degree_GK_CM_90E	PROJCS["Beijing_1954_3_Degree_GK_CM_90E",GEOGCS["GCS_Beijing_1954",DATUM["D_Beijin
2428	Beijing_1954_3_Degree_GK_CM_93E	PROJCS["Beijing_1954_3_Degree_GK_CM_93E",GEOGCS["GCS_Beijing_1954",DATUM["D_Beijin
2429	Beijing_1954_3_Degree_GK_CM_96E	PROJCS["Beijing_1954_3_Degree_GK_CM_96E",GEOGCS["GCS_Beijing_1954",DATUM["D_Beijin
2430	Beijing_1954_3_Degree_GK_CM_99E	PROJCS["Beijing_1954_3_Degree_GK_CM_99E",GEOGCS["GCS_Beijing_1954",DATUM["D_Beijin
2431	Beijing_1954_3_Degree_GK_CM_102E	PROJCS["Beijing_1954_3_Degree_GK_CM_102E",GEOGCS["GCS_Beijing_1954",DATUM["D_Beiji
2432	Beijing_1954_3_Degree_GK_CM_105E	PROJCS["Beijing_1954_3_Degree_GK_CM_105E",GEOGCS["GCS_Beijing_1954",DATUM["D_Beiji
2433	Beijing_1954_3_Degree_GK_CM_108E	PROJCS["Beijing_1954_3_Degree_GK_CM_108E",GEOGCS["GCS_Beijing_1954",DATUM["D_Beiji
2434	Beijing_1954_3_Degree_GK_CM_111E	PROJCS["Beijing_1954_3_Degree_GK_CM_111E",GEOGCS["GCS_Beijing_1954",DATUM["D_Beiji
2435	Beijing_1954_3_Degree_GK_CM_114E	PROJCS["Beijing_1954_3_Degree_GK_CM_114E",GEOGCS["GCS_Beijing_1954",DATUM["D_Beiji
2436	Beijing_1954_3_Degree_GK_CM_117E	PROJCS["Beijing_1954_3_Degree_GK_CM_117E",GEOGCS["GCS_Beijing_1954",DATUM["D_Beiji
2437	Beijing_1954_3_Degree_GK_CM_120E	PROJCS["Beijing_1954_3_Degree_GK_CM_120E",GEOGCS["GCS_Beijing_1954",DATUM["D_Beiji
2438	Beijing_1954_3_Degree_GK_CM_123E	PROJCS["Beijing_1954_3_Degree_GK_CM_123E",GEOGCS["GCS_Beijing_1954",DATUM["D_Beiji
2439	Beijing_1954_3_Degree_GK_CM_126E	PROJCS["Beijing_1954_3_Degree_GK_CM_126E",GEOGCS["GCS_Beijing_1954",DATUM["D_Beiji
2440	Beijing_1954_3_Degree_GK_CM_129E	PROJCS["Beijing_1954_3_Degree_GK_CM_129E",GEOGCS["GCS_Beijing_1954",DATUM["D_Beiji

Copyright © 1995-2016 Esri. All rights reserved.

2441	Beijing_1954_3_Degree_GK_CM_132E	PROJCS["Beijing_1954_3_Degree_GK_CM_132E",GEOGCS["GCS_Beijing_1954",DATUM["D_Beiji
2442	Beijing_1954_3_Degree_GK_CM_135E	PROJCS["Beijing_1954_3_Degree_GK_CM_135E",GEOGCS["GCS_Beijing_1954",DATUM["D_Beiji
2443	JGD_2000_Japan_Zone_1	PROJCS["JGD_2000_Japan_Zone_1",GEOGCS["GCS_JGD_2000",DATUM["D_JGD_2000",SPHER
2444	JGD_2000_Japan_Zone_2	PROJCS["JGD_2000_Japan_Zone_2",GEOGCS["GCS_JGD_2000",DATUM["D_JGD_2000",SPHER
2445	JGD_2000_Japan_Zone_3	PROJCS["JGD_2000_Japan_Zone_3",GEOGCS["GCS_JGD_2000",DATUM["D_JGD_2000",SPHER
2446	JGD_2000_Japan_Zone_4	PROJCS["JGD_2000_Japan_Zone_4",GEOGCS["GCS_JGD_2000",DATUM["D_JGD_2000",SPHER
2447	JGD_2000_Japan_Zone_5	PROJCS["JGD_2000_Japan_Zone_5",GEOGCS["GCS_JGD_2000",DATUM["D_JGD_2000",SPHER
2448	JGD_2000_Japan_Zone_6	PROJCS["JGD_2000_Japan_Zone_6",GEOGCS["GCS_JGD_2000",DATUM["D_JGD_2000",SPHER
2449	JGD_2000_Japan_Zone_7	PROJCS["JGD_2000_Japan_Zone_7",GEOGCS["GCS_JGD_2000",DATUM["D_JGD_2000",SPHER
2450	JGD_2000_Japan_Zone_8	PROJCS["JGD_2000_Japan_Zone_8",GEOGCS["GCS_JGD_2000",DATUM["D_JGD_2000",SPHER
2451	JGD_2000_Japan_Zone_9	PROJCS["JGD_2000_Japan_Zone_9",GEOGCS["GCS_JGD_2000",DATUM["D_JGD_2000",SPHER
2452	JGD_2000_Japan_Zone_10	PROJCS["JGD_2000_Japan_Zone_10",GEOGCS["GCS_JGD_2000",DATUM["D_JGD_2000",SPHE
2453	JGD_2000_Japan_Zone_11	PROJCS["JGD_2000_Japan_Zone_11",GEOGCS["GCS_JGD_2000",DATUM["D_JGD_2000",SPHE
2454	JGD_2000_Japan_Zone_12	PROJCS["JGD_2000_Japan_Zone_12",GEOGCS["GCS_JGD_2000",DATUM["D_JGD_2000",SPHE
2455	JGD_2000_Japan_Zone_13	PROJCS["JGD_2000_Japan_Zone_13",GEOGCS["GCS_JGD_2000",DATUM["D_JGD_2000",SPHE
2456	JGD_2000_Japan_Zone_14	PROJCS["JGD_2000_Japan_Zone_14",GEOGCS["GCS_JGD_2000",DATUM["D_JGD_2000",SPHE
2457	JGD_2000_Japan_Zone_15	PROJCS["JGD_2000_Japan_Zone_15",GEOGCS["GCS_JGD_2000",DATUM["D_JGD_2000",SPHE
2458	JGD_2000_Japan_Zone_16	PROJCS["JGD_2000_Japan_Zone_16",GEOGCS["GCS_JGD_2000",DATUM["D_JGD_2000",SPHE
2459	JGD_2000_Japan_Zone_17	PROJCS["JGD_2000_Japan_Zone_17",GEOGCS["GCS_JGD_2000",DATUM["D_JGD_2000",SPHE
2460	JGD_2000_Japan_Zone_18	PROJCS["JGD_2000_Japan_Zone_18",GEOGCS["GCS_JGD_2000",DATUM["D_JGD_2000",SPHE
2461	JGD_2000_Japan_Zone_19	PROJCS["JGD_2000_Japan_Zone_19",GEOGCS["GCS_JGD_2000",DATUM["D_JGD_2000",SPHE
2462	Albanian_1987_GK_Zone_4	PROJCS["Albanian_1987_GK_Zone_4",GEOGCS["GCS_Albanian_1987",DATUM["D_Albanian_198
2523	Pulkovo_1942_3_Degree_GK_Zone_7	PROJCS["Pulkovo_1942_3_Degree_GK_Zone_7",GEOGCS["GCS_Pulkovo_1942",DATUM["D_Pulk
2524	Pulkovo_1942_3_Degree_GK_Zone_8	PROJCS["Pulkovo_1942_3_Degree_GK_Zone_8",GEOGCS["GCS_Pulkovo_1942",DATUM["D_Pulk
2525	Pulkovo_1942_3_Degree_GK_Zone_9	PROJCS["Pulkovo_1942_3_Degree_GK_Zone_9",GEOGCS["GCS_Pulkovo_1942",DATUM["D_Pulk
2526	Pulkovo_1942_3_Degree_GK_Zone_10	PROJCS["Pulkovo_1942_3_Degree_GK_Zone_10",GEOGCS["GCS_Pulkovo_1942",DATUM["D_Pu
2527	Pulkovo_1942_3_Degree_GK_Zone_11	PROJCS["Pulkovo_1942_3_Degree_GK_Zone_11",GEOGCS["GCS_Pulkovo_1942",DATUM["D_Pu
2528	Pulkovo_1942_3_Degree_GK_Zone_12	PROJCS["Pulkovo_1942_3_Degree_GK_Zone_12",GEOGCS["GCS_Pulkovo_1942",DATUM["D_Pu
2529	Pulkovo_1942_3_Degree_GK_Zone_13	PROJCS["Pulkovo_1942_3_Degree_GK_Zone_13",GEOGCS["GCS_Pulkovo_1942",DATUM["D_Pu
2530	Pulkovo_1942_3_Degree_GK_Zone_14	PROJCS["Pulkovo_1942_3_Degree_GK_Zone_14",GEOGCS["GCS_Pulkovo_1942",DATUM["D_Pu
2531	Pulkovo_1942_3_Degree_GK_Zone_15	PROJCS["Pulkovo_1942_3_Degree_GK_Zone_15",GEOGCS["GCS_Pulkovo_1942",DATUM["D_Pu
2532	Pulkovo_1942_3_Degree_GK_Zone_16	PROJCS["Pulkovo_1942_3_Degree_GK_Zone_16",GEOGCS["GCS_Pulkovo_1942",DATUM["D_Pu
2533	Pulkovo_1942_3_Degree_GK_Zone_17	PROJCS["Pulkovo_1942_3_Degree_GK_Zone_17",GEOGCS["GCS_Pulkovo_1942",DATUM["D_Pu
2534	Pulkovo_1942_3_Degree_GK_Zone_18	PROJCS["Pulkovo_1942_3_Degree_GK_Zone_18",GEOGCS["GCS_Pulkovo_1942",DATUM["D_Pu
2535	Pulkovo_1942_3_Degree_GK_Zone_19	PROJCS["Pulkovo_1942_3_Degree_GK_Zone_19",GEOGCS["GCS_Pulkovo_1942",DATUM["D_Pu
2536	Pulkovo_1942_3_Degree_GK_Zone_20	PROJCS["Pulkovo_1942_3_Degree_GK_Zone_20",GEOGCS["GCS_Pulkovo_1942",DATUM["D_Pu
2537	Pulkovo_1942_3_Degree_GK_Zone_21	PROJCS["Pulkovo_1942_3_Degree_GK_Zone_21",GEOGCS["GCS_Pulkovo_1942",DATUM["D_Pu
2538	Pulkovo_1942_3_Degree_GK_Zone_22	PROJCS["Pulkovo_1942_3_Degree_GK_Zone_22",GEOGCS["GCS_Pulkovo_1942",DATUM["D_Pu
2539	Pulkovo_1942_3_Degree_GK_Zone_23	PROJCS["Pulkovo_1942_3_Degree_GK_Zone_23",GEOGCS["GCS_Pulkovo_1942",DATUM["D_Pu
2540	Pulkovo_1942_3_Degree_GK_Zone_24	PROJCS["Pulkovo_1942_3_Degree_GK_Zone_24",GEOGCS["GCS_Pulkovo_1942",DATUM["D_Pu
2541	Pulkovo_1942_3_Degree_GK_Zone_25	PROJCS["Pulkovo_1942_3_Degree_GK_Zone_25",GEOGCS["GCS_Pulkovo_1942",DATUM["D_Pu
2542	Pulkovo_1942_3_Degree_GK_Zone_26	PROJCS["Pulkovo_1942_3_Degree_GK_Zone_26",GEOGCS["GCS_Pulkovo_1942",DATUM["D_Pu
2543	Pulkovo_1942_3_Degree_GK_Zone_27	PROJCS["Pulkovo_1942_3_Degree_GK_Zone_27",GEOGCS["GCS_Pulkovo_1942",DATUM["D_Pu
2544	Pulkovo_1942_3_Degree_GK_Zone_28	PROJCS["Pulkovo_1942_3_Degree_GK_Zone_28",GEOGCS["GCS_Pulkovo_1942",DATUM["D_Pu
2545	Pulkovo_1942_3_Degree_GK_Zone_29	PROJCS["Pulkovo_1942_3_Degree_GK_Zone_29",GEOGCS["GCS_Pulkovo_1942",DATUM["D_Pu
2546	Pulkovo_1942_3_Degree_GK_Zone_30	PROJCS["Pulkovo_1942_3_Degree_GK_Zone_30",GEOGCS["GCS_Pulkovo_1942",DATUM["D_Pu
2547	Pulkovo_1942_3_Degree_GK_Zone_31	PROJCS["Pulkovo_1942_3_Degree_GK_Zone_31",GEOGCS["GCS_Pulkovo_1942",DATUM["D_Pu
2548	Pulkovo_1942_3_Degree_GK_Zone_32	PROJCS["Pulkovo_1942_3_Degree_GK_Zone_32",GEOGCS["GCS_Pulkovo_1942",DATUM["D_Pu
2549	Pulkovo_1942_3_Degree_GK_Zone_33	PROJCS["Pulkovo_1942_3_Degree_GK_Zone_33",GEOGCS["GCS_Pulkovo_1942",DATUM["D_Pu
2550	Samboja_UTM_Zone_50S	PROJCS["Samboja_UTM_Zone_50S",GEOGCS["GCS_Samboja",DATUM["D_Samboja",SPHEROID
2551	Pulkovo_1942_3_Degree_GK_Zone_34	PROJCS["Pulkovo_1942_3_Degree_GK_Zone_34",GEOGCS["GCS_Pulkovo_1942",DATUM["D_Pu
2552	Pulkovo_1942_3_Degree_GK_Zone_35	PROJCS["Pulkovo_1942_3_Degree_GK_Zone_35",GEOGCS["GCS_Pulkovo_1942",DATUM["D_Pu
2553	Pulkovo_1942_3_Degree_GK_Zone_36	PROJCS["Pulkovo_1942_3_Degree_GK_Zone_36",GEOGCS["GCS_Pulkovo_1942",DATUM["D_Pu
2554	Pulkovo_1942_3_Degree_GK_Zone_37	PROJCS["Pulkovo_1942_3_Degree_GK_Zone_37",GEOGCS["GCS_Pulkovo_1942",DATUM["D_Pu

Copyright © 1995-2016 Esri. All rights reserved.

2555	Pulkovo_1942_3_Degree_GK_Zone_38	PROJCS["Pulkovo_1942_3_Degree_GK_Zone_38",GEOGCS["GCS_Pulkovo_1942",DATUM["D_Pu
2556	Pulkovo_1942_3_Degree_GK_Zone_39	PROJCS["Pulkovo_1942_3_Degree_GK_Zone_39",GEOGCS["GCS_Pulkovo_1942",DATUM["D_Pu
2557	Pulkovo_1942_3_Degree_GK_Zone_40	PROJCS["Pulkovo_1942_3_Degree_GK_Zone_40",GEOGCS["GCS_Pulkovo_1942",DATUM["D_Pu
2558	Pulkovo_1942_3_Degree_GK_Zone_41	PROJCS["Pulkovo_1942_3_Degree_GK_Zone_41",GEOGCS["GCS_Pulkovo_1942",DATUM["D_Pu
2559	Pulkovo_1942_3_Degree_GK_Zone_42	PROJCS["Pulkovo_1942_3_Degree_GK_Zone_42",GEOGCS["GCS_Pulkovo_1942",DATUM["D_Pu
2560	Pulkovo_1942_3_Degree_GK_Zone_43	PROJCS["Pulkovo_1942_3_Degree_GK_Zone_43",GEOGCS["GCS_Pulkovo_1942",DATUM["D_Pu
2561	Pulkovo_1942_3_Degree_GK_Zone_44	PROJCS["Pulkovo_1942_3_Degree_GK_Zone_44",GEOGCS["GCS_Pulkovo_1942",DATUM["D_Pu
2562	Pulkovo_1942_3_Degree_GK_Zone_45	PROJCS["Pulkovo_1942_3_Degree_GK_Zone_45",GEOGCS["GCS_Pulkovo_1942",DATUM["D_Pu
2563	Pulkovo_1942_3_Degree_GK_Zone_46	PROJCS["Pulkovo_1942_3_Degree_GK_Zone_46",GEOGCS["GCS_Pulkovo_1942",DATUM["D_Pu
2564	Pulkovo_1942_3_Degree_GK_Zone_47	PROJCS["Pulkovo_1942_3_Degree_GK_Zone_47",GEOGCS["GCS_Pulkovo_1942",DATUM["D_Pu
2565	Pulkovo_1942_3_Degree_GK_Zone_48	PROJCS["Pulkovo_1942_3_Degree_GK_Zone_48",GEOGCS["GCS_Pulkovo_1942",DATUM["D_Pu
2566	Pulkovo_1942_3_Degree_GK_Zone_49	PROJCS["Pulkovo_1942_3_Degree_GK_Zone_49",GEOGCS["GCS_Pulkovo_1942",DATUM["D_Pu
2567	Pulkovo_1942_3_Degree_GK_Zone_50	PROJCS["Pulkovo_1942_3_Degree_GK_Zone_50",GEOGCS["GCS_Pulkovo_1942",DATUM["D_Pu
2568	Pulkovo_1942_3_Degree_GK_Zone_51	PROJCS["Pulkovo_1942_3_Degree_GK_Zone_51",GEOGCS["GCS_Pulkovo_1942",DATUM["D_Pu
2569	Pulkovo_1942_3_Degree_GK_Zone_52	PROJCS["Pulkovo_1942_3_Degree_GK_Zone_52",GEOGCS["GCS_Pulkovo_1942",DATUM["D_Pu
2570	Pulkovo_1942_3_Degree_GK_Zone_53	PROJCS["Pulkovo_1942_3_Degree_GK_Zone_53",GEOGCS["GCS_Pulkovo_1942",DATUM["D_Pu
2571	Pulkovo_1942_3_Degree_GK_Zone_54	PROJCS["Pulkovo_1942_3_Degree_GK_Zone_54",GEOGCS["GCS_Pulkovo_1942",DATUM["D_Pu
2572	Pulkovo_1942_3_Degree_GK_Zone_55	PROJCS["Pulkovo_1942_3_Degree_GK_Zone_55",GEOGCS["GCS_Pulkovo_1942",DATUM["D_Pu
2573	Pulkovo_1942_3_Degree_GK_Zone_56	PROJCS["Pulkovo_1942_3_Degree_GK_Zone_56",GEOGCS["GCS_Pulkovo_1942",DATUM["D_Pu
2574	Pulkovo_1942_3_Degree_GK_Zone_57	PROJCS["Pulkovo_1942_3_Degree_GK_Zone_57",GEOGCS["GCS_Pulkovo_1942",DATUM["D_Pu
2575	Pulkovo_1942_3_Degree_GK_Zone_58	PROJCS["Pulkovo_1942_3_Degree_GK_Zone_58",GEOGCS["GCS_Pulkovo_1942",DATUM["D_Pu
2576	Pulkovo_1942_3_Degree_GK_Zone_59	PROJCS["Pulkovo_1942_3_Degree_GK_Zone_59",GEOGCS["GCS_Pulkovo_1942",DATUM["D_Pu
2578	Pulkovo_1942_3_Degree_GK_Zone_61	PROJCS["Pulkovo_1942_3_Degree_GK_Zone_61",GEOGCS["GCS_Pulkovo_1942",DATUM["D_Pu
2579	Pulkovo_1942_3_Degree_GK_Zone_62	PROJCS["Pulkovo_1942_3_Degree_GK_Zone_62",GEOGCS["GCS_Pulkovo_1942",DATUM["D_Pu
2580	Pulkovo_1942_3_Degree_GK_Zone_63	PROJCS["Pulkovo_1942_3_Degree_GK_Zone_63",GEOGCS["GCS_Pulkovo_1942",DATUM["D_Pu
2581	Pulkovo_1942_3_Degree_GK_Zone_64	PROJCS["Pulkovo_1942_3_Degree_GK_Zone_64",GEOGCS["GCS_Pulkovo_1942",DATUM["D_Pu
2582	Pulkovo_1942_3_Degree_GK_CM_21E	PROJCS["Pulkovo_1942_3_Degree_GK_CM_21E",GEOGCS["GCS_Pulkovo_1942",DATUM["D_Pu
2583	Pulkovo_1942_3_Degree_GK_CM_24E	PROJCS["Pulkovo_1942_3_Degree_GK_CM_24E",GEOGCS["GCS_Pulkovo_1942",DATUM["D_Pu
2584	Pulkovo_1942_3_Degree_GK_CM_27E	PROJCS["Pulkovo_1942_3_Degree_GK_CM_27E",GEOGCS["GCS_Pulkovo_1942",DATUM["D_Pu
2585	Pulkovo_1942_3_Degree_GK_CM_30E	PROJCS["Pulkovo_1942_3_Degree_GK_CM_30E",GEOGCS["GCS_Pulkovo_1942",DATUM["D_Pu
2586	Pulkovo_1942_3_Degree_GK_CM_33E	PROJCS["Pulkovo_1942_3_Degree_GK_CM_33E",GEOGCS["GCS_Pulkovo_1942",DATUM["D_Pu
2587	Pulkovo_1942_3_Degree_GK_CM_36E	PROJCS["Pulkovo_1942_3_Degree_GK_CM_36E",GEOGCS["GCS_Pulkovo_1942",DATUM["D_Pu
2588	Pulkovo_1942_3_Degree_GK_CM_39E	PROJCS["Pulkovo_1942_3_Degree_GK_CM_39E",GEOGCS["GCS_Pulkovo_1942",DATUM["D_Pu
2589	Pulkovo_1942_3_Degree_GK_CM_42E	PROJCS["Pulkovo_1942_3_Degree_GK_CM_42E",GEOGCS["GCS_Pulkovo_1942",DATUM["D_Pu
2590	Pulkovo_1942_3_Degree_GK_CM_45E	PROJCS["Pulkovo_1942_3_Degree_GK_CM_45E",GEOGCS["GCS_Pulkovo_1942",DATUM["D_Pu
2591	Pulkovo_1942_3_Degree_GK_CM_48E	PROJCS["Pulkovo_1942_3_Degree_GK_CM_48E",GEOGCS["GCS_Pulkovo_1942",DATUM["D_Pu
2592	Pulkovo_1942_3_Degree_GK_CM_51E	PROJCS["Pulkovo_1942_3_Degree_GK_CM_51E",GEOGCS["GCS_Pulkovo_1942",DATUM["D_Pu
2593	Pulkovo_1942_3_Degree_GK_CM_54E	PROJCS["Pulkovo_1942_3_Degree_GK_CM_54E",GEOGCS["GCS_Pulkovo_1942",DATUM["D_Pu
2594	Pulkovo_1942_3_Degree_GK_CM_57E	PROJCS["Pulkovo_1942_3_Degree_GK_CM_57E",GEOGCS["GCS_Pulkovo_1942",DATUM["D_Pu
2595	Pulkovo_1942_3_Degree_GK_CM_60E	PROJCS["Pulkovo_1942_3_Degree_GK_CM_60E",GEOGCS["GCS_Pulkovo_1942",DATUM["D_Pu
2596	Pulkovo_1942_3_Degree_GK_CM_63E	PROJCS["Pulkovo_1942_3_Degree_GK_CM_63E",GEOGCS["GCS_Pulkovo_1942",DATUM["D_Pu
2597	Pulkovo_1942_3_Degree_GK_CM_66E	PROJCS["Pulkovo_1942_3_Degree_GK_CM_66E",GEOGCS["GCS_Pulkovo_1942",DATUM["D_Pu
2598	Pulkovo_1942_3_Degree_GK_CM_69E	PROJCS["Pulkovo_1942_3_Degree_GK_CM_69E",GEOGCS["GCS_Pulkovo_1942",DATUM["D_Pu
2599	Pulkovo_1942_3_Degree_GK_CM_72E	PROJCS["Pulkovo_1942_3_Degree_GK_CM_72E",GEOGCS["GCS_Pulkovo_1942",DATUM["D_Pu
2601	Pulkovo_1942_3_Degree_GK_CM_75E	PROJCS["Pulkovo_1942_3_Degree_GK_CM_75E",GEOGCS["GCS_Pulkovo_1942",DATUM["D_Pu
2602	Pulkovo_1942_3_Degree_GK_CM_78E	PROJCS["Pulkovo_1942_3_Degree_GK_CM_78E",GEOGCS["GCS_Pulkovo_1942",DATUM["D_Pu
2603	Pulkovo_1942_3_Degree_GK_CM_81E	PROJCS["Pulkovo_1942_3_Degree_GK_CM_81E",GEOGCS["GCS_Pulkovo_1942",DATUM["D_Pu
2604	Pulkovo_1942_3_Degree_GK_CM_84E	PROJCS["Pulkovo_1942_3_Degree_GK_CM_84E",GEOGCS["GCS_Pulkovo_1942",DATUM["D_Pu
2605	Pulkovo_1942_3_Degree_GK_CM_87E	PROJCS["Pulkovo_1942_3_Degree_GK_CM_87E",GEOGCS["GCS_Pulkovo_1942",DATUM["D_Pu
2606	Pulkovo_1942_3_Degree_GK_CM_90E	PROJCS["Pulkovo_1942_3_Degree_GK_CM_90E",GEOGCS["GCS_Pulkovo_1942",DATUM["D_Pu
2607	Pulkovo_1942_3_Degree_GK_CM_93E	PROJCS["Pulkovo_1942_3_Degree_GK_CM_93E",GEOGCS["GCS_Pulkovo_1942",DATUM["D_Pu
2608	Pulkovo_1942_3_Degree_GK_CM_96E	PROJCS["Pulkovo_1942_3_Degree_GK_CM_96E",GEOGCS["GCS_Pulkovo_1942",DATUM["D_Pu
2609	Pulkovo_1942_3_Degree_GK_CM_99E	PROJCS["Pulkovo_1942_3_Degree_GK_CM_99E",GEOGCS["GCS_Pulkovo_1942",DATUM["D_Pu
2610	Pulkovo_1942_3_Degree_GK_CM_102E	PROJCS["Pulkovo_1942_3_Degree_GK_CM_102E",GEOGCS["GCS_Pulkovo_1942",DATUM["D_P

Copyright © 1995-2016 Esri. All rights reserved.

2611	Pulkovo_1942_3_Degree_GK_CM_105E	PROJCS["Pulkovo_1942_3_Degree_GK_CM_105E",GEOGCS["GCS_Pulkovo_1942",DATUM["D_P
2612	Pulkovo_1942_3_Degree_GK_CM_108E	PROJCS["Pulkovo_1942_3_Degree_GK_CM_108E",GEOGCS["GCS_Pulkovo_1942",DATUM["D_P
2613	Pulkovo_1942_3_Degree_GK_CM_111E	PROJCS["Pulkovo_1942_3_Degree_GK_CM_111E",GEOGCS["GCS_Pulkovo_1942",DATUM["D_P
2614	Pulkovo_1942_3_Degree_GK_CM_114E	PROJCS["Pulkovo_1942_3_Degree_GK_CM_114E",GEOGCS["GCS_Pulkovo_1942",DATUM["D_P
2615	Pulkovo_1942_3_Degree_GK_CM_117E	PROJCS["Pulkovo_1942_3_Degree_GK_CM_117E",GEOGCS["GCS_Pulkovo_1942",DATUM["D_P
2616	Pulkovo_1942_3_Degree_GK_CM_120E	PROJCS["Pulkovo_1942_3_Degree_GK_CM_120E",GEOGCS["GCS_Pulkovo_1942",DATUM["D_P
2617	Pulkovo_1942_3_Degree_GK_CM_123E	PROJCS["Pulkovo_1942_3_Degree_GK_CM_123E",GEOGCS["GCS_Pulkovo_1942",DATUM["D_P
2618	Pulkovo_1942_3_Degree_GK_CM_126E	PROJCS["Pulkovo_1942_3_Degree_GK_CM_126E",GEOGCS["GCS_Pulkovo_1942",DATUM["D_P
2619	Pulkovo_1942_3_Degree_GK_CM_129E	PROJCS["Pulkovo_1942_3_Degree_GK_CM_129E",GEOGCS["GCS_Pulkovo_1942",DATUM["D_P
2620	Pulkovo_1942_3_Degree_GK_CM_132E	PROJCS["Pulkovo_1942_3_Degree_GK_CM_132E",GEOGCS["GCS_Pulkovo_1942",DATUM["D_P
2621	Pulkovo_1942_3_Degree_GK_CM_135E	PROJCS["Pulkovo_1942_3_Degree_GK_CM_135E",GEOGCS["GCS_Pulkovo_1942",DATUM["D_P
2622	Pulkovo_1942_3_Degree_GK_CM_138E	PROJCS["Pulkovo_1942_3_Degree_GK_CM_138E",GEOGCS["GCS_Pulkovo_1942",DATUM["D_P
2623	Pulkovo_1942_3_Degree_GK_CM_141E	PROJCS["Pulkovo_1942_3_Degree_GK_CM_141E",GEOGCS["GCS_Pulkovo_1942",DATUM["D_P
2624	Pulkovo_1942_3_Degree_GK_CM_144E	PROJCS["Pulkovo_1942_3_Degree_GK_CM_144E",GEOGCS["GCS_Pulkovo_1942",DATUM["D_P
2625	Pulkovo_1942_3_Degree_GK_CM_147E	PROJCS["Pulkovo_1942_3_Degree_GK_CM_147E",GEOGCS["GCS_Pulkovo_1942",DATUM["D_P
2626	Pulkovo_1942_3_Degree_GK_CM_150E	PROJCS["Pulkovo_1942_3_Degree_GK_CM_150E",GEOGCS["GCS_Pulkovo_1942",DATUM["D_P
2627	Pulkovo_1942_3_Degree_GK_CM_153E	PROJCS["Pulkovo_1942_3_Degree_GK_CM_153E",GEOGCS["GCS_Pulkovo_1942",DATUM["D_P
2628	Pulkovo_1942_3_Degree_GK_CM_156E	PROJCS["Pulkovo_1942_3_Degree_GK_CM_156E",GEOGCS["GCS_Pulkovo_1942",DATUM["D_P
2629	Pulkovo_1942_3_Degree_GK_CM_159E	PROJCS["Pulkovo_1942_3_Degree_GK_CM_159E",GEOGCS["GCS_Pulkovo_1942",DATUM["D_P
2630	Pulkovo_1942_3_Degree_GK_CM_162E	PROJCS["Pulkovo_1942_3_Degree_GK_CM_162E",GEOGCS["GCS_Pulkovo_1942",DATUM["D_P
2631	Pulkovo_1942_3_Degree_GK_CM_165E	PROJCS["Pulkovo_1942_3_Degree_GK_CM_165E",GEOGCS["GCS_Pulkovo_1942",DATUM["D_P
2632	Pulkovo_1942_3_Degree_GK_CM_168E	PROJCS["Pulkovo_1942_3_Degree_GK_CM_168E",GEOGCS["GCS_Pulkovo_1942",DATUM["D_P
2633	Pulkovo_1942_3_Degree_GK_CM_171E	PROJCS["Pulkovo_1942_3_Degree_GK_CM_171E",GEOGCS["GCS_Pulkovo_1942",DATUM["D_P
2634	Pulkovo_1942_3_Degree_GK_CM_174E	PROJCS["Pulkovo_1942_3_Degree_GK_CM_174E",GEOGCS["GCS_Pulkovo_1942",DATUM["D_P
2635	Pulkovo_1942_3_Degree_GK_CM_177E	PROJCS["Pulkovo_1942_3_Degree_GK_CM_177E",GEOGCS["GCS_Pulkovo_1942",DATUM["D_P
2636	Pulkovo_1942_3_Degree_GK_CM_180E	PROJCS["Pulkovo_1942_3_Degree_GK_CM_180E",GEOGCS["GCS_Pulkovo_1942",DATUM["D_P
2637	Pulkovo_1942_3_Degree_GK_CM_177W	PROJCS["Pulkovo_1942_3_Degree_GK_CM_177W",GEOGCS["GCS_Pulkovo_1942",DATUM["D_P
2638	Pulkovo_1942_3_Degree_GK_CM_174W	PROJCS["Pulkovo_1942_3_Degree_GK_CM_174W",GEOGCS["GCS_Pulkovo_1942",DATUM["D_P
2639	Pulkovo_1942_3_Degree_GK_CM_171W	PROJCS["Pulkovo_1942_3_Degree_GK_CM_171W",GEOGCS["GCS_Pulkovo_1942",DATUM["D_P
2640	Pulkovo_1942_3_Degree_GK_CM_168W	PROJCS["Pulkovo_1942_3_Degree_GK_CM_168W",GEOGCS["GCS_Pulkovo_1942",DATUM["D_P
2641	Pulkovo_1995_3_Degree_GK_Zone_7	PROJCS["Pulkovo_1995_3_Degree_GK_Zone_7",GEOGCS["GCS_Pulkovo_1995",DATUM["D_Pulk
2642	Pulkovo_1995_3_Degree_GK_Zone_8	PROJCS["Pulkovo_1995_3_Degree_GK_Zone_8",GEOGCS["GCS_Pulkovo_1995",DATUM["D_Pulk
2643	Pulkovo_1995_3_Degree_GK_Zone_9	PROJCS["Pulkovo_1995_3_Degree_GK_Zone_9",GEOGCS["GCS_Pulkovo_1995",DATUM["D_Pulk
2644	Pulkovo_1995_3_Degree_GK_Zone_10	PROJCS["Pulkovo_1995_3_Degree_GK_Zone_10",GEOGCS["GCS_Pulkovo_1995",DATUM["D_Pu
2645	Pulkovo_1995_3_Degree_GK_Zone_11	PROJCS["Pulkovo_1995_3_Degree_GK_Zone_11",GEOGCS["GCS_Pulkovo_1995",DATUM["D_Pu
2646	Pulkovo_1995_3_Degree_GK_Zone_12	PROJCS["Pulkovo_1995_3_Degree_GK_Zone_12",GEOGCS["GCS_Pulkovo_1995",DATUM["D_Pu
2647	Pulkovo_1995_3_Degree_GK_Zone_13	PROJCS["Pulkovo_1995_3_Degree_GK_Zone_13",GEOGCS["GCS_Pulkovo_1995",DATUM["D_Pu
2648	Pulkovo_1995_3_Degree_GK_Zone_14	PROJCS["Pulkovo_1995_3_Degree_GK_Zone_14",GEOGCS["GCS_Pulkovo_1995",DATUM["D_Pu
2649	Pulkovo_1995_3_Degree_GK_Zone_15	PROJCS["Pulkovo_1995_3_Degree_GK_Zone_15",GEOGCS["GCS_Pulkovo_1995",DATUM["D_Pu
2650	Pulkovo_1995_3_Degree_GK_Zone_16	PROJCS["Pulkovo_1995_3_Degree_GK_Zone_16",GEOGCS["GCS_Pulkovo_1995",DATUM["D_Pu
2651	Pulkovo_1995_3_Degree_GK_Zone_17	PROJCS["Pulkovo_1995_3_Degree_GK_Zone_17",GEOGCS["GCS_Pulkovo_1995",DATUM["D_Pu
2652	Pulkovo_1995_3_Degree_GK_Zone_18	PROJCS["Pulkovo_1995_3_Degree_GK_Zone_18",GEOGCS["GCS_Pulkovo_1995",DATUM["D_Pu
2653	Pulkovo_1995_3_Degree_GK_Zone_19	PROJCS["Pulkovo_1995_3_Degree_GK_Zone_19",GEOGCS["GCS_Pulkovo_1995",DATUM["D_Pu
2654	Pulkovo_1995_3_Degree_GK_Zone_20	PROJCS["Pulkovo_1995_3_Degree_GK_Zone_20",GEOGCS["GCS_Pulkovo_1995",DATUM["D_Pu
2655	Pulkovo_1995_3_Degree_GK_Zone_21	PROJCS["Pulkovo_1995_3_Degree_GK_Zone_21",GEOGCS["GCS_Pulkovo_1995",DATUM["D_Pu
2656	Pulkovo_1995_3_Degree_GK_Zone_22	PROJCS["Pulkovo_1995_3_Degree_GK_Zone_22",GEOGCS["GCS_Pulkovo_1995",DATUM["D_Pu
2657	Pulkovo_1995_3_Degree_GK_Zone_23	PROJCS["Pulkovo_1995_3_Degree_GK_Zone_23",GEOGCS["GCS_Pulkovo_1995",DATUM["D_Pu
2658	Pulkovo_1995_3_Degree_GK_Zone_24	PROJCS["Pulkovo_1995_3_Degree_GK_Zone_24",GEOGCS["GCS_Pulkovo_1995",DATUM["D_Pu
2659	Pulkovo_1995_3_Degree_GK_Zone_25	PROJCS["Pulkovo_1995_3_Degree_GK_Zone_25",GEOGCS["GCS_Pulkovo_1995",DATUM["D_Pu
2660	Pulkovo_1995_3_Degree_GK_Zone_26	PROJCS["Pulkovo_1995_3_Degree_GK_Zone_26",GEOGCS["GCS_Pulkovo_1995",DATUM["D_Pu
2661	Pulkovo_1995_3_Degree_GK_Zone_27	PROJCS["Pulkovo_1995_3_Degree_GK_Zone_27",GEOGCS["GCS_Pulkovo_1995",DATUM["D_Pu
2662	Pulkovo_1995_3_Degree_GK_Zone_28	PROJCS["Pulkovo_1995_3_Degree_GK_Zone_28",GEOGCS["GCS_Pulkovo_1995",DATUM["D_Pu
2663	Pulkovo_1995_3_Degree_GK_Zone_29	PROJCS["Pulkovo_1995_3_Degree_GK_Zone_29",GEOGCS["GCS_Pulkovo_1995",DATUM["D_Pu
2664	Pulkovo_1995_3_Degree_GK_Zone_30	PROJCS["Pulkovo_1995_3_Degree_GK_Zone_30",GEOGCS["GCS_Pulkovo_1995",DATUM["D_Pu

Copyright © 1995-2016 Esri. All rights reserved.

2665	Pulkovo_1995_3_Degree_GK_Zone_31	PROJCS["Pulkovo_1995_3_Degree_GK_Zone_31",GEOGCS["GCS_Pulkovo_1995",DATUM["D_Pu
2666	Pulkovo_1995_3_Degree_GK_Zone_32	PROJCS["Pulkovo_1995_3_Degree_GK_Zone_32",GEOGCS["GCS_Pulkovo_1995",DATUM["D_Pu
2667	Pulkovo_1995_3_Degree_GK_Zone_33	PROJCS["Pulkovo_1995_3_Degree_GK_Zone_33",GEOGCS["GCS_Pulkovo_1995",DATUM["D_Pu
2668	Pulkovo_1995_3_Degree_GK_Zone_34	PROJCS["Pulkovo_1995_3_Degree_GK_Zone_34",GEOGCS["GCS_Pulkovo_1995",DATUM["D_Pu
2669	Pulkovo_1995_3_Degree_GK_Zone_35	PROJCS["Pulkovo_1995_3_Degree_GK_Zone_35",GEOGCS["GCS_Pulkovo_1995",DATUM["D_Pu
2670	Pulkovo_1995_3_Degree_GK_Zone_36	PROJCS["Pulkovo_1995_3_Degree_GK_Zone_36",GEOGCS["GCS_Pulkovo_1995",DATUM["D_Pu
2671	Pulkovo_1995_3_Degree_GK_Zone_37	PROJCS["Pulkovo_1995_3_Degree_GK_Zone_37",GEOGCS["GCS_Pulkovo_1995",DATUM["D_Pu
2672	Pulkovo_1995_3_Degree_GK_Zone_38	PROJCS["Pulkovo_1995_3_Degree_GK_Zone_38",GEOGCS["GCS_Pulkovo_1995",DATUM["D_Pu
2673	Pulkovo_1995_3_Degree_GK_Zone_39	PROJCS["Pulkovo_1995_3_Degree_GK_Zone_39",GEOGCS["GCS_Pulkovo_1995",DATUM["D_Pu
2674	Pulkovo_1995_3_Degree_GK_Zone_40	PROJCS["Pulkovo_1995_3_Degree_GK_Zone_40",GEOGCS["GCS_Pulkovo_1995",DATUM["D_Pu
2675	Pulkovo_1995_3_Degree_GK_Zone_41	PROJCS["Pulkovo_1995_3_Degree_GK_Zone_41",GEOGCS["GCS_Pulkovo_1995",DATUM["D_Pu
2676	Pulkovo_1995_3_Degree_GK_Zone_42	PROJCS["Pulkovo_1995_3_Degree_GK_Zone_42",GEOGCS["GCS_Pulkovo_1995",DATUM["D_Pu
2677	Pulkovo_1995_3_Degree_GK_Zone_43	PROJCS["Pulkovo_1995_3_Degree_GK_Zone_43",GEOGCS["GCS_Pulkovo_1995",DATUM["D_Pu
2678	Pulkovo_1995_3_Degree_GK_Zone_44	PROJCS["Pulkovo_1995_3_Degree_GK_Zone_44",GEOGCS["GCS_Pulkovo_1995",DATUM["D_Pu
2679	Pulkovo_1995_3_Degree_GK_Zone_45	PROJCS["Pulkovo_1995_3_Degree_GK_Zone_45",GEOGCS["GCS_Pulkovo_1995",DATUM["D_Pu
2680	Pulkovo_1995_3_Degree_GK_Zone_46	PROJCS["Pulkovo_1995_3_Degree_GK_Zone_46",GEOGCS["GCS_Pulkovo_1995",DATUM["D_Pu
2681	Pulkovo_1995_3_Degree_GK_Zone_47	PROJCS["Pulkovo_1995_3_Degree_GK_Zone_47",GEOGCS["GCS_Pulkovo_1995",DATUM["D_Pu
2682	Pulkovo_1995_3_Degree_GK_Zone_48	PROJCS["Pulkovo_1995_3_Degree_GK_Zone_48",GEOGCS["GCS_Pulkovo_1995",DATUM["D_Pu
2683	Pulkovo_1995_3_Degree_GK_Zone_49	PROJCS["Pulkovo_1995_3_Degree_GK_Zone_49",GEOGCS["GCS_Pulkovo_1995",DATUM["D_Pu
2684	Pulkovo_1995_3_Degree_GK_Zone_50	PROJCS["Pulkovo_1995_3_Degree_GK_Zone_50",GEOGCS["GCS_Pulkovo_1995",DATUM["D_Pu
2685	Pulkovo_1995_3_Degree_GK_Zone_51	PROJCS["Pulkovo_1995_3_Degree_GK_Zone_51",GEOGCS["GCS_Pulkovo_1995",DATUM["D_Pu
2686	Pulkovo_1995_3_Degree_GK_Zone_52	PROJCS["Pulkovo_1995_3_Degree_GK_Zone_52",GEOGCS["GCS_Pulkovo_1995",DATUM["D_Pu
2687	Pulkovo_1995_3_Degree_GK_Zone_53	PROJCS["Pulkovo_1995_3_Degree_GK_Zone_53",GEOGCS["GCS_Pulkovo_1995",DATUM["D_Pu
2688	Pulkovo_1995_3_Degree_GK_Zone_54	PROJCS["Pulkovo_1995_3_Degree_GK_Zone_54",GEOGCS["GCS_Pulkovo_1995",DATUM["D_Pu
2689	Pulkovo_1995_3_Degree_GK_Zone_55	PROJCS["Pulkovo_1995_3_Degree_GK_Zone_55",GEOGCS["GCS_Pulkovo_1995",DATUM["D_Pu
2690	Pulkovo_1995_3_Degree_GK_Zone_56	PROJCS["Pulkovo_1995_3_Degree_GK_Zone_56",GEOGCS["GCS_Pulkovo_1995",DATUM["D_Pu
2691	Pulkovo_1995_3_Degree_GK_Zone_57	PROJCS["Pulkovo_1995_3_Degree_GK_Zone_57",GEOGCS["GCS_Pulkovo_1995",DATUM["D_Pu
2692	Pulkovo_1995_3_Degree_GK_Zone_58	PROJCS["Pulkovo_1995_3_Degree_GK_Zone_58",GEOGCS["GCS_Pulkovo_1995",DATUM["D_Pu
2693	Pulkovo_1995_3_Degree_GK_Zone_59	PROJCS["Pulkovo_1995_3_Degree_GK_Zone_59",GEOGCS["GCS_Pulkovo_1995",DATUM["D_Pu
2695	Pulkovo_1995_3_Degree_GK_Zone_61	PROJCS["Pulkovo_1995_3_Degree_GK_Zone_61",GEOGCS["GCS_Pulkovo_1995",DATUM["D_Pu
2696	Pulkovo_1995_3_Degree_GK_Zone_62	PROJCS["Pulkovo_1995_3_Degree_GK_Zone_62",GEOGCS["GCS_Pulkovo_1995",DATUM["D_Pu
2697	Pulkovo_1995_3_Degree_GK_Zone_63	PROJCS["Pulkovo_1995_3_Degree_GK_Zone_63",GEOGCS["GCS_Pulkovo_1995",DATUM["D_Pu
2698	Pulkovo_1995_3_Degree_GK_Zone_64	PROJCS["Pulkovo_1995_3_Degree_GK_Zone_64",GEOGCS["GCS_Pulkovo_1995",DATUM["D_Pu
2699	Pulkovo_1995_3_Degree_GK_CM_21E	PROJCS["Pulkovo_1995_3_Degree_GK_CM_21E",GEOGCS["GCS_Pulkovo_1995",DATUM["D_Pu
2700	Pulkovo_1995_3_Degree_GK_CM_24E	PROJCS["Pulkovo_1995_3_Degree_GK_CM_24E",GEOGCS["GCS_Pulkovo_1995",DATUM["D_Pu
2701	Pulkovo_1995_3_Degree_GK_CM_27E	PROJCS["Pulkovo_1995_3_Degree_GK_CM_27E",GEOGCS["GCS_Pulkovo_1995",DATUM["D_Pu
2702	Pulkovo_1995_3_Degree_GK_CM_30E	PROJCS["Pulkovo_1995_3_Degree_GK_CM_30E",GEOGCS["GCS_Pulkovo_1995",DATUM["D_Pu
2703	Pulkovo_1995_3_Degree_GK_CM_33E	PROJCS["Pulkovo_1995_3_Degree_GK_CM_33E",GEOGCS["GCS_Pulkovo_1995",DATUM["D_Pu
2704	Pulkovo_1995_3_Degree_GK_CM_36E	PROJCS["Pulkovo_1995_3_Degree_GK_CM_36E",GEOGCS["GCS_Pulkovo_1995",DATUM["D_Pu
2705	Pulkovo_1995_3_Degree_GK_CM_39E	PROJCS["Pulkovo_1995_3_Degree_GK_CM_39E",GEOGCS["GCS_Pulkovo_1995",DATUM["D_Pu
2706	Pulkovo_1995_3_Degree_GK_CM_42E	PROJCS["Pulkovo_1995_3_Degree_GK_CM_42E",GEOGCS["GCS_Pulkovo_1995",DATUM["D_Pu
2707	Pulkovo_1995_3_Degree_GK_CM_45E	PROJCS["Pulkovo_1995_3_Degree_GK_CM_45E",GEOGCS["GCS_Pulkovo_1995",DATUM["D_Pu
2708	Pulkovo_1995_3_Degree_GK_CM_48E	PROJCS["Pulkovo_1995_3_Degree_GK_CM_48E",GEOGCS["GCS_Pulkovo_1995",DATUM["D_Pu
2709	Pulkovo_1995_3_Degree_GK_CM_51E	PROJCS["Pulkovo_1995_3_Degree_GK_CM_51E",GEOGCS["GCS_Pulkovo_1995",DATUM["D_Pu
2710	Pulkovo_1995_3_Degree_GK_CM_54E	PROJCS["Pulkovo_1995_3_Degree_GK_CM_54E",GEOGCS["GCS_Pulkovo_1995",DATUM["D_Pu
2711	Pulkovo_1995_3_Degree_GK_CM_57E	PROJCS["Pulkovo_1995_3_Degree_GK_CM_57E",GEOGCS["GCS_Pulkovo_1995",DATUM["D_Pu
2712	Pulkovo_1995_3_Degree_GK_CM_60E	PROJCS["Pulkovo_1995_3_Degree_GK_CM_60E",GEOGCS["GCS_Pulkovo_1995",DATUM["D_Pu
2713	Pulkovo_1995_3_Degree_GK_CM_63E	PROJCS["Pulkovo_1995_3_Degree_GK_CM_63E",GEOGCS["GCS_Pulkovo_1995",DATUM["D_Pu
2714	Pulkovo_1995_3_Degree_GK_CM_66E	PROJCS["Pulkovo_1995_3_Degree_GK_CM_66E",GEOGCS["GCS_Pulkovo_1995",DATUM["D_Pu
2715	Pulkovo_1995_3_Degree_GK_CM_69E	PROJCS["Pulkovo_1995_3_Degree_GK_CM_69E",GEOGCS["GCS_Pulkovo_1995",DATUM["D_Pu
2716	Pulkovo_1995_3_Degree_GK_CM_72E	PROJCS["Pulkovo_1995_3_Degree_GK_CM_72E",GEOGCS["GCS_Pulkovo_1995",DATUM["D_Pu
2717	Pulkovo_1995_3_Degree_GK_CM_75E	PROJCS["Pulkovo_1995_3_Degree_GK_CM_75E",GEOGCS["GCS_Pulkovo_1995",DATUM["D_Pu
2718	Pulkovo_1995_3_Degree_GK_CM_78E	PROJCS["Pulkovo_1995_3_Degree_GK_CM_78E",GEOGCS["GCS_Pulkovo_1995",DATUM["D_Pu
2719	Pulkovo_1995_3_Degree_GK_CM_81E	PROJCS["Pulkovo_1995_3_Degree_GK_CM_81E",GEOGCS["GCS_Pulkovo_1995",DATUM["D_Pu

Copyright © 1995-2016 Esri. All rights reserved.

2720	Pulkovo_1995_3_Degree_GK_CM_84E	PROJCS["Pulkovo_1995_3_Degree_GK_CM_84E",GEOGCS["GCS_Pulkovo_1995",DATUM["D_Pu
2721	Pulkovo_1995_3_Degree_GK_CM_87E	PROJCS["Pulkovo_1995_3_Degree_GK_CM_87E",GEOGCS["GCS_Pulkovo_1995",DATUM["D_Pu
2722	Pulkovo_1995_3_Degree_GK_CM_90E	PROJCS["Pulkovo_1995_3_Degree_GK_CM_90E",GEOGCS["GCS_Pulkovo_1995",DATUM["D_Pu
2723	Pulkovo_1995_3_Degree_GK_CM_93E	PROJCS["Pulkovo_1995_3_Degree_GK_CM_93E",GEOGCS["GCS_Pulkovo_1995",DATUM["D_Pu
2724	Pulkovo_1995_3_Degree_GK_CM_96E	PROJCS["Pulkovo_1995_3_Degree_GK_CM_96E",GEOGCS["GCS_Pulkovo_1995",DATUM["D_Pu
2725	Pulkovo_1995_3_Degree_GK_CM_99E	PROJCS["Pulkovo_1995_3_Degree_GK_CM_99E",GEOGCS["GCS_Pulkovo_1995",DATUM["D_Pu
2726	Pulkovo_1995_3_Degree_GK_CM_102E	PROJCS["Pulkovo_1995_3_Degree_GK_CM_102E",GEOGCS["GCS_Pulkovo_1995",DATUM["D_P
2727	Pulkovo_1995_3_Degree_GK_CM_105E	PROJCS["Pulkovo_1995_3_Degree_GK_CM_105E",GEOGCS["GCS_Pulkovo_1995",DATUM["D_P
2728	Pulkovo_1995_3_Degree_GK_CM_108E	PROJCS["Pulkovo_1995_3_Degree_GK_CM_108E",GEOGCS["GCS_Pulkovo_1995",DATUM["D_P
2729	Pulkovo_1995_3_Degree_GK_CM_111E	PROJCS["Pulkovo_1995_3_Degree_GK_CM_111E",GEOGCS["GCS_Pulkovo_1995",DATUM["D_P
2730	Pulkovo_1995_3_Degree_GK_CM_114E	PROJCS["Pulkovo_1995_3_Degree_GK_CM_114E",GEOGCS["GCS_Pulkovo_1995",DATUM["D_P
2731	Pulkovo_1995_3_Degree_GK_CM_117E	PROJCS["Pulkovo_1995_3_Degree_GK_CM_117E",GEOGCS["GCS_Pulkovo_1995",DATUM["D_P
2732	Pulkovo_1995_3_Degree_GK_CM_120E	PROJCS["Pulkovo_1995_3_Degree_GK_CM_120E",GEOGCS["GCS_Pulkovo_1995",DATUM["D_P
2733	Pulkovo_1995_3_Degree_GK_CM_123E	PROJCS["Pulkovo_1995_3_Degree_GK_CM_123E",GEOGCS["GCS_Pulkovo_1995",DATUM["D_P
2734	Pulkovo_1995_3_Degree_GK_CM_126E	PROJCS["Pulkovo_1995_3_Degree_GK_CM_126E",GEOGCS["GCS_Pulkovo_1995",DATUM["D_P
2735	Pulkovo_1995_3_Degree_GK_CM_129E	PROJCS["Pulkovo_1995_3_Degree_GK_CM_129E",GEOGCS["GCS_Pulkovo_1995",DATUM["D_P
2736	Tete_UTM_Zone_36S	PROJCS["Tete_UTM_Zone_36S",GEOGCS["GCS_Tete",DATUM["D_Tete",SPHEROID["Clarke_186
2737	Tete_UTM_Zone_37S	PROJCS["Tete_UTM_Zone_37S",GEOGCS["GCS_Tete",DATUM["D_Tete",SPHEROID["Clarke_186
2738	Pulkovo_1995_3_Degree_GK_CM_132E	PROJCS["Pulkovo_1995_3_Degree_GK_CM_132E",GEOGCS["GCS_Pulkovo_1995",DATUM["D_P
2739	Pulkovo_1995_3_Degree_GK_CM_135E	PROJCS["Pulkovo_1995_3_Degree_GK_CM_135E",GEOGCS["GCS_Pulkovo_1995",DATUM["D_P
2740	Pulkovo_1995_3_Degree_GK_CM_138E	PROJCS["Pulkovo_1995_3_Degree_GK_CM_138E",GEOGCS["GCS_Pulkovo_1995",DATUM["D_P
2741	Pulkovo_1995_3_Degree_GK_CM_141E	PROJCS["Pulkovo_1995_3_Degree_GK_CM_141E",GEOGCS["GCS_Pulkovo_1995",DATUM["D_P
2742	Pulkovo_1995_3_Degree_GK_CM_144E	PROJCS["Pulkovo_1995_3_Degree_GK_CM_144E",GEOGCS["GCS_Pulkovo_1995",DATUM["D_P
2743	Pulkovo_1995_3_Degree_GK_CM_147E	PROJCS["Pulkovo_1995_3_Degree_GK_CM_147E",GEOGCS["GCS_Pulkovo_1995",DATUM["D_P
2744	Pulkovo_1995_3_Degree_GK_CM_150E	PROJCS["Pulkovo_1995_3_Degree_GK_CM_150E",GEOGCS["GCS_Pulkovo_1995",DATUM["D_P
2745	Pulkovo_1995_3_Degree_GK_CM_153E	PROJCS["Pulkovo_1995_3_Degree_GK_CM_153E",GEOGCS["GCS_Pulkovo_1995",DATUM["D_P
2746	Pulkovo_1995_3_Degree_GK_CM_156E	PROJCS["Pulkovo_1995_3_Degree_GK_CM_156E",GEOGCS["GCS_Pulkovo_1995",DATUM["D_P
2747	Pulkovo_1995_3_Degree_GK_CM_159E	PROJCS["Pulkovo_1995_3_Degree_GK_CM_159E",GEOGCS["GCS_Pulkovo_1995",DATUM["D_P
2748	Pulkovo_1995_3_Degree_GK_CM_162E	PROJCS["Pulkovo_1995_3_Degree_GK_CM_162E",GEOGCS["GCS_Pulkovo_1995",DATUM["D_P
2749	Pulkovo_1995_3_Degree_GK_CM_165E	PROJCS["Pulkovo_1995_3_Degree_GK_CM_165E",GEOGCS["GCS_Pulkovo_1995",DATUM["D_P
2750	Pulkovo_1995_3_Degree_GK_CM_168E	PROJCS["Pulkovo_1995_3_Degree_GK_CM_168E",GEOGCS["GCS_Pulkovo_1995",DATUM["D_P
2751	Pulkovo_1995_3_Degree_GK_CM_171E	PROJCS["Pulkovo_1995_3_Degree_GK_CM_171E",GEOGCS["GCS_Pulkovo_1995",DATUM["D_P
2752	Pulkovo_1995_3_Degree_GK_CM_174E	PROJCS["Pulkovo_1995_3_Degree_GK_CM_174E",GEOGCS["GCS_Pulkovo_1995",DATUM["D_P
2753	Pulkovo_1995_3_Degree_GK_CM_177E	PROJCS["Pulkovo_1995_3_Degree_GK_CM_177E",GEOGCS["GCS_Pulkovo_1995",DATUM["D_P
2754	Pulkovo_1995_3_Degree_GK_CM_180E	PROJCS["Pulkovo_1995_3_Degree_GK_CM_180E",GEOGCS["GCS_Pulkovo_1995",DATUM["D_P
2755	Pulkovo_1995_3_Degree_GK_CM_177W	PROJCS["Pulkovo_1995_3_Degree_GK_CM_177W",GEOGCS["GCS_Pulkovo_1995",DATUM["D_P
2756	Pulkovo_1995_3_Degree_GK_CM_174W	PROJCS["Pulkovo_1995_3_Degree_GK_CM_174W",GEOGCS["GCS_Pulkovo_1995",DATUM["D_P
2757	Pulkovo_1995_3_Degree_GK_CM_171W	PROJCS["Pulkovo_1995_3_Degree_GK_CM_171W",GEOGCS["GCS_Pulkovo_1995",DATUM["D_P
2758	Pulkovo_1995_3_Degree_GK_CM_168W	PROJCS["Pulkovo_1995_3_Degree_GK_CM_168W",GEOGCS["GCS_Pulkovo_1995",DATUM["D_P
2759	NAD_1983_HARN_StatePlane_Alabama_East_FIPS_0101	PROJCS["NAD_1983_HARN_StatePlane_Alabama_East_FIPS_0101",GEOGCS["GCS_North_Ame
2760	NAD_1983_HARN_StatePlane_Alabama_West_FIPS_0102	PROJCS["NAD_1983_HARN_StatePlane_Alabama_West_FIPS_0102",GEOGCS["GCS_North_Ame
2761	NAD_1983_HARN_StatePlane_Arizona_East_FIPS_0201	PROJCS["NAD_1983_HARN_StatePlane_Arizona_East_FIPS_0201",GEOGCS["GCS_North_Ameri
2762	NAD_1983_HARN_StatePlane_Arizona_Central_FIPS_0202	PROJCS["NAD_1983_HARN_StatePlane_Arizona_Central_FIPS_0202",GEOGCS["GCS_North_Am
2763	NAD_1983_HARN_StatePlane_Arizona_West_FIPS_0203	PROJCS["NAD_1983_HARN_StatePlane_Arizona_West_FIPS_0203",GEOGCS["GCS_North_Amer
2764	NAD_1983_HARN_StatePlane_Arkansas_North_FIPS_0301	PROJCS["NAD_1983_HARN_StatePlane_Arkansas_North_FIPS_0301",GEOGCS["GCS_North_Am
2765	NAD_1983_HARN_StatePlane_Arkansas_South_FIPS_0302	PROJCS["NAD_1983_HARN_StatePlane_Arkansas_South_FIPS_0302",GEOGCS["GCS_North_An
2766	NAD_1983_HARN_StatePlane_California_I_FIPS_0401	PROJCS["NAD_1983_HARN_StatePlane_California_I_FIPS_0401",GEOGCS["GCS_North_America
2767	NAD_1983_HARN_StatePlane_California_II_FIPS_0402	PROJCS["NAD_1983_HARN_StatePlane_California_II_FIPS_0402",GEOGCS["GCS_North_Americ
2768	NAD_1983_HARN_StatePlane_California_III_FIPS_0403	PROJCS["NAD_1983_HARN_StatePlane_California_III_FIPS_0403",GEOGCS["GCS_North_Americ
2769	NAD_1983_HARN_StatePlane_California_IV_FIPS_0404	PROJCS["NAD_1983_HARN_StatePlane_California_IV_FIPS_0404",GEOGCS["GCS_North_Ameri
2770	NAD_1983_HARN_StatePlane_California_V_FIPS_0405	PROJCS["NAD_1983_HARN_StatePlane_California_V_FIPS_0405",GEOGCS["GCS_North_Americ
2771	NAD_1983_HARN_StatePlane_California_VI_FIPS_0406	PROJCS["NAD_1983_HARN_StatePlane_California_VI_FIPS_0406",GEOGCS["GCS_North_Ameri
2772	NAD_1983_HARN_StatePlane_Colorado_North_FIPS_0501	PROJCS["NAD_1983_HARN_StatePlane_Colorado_North_FIPS_0501",GEOGCS["GCS_North_Am
2773	NAD_1983_HARN_StatePlane_Colorado_Central_FIPS_0502	PROJCS["NAD_1983_HARN_StatePlane_Colorado_Central_FIPS_0502",GEOGCS["GCS_North_A

Copyright © 1995-2016 Esri. All rights reserved.

2774	NAD_1983_HARN_StatePlane_Colorado_South_FIPS_0503	PROJCS["NAD_1983_HARN_StatePlane_Colorado_South_FIPS_0503",GEOGCS["GCS_North_Am
2775	NAD_1983_HARN_StatePlane_Connecticut_FIPS_0600	PROJCS["NAD_1983_HARN_StatePlane_Connecticut_FIPS_0600",GEOGCS["GCS_North_Americ
2776	NAD_1983_HARN_StatePlane_Delaware_FIPS_0700	PROJCS["NAD_1983_HARN_StatePlane_Delaware_FIPS_0700",GEOGCS["GCS_North_American
2777	NAD_1983_HARN_StatePlane_Florida_East_FIPS_0901	PROJCS["NAD_1983_HARN_StatePlane_Florida_East_FIPS_0901",GEOGCS["GCS_North_Americ
2778	NAD_1983_HARN_StatePlane_Florida_West_FIPS_0902	PROJCS["NAD_1983_HARN_StatePlane_Florida_West_FIPS_0902",GEOGCS["GCS_North_Ameri
2779	NAD_1983_HARN_StatePlane_Florida_North_FIPS_0903	PROJCS["NAD_1983_HARN_StatePlane_Florida_North_FIPS_0903",GEOGCS["GCS_North_Amer
2780	NAD_1983_HARN_StatePlane_Georgia_East_FIPS_1001	PROJCS["NAD_1983_HARN_StatePlane_Georgia_East_FIPS_1001",GEOGCS["GCS_North_Amer
2781	NAD_1983_HARN_StatePlane_Georgia_West_FIPS_1002	PROJCS["NAD_1983_HARN_StatePlane_Georgia_West_FIPS_1002",GEOGCS["GCS_North_Ame
2782	NAD_1983_HARN_StatePlane_Hawaii_1_FIPS_5101	PROJCS["NAD_1983_HARN_StatePlane_Hawaii_1_FIPS_5101",GEOGCS["GCS_North_American_
2783	NAD_1983_HARN_StatePlane_Hawaii_2_FIPS_5102	PROJCS["NAD_1983_HARN_StatePlane_Hawaii_2_FIPS_5102",GEOGCS["GCS_North_American_
2784	NAD_1983_HARN_StatePlane_Hawaii_3_FIPS_5103	PROJCS["NAD_1983_HARN_StatePlane_Hawaii_3_FIPS_5103",GEOGCS["GCS_North_American_
2785	NAD_1983_HARN_StatePlane_Hawaii_4_FIPS_5104	PROJCS["NAD_1983_HARN_StatePlane_Hawaii_4_FIPS_5104",GEOGCS["GCS_North_American_
2786	NAD_1983_HARN_StatePlane_Hawaii_5_FIPS_5105	PROJCS["NAD_1983_HARN_StatePlane_Hawaii_5_FIPS_5105",GEOGCS["GCS_North_American_
2787	NAD_1983_HARN_StatePlane_Idaho_East_FIPS_1101	PROJCS["NAD_1983_HARN_StatePlane_Idaho_East_FIPS_1101",GEOGCS["GCS_North_America
2788	NAD_1983_HARN_StatePlane_Idaho_Central_FIPS_1102	PROJCS["NAD_1983_HARN_StatePlane_Idaho_Central_FIPS_1102",GEOGCS["GCS_North_Amer
2789	NAD_1983_HARN_StatePlane_Idaho_West_FIPS_1103	PROJCS["NAD_1983_HARN_StatePlane_Idaho_West_FIPS_1103",GEOGCS["GCS_North_Americ
2790	NAD_1983_HARN_StatePlane_Illinois_East_FIPS_1201	PROJCS["NAD_1983_HARN_StatePlane_Illinois_East_FIPS_1201",GEOGCS["GCS_North_Americ
2791	NAD_1983_HARN_StatePlane_Illinois_West_FIPS_1202	PROJCS["NAD_1983_HARN_StatePlane_Illinois_West_FIPS_1202",GEOGCS["GCS_North_Americ
2792	NAD_1983_HARN_StatePlane_Indiana_East_FIPS_1301	PROJCS["NAD_1983_HARN_StatePlane_Indiana_East_FIPS_1301",GEOGCS["GCS_North_Ameri
2793	NAD_1983_HARN_StatePlane_Indiana_West_FIPS_1302	PROJCS["NAD_1983_HARN_StatePlane_Indiana_West_FIPS_1302",GEOGCS["GCS_North_Amer
2794	NAD_1983_HARN_StatePlane_Iowa_North_FIPS_1401	PROJCS["NAD_1983_HARN_StatePlane_Iowa_North_FIPS_1401",GEOGCS["GCS_North_America
2795	NAD_1983_HARN_StatePlane_Iowa_South_FIPS_1402	PROJCS["NAD_1983_HARN_StatePlane_Iowa_South_FIPS_1402",GEOGCS["GCS_North_Americ
2796	NAD_1983_HARN_StatePlane_Kansas_North_FIPS_1501	PROJCS["NAD_1983_HARN_StatePlane_Kansas_North_FIPS_1501",GEOGCS["GCS_North_Amer
2797	NAD_1983_HARN_StatePlane_Kansas_South_FIPS_1502	PROJCS["NAD_1983_HARN_StatePlane_Kansas_South_FIPS_1502",GEOGCS["GCS_North_Ame
2798	NAD_1983_HARN_StatePlane_Kentucky_North_FIPS_1601	PROJCS["NAD_1983_HARN_StatePlane_Kentucky_North_FIPS_1601",GEOGCS["GCS_North_Am
2799	NAD_1983_HARN_StatePlane_Kentucky_South_FIPS_1602	PROJCS["NAD_1983_HARN_StatePlane_Kentucky_South_FIPS_1602",GEOGCS["GCS_North_Am
2800	NAD_1983_HARN_StatePlane_Louisiana_North_FIPS_1701	PROJCS["NAD_1983_HARN_StatePlane_Louisiana_North_FIPS_1701",GEOGCS["GCS_North_Am
2801	NAD_1983_HARN_StatePlane_Louisiana_South_FIPS_1702	PROJCS["NAD_1983_HARN_StatePlane_Louisiana_South_FIPS_1702",GEOGCS["GCS_North_Am
2802	NAD_1983_HARN_StatePlane_Maine_East_FIPS_1801	PROJCS["NAD_1983_HARN_StatePlane_Maine_East_FIPS_1801",GEOGCS["GCS_North_America
2803	NAD_1983_HARN_StatePlane_Maine_West_FIPS_1802	PROJCS["NAD_1983_HARN_StatePlane_Maine_West_FIPS_1802",GEOGCS["GCS_North_Americ
2804	NAD_1983_HARN_StatePlane_Maryland_FIPS_1900	PROJCS["NAD_1983_HARN_StatePlane_Maryland_FIPS_1900",GEOGCS["GCS_North_American_
2805	NAD_1983_HARN_StatePlane_Massachusetts_Mainland_FIPS_2001	PROJCS["NAD_1983_HARN_StatePlane_Massachusetts_Mainland_FIPS_2001",GEOGCS["GCS_
2806	NAD_1983_HARN_StatePlane_Massachusetts_Island_FIPS_2002	PROJCS["NAD_1983_HARN_StatePlane_Massachusetts_Island_FIPS_2002",GEOGCS["GCS_Nor
2807	NAD_1983_HARN_StatePlane_Michigan_North_FIPS_2111	PROJCS["NAD_1983_HARN_StatePlane_Michigan_North_FIPS_2111",GEOGCS["GCS_North_Am
2808	NAD_1983_HARN_StatePlane_Michigan_Central_FIPS_2112	PROJCS["NAD_1983_HARN_StatePlane_Michigan_Central_FIPS_2112",GEOGCS["GCS_North_A
2809	NAD_1983_HARN_StatePlane_Michigan_South_FIPS_2113	PROJCS["NAD_1983_HARN_StatePlane_Michigan_South_FIPS_2113",GEOGCS["GCS_North_Am
2810	NAD_1983_HARN_StatePlane_Minnesota_North_FIPS_2201	PROJCS["NAD_1983_HARN_StatePlane_Minnesota_North_FIPS_2201",GEOGCS["GCS_North_A
2811	NAD_1983_HARN_StatePlane_Minnesota_Central_FIPS_2202	PROJCS["NAD_1983_HARN_StatePlane_Minnesota_Central_FIPS_2202",GEOGCS["GCS_North_
2812	NAD_1983_HARN_StatePlane_Minnesota_South_FIPS_2203	PROJCS["NAD_1983_HARN_StatePlane_Minnesota_South_FIPS_2203",GEOGCS["GCS_North_A
2813	NAD_1983_HARN_StatePlane_Mississippi_East_FIPS_2301	PROJCS["NAD_1983_HARN_StatePlane_Mississippi_East_FIPS_2301",GEOGCS["GCS_North_Am
2814	NAD_1983_HARN_StatePlane_Mississippi_West_FIPS_2302	PROJCS["NAD_1983_HARN_StatePlane_Mississippi_West_FIPS_2302",GEOGCS["GCS_North_A
2815	NAD_1983_HARN_StatePlane_Missouri_East_FIPS_2401	PROJCS["NAD_1983_HARN_StatePlane_Missouri_East_FIPS_2401",GEOGCS["GCS_North_Amer
2816	NAD_1983_HARN_StatePlane_Missouri_Central_FIPS_2402	PROJCS["NAD_1983_HARN_StatePlane_Missouri_Central_FIPS_2402",GEOGCS["GCS_North_A
2817	NAD_1983_HARN_StatePlane_Missouri_West_FIPS_2403	PROJCS["NAD_1983_HARN_StatePlane_Missouri_West_FIPS_2403",GEOGCS["GCS_North_Ame
2818	NAD_1983_HARN_StatePlane_Montana_FIPS_2500	PROJCS["NAD_1983_HARN_StatePlane_Montana_FIPS_2500",GEOGCS["GCS_North_American_
2819	NAD_1983_HARN_StatePlane_Nebraska_FIPS_2600	PROJCS["NAD_1983_HARN_StatePlane_Nebraska_FIPS_2600",GEOGCS["GCS_North_American
2820	NAD_1983_HARN_StatePlane_Nevada_East_FIPS_2701	PROJCS["NAD_1983_HARN_StatePlane_Nevada_East_FIPS_2701",GEOGCS["GCS_North_Ameri
2821	NAD_1983_HARN_StatePlane_Nevada_Central_FIPS_2702	PROJCS["NAD_1983_HARN_StatePlane_Nevada_Central_FIPS_2702",GEOGCS["GCS_North_Am
2822	NAD_1983_HARN_StatePlane_Nevada_West_FIPS_2703	PROJCS["NAD_1983_HARN_StatePlane_Nevada_West_FIPS_2703",GEOGCS["GCS_North_Amer
2823	NAD_1983_HARN_StatePlane_New_Hampshire_FIPS_2800	PROJCS["NAD_1983_HARN_StatePlane_New_Hampshire_FIPS_2800",GEOGCS["GCS_North_An
2824	NAD_1983_HARN_StatePlane_New_Jersey_FIPS_2900	PROJCS["NAD_1983_HARN_StatePlane_New_Jersey_FIPS_2900",GEOGCS["GCS_North_Americ
2825	NAD_1983_HARN_StatePlane_New_Mexico_East_FIPS_3001	PROJCS["NAD_1983_HARN_StatePlane_New_Mexico_East_FIPS_3001",GEOGCS["GCS_North_
2826	NAD_1983_HARN_StatePlane_New_Mexico_Central_FIPS_3002	PROJCS["NAD_1983_HARN_StatePlane_New_Mexico_Central_FIPS_3002",GEOGCS["GCS_Nort
2827	NAD_1983_HARN_StatePlane_New_Mexico_West_FIPS_3003	PROJCS["NAD_1983_HARN_StatePlane_New_Mexico_West_FIPS_3003",GEOGCS["GCS_North_

Copyright © 1995-2016 Esri. All rights reserved.

2828	NAD_1983_HARN_StatePlane_New_York_East_FIPS_3101	PROJCS["NAD_1983_HARN_StatePlane_New_York_East_FIPS_3101",GEOGCS["GCS_North_Am
2829	NAD_1983_HARN_StatePlane_New_York_Central_FIPS_3102	PROJCS["NAD_1983_HARN_StatePlane_New_York_Central_FIPS_3102",GEOGCS["GCS_North_
2830	NAD_1983_HARN_StatePlane_New_York_West_FIPS_3103	PROJCS["NAD_1983_HARN_StatePlane_New_York_West_FIPS_3103",GEOGCS["GCS_North_An
2831	NAD_1983_HARN_StatePlane_New_York_Long_Island_FIPS_3104	PROJCS["NAD_1983_HARN_StatePlane_New_York_Long_Island_FIPS_3104",GEOGCS["GCS_No
2832	NAD_1983_HARN_StatePlane_North_Dakota_North_FIPS_3301	PROJCS["NAD_1983_HARN_StatePlane_North_Dakota_North_FIPS_3301",GEOGCS["GCS_North
2833	NAD_1983_HARN_StatePlane_North_Dakota_South_FIPS_3302	PROJCS["NAD_1983_HARN_StatePlane_North_Dakota_South_FIPS_3302",GEOGCS["GCS_North
2834	NAD_1983_HARN_StatePlane_Ohio_North_FIPS_3401	PROJCS["NAD_1983_HARN_StatePlane_Ohio_North_FIPS_3401",GEOGCS["GCS_North_America
2835	NAD_1983_HARN_StatePlane_Ohio_South_FIPS_3402	PROJCS["NAD_1983_HARN_StatePlane_Ohio_South_FIPS_3402",GEOGCS["GCS_North_Americ
2836	NAD_1983_HARN_StatePlane_Oklahoma_North_FIPS_3501	PROJCS["NAD_1983_HARN_StatePlane_Oklahoma_North_FIPS_3501",GEOGCS["GCS_North_Ar
2837	NAD_1983_HARN_StatePlane_Oklahoma_South_FIPS_3502	PROJCS["NAD_1983_HARN_StatePlane_Oklahoma_South_FIPS_3502",GEOGCS["GCS_North_A
2838	NAD_1983_HARN_StatePlane_Oregon_North_FIPS_3601	PROJCS["NAD_1983_HARN_StatePlane_Oregon_North_FIPS_3601",GEOGCS["GCS_North_Amer
2839	NAD_1983_HARN_StatePlane_Oregon_South_FIPS_3602	PROJCS["NAD_1983_HARN_StatePlane_Oregon_South_FIPS_3602",GEOGCS["GCS_North_Ame
2840	NAD_1983_HARN_StatePlane_Rhode_Island_FIPS_3800	PROJCS["NAD_1983_HARN_StatePlane_Rhode_Island_FIPS_3800",GEOGCS["GCS_North_Amer
2841	NAD_1983_HARN_StatePlane_South_Dakota_North_FIPS_4001	PROJCS["NAD_1983_HARN_StatePlane_South_Dakota_North_FIPS_4001",GEOGCS["GCS_North
2842	NAD_1983_HARN_StatePlane_South_Dakota_South_FIPS_4002	PROJCS["NAD_1983_HARN_StatePlane_South_Dakota_South_FIPS_4002",GEOGCS["GCS_Nort
2843	NAD_1983_HARN_StatePlane_Tennessee_FIPS_4100	PROJCS["NAD_1983_HARN_StatePlane_Tennessee_FIPS_4100",GEOGCS["GCS_North_America
2844	NAD_1983_HARN_StatePlane_Texas_North_FIPS_4201	PROJCS["NAD_1983_HARN_StatePlane_Texas_North_FIPS_4201",GEOGCS["GCS_North_Americ
2845	NAD_1983_HARN_StatePlane_Texas_North_Central_FIPS_4202	PROJCS["NAD_1983_HARN_StatePlane_Texas_North_Central_FIPS_4202",GEOGCS["GCS_Nort
2846	NAD_1983_HARN_StatePlane_Texas_Central_FIPS_4203	PROJCS["NAD_1983_HARN_StatePlane_Texas_Central_FIPS_4203",GEOGCS["GCS_North_Ame
2847	NAD_1983_HARN_StatePlane_Texas_South_Central_FIPS_4204	PROJCS["NAD_1983_HARN_StatePlane_Texas_South_Central_FIPS_4204",GEOGCS["GCS_Nort
2848	NAD_1983_HARN_StatePlane_Texas_South_FIPS_4205	PROJCS["NAD_1983_HARN_StatePlane_Texas_South_FIPS_4205",GEOGCS["GCS_North_Ameri
2849	NAD_1983_HARN_StatePlane_Utah_North_FIPS_4301	PROJCS["NAD_1983_HARN_StatePlane_Utah_North_FIPS_4301",GEOGCS["GCS_North_America
2850	NAD_1983_HARN_StatePlane_Utah_Central_FIPS_4302	PROJCS["NAD_1983_HARN_StatePlane_Utah_Central_FIPS_4302",GEOGCS["GCS_North_Ameri
2851	NAD_1983_HARN_StatePlane_Utah_South_FIPS_4303	PROJCS["NAD_1983_HARN_StatePlane_Utah_South_FIPS_4303",GEOGCS["GCS_North_Americ
2852	NAD_1983_HARN_StatePlane_Vermont_FIPS_4400	PROJCS["NAD_1983_HARN_StatePlane_Vermont_FIPS_4400",GEOGCS["GCS_North_American_
2853	NAD_1983_HARN_StatePlane_Virginia_North_FIPS_4501	PROJCS["NAD_1983_HARN_StatePlane_Virginia_North_FIPS_4501",GEOGCS["GCS_North_Amer
2854	NAD_1983_HARN_StatePlane_Virginia_South_FIPS_4502	PROJCS["NAD_1983_HARN_StatePlane_Virginia_South_FIPS_4502",GEOGCS["GCS_North_Ame
2855	NAD_1983_HARN_StatePlane_Washington_North_FIPS_4601	PROJCS["NAD_1983_HARN_StatePlane_Washington_North_FIPS_4601",GEOGCS["GCS_North_
2856	NAD_1983_HARN_StatePlane_Washington_South_FIPS_4602	PROJCS["NAD_1983_HARN_StatePlane_Washington_South_FIPS_4602",GEOGCS["GCS_North_
2857	NAD_1983_HARN_StatePlane_West_Virginia_North_FIPS_4701	PROJCS["NAD_1983_HARN_StatePlane_West_Virginia_North_FIPS_4701",GEOGCS["GCS_North
2858	NAD_1983_HARN_StatePlane_West_Virginia_South_FIPS_4702	PROJCS["NAD_1983_HARN_StatePlane_West_Virginia_South_FIPS_4702",GEOGCS["GCS_North
2859	NAD_1983_HARN_StatePlane_Wisconsin_North_FIPS_4801	PROJCS["NAD_1983_HARN_StatePlane_Wisconsin_North_FIPS_4801",GEOGCS["GCS_North_Ar
2860	NAD_1983_HARN_StatePlane_Wisconsin_Central_FIPS_4802	PROJCS["NAD_1983_HARN_StatePlane_Wisconsin_Central_FIPS_4802",GEOGCS["GCS_North_
2861	NAD_1983_HARN_StatePlane_Wisconsin_South_FIPS_4803	PROJCS["NAD_1983_HARN_StatePlane_Wisconsin_South_FIPS_4803",GEOGCS["GCS_North_Ar
2862	NAD_1983_HARN_StatePlane_Wyoming_East_FIPS_4901	PROJCS["NAD_1983_HARN_StatePlane_Wyoming_East_FIPS_4901",GEOGCS["GCS_North_Ame
2863	NAD_1983_HARN_StatePlane_Wyoming_East_Central_FIPS_4902	PROJCS["NAD_1983_HARN_StatePlane_Wyoming_East_Central_FIPS_4902",GEOGCS["GCS_No
2864	NAD_1983_HARN_StatePlane_Wyoming_West_Central_FIPS_4903	PROJCS["NAD_1983_HARN_StatePlane_Wyoming_West_Central_FIPS_4903",GEOGCS["GCS_N
2865	NAD_1983_HARN_StatePlane_Wyoming_West_FIPS_4904	PROJCS["NAD_1983_HARN_StatePlane_Wyoming_West_FIPS_4904",GEOGCS["GCS_North_Am
2866	NAD_1983_HARN_StatePlane_Puerto_Rico_Virgin_Islands_FIPS_5200	PROJCS["NAD_1983_HARN_StatePlane_Puerto_Rico_Virgin_Islands_FIPS_5200",GEOGCS["GCS
2867	NAD_1983_HARN_StatePlane_Arizona_East_FIPS_0201_Feet_Intl	PROJCS["NAD_1983_HARN_StatePlane_Arizona_East_FIPS_0201_Feet_Intl",GEOGCS["GCS_No
2868	NAD_1983_HARN_StatePlane_Arizona_Central_FIPS_0202_Feet_Intl	PROJCS["NAD_1983_HARN_StatePlane_Arizona_Central_FIPS_0202_Feet_Intl",GEOGCS["GCS_
2869	NAD_1983_HARN_StatePlane_Arizona_West_FIPS_0203_Feet_Intl	PROJCS["NAD_1983_HARN_StatePlane_Arizona_West_FIPS_0203_Feet_Intl",GEOGCS["GCS_No
2870	NAD_1983_HARN_StatePlane_California_I_FIPS_0401_Feet	PROJCS["NAD_1983_HARN_StatePlane_California_I_FIPS_0401_Feet",GEOGCS["GCS_North_Ar
2871	NAD_1983_HARN_StatePlane_California_II_FIPS_0402_Feet	PROJCS["NAD_1983_HARN_StatePlane_California_II_FIPS_0402_Feet",GEOGCS["GCS_North_A
2872	NAD_1983_HARN_StatePlane_California_III_FIPS_0403_Feet	PROJCS["NAD_1983_HARN_StatePlane_California_III_FIPS_0403_Feet",GEOGCS["GCS_North_
2873	NAD_1983_HARN_StatePlane_California_IV_FIPS_0404_Feet	PROJCS["NAD_1983_HARN_StatePlane_California_IV_FIPS_0404_Feet",GEOGCS["GCS_North_
2874	NAD_1983_HARN_StatePlane_California_V_FIPS_0405_Feet	PROJCS["NAD_1983_HARN_StatePlane_California_V_FIPS_0405_Feet",GEOGCS["GCS_North_A
2875	NAD_1983_HARN_StatePlane_California_VI_FIPS_0406_Feet	PROJCS["NAD_1983_HARN_StatePlane_California_VI_FIPS_0406_Feet",GEOGCS["GCS_North_
2876	NAD_1983_HARN_StatePlane_Colorado_North_FIPS_0501_Feet	PROJCS["NAD_1983_HARN_StatePlane_Colorado_North_FIPS_0501_Feet",GEOGCS["GCS_Nort
2877	NAD_1983_HARN_StatePlane_Colorado_Central_FIPS_0502_Feet	PROJCS["NAD_1983_HARN_StatePlane_Colorado_Central_FIPS_0502_Feet",GEOGCS["GCS_No
2878	NAD_1983_HARN_StatePlane_Colorado_South_FIPS_0503_Feet	PROJCS["NAD_1983_HARN_StatePlane_Colorado_South_FIPS_0503_Feet",GEOGCS["GCS_Nor
2879	NAD_1983_HARN_StatePlane_Connecticut_FIPS_0600_Feet	PROJCS["NAD_1983_HARN_StatePlane_Connecticut_FIPS_0600_Feet",GEOGCS["GCS_North_A
2880	NAD_1983_HARN_StatePlane_Delaware_FIPS_0700_Feet	PROJCS["NAD_1983_HARN_StatePlane_Delaware_FIPS_0700_Feet",GEOGCS["GCS_North_Ame
2881	NAD_1983_HARN_StatePlane_Florida_East_FIPS_0901_Feet	PROJCS["NAD_1983_HARN_StatePlane_Florida_East_FIPS_0901_Feet",GEOGCS["GCS_North_

Copyright © 1995-2016 Esri. All rights reserved.

2882	NAD_1983_HARN_StatePlane_Florida_West_FIPS_0902_Feet	PROJCS["NAD_1983_HARN_StatePlane_Florida_West_FIPS_0902_Feet",GEOGCS["GCS_North_
2883	NAD_1983_HARN_StatePlane_Florida_North_FIPS_0903_Feet	PROJCS["NAD_1983_HARN_StatePlane_Florida_North_FIPS_0903_Feet",GEOGCS["GCS_North_
2884	NAD_1983_HARN_StatePlane_Georgia_East_FIPS_1001_Feet	PROJCS["NAD_1983_HARN_StatePlane_Georgia_East_FIPS_1001_Feet",GEOGCS["GCS_North_
2885	NAD_1983_HARN_StatePlane_Georgia_West_FIPS_1002_Feet	PROJCS["NAD_1983_HARN_StatePlane_Georgia_West_FIPS_1002_Feet",GEOGCS["GCS_North
2886	NAD_1983_HARN_StatePlane_Idaho_East_FIPS_1101_Feet	PROJCS["NAD_1983_HARN_StatePlane_Idaho_East_FIPS_1101_Feet",GEOGCS["GCS_North_Ar
2887	NAD_1983_HARN_StatePlane_Idaho_Central_FIPS_1102_Feet	PROJCS["NAD_1983_HARN_StatePlane_Idaho_Central_FIPS_1102_Feet",GEOGCS["GCS_North_
2888	NAD_1983_HARN_StatePlane_Idaho_West_FIPS_1103_Feet	PROJCS["NAD_1983_HARN_StatePlane_Idaho_West_FIPS_1103_Feet",GEOGCS["GCS_North_A
2891	NAD_1983_HARN_StatePlane_Kentucky_North_FIPS_1601_Feet	PROJCS["NAD_1983_HARN_StatePlane_Kentucky_North_FIPS_1601_Feet",GEOGCS["GCS_Nort
2892	NAD_1983_HARN_StatePlane_Kentucky_South_FIPS_1602_Feet	PROJCS["NAD_1983_HARN_StatePlane_Kentucky_South_FIPS_1602_Feet",GEOGCS["GCS_Nor
2893	NAD_1983_HARN_StatePlane_Maryland_FIPS_1900_Feet	PROJCS["NAD_1983_HARN_StatePlane_Maryland_FIPS_1900_Feet",GEOGCS["GCS_North_Ame
2894	NAD_1983_HARN_StatePlane_Massachusetts_Mainland_FIPS_2001_Feet	PROJCS["NAD_1983_HARN_StatePlane_Massachusetts_Mainland_FIPS_2001_Feet",GEOGCS["G
2895	NAD_1983_HARN_StatePlane_Massachusetts_Island_FIPS_2002_Feet	PROJCS["NAD_1983_HARN_StatePlane_Massachusetts_Island_FIPS_2002_Feet",GEOGCS["GCS
2896	NAD_1983_HARN_StatePlane_Michigan_North_FIPS_2111_Feet_Intl	PROJCS["NAD_1983_HARN_StatePlane_Michigan_North_FIPS_2111_Feet_Intl",GEOGCS["GCS_I
2897	NAD_1983_HARN_StatePlane_Michigan_Central_FIPS_2112_Feet_Intl	PROJCS["NAD_1983_HARN_StatePlane_Michigan_Central_FIPS_2112_Feet_Intl",GEOGCS["GCS
2898	NAD_1983_HARN_StatePlane_Michigan_South_FIPS_2113_Feet_Intl	PROJCS["NAD_1983_HARN_StatePlane_Michigan_South_FIPS_2113_Feet_Intl",GEOGCS["GCS_
2899	NAD_1983_HARN_StatePlane_Mississippi_East_FIPS_2301_Feet	PROJCS["NAD_1983_HARN_StatePlane_Mississippi_East_FIPS_2301_Feet",GEOGCS["GCS_Nor
2900	NAD_1983_HARN_StatePlane_Mississippi_West_FIPS_2302_Feet	PROJCS["NAD_1983_HARN_StatePlane_Mississippi_West_FIPS_2302_Feet",GEOGCS["GCS_No
2901	NAD_1983_HARN_StatePlane_Montana_FIPS_2500_Feet_Intl	PROJCS["NAD_1983_HARN_StatePlane_Montana_FIPS_2500_Feet_Intl",GEOGCS["GCS_North_
2902	NAD_1983_HARN_StatePlane_New_Mexico_East_FIPS_3001_Feet	PROJCS["NAD_1983_HARN_StatePlane_New_Mexico_East_FIPS_3001_Feet",GEOGCS["GCS_N
2903	NAD_1983_HARN_StatePlane_New_Mexico_Central_FIPS_3002_Feet	PROJCS["NAD_1983_HARN_StatePlane_New_Mexico_Central_FIPS_3002_Feet",GEOGCS["GCS
2904	NAD_1983_HARN_StatePlane_New_Mexico_West_FIPS_3003_Feet	PROJCS["NAD_1983_HARN_StatePlane_New_Mexico_West_FIPS_3003_Feet",GEOGCS["GCS_N
2905	NAD_1983_HARN_StatePlane_New_York_East_FIPS_3101_Feet	PROJCS["NAD_1983_HARN_StatePlane_New_York_East_FIPS_3101_Feet",GEOGCS["GCS_Nort
2906	NAD_1983_HARN_StatePlane_New_York_Central_FIPS_3102_Feet	PROJCS["NAD_1983_HARN_StatePlane_New_York_Central_FIPS_3102_Feet",GEOGCS["GCS_N
2907	NAD_1983_HARN_StatePlane_New_York_West_FIPS_3103_Feet	PROJCS["NAD_1983_HARN_StatePlane_New_York_West_FIPS_3103_Feet",GEOGCS["GCS_Nor
2908	NAD_1983_HARN_StatePlane_New_York_Long_Island_FIPS_3104_Feet	PROJCS["NAD_1983_HARN_StatePlane_New_York_Long_Island_FIPS_3104_Feet",GEOGCS["GC
2909	NAD_1983_HARN_StatePlane_North_Dakota_North_FIPS_3301_Feet_Intl	PROJCS["NAD_1983_HARN_StatePlane_North_Dakota_North_FIPS_3301_Feet_Intl",GEOGCS["G
2910	NAD_1983_HARN_StatePlane_North_Dakota_South_FIPS_3302_Feet_Intl	PROJCS["NAD_1983_HARN_StatePlane_North_Dakota_South_FIPS_3302_Feet_Intl",GEOGCS["G
2911	NAD_1983_HARN_StatePlane_Oklahoma_North_FIPS_3501_Feet	PROJCS["NAD_1983_HARN_StatePlane_Oklahoma_North_FIPS_3501_Feet",GEOGCS["GCS_No
2912	NAD_1983_HARN_StatePlane_Oklahoma_South_FIPS_3502_Feet	PROJCS["NAD_1983_HARN_StatePlane_Oklahoma_South_FIPS_3502_Feet",GEOGCS["GCS_No
2913	NAD_1983_HARN_StatePlane_Oregon_North_FIPS_3601_Feet_Intl	PROJCS["NAD_1983_HARN_StatePlane_Oregon_North_FIPS_3601_Feet_Intl",GEOGCS["GCS_N
2914	NAD_1983_HARN_StatePlane_Oregon_South_FIPS_3602_Feet_Intl	PROJCS["NAD_1983_HARN_StatePlane_Oregon_South_FIPS_3602_Feet_Intl",GEOGCS["GCS_N
2915	NAD_1983_HARN_StatePlane_Tennessee_FIPS_4100_Feet	PROJCS["NAD_1983_HARN_StatePlane_Tennessee_FIPS_4100_Feet",GEOGCS["GCS_North_Am
2916	NAD_1983_HARN_StatePlane_Texas_North_FIPS_4201_Feet	PROJCS["NAD_1983_HARN_StatePlane_Texas_North_FIPS_4201_Feet",GEOGCS["GCS_North_A
2917	NAD_1983_HARN_StatePlane_Texas_North_Central_FIPS_4202_Feet	PROJCS["NAD_1983_HARN_StatePlane_Texas_North_Central_FIPS_4202_Feet",GEOGCS["GCS
2918	NAD_1983_HARN_StatePlane_Texas_Central_FIPS_4203_Feet	PROJCS["NAD_1983_HARN_StatePlane_Texas_Central_FIPS_4203_Feet",GEOGCS["GCS_North
2919	NAD_1983_HARN_StatePlane_Texas_South_Central_FIPS_4204_Feet	PROJCS["NAD_1983_HARN_StatePlane_Texas_South_Central_FIPS_4204_Feet",GEOGCS["GCS
2920	NAD_1983_HARN_StatePlane_Texas_South_FIPS_4205_Feet	PROJCS["NAD_1983_HARN_StatePlane_Texas_South_FIPS_4205_Feet",GEOGCS["GCS_North_A
2921	NAD_1983_HARN_StatePlane_Utah_North_FIPS_4301_Feet_Intl	PROJCS["NAD_1983_HARN_StatePlane_Utah_North_FIPS_4301_Feet_Intl",GEOGCS["GCS_Nort
2922	NAD_1983_HARN_StatePlane_Utah_Central_FIPS_4302_Feet_Intl	PROJCS["NAD_1983_HARN_StatePlane_Utah_Central_FIPS_4302_Feet_Intl",GEOGCS["GCS_No
2923	NAD_1983_HARN_StatePlane_Utah_South_FIPS_4303_Feet_Intl	PROJCS["NAD_1983_HARN_StatePlane_Utah_South_FIPS_4303_Feet_Intl",GEOGCS["GCS_Nort
2924	NAD_1983_HARN_StatePlane_Virginia_North_FIPS_4501_Feet	PROJCS["NAD_1983_HARN_StatePlane_Virginia_North_FIPS_4501_Feet",GEOGCS["GCS_North
2925	NAD_1983_HARN_StatePlane_Virginia_South_FIPS_4502_Feet	PROJCS["NAD_1983_HARN_StatePlane_Virginia_South_FIPS_4502_Feet",GEOGCS["GCS_North
2926	NAD_1983_HARN_StatePlane_Washington_North_FIPS_4601_Feet	PROJCS["NAD_1983_HARN_StatePlane_Washington_North_FIPS_4601_Feet",GEOGCS["GCS_N
2927	NAD_1983_HARN_StatePlane_Washington_South_FIPS_4602_Feet	PROJCS["NAD_1983_HARN_StatePlane_Washington_South_FIPS_4602_Feet",GEOGCS["GCS_N
2928	NAD_1983_HARN_StatePlane_Wisconsin_North_FIPS_4801_Feet	PROJCS["NAD_1983_HARN_StatePlane_Wisconsin_North_FIPS_4801_Feet",GEOGCS["GCS_No
2929	NAD_1983_HARN_StatePlane_Wisconsin_Central_FIPS_4802_Feet	PROJCS["NAD_1983_HARN_StatePlane_Wisconsin_Central_FIPS_4802_Feet",GEOGCS["GCS_N
2930	NAD_1983_HARN_StatePlane_Wisconsin_South_FIPS_4803_Feet	PROJCS["NAD_1983_HARN_StatePlane_Wisconsin_South_FIPS_4803_Feet",GEOGCS["GCS_No
2931	Beduaram_TM_13_NE	PROJCS["Beduaram_TM_13_NE",GEOGCS["GCS_Beduaram",DATUM["D_Beduaram",SPHEROID
2932	QND_1995_Qatar_National_Grid	PROJCS["QND_1995_Qatar_National_Grid",GEOGCS["GCS_QND_1995",DATUM["D_QND_1995",
2933	Gunung_Segara_UTM_Zone_50S	PROJCS["Gunung_Segara_UTM_Zone_50S",GEOGCS["GCS_Gunung_Segara",DATUM["D_Gunun
2935	Pulkovo_1942_CS63_Zone_A1	PROJCS["Pulkovo_1942_CS63_Zone_A1",GEOGCS["GCS_Pulkovo_1942",DATUM["D_Pulkovo_19
2936	Pulkovo_1942_CS63_Zone_A2	PROJCS["Pulkovo_1942_CS63_Zone_A2",GEOGCS["GCS_Pulkovo_1942",DATUM["D_Pulkovo_19
2937	Pulkovo_1942_CS63_Zone_A3	PROJCS["Pulkovo_1942_CS63_Zone_A3",GEOGCS["GCS_Pulkovo_1942",DATUM["D_Pulkovo_19
2938	Pulkovo_1942_CS63_Zone_A4	PROJCS["Pulkovo_1942_CS63_Zone_A4",GEOGCS["GCS_Pulkovo_1942",DATUM["D_Pulkovo_19

Copyright © 1995-2016 Esri. All rights reserved.

2939	Pulkovo_1942_CS63_Zone_K2	PROJCS["Pulkovo_1942_CS63_Zone_K2",GEOGCS["GCS_Pulkovo_1942",DATUM["D_Pulkovo_19
2940	Pulkovo_1942_CS63_Zone_K3	PROJCS["Pulkovo_1942_CS63_Zone_K3",GEOGCS["GCS_Pulkovo_1942",DATUM["D_Pulkovo_19
2941	Pulkovo_1942_CS63_Zone_K4	PROJCS["Pulkovo_1942_CS63_Zone_K4",GEOGCS["GCS_Pulkovo_1942",DATUM["D_Pulkovo_19
2942	Porto_Santo_1936_UTM_Zone_28N	PROJCS["Porto_Santo_1936_UTM_Zone_28N",GEOGCS["GCS_Porto_Santo_1936",DATUM["D_P
2943	Selvagem_Grande_1938_UTM_Zone_28N	PROJCS["Selvagem_Grande_1938_UTM_Zone_28N",GEOGCS["GCS_Selvagem_Grande_1938",D
2944	NAD_1983_CSRS_MTM_2_SCoPQ	PROJCS["NAD_1983_CSRS_MTM_2_SCoPQ",GEOGCS["GCS_North_American_1983_CSRS",DA
2945	NAD_1983_CSRS_MTM_3	PROJCS["NAD_1983_CSRS_MTM_3",GEOGCS["GCS_North_American_1983_CSRS",DATUM["D_
2946	NAD_1983_CSRS_MTM_4	PROJCS["NAD_1983_CSRS_MTM_4",GEOGCS["GCS_North_American_1983_CSRS",DATUM["D_
2947	NAD_1983_CSRS_MTM_5	PROJCS["NAD_1983_CSRS_MTM_5",GEOGCS["GCS_North_American_1983_CSRS",DATUM["D_
2948	NAD_1983_CSRS_MTM_6	PROJCS["NAD_1983_CSRS_MTM_6",GEOGCS["GCS_North_American_1983_CSRS",DATUM["D_
2949	NAD_1983_CSRS_MTM_7	PROJCS["NAD_1983_CSRS_MTM_7",GEOGCS["GCS_North_American_1983_CSRS",DATUM["D_
2950	NAD_1983_CSRS_MTM_8	PROJCS["NAD_1983_CSRS_MTM_8",GEOGCS["GCS_North_American_1983_CSRS",DATUM["D_
2951	NAD_1983_CSRS_MTM_9	PROJCS["NAD_1983_CSRS_MTM_9",GEOGCS["GCS_North_American_1983_CSRS",DATUM["D_
2952	NAD_1983_CSRS_MTM_10	PROJCS["NAD_1983_CSRS_MTM_10",GEOGCS["GCS_North_American_1983_CSRS",DATUM["D
2953	NAD_1983_CSRS_New_Brunswick_Stereographic	PROJCS["NAD_1983_CSRS_New_Brunswick_Stereographic",GEOGCS["GCS_North_American_19
2954	NAD_1983_CSRS_Prince_Edward_Island	PROJCS["NAD_1983_CSRS_Prince_Edward_Island",GEOGCS["GCS_North_American_1983_CSR
2955	NAD_1983_CSRS_UTM_Zone_11N	PROJCS["NAD_1983_CSRS_UTM_Zone_11N",GEOGCS["GCS_North_American_1983_CSRS",DA
2956	NAD_1983_CSRS_UTM_Zone_12N	PROJCS["NAD_1983_CSRS_UTM_Zone_12N",GEOGCS["GCS_North_American_1983_CSRS",DA
2957	NAD_1983_CSRS_UTM_Zone_13N	PROJCS["NAD_1983_CSRS_UTM_Zone_13N",GEOGCS["GCS_North_American_1983_CSRS",DA
2958	NAD_1983_CSRS_UTM_Zone_17N	PROJCS["NAD_1983_CSRS_UTM_Zone_17N",GEOGCS["GCS_North_American_1983_CSRS",DA
2959	NAD_1983_CSRS_UTM_Zone_18N	PROJCS["NAD_1983_CSRS_UTM_Zone_18N",GEOGCS["GCS_North_American_1983_CSRS",DA
2960	NAD_1983_CSRS_UTM_Zone_19N	PROJCS["NAD_1983_CSRS_UTM_Zone_19N",GEOGCS["GCS_North_American_1983_CSRS",DA
2961	NAD_1983_CSRS_UTM_Zone_20N	PROJCS["NAD_1983_CSRS_UTM_Zone_20N",GEOGCS["GCS_North_American_1983_CSRS",DA
2962	NAD_1983_CSRS_UTM_Zone_21N	PROJCS["NAD_1983_CSRS_UTM_Zone_21N",GEOGCS["GCS_North_American_1983_CSRS",DA
2964	NAD_1927_Alaska_Albers_Feet	PROJCS["NAD_1927_Alaska_Albers_Feet",GEOGCS["GCS_North_American_1927",DATUM["D_N
2965	NAD_1983_StatePlane_Indiana_East_FIPS_1301_Feet	PROJCS["NAD_1983_StatePlane_Indiana_East_FIPS_1301_Feet",GEOGCS["GCS_North_America
2966	NAD_1983_StatePlane_Indiana_West_FIPS_1302_Feet	PROJCS["NAD_1983_StatePlane_Indiana_West_FIPS_1302_Feet",GEOGCS["GCS_North_Americ
2967	NAD_1983_HARN_StatePlane_Indiana_East_FIPS_1301_Feet	PROJCS["NAD_1983_HARN_StatePlane_Indiana_East_FIPS_1301_Feet",GEOGCS["GCS_North_
2968	NAD_1983_HARN_StatePlane_Indiana_West_FIPS_1302_Feet	PROJCS["NAD_1983_HARN_StatePlane_Indiana_West_FIPS_1302_Feet",GEOGCS["GCS_North_
2969	Fort_Marigot_UTM_20N	PROJCS["Fort_Marigot_UTM_20N",GEOGCS["GCS_Fort_Marigot",DATUM["D_Fort_Marigot",SPHE
2970	Sainte_Anne_UTM_20N	PROJCS["Sainte_Anne_UTM_20N",GEOGCS["GCS_Sainte_Anne",DATUM["D_Sainte_Anne",SPHE
2971	CSG_1967_UTM_22N	PROJCS["CSG_1967_UTM_22N",GEOGCS["GCS_CSG_1967",DATUM["D_CSG_1967",SPHEROID
2972	RGFG_1995_UTM_22N	PROJCS["RGFG_1995_UTM_22N",GEOGCS["GCS_RGFG_1995",DATUM["D_RGFG_1995",SPHE
2973	Fort_Desaix_UTM_20N	PROJCS["Fort_Desaix_UTM_20N",GEOGCS["GCS_Fort_Desaix",DATUM["D_Fort_Desaix",SPHER
2975	RGR_1992_UTM_40S	PROJCS["RGR_1992_UTM_40S",GEOGCS["GCS_RGR_1992",DATUM["D_RGR_1992",SPHEROI
2976	Tahiti_1952_UTM_6S	PROJCS["Tahiti_1952_UTM_6S",GEOGCS["GCS_Tahiti_1952",DATUM["D_Tahiti_1952",SPHEROID
2977	Tahaa_1954_UTM_5S	PROJCS["Tahaa_1954_UTM_5S",GEOGCS["GCS_Tahaa_1954",DATUM["D_Tahaa_1954",SPHER
2978	IGN72_Nuku_Hiva_UTM_7S	PROJCS["IGN72_Nuku_Hiva_UTM_7S",GEOGCS["GCS_IGN72_Nuku_Hiva",DATUM["D_IGN72_N
2980	Combani_1950_UTM_38S	PROJCS["Combani_1950_UTM_38S",GEOGCS["GCS_Combani_1950",DATUM["D_Combani_1950
2981	IGN56_Lifou_UTM_58S	PROJCS["IGN56_Lifou_UTM_58S",GEOGCS["GCS_IGN56_Lifou",DATUM["D_IGN56_Lifou",SPHE
2984	RGNC_1991_Lambert_New_Caledonia	PROJCS["RGNC_1991_Lambert_New_Caledonia",GEOGCS["GCS_RGNC_1991",DATUM["D_RGN
2985	Petrels_1972_Terre_Adelie_Polar_Stereographic	PROJCS["Petrels_1972_Terre_Adelie_Polar_Stereographic",GEOGCS["GCS_Petrels_1972",DATUM
2986	Perroud_1950_Terre_Adelie_Polar_Stereographic	PROJCS["Perroud_1950_Terre_Adelie_Polar_Stereographic",GEOGCS["GCS_Pointe_Geologie_Pe
2987	Saint_Pierre_et_Miquelon_1950_UTM_21N	PROJCS["Saint_Pierre_et_Miquelon_1950_UTM_21N",GEOGCS["GCS_Saint_Pierre_et_Miquelon_
2988	MOP78_UTM_1S	PROJCS["MOP78_UTM_1S",GEOGCS["GCS_MOP78",DATUM["D_MOP78",SPHEROID["Internatio
2991	NAD_1983_Oregon_Statewide_Lambert	PROJCS["NAD_1983_Oregon_Statewide_Lambert",GEOGCS["GCS_North_American_1983",DATU
2992	NAD_1983_Oregon_Statewide_Lambert_Feet_Intl	PROJCS["NAD_1983_Oregon_Statewide_Lambert_Feet_Intl",GEOGCS["GCS_North_American_19
2993	NAD_1983_HARN_Oregon_Statewide_Lambert	PROJCS["NAD_1983_HARN_Oregon_Statewide_Lambert",GEOGCS["GCS_North_American_1983
2994	NAD_1983_HARN_Oregon_Statewide_Lambert_Feet_Intl	PROJCS["NAD_1983_HARN_Oregon_Statewide_Lambert_Feet_Intl",GEOGCS["GCS_North_Ameri
2995	IGN53_Mare_UTM_58S	PROJCS["IGN53_Mare_UTM_58S",GEOGCS["GCS_IGN53_Mare",DATUM["D_IGN53_Mare",SPHE
2996	ST84_Ile_des_Pins_UTM_58S	PROJCS["ST84_Ile_des_Pins_UTM_58S",GEOGCS["GCS_ST84_Ile_des_Pins",DATUM["D_ST84_
2997	ST71_Belep_UTM_58S	PROJCS["ST71_Belep_UTM_58S",GEOGCS["GCS_ST71_Belep",DATUM["D_ST71_Belep",SPHER
2998	NEA74_Noumea_UTM_58S	PROJCS["NEA74_Noumea_UTM_58S",GEOGCS["GCS_NEA74_Noumea",DATUM["D_NEA74_Nou
2999	Grand_Comoros_UTM_38S	PROJCS["Grand_Comoros_UTM_38S",GEOGCS["GCS_Grand_Comoros",DATUM["D_Grand_Com

Copyright © 1995-2016 Esri. All rights reserved.

3000	Gunung_Segara_NEIEZ	PROJCS["Gunung_Segara_NEIEZ",GEOGCS["GCS_Gunung_Segara",DATUM["D_Gunung_Segara
3001	Batavia_NEIEZ	PROJCS["Batavia_NEIEZ",GEOGCS["GCS_Batavia",DATUM["D_Batavia",SPHEROID["Bessel_184
3002	Makassar_NEIEZ	PROJCS["Makassar_NEIEZ",GEOGCS["GCS_Makassar",DATUM["D_Makassar",SPHEROID["Bess
3003	Monte_Mario_Italy_1	PROJCS["Monte_Mario_Italy_1",GEOGCS["GCS_Monte_Mario",DATUM["D_Monte_Mario",SPHER
3004	Monte_Mario_Italy_2	PROJCS["Monte_Mario_Italy_2",GEOGCS["GCS_Monte_Mario",DATUM["D_Monte_Mario",SPHER
3005	NAD_1983_BC_Environment_Albers	PROJCS["NAD_1983_BC_Environment_Albers",GEOGCS["GCS_North_American_1983",DATUM["I
3006	SWEREF99_TM	PROJCS["SWEREF99_TM",GEOGCS["GCS_SWEREF99",DATUM["D_SWEREF99",SPHEROID["G
3007	SWEREF99_12_00	PROJCS["SWEREF99_12_00",GEOGCS["GCS_SWEREF99",DATUM["D_SWEREF99",SPHEROID
3008	SWEREF99_13_30	PROJCS["SWEREF99_13_30",GEOGCS["GCS_SWEREF99",DATUM["D_SWEREF99",SPHEROID
3009	SWEREF99_15_00	PROJCS["SWEREF99_15_00",GEOGCS["GCS_SWEREF99",DATUM["D_SWEREF99",SPHEROID
3010	SWEREF99_16_30	PROJCS["SWEREF99_16_30",GEOGCS["GCS_SWEREF99",DATUM["D_SWEREF99",SPHEROID
3011	SWEREF99_18_00	PROJCS["SWEREF99_18_00",GEOGCS["GCS_SWEREF99",DATUM["D_SWEREF99",SPHEROID
3012	SWEREF99_14_15	PROJCS["SWEREF99_14_15",GEOGCS["GCS_SWEREF99",DATUM["D_SWEREF99",SPHEROID
3013	SWEREF99_15_45	PROJCS["SWEREF99_15_45",GEOGCS["GCS_SWEREF99",DATUM["D_SWEREF99",SPHEROID
3014	SWEREF99_17_15	PROJCS["SWEREF99_17_15",GEOGCS["GCS_SWEREF99",DATUM["D_SWEREF99",SPHEROID
3015	SWEREF99_18_45	PROJCS["SWEREF99_18_45",GEOGCS["GCS_SWEREF99",DATUM["D_SWEREF99",SPHEROID
3016	SWEREF99_20_15	PROJCS["SWEREF99_20_15",GEOGCS["GCS_SWEREF99",DATUM["D_SWEREF99",SPHEROID
3017	SWEREF99_21_45	PROJCS["SWEREF99_21_45",GEOGCS["GCS_SWEREF99",DATUM["D_SWEREF99",SPHEROID
3018	SWEREF99_23_15	PROJCS["SWEREF99_23_15",GEOGCS["GCS_SWEREF99",DATUM["D_SWEREF99",SPHEROID
3019	RT90_75_gon_V	PROJCS["RT90_75_gon_V",GEOGCS["GCS_RT_1990",DATUM["D_RT_1990",SPHEROID["Bessel_
3020	RT90_5_gon_V	PROJCS["RT90_5_gon_V",GEOGCS["GCS_RT_1990",DATUM["D_RT_1990",SPHEROID["Bessel_
3021	RT90_25_gon_V	PROJCS["RT90_25_gon_V",GEOGCS["GCS_RT_1990",DATUM["D_RT_1990",SPHEROID["Bessel_
3022	RT90_0_gon	PROJCS["RT90_0_gon",GEOGCS["GCS_RT_1990",DATUM["D_RT_1990",SPHEROID["Bessel_184
3023	RT90_25_gon_O	PROJCS["RT90_25_gon_O",GEOGCS["GCS_RT_1990",DATUM["D_RT_1990",SPHEROID["Bessel
3024	RT90_5_gon_O	PROJCS["RT90_5_gon_O",GEOGCS["GCS_RT_1990",DATUM["D_RT_1990",SPHEROID["Bessel_
3025	RT38_75_gon_V	PROJCS["RT38_75_gon_V",GEOGCS["GCS_RT38",DATUM["D_Stockholm_1938",SPHEROID["Bes
3026	RT38_5_gon_V	PROJCS["RT38_5_gon_V",GEOGCS["GCS_RT38",DATUM["D_Stockholm_1938",SPHEROID["Bess
3027	RT38_25_gon_V	PROJCS["RT38_25_gon_V",GEOGCS["GCS_RT38",DATUM["D_Stockholm_1938",SPHEROID["Bes
3028	RT38_0_gon	PROJCS["RT38_0_gon",GEOGCS["GCS_RT38",DATUM["D_Stockholm_1938",SPHEROID["Bessel_
3029	RT38_25_gon_O	PROJCS["RT38_25_gon_O",GEOGCS["GCS_RT38",DATUM["D_Stockholm_1938",SPHEROID["Be
3030	RT38_5_gon_O	PROJCS["RT38_5_gon_O",GEOGCS["GCS_RT38",DATUM["D_Stockholm_1938",SPHEROID["Bes
3031	WGS_1984_Antarctic_Polar_Stereographic	PROJCS["WGS_1984_Antarctic_Polar_Stereographic",GEOGCS["GCS_WGS_1984",DATUM["D_W
3032	WGS_1984_Australian_Antarctic_Polar_Stereographic	PROJCS["WGS_1984_Australian_Antarctic_Polar_Stereographic",GEOGCS["GCS_WGS_1984",DA
3033	WGS_1984_Australian_Antarctic_Lambert	PROJCS["WGS_1984_Australian_Antarctic_Lambert",GEOGCS["GCS_WGS_1984",DATUM["D_WG
3034	ETRS_1989_LCC	PROJCS["ETRS_1989_LCC",GEOGCS["GCS_ETRS_1989",DATUM["D_ETRS_1989",SPHEROID["I
3035	ETRS_1989_LAEA	PROJCS["ETRS_1989_LAEA",GEOGCS["GCS_ETRS_1989",DATUM["D_ETRS_1989",SPHEROID
3036	Moznet_UTM_Zone_36S	PROJCS["Moznet_UTM_Zone_36S",GEOGCS["GCS_Moznet",DATUM["D_Moznet",SPHEROID["W
3037	Moznet_UTM_Zone_37S	PROJCS["Moznet_UTM_Zone_37S",GEOGCS["GCS_Moznet",DATUM["D_Moznet",SPHEROID["W
3038	ETRS_1989_ETRS-TM26	PROJCS["ETRS_1989_ETRS-TM26",GEOGCS["GCS_ETRS_1989",DATUM["D_ETRS_1989",SPHI
3039	ETRS_1989_ETRS-TM27	PROJCS["ETRS_1989_ETRS-TM27",GEOGCS["GCS_ETRS_1989",DATUM["D_ETRS_1989",SPHI
3040	ETRS_1989_ETRS-TM28	PROJCS["ETRS_1989_ETRS-TM28",GEOGCS["GCS_ETRS_1989",DATUM["D_ETRS_1989",SPHI
3041	ETRS_1989_ETRS-TM29	PROJCS["ETRS_1989_ETRS-TM29",GEOGCS["GCS_ETRS_1989",DATUM["D_ETRS_1989",SPHI
3042	ETRS_1989_ETRS-TM30	PROJCS["ETRS_1989_ETRS-TM30",GEOGCS["GCS_ETRS_1989",DATUM["D_ETRS_1989",SPHI
3043	ETRS_1989_ETRS-TM31	PROJCS["ETRS_1989_ETRS-TM31",GEOGCS["GCS_ETRS_1989",DATUM["D_ETRS_1989",SPHI
3044	ETRS_1989_ETRS-TM32	PROJCS["ETRS_1989_ETRS-TM32",GEOGCS["GCS_ETRS_1989",DATUM["D_ETRS_1989",SPHI
3045	ETRS_1989_ETRS-TM33	PROJCS["ETRS_1989_ETRS-TM33",GEOGCS["GCS_ETRS_1989",DATUM["D_ETRS_1989",SPHI
3046	ETRS_1989_ETRS-TM34	PROJCS["ETRS_1989_ETRS-TM34",GEOGCS["GCS_ETRS_1989",DATUM["D_ETRS_1989",SPHI
3047	ETRS_1989_ETRS-TM35	PROJCS["ETRS_1989_ETRS-TM35",GEOGCS["GCS_ETRS_1989",DATUM["D_ETRS_1989",SPHI
3048	ETRS_1989_ETRS-TM36	PROJCS["ETRS_1989_ETRS-TM36",GEOGCS["GCS_ETRS_1989",DATUM["D_ETRS_1989",SPHI
3049	ETRS_1989_ETRS-TM37	PROJCS["ETRS_1989_ETRS-TM37",GEOGCS["GCS_ETRS_1989",DATUM["D_ETRS_1989",SPHI
3050	ETRS_1989_ETRS-TM38	PROJCS["ETRS_1989_ETRS-TM38",GEOGCS["GCS_ETRS_1989",DATUM["D_ETRS_1989",SPHI
3051	ETRS_1989_ETRS-TM39	PROJCS["ETRS_1989_ETRS-TM39",GEOGCS["GCS_ETRS_1989",DATUM["D_ETRS_1989",SPHI
3054	Hjorsey_1955_UTM_Zone_26N	PROJCS["Hjorsey_1955_UTM_Zone_26N",GEOGCS["GCS_Hjorsey_1955",DATUM["D_Hjorsey_19
3055	Hjorsey_1955_UTM_Zone_27N	PROJCS["Hjorsey_1955_UTM_Zone_27N",GEOGCS["GCS_Hjorsey_1955",DATUM["D_Hjorsey_19

Copyright © 1995-2016 Esri. All rights reserved.

3056	Hjorsey_1955_UTM_Zone_28N	PROJCS["Hjorsey_1955_UTM_Zone_28N",GEOGCS["GCS_Hjorsey_1955",DATUM["D_Hjorsey_19
3057	ISN_1993_Lambert_1993	PROJCS["ISN_1993_Lambert_1993",GEOGCS["GCS_ISN_1993",DATUM["D_Islands_Network_199
3058	Helle_1954_Jan_Mayen_Grid	PROJCS["Helle_1954_Jan_Mayen_Grid",GEOGCS["GCS_Helle_1954",DATUM["D_Helle_1954",SP
3059	LKS_1992_Latvia_TM	PROJCS["LKS_1992_Latvia_TM",GEOGCS["GCS_LKS_1992",DATUM["D_Latvia_1992",SPHEROI
3060	IGN72_Grande_Terre_UTM_58S	PROJCS["IGN72_Grande_Terre_UTM_58S",GEOGCS["GCS_IGN72_Grande_Terre",DATUM["D_IG
3061	Porto_Santo_1995_UTM_Zone_28N	PROJCS["Porto_Santo_1995_UTM_Zone_28N",GEOGCS["GCS_Porto_Santo_1995",DATUM["D_P
3062	Azores_Oriental_1995_UTM_Zone_26N	PROJCS["Azores_Oriental_1995_UTM_Zone_26N",GEOGCS["GCS_Azores_Oriental_1995",DATU
3063	Azores_Central_1995_UTM_Zone_26N	PROJCS["Azores_Central_1995_UTM_Zone_26N",GEOGCS["GCS_Azores_Central_1995",DATUM
3064	IGM_1995_UTM_Zone_32N	PROJCS["IGM_1995_UTM_Zone_32N",GEOGCS["GCS_IGM_1995",DATUM["D_IGM_1995",SPHE
3065	IGM_1995_UTM_Zone_33N	PROJCS["IGM_1995_UTM_Zone_33N",GEOGCS["GCS_IGM_1995",DATUM["D_IGM_1995",SPHE
3066	ED_1950_Jordan_TM	PROJCS["ED_1950_Jordan_TM",GEOGCS["GCS_European_1950",DATUM["D_European_1950",S
3067	EUREF_FIN_TM35FIN	PROJCS["EUREF_FIN_TM35FIN",GEOGCS["GCS_EUREF_FIN",DATUM["D_ETRS_1989",SPHER
3068	DHDN_Soldner_Berlin	PROJCS["DHDN_Soldner_Berlin",GEOGCS["GCS_Deutsches_Hauptdreiecksnetz",DATUM["D_Deu
3069	NAD_1927_Wisconsin_TM	PROJCS["NAD_1927_Wisconsin_TM",GEOGCS["GCS_North_American_1927",DATUM["D_North_
3070	NAD_1983_Wisconsin_TM	PROJCS["NAD_1983_Wisconsin_TM",GEOGCS["GCS_North_American_1983",DATUM["D_North_
3071	NAD_1983_HARN_Wisconsin_TM	PROJCS["NAD_1983_HARN_Wisconsin_TM",GEOGCS["GCS_North_American_1983_HARN",DAT
3072	NAD_1983_Maine_2000_East_Zone	PROJCS["NAD_1983_Maine_2000_East_Zone",GEOGCS["GCS_North_American_1983",DATUM["I
3074	NAD_1983_Maine_2000_West_Zone	PROJCS["NAD_1983_Maine_2000_West_Zone",GEOGCS["GCS_North_American_1983",DATUM[""
3075	NAD_1983_HARN_Maine_2000_East_Zone	PROJCS["NAD_1983_HARN_Maine_2000_East_Zone",GEOGCS["GCS_North_American_1983_HA
3077	NAD_1983_HARN_Maine_2000_West_Zone	PROJCS["NAD_1983_HARN_Maine_2000_West_Zone",GEOGCS["GCS_North_American_1983_H
3078	NAD_1983_Michigan_GeoRef_Meters	PROJCS["NAD_1983_Michigan_GeoRef_Meters",GEOGCS["GCS_North_American_1983",DATUM[
3079	NAD_1983_HARN_Michigan_GeoRef_Meters	PROJCS["NAD_1983_HARN_Michigan_GeoRef_Meters",GEOGCS["GCS_North_American_1983_H
3080	NAD_1927_Texas_Statewide_Mapping_System	PROJCS["NAD_1927_Texas_Statewide_Mapping_System",GEOGCS["GCS_North_American_1927
3081	NAD_1983_Texas_Statewide_Mapping_System	PROJCS["NAD_1983_Texas_Statewide_Mapping_System",GEOGCS["GCS_North_American_1983
3082	NAD_1983_Texas_Centric_Mapping_System_Lambert	PROJCS["NAD_1983_Texas_Centric_Mapping_System_Lambert",GEOGCS["GCS_North_American
3083	NAD_1983_Texas_Centric_Mapping_System_Albers	PROJCS["NAD_1983_Texas_Centric_Mapping_System_Albers",GEOGCS["GCS_North_American_
3084	NAD_1983_HARN_Texas_Centric_Mapping_System_Lambert	PROJCS["NAD_1983_HARN_Texas_Centric_Mapping_System_Lambert",GEOGCS["GCS_North_A
3085	NAD_1983_HARN_Texas_Centric_Mapping_System_Albers	PROJCS["NAD_1983_HARN_Texas_Centric_Mapping_System_Albers",GEOGCS["GCS_North_Am
3086	NAD_1983_Florida_GDL_Albers	PROJCS["NAD_1983_Florida_GDL_Albers",GEOGCS["GCS_North_American_1983",DATUM["D_N
3087	NAD_1983_HARN_Florida_GDL_Albers	PROJCS["NAD_1983_HARN_Florida_GDL_Albers",GEOGCS["GCS_North_American_1983_HARN
3088	NAD_1983_StatePlane_Kentucky_FIPS_1600	PROJCS["NAD_1983_StatePlane_Kentucky_FIPS_1600",GEOGCS["GCS_North_American_1983",I
3089	NAD_1983_StatePlane_Kentucky_FIPS_1600_Feet	PROJCS["NAD_1983_StatePlane_Kentucky_FIPS_1600_Feet",GEOGCS["GCS_North_American_1
3090	NAD_1983_HARN_StatePlane_Kentucky_FIPS_1600	PROJCS["NAD_1983_HARN_StatePlane_Kentucky_FIPS_1600",GEOGCS["GCS_North_American_
3091	NAD_1983_HARN_StatePlane_Kentucky_FIPS_1600_Feet	PROJCS["NAD_1983_HARN_StatePlane_Kentucky_FIPS_1600_Feet",GEOGCS["GCS_North_Ame
3092	Tokyo_UTM_Zone_51N	PROJCS["Tokyo_UTM_Zone_51N",GEOGCS["GCS_Tokyo",DATUM["D_Tokyo",SPHEROID["Bessel
3093	Tokyo_UTM_Zone_52N	PROJCS["Tokyo_UTM_Zone_52N",GEOGCS["GCS_Tokyo",DATUM["D_Tokyo",SPHEROID["Bessel
3094	Tokyo_UTM_Zone_53N	PROJCS["Tokyo_UTM_Zone_53N",GEOGCS["GCS_Tokyo",DATUM["D_Tokyo",SPHEROID["Bessel
3095	Tokyo_UTM_Zone_54N	PROJCS["Tokyo_UTM_Zone_54N",GEOGCS["GCS_Tokyo",DATUM["D_Tokyo",SPHEROID["Bessel
3096	Tokyo_UTM_Zone_55N	PROJCS["Tokyo_UTM_Zone_55N",GEOGCS["GCS_Tokyo",DATUM["D_Tokyo",SPHEROID["Bessel
3097	JGD_2000_UTM_Zone_51N	PROJCS["JGD_2000_UTM_Zone_51N",GEOGCS["GCS_JGD_2000",DATUM["D_JGD_2000",SPHE
3098	JGD_2000_UTM_Zone_52N	PROJCS["JGD_2000_UTM_Zone_52N",GEOGCS["GCS_JGD_2000",DATUM["D_JGD_2000",SPHE
3099	JGD_2000_UTM_Zone_53N	PROJCS["JGD_2000_UTM_Zone_53N",GEOGCS["GCS_JGD_2000",DATUM["D_JGD_2000",SPHE
3100	JGD_2000_UTM_Zone_54N	PROJCS["JGD_2000_UTM_Zone_54N",GEOGCS["GCS_JGD_2000",DATUM["D_JGD_2000",SPHE
3101	JGD_2000_UTM_Zone_55N	PROJCS["JGD_2000_UTM_Zone_55N",GEOGCS["GCS_JGD_2000",DATUM["D_JGD_2000",SPHE
3102	Samoa_1962_Samoa_Lambert	PROJCS["Samoa_1962_Samoa_Lambert",GEOGCS["GCS_American_Samoa_1962",DATUM["D_A
3106	Gulshan_303_Bangladesh_TM	PROJCS["Gulshan_303_Bangladesh_TM",GEOGCS["GCS_Gulshan_303",DATUM["D_Gulshan_30
3107	GDA_1994_South_Australia_Lambert	PROJCS["GDA_1994_South_Australia_Lambert",GEOGCS["GCS_GDA_1994",DATUM["D_GDA_19
3108	ETRS_1989_Guernsey_Grid	PROJCS["ETRS_1989_Guernsey_Grid",GEOGCS["GCS_ETRS_1989",DATUM["D_ETRS_1989",SP
3109	ETRS_1989_Jersey_Transverse_Mercator	PROJCS["ETRS_1989_Jersey_Transverse_Mercator",GEOGCS["GCS_ETRS_1989",DATUM["D_E
3110	AGD_1966_VICGRID	PROJCS["AGD_1966_VICGRID",GEOGCS["GCS_Australian_1966",DATUM["D_Australian_1966",S
3111	GDA_1994_VICGRID94	PROJCS["GDA_1994_VICGRID94",GEOGCS["GCS_GDA_1994",DATUM["D_GDA_1994",SPHERO
3112	GDA_1994_Geoscience_Australia_Lambert	PROJCS["GDA_1994_Geoscience_Australia_Lambert",GEOGCS["GCS_GDA_1994",DATUM["D_G
3113	GDA_1994_BCSG02	PROJCS["GDA_1994_BCSG02",GEOGCS["GCS_GDA_1994",DATUM["D_GDA_1994",SPHEROID
3114	MAGNA_Colombia_Oeste_Oeste	PROJCS["MAGNA_Colombia_Oeste_Oeste",GEOGCS["GCS_MAGNA",DATUM["D_MAGNA",SPHE

Copyright © 1995-2016 Esri. All rights reserved.

3115	MAGNA_Colombia_Oeste	PROJCS["MAGNA_Colombia_Oeste",GEOGCS["GCS_MAGNA",DATUM["D_MAGNA",SPHEROID["
3116	MAGNA_Colombia_Bogota	PROJCS["MAGNA_Colombia_Bogota",GEOGCS["GCS_MAGNA",DATUM["D_MAGNA",SPHEROID
3117	MAGNA_Colombia_Este	PROJCS["MAGNA_Colombia_Este",GEOGCS["GCS_MAGNA",DATUM["D_MAGNA",SPHEROID["G
3118	MAGNA_Colombia_Este_Este	PROJCS["MAGNA_Colombia_Este_Este",GEOGCS["GCS_MAGNA",DATUM["D_MAGNA",SPHERO
3119	Douala_1948_AEF_West	PROJCS["Douala_1948_AEF_West",GEOGCS["GCS_Douala_1948",DATUM["D_Douala_1948",SP
3120	Pulkovo_1942_Adj_1958_Poland_Zone_I	PROJCS["Pulkovo_1942_Adj_1958_Poland_Zone_I",GEOGCS["GCS_Pulkovo_1942_Adj_1958",DA
3121	PRS_1992_Philippines_Zone_I	PROJCS["PRS_1992_Philippines_Zone_I",GEOGCS["GCS_PRS_1992",DATUM["D_Philippine_Ref
3122	PRS_1992_Philippines_Zone_II	PROJCS["PRS_1992_Philippines_Zone_II",GEOGCS["GCS_PRS_1992",DATUM["D_Philippine_Re
3123	PRS_1992_Philippines_Zone_III	PROJCS["PRS_1992_Philippines_Zone_III",GEOGCS["GCS_PRS_1992",DATUM["D_Philippine_Re
3124	PRS_1992_Philippines_Zone_IV	PROJCS["PRS_1992_Philippines_Zone_IV",GEOGCS["GCS_PRS_1992",DATUM["D_Philippine_Re
3125	PRS_1992_Philippines_Zone_V	PROJCS["PRS_1992_Philippines_Zone_V",GEOGCS["GCS_PRS_1992",DATUM["D_Philippine_Re
3126	ETRS_1989_ETRS-GK19FIN	PROJCS["ETRS_1989_ETRS-GK19FIN",GEOGCS["GCS_ETRS_1989",DATUM["D_ETRS_1989",S
3127	ETRS_1989_ETRS-GK20FIN	PROJCS["ETRS_1989_ETRS-GK20FIN",GEOGCS["GCS_ETRS_1989",DATUM["D_ETRS_1989",S
3128	ETRS_1989_ETRS-GK21FIN	PROJCS["ETRS_1989_ETRS-GK21FIN",GEOGCS["GCS_ETRS_1989",DATUM["D_ETRS_1989",S
3129	ETRS_1989_ETRS-GK22FIN	PROJCS["ETRS_1989_ETRS-GK22FIN",GEOGCS["GCS_ETRS_1989",DATUM["D_ETRS_1989",S
3130	ETRS_1989_ETRS-GK23FIN	PROJCS["ETRS_1989_ETRS-GK23FIN",GEOGCS["GCS_ETRS_1989",DATUM["D_ETRS_1989",S
3131	ETRS_1989_ETRS-GK24FIN	PROJCS["ETRS_1989_ETRS-GK24FIN",GEOGCS["GCS_ETRS_1989",DATUM["D_ETRS_1989",S
3132	ETRS_1989_ETRS-GK25FIN	PROJCS["ETRS_1989_ETRS-GK25FIN",GEOGCS["GCS_ETRS_1989",DATUM["D_ETRS_1989",S
3133	ETRS_1989_ETRS-GK26FIN	PROJCS["ETRS_1989_ETRS-GK26FIN",GEOGCS["GCS_ETRS_1989",DATUM["D_ETRS_1989",S
3134	ETRS_1989_ETRS-GK27FIN	PROJCS["ETRS_1989_ETRS-GK27FIN",GEOGCS["GCS_ETRS_1989",DATUM["D_ETRS_1989",S
3135	ETRS_1989_ETRS-GK28FIN	PROJCS["ETRS_1989_ETRS-GK28FIN",GEOGCS["GCS_ETRS_1989",DATUM["D_ETRS_1989",S
3136	ETRS_1989_ETRS-GK29FIN	PROJCS["ETRS_1989_ETRS-GK29FIN",GEOGCS["GCS_ETRS_1989",DATUM["D_ETRS_1989",S
3137	ETRS_1989_ETRS-GK30FIN	PROJCS["ETRS_1989_ETRS-GK30FIN",GEOGCS["GCS_ETRS_1989",DATUM["D_ETRS_1989",S
3138	ETRS_1989_ETRS-GK31FIN	PROJCS["ETRS_1989_ETRS-GK31FIN",GEOGCS["GCS_ETRS_1989",DATUM["D_ETRS_1989",S
3141	Fiji_1956_UTM_Zone_60S	PROJCS["Fiji_1956_UTM_Zone_60S",GEOGCS["GCS_Fiji_1956",DATUM["D_Fiji_1956",SPHEROI
3142	Fiji_1956_UTM_Zone_1S	PROJCS["Fiji_1956_UTM_Zone_1S",GEOGCS["GCS_Fiji_1956",DATUM["D_Fiji_1956",SPHEROID
3146	Pulkovo_1942_3_Degree_GK_Zone_6	PROJCS["Pulkovo_1942_3_Degree_GK_Zone_6",GEOGCS["GCS_Pulkovo_1942",DATUM["D_Pulk
3147	Pulkovo_1942_3_Degree_GK_CM_18E	PROJCS["Pulkovo_1942_3_Degree_GK_CM_18E",GEOGCS["GCS_Pulkovo_1942",DATUM["D_Pu
3148	Indian_1960_UTM_Zone_48N	PROJCS["Indian_1960_UTM_Zone_48N",GEOGCS["GCS_Indian_1960",DATUM["D_Indian_1960",S
3149	Indian_1960_UTM_Zone_49N	PROJCS["Indian_1960_UTM_Zone_49N",GEOGCS["GCS_Indian_1960",DATUM["D_Indian_1960",S
3150	Pulkovo_1995_3_Degree_GK_Zone_6	PROJCS["Pulkovo_1995_3_Degree_GK_Zone_6",GEOGCS["GCS_Pulkovo_1995",DATUM["D_Pulk
3151	Pulkovo_1995_3_Degree_GK_CM_18E	PROJCS["Pulkovo_1995_3_Degree_GK_CM_18E",GEOGCS["GCS_Pulkovo_1995",DATUM["D_Pu
3153	NAD_1983_CSRS_BC_Environment_Albers	PROJCS["NAD_1983_CSRS_BC_Environment_Albers",GEOGCS["GCS_North_American_1983_CS
3154	NAD_1983_CSRS_UTM_Zone_7N	PROJCS["NAD_1983_CSRS_UTM_Zone_7N",GEOGCS["GCS_North_American_1983_CSRS",DAT
3155	NAD_1983_CSRS_UTM_Zone_8N	PROJCS["NAD_1983_CSRS_UTM_Zone_8N",GEOGCS["GCS_North_American_1983_CSRS",DAT
3156	NAD_1983_CSRS_UTM_Zone_9N	PROJCS["NAD_1983_CSRS_UTM_Zone_9N",GEOGCS["GCS_North_American_1983_CSRS",DAT
3157	NAD_1983_CSRS_UTM_Zone_10N	PROJCS["NAD_1983_CSRS_UTM_Zone_10N",GEOGCS["GCS_North_American_1983_CSRS",DA
3158	NAD_1983_CSRS_UTM_Zone_14N	PROJCS["NAD_1983_CSRS_UTM_Zone_14N",GEOGCS["GCS_North_American_1983_CSRS",DA
3159	NAD_1983_CSRS_UTM_Zone_15N	PROJCS["NAD_1983_CSRS_UTM_Zone_15N",GEOGCS["GCS_North_American_1983_CSRS",DA
3160	NAD_1983_CSRS_UTM_Zone_16N	PROJCS["NAD_1983_CSRS_UTM_Zone_16N",GEOGCS["GCS_North_American_1983_CSRS",DA
3161	NAD_1983_Ontario_MNR_Lambert	PROJCS["NAD_1983_Ontario_MNR_Lambert",GEOGCS["GCS_North_American_1983",DATUM["D
3162	NAD_1983_CSRS_Ontario_MNR_Lambert	PROJCS["NAD_1983_CSRS_Ontario_MNR_Lambert",GEOGCS["GCS_North_American_1983_CSR
3163	RGNC_1991_93_Lambert_New_Caledonia	PROJCS["RGNC_1991_93_Lambert_New_Caledonia",GEOGCS["GCS_RGNC_1991-93",DATUM["I
3164	ST87_Ouvea_UTM_58S	PROJCS["ST87_Ouvea_UTM_58S",GEOGCS["GCS_ST87_Ouvea",DATUM["D_ST87_Ouvea",SPH
3165	NEA74_Noumea_Lambert	PROJCS["NEA74_Noumea_Lambert",GEOGCS["GCS_NEA74_Noumea",DATUM["D_NEA74_Noum
3166	NEA74_Noumea_Lambert_2	PROJCS["NEA74_Noumea_Lambert_2",GEOGCS["GCS_NEA74_Noumea",DATUM["D_NEA74_No
3167	Kertau_RSO_RSO_Malaya_ChSears1922trunc	PROJCS["Kertau_RSO_RSO_Malaya_ChSears1922trunc",GEOGCS["GCS_Kertau_RSO",DATUM["
3168	Kertau_RSO_RSO_Malaya	PROJCS["Kertau_RSO_RSO_Malaya",GEOGCS["GCS_Kertau_RSO",DATUM["D_Kertau_RSO",SP
3169	RGNC_1991-93_UTM_Zone_57S	PROJCS["RGNC_1991-93_UTM_Zone_57S",GEOGCS["GCS_RGNC_1991-93",DATUM["D_Reseau
3170	RGNC_1991-93_UTM_Zone_58S	PROJCS["RGNC_1991-93_UTM_Zone_58S",GEOGCS["GCS_RGNC_1991-93",DATUM["D_Reseau
3171	RGNC_1991-93_UTM_Zone_59S	PROJCS["RGNC_1991-93_UTM_Zone_59S",GEOGCS["GCS_RGNC_1991-93",DATUM["D_Reseau
3172	IGN53_Mare_UTM_Zone_59S	PROJCS["IGN53_Mare_UTM_Zone_59S",GEOGCS["GCS_IGN53_Mare",DATUM["D_IGN53_Mare"
3174	NAD_1983_Great_Lakes_Basin_Albers	PROJCS["NAD_1983_Great_Lakes_Basin_Albers",GEOGCS["GCS_North_American_1983",DATUM
3175	NAD_1983_Great_Lakes_and_St_Lawrence_Albers	PROJCS["NAD_1983_Great_Lakes_and_St_Lawrence_Albers",GEOGCS["GCS_North_American_1

Copyright © 1995-2016 Esri. All rights reserved.

3176	Indian_1960_TM_106NE	PROJCS["Indian_1960_TM_106NE",GEOGCS["GCS_Indian_1960",DATUM["D_Indian_1960",SPHE
3177	LGD2006_Libya_TM	PROJCS["LGD2006_Libya_TM",GEOGCS["GCS_LGD2006",DATUM["D_Libyan_Geodetic_Datum_
3178	Greenland_1996_UTM_Zone_18N	PROJCS["Greenland_1996_UTM_Zone_18N",GEOGCS["GCS_Greenland_1996",DATUM["D_Green
3179	Greenland_1996_UTM_Zone_19N	PROJCS["Greenland_1996_UTM_Zone_19N",GEOGCS["GCS_Greenland_1996",DATUM["D_Green
3180	Greenland_1996_UTM_Zone_20N	PROJCS["Greenland_1996_UTM_Zone_20N",GEOGCS["GCS_Greenland_1996",DATUM["D_Green
3181	Greenland_1996_UTM_Zone_21N	PROJCS["Greenland_1996_UTM_Zone_21N",GEOGCS["GCS_Greenland_1996",DATUM["D_Green
3182	Greenland_1996_UTM_Zone_22N	PROJCS["Greenland_1996_UTM_Zone_22N",GEOGCS["GCS_Greenland_1996",DATUM["D_Green
3183	Greenland_1996_UTM_Zone_23N	PROJCS["Greenland_1996_UTM_Zone_23N",GEOGCS["GCS_Greenland_1996",DATUM["D_Green
3184	Greenland_1996_UTM_Zone_24N	PROJCS["Greenland_1996_UTM_Zone_24N",GEOGCS["GCS_Greenland_1996",DATUM["D_Green
3185	Greenland_1996_UTM_Zone_25N	PROJCS["Greenland_1996_UTM_Zone_25N",GEOGCS["GCS_Greenland_1996",DATUM["D_Green
3186	Greenland_1996_UTM_Zone_26N	PROJCS["Greenland_1996_UTM_Zone_26N",GEOGCS["GCS_Greenland_1996",DATUM["D_Green
3187	Greenland_1996_UTM_Zone_27N	PROJCS["Greenland_1996_UTM_Zone_27N",GEOGCS["GCS_Greenland_1996",DATUM["D_Green
3188	Greenland_1996_UTM_Zone_28N	PROJCS["Greenland_1996_UTM_Zone_28N",GEOGCS["GCS_Greenland_1996",DATUM["D_Green
3189	Greenland_1996_UTM_Zone_29N	PROJCS["Greenland_1996_UTM_Zone_29N",GEOGCS["GCS_Greenland_1996",DATUM["D_Green
3190	LGD2006_Libya_TM_Zone_5	PROJCS["LGD2006_Libya_TM_Zone_5",GEOGCS["GCS_LGD2006",DATUM["D_Libyan_Geodetic_
3191	LGD2006_Libya_TM_Zone_6	PROJCS["LGD2006_Libya_TM_Zone_6",GEOGCS["GCS_LGD2006",DATUM["D_Libyan_Geodetic_
3192	LGD2006_Libya_TM_Zone_7	PROJCS["LGD2006_Libya_TM_Zone_7",GEOGCS["GCS_LGD2006",DATUM["D_Libyan_Geodetic_
3193	LGD2006_Libya_TM_Zone_8	PROJCS["LGD2006_Libya_TM_Zone_8",GEOGCS["GCS_LGD2006",DATUM["D_Libyan_Geodetic_
3194	LGD2006_Libya_TM_Zone_9	PROJCS["LGD2006_Libya_TM_Zone_9",GEOGCS["GCS_LGD2006",DATUM["D_Libyan_Geodetic_
3195	LGD2006_Libya_TM_Zone_10	PROJCS["LGD2006_Libya_TM_Zone_10",GEOGCS["GCS_LGD2006",DATUM["D_Libyan_Geodetic
3196	LGD2006_Libya_TM_Zone_11	PROJCS["LGD2006_Libya_TM_Zone_11",GEOGCS["GCS_LGD2006",DATUM["D_Libyan_Geodetic
3197	LGD2006_Libya_TM_Zone_12	PROJCS["LGD2006_Libya_TM_Zone_12",GEOGCS["GCS_LGD2006",DATUM["D_Libyan_Geodetic
3198	LGD2006_Libya_TM_Zone_13	PROJCS["LGD2006_Libya_TM_Zone_13",GEOGCS["GCS_LGD2006",DATUM["D_Libyan_Geodetic
3199	LGD2006_UTM_Zone_32N	PROJCS["LGD2006_UTM_Zone_32N",GEOGCS["GCS_LGD2006",DATUM["D_Libyan_Geodetic_D
3200	FD_1958_Iraq	PROJCS["FD_1958_Iraq",GEOGCS["GCS_FD_1958",DATUM["D_FD_1958",SPHEROID["Clarke_18
3201	LGD2006_UTM_Zone_33N	PROJCS["LGD2006_UTM_Zone_33N",GEOGCS["GCS_LGD2006",DATUM["D_Libyan_Geodetic_D
3202	LGD2006_UTM_Zone_34N	PROJCS["LGD2006_UTM_Zone_34N",GEOGCS["GCS_LGD2006",DATUM["D_Libyan_Geodetic_D
3203	LGD2006_UTM_Zone_35N	PROJCS["LGD2006_UTM_Zone_35N",GEOGCS["GCS_LGD2006",DATUM["D_Libyan_Geodetic_D
3294	WGS_1984_USGS_Transantarctic_Mountains	PROJCS["WGS_1984_USGS_Transantarctic_Mountains",GEOGCS["GCS_WGS_1984",DATUM["D_
3295	Guam_1963_Yap_Islands	PROJCS["Guam_1963_Yap_Islands",GEOGCS["GCS_Guam_1963",DATUM["D_Guam_1963",SPH
3296	RGPF_UTM_Zone_5S	PROJCS["RGPF_UTM_Zone_5S",GEOGCS["GCS_RGPF",DATUM["D_Reseau_Geodesique_de_la
3297	RGPF_UTM_Zone_6S	PROJCS["RGPF_UTM_Zone_6S",GEOGCS["GCS_RGPF",DATUM["D_Reseau_Geodesique_de_la
3298	RGPF_UTM_Zone_7S	PROJCS["RGPF_UTM_Zone_7S",GEOGCS["GCS_RGPF",DATUM["D_Reseau_Geodesique_de_la
3299	RGPF_UTM_Zone_8S	PROJCS["RGPF_UTM_Zone_8S",GEOGCS["GCS_RGPF",DATUM["D_Reseau_Geodesique_de_la
3300	Estonian_Coordinate_System_of_1992	PROJCS["Estonian_Coordinate_System_of_1992",GEOGCS["GCS_Estonia_1992",DATUM["D_Esto
3301	Estonia_1997_Estonia_National_Grid	PROJCS["Estonia_1997_Estonia_National_Grid",GEOGCS["GCS_Estonia_1997",DATUM["D_Eston
3302	IGN63_Hiva_Oa_UTM_Zone_7S	PROJCS["IGN63_Hiva_Oa_UTM_Zone_7S",GEOGCS["GCS_IGN63_Hiva_Oa",DATUM["D_IGN63_
3303	Fatu_Iva_1972_UTM_Zone_7S	PROJCS["Fatu_Iva_1972_UTM_Zone_7S",GEOGCS["GCS_Fatu_Iva_1972",DATUM["D_Fatu_Iva_
3304	Tahiti_1979_UTM_Zone_6S	PROJCS["Tahiti_1979_UTM_Zone_6S",GEOGCS["GCS_Tahiti_1979",DATUM["D_Tahiti_1979",SPH
3305	Moorea_1987_UTM_Zone_6S	PROJCS["Moorea_1987_UTM_Zone_6S",GEOGCS["GCS_Moorea_1987",DATUM["D_Moorea_198
3306	Maupiti_1983_UTM_Zone_5S	PROJCS["Maupiti_1983_UTM_Zone_5S",GEOGCS["GCS_Maupiti_1983",DATUM["D_Maupiti_1983
3307	Nakhl-e_Ghanem_UTM_Zone_39N	PROJCS["Nakhl-e_Ghanem_UTM_Zone_39N",GEOGCS["GCS_Nakhl-e_Ghanem",DATUM["D_Nak
3308	GDA_1994_NSW_Lambert	PROJCS["GDA_1994_NSW_Lambert",GEOGCS["GCS_GDA_1994",DATUM["D_GDA_1994",SPHE
3309	NAD_1927_California_Teale_Albers	PROJCS["NAD_1927_California_Teale_Albers",GEOGCS["GCS_North_American_1927",DATUM["D
3310	NAD_1983_California_Teale_Albers	PROJCS["NAD_1983_California_Teale_Albers",GEOGCS["GCS_North_American_1983",DATUM["D
3311	NAD_1983_HARN_California_Teale_Albers	PROJCS["NAD_1983_HARN_California_Teale_Albers",GEOGCS["GCS_North_American_1983_HA
3312	CSG_1967_UTM_Zone_21N	PROJCS["CSG_1967_UTM_Zone_21N",GEOGCS["GCS_CSG_1967",DATUM["D_CSG_1967",SPH
3313	RGFG_1995_UTM_Zone_21N	PROJCS["RGFG_1995_UTM_Zone_21N",GEOGCS["GCS_RGFG_1995",DATUM["D_RGFG_1995"
3315	Katanga_1955_Katanga_TM	PROJCS["Katanga_1955_Katanga_TM",GEOGCS["GCS_Katanga_1955",DATUM["D_Katanga_195
3316	Kasai_1953_Congo_TM_Zone_22	PROJCS["Kasai_1953_Congo_TM_Zone_22",GEOGCS["GCS_Kasai_1953",DATUM["D_Kasai_195
3317	Kasai_1953_Congo_TM_Zone_24	PROJCS["Kasai_1953_Congo_TM_Zone_24",GEOGCS["GCS_Kasai_1953",DATUM["D_Kasai_195
3318	IGC_1962_Congo_TM_Zone_12	PROJCS["IGC_1962_Congo_TM_Zone_12",GEOGCS["GCS_IGC_1962_6th_Parallel_South",DATU
3319	IGC_1962_Congo_TM_Zone_14	PROJCS["IGC_1962_Congo_TM_Zone_14",GEOGCS["GCS_IGC_1962_6th_Parallel_South",DATU
3320	IGC_1962_Congo_TM_Zone_16	PROJCS["IGC_1962_Congo_TM_Zone_16",GEOGCS["GCS_IGC_1962_6th_Parallel_South",DATU

Copyright © 1995-2016 Esri. All rights reserved.

3321	IGC_1962_Congo_TM_Zone_18	PROJCS["IGC_1962_Congo_TM_Zone_18",GEOGCS["GCS_IGC_1962_6th_Parallel_South",DATU
3322	IGC_1962_Congo_TM_Zone_20	PROJCS["IGC_1962_Congo_TM_Zone_20",GEOGCS["GCS_IGC_1962_6th_Parallel_South",DATU
3323	IGC_1962_Congo_TM_Zone_22	PROJCS["IGC_1962_Congo_TM_Zone_22",GEOGCS["GCS_IGC_1962_6th_Parallel_South",DATU
3324	IGC_1962_Congo_TM_Zone_24	PROJCS["IGC_1962_Congo_TM_Zone_24",GEOGCS["GCS_IGC_1962_6th_Parallel_South",DATU
3325	IGC_1962_Congo_TM_Zone_26	PROJCS["IGC_1962_Congo_TM_Zone_26",GEOGCS["GCS_IGC_1962_6th_Parallel_South",DATU
3326	IGC_1962_Congo_TM_Zone_28	PROJCS["IGC_1962_Congo_TM_Zone_28",GEOGCS["GCS_IGC_1962_6th_Parallel_South",DATU
3327	IGC_1962_Congo_TM_Zone_30	PROJCS["IGC_1962_Congo_TM_Zone_30",GEOGCS["GCS_IGC_1962_6th_Parallel_South",DATU
3328	Pulkovo_1942_Adj_1958_GUGiK-80	PROJCS["Pulkovo_1942_Adj_1958_GUGiK-80",GEOGCS["GCS_Pulkovo_1942_Adj_1958",DATUM
3329	Pulkovo_1942_Adj_1958_3_Degree_GK_Zone_5	PROJCS["Pulkovo_1942_Adj_1958_3_Degree_GK_Zone_5",GEOGCS["GCS_Pulkovo_1942_Adj_1
3330	Pulkovo_1942_Adj_1958_3_Degree_GK_Zone_6	PROJCS["Pulkovo_1942_Adj_1958_3_Degree_GK_Zone_6",GEOGCS["GCS_Pulkovo_1942_Adj_1
3331	Pulkovo_1942_Adj_1958_3_Degree_GK_Zone_7	PROJCS["Pulkovo_1942_Adj_1958_3_Degree_GK_Zone_7",GEOGCS["GCS_Pulkovo_1942_Adj_1
3332	Pulkovo_1942_Adj_1958_3_Degree_GK_Zone_8	PROJCS["Pulkovo_1942_Adj_1958_3_Degree_GK_Zone_8",GEOGCS["GCS_Pulkovo_1942_Adj_1
3333	Pulkovo_1942_Adj_1958_GK_Zone_3	PROJCS["Pulkovo_1942_Adj_1958_GK_Zone_3",GEOGCS["GCS_Pulkovo_1942_Adj_1958",DATU
3334	Pulkovo_1942_Adj_1958_GK_Zone_4	PROJCS["Pulkovo_1942_Adj_1958_GK_Zone_4",GEOGCS["GCS_Pulkovo_1942_Adj_1958",DATU
3335	Pulkovo_1942_Adj_1958_GK_Zone_5	PROJCS["Pulkovo_1942_Adj_1958_GK_Zone_5",GEOGCS["GCS_Pulkovo_1942_Adj_1958",DATU
3336	Kerguelen_Island_1949_UTM_42S	PROJCS["Kerguelen_Island_1949_UTM_42S",GEOGCS["GCS_Kerguelen_Island_1949",DATUM["D
3337	Le_Pouce_1934_Mauritius_Grid	PROJCS["Le_Pouce_1934_Mauritius_Grid",GEOGCS["GCS_Le_Pouce_1934",DATUM["D_Le_Pouc
3338	NAD_1983_Alaska_Albers	PROJCS["NAD_1983_Alaska_Albers",GEOGCS["GCS_North_American_1983",DATUM["D_North_A
3339	IGCB_1955_Congo_TM_Zone_12	PROJCS["IGCB_1955_Congo_TM_Zone_12",GEOGCS["GCS_IGCB_1955",DATUM["D_Institut_Ge
3340	IGCB_1955_Congo_TM_Zone_14	PROJCS["IGCB_1955_Congo_TM_Zone_14",GEOGCS["GCS_IGCB_1955",DATUM["D_Institut_Ge
3341	IGCB_1955_Congo_TM_Zone_16	PROJCS["IGCB_1955_Congo_TM_Zone_16",GEOGCS["GCS_IGCB_1955",DATUM["D_Institut_Ge
3342	IGCB_1955_UTM_Zone_33S	PROJCS["IGCB_1955_UTM_Zone_33S",GEOGCS["GCS_IGCB_1955",DATUM["D_Institut_Geogra
3343	Mauritania_1999_UTM_Zone_28N	PROJCS["Mauritania_1999_UTM_Zone_28N",GEOGCS["GCS_Mauritania_1999",DATUM["D_Mauri
3344	Mauritania_1999_UTM_Zone_29N	PROJCS["Mauritania_1999_UTM_Zone_29N",GEOGCS["GCS_Mauritania_1999",DATUM["D_Mauri
3345	Mauritania_1999_UTM_Zone_30N	PROJCS["Mauritania_1999_UTM_Zone_30N",GEOGCS["GCS_Mauritania_1999",DATUM["D_Mauri
3346	LKS_1994_Lithuania_TM	PROJCS["LKS_1994_Lithuania_TM",GEOGCS["GCS_LKS_1994",DATUM["D_Lithuania_1994",SPH
3347	NAD_1983_Statistics_Canada_Lambert	PROJCS["NAD_1983_Statistics_Canada_Lambert",GEOGCS["GCS_North_American_1983",DATUM
3348	NAD_1983_CSRS_Statistics_Canada_Lambert	PROJCS["NAD_1983_CSRS_Statistics_Canada_Lambert",GEOGCS["GCS_North_American_1983_
3350	Pulkovo_1942_CS63_Zone_C0	PROJCS["Pulkovo_1942_CS63_Zone_C0",GEOGCS["GCS_Pulkovo_1942",DATUM["D_Pulkovo_19
3351	Pulkovo_1942_CS63_Zone_C1	PROJCS["Pulkovo_1942_CS63_Zone_C1",GEOGCS["GCS_Pulkovo_1942",DATUM["D_Pulkovo_19
3352	Pulkovo_1942_CS63_Zone_C2	PROJCS["Pulkovo_1942_CS63_Zone_C2",GEOGCS["GCS_Pulkovo_1942",DATUM["D_Pulkovo_19
3353	Mhast_Onshore_UTM_Zone_32S	PROJCS["Mhast_Onshore_UTM_Zone_32S",GEOGCS["GCS_Mhast_Onshore",DATUM["D_Mhast_
3354	Mhast_Offshore_UTM_Zone_32S	PROJCS["Mhast_Offshore_UTM_Zone_32S",GEOGCS["GCS_Mhast_Offshore",DATUM["D_Mhast_
3355	Egypt_Gulf_of_Suez_S-650_TL_Red_Belt	PROJCS["Egypt_Gulf_of_Suez_S-650_TL_Red_Belt",GEOGCS["GCS_Egypt_Gulf_of_Suez_S-650_
3356	Grand_Cayman_1959_UTM_Zone_17N	PROJCS["Grand_Cayman_1959_UTM_Zone_17N",GEOGCS["GCS_Grand_Cayman_1959",DATUM
3357	Little_Cayman_1961_UTM_Zone_17N	PROJCS["Little_Cayman_1961_UTM_Zone_17N",GEOGCS["GCS_Little_Cayman_1961",DATUM["D
3358	NAD_1983_HARN_StatePlane_North_Carolina_FIPS_3200	PROJCS["NAD_1983_HARN_StatePlane_North_Carolina_FIPS_3200",GEOGCS["GCS_North_Ame
3360	NAD_1983_HARN_StatePlane_South_Carolina_FIPS_3900	PROJCS["NAD_1983_HARN_StatePlane_South_Carolina_FIPS_3900",GEOGCS["GCS_North_Am
3361	NAD_1983_HARN_StatePlane_South_Carolina_FIPS_3900_Feet_Intl	PROJCS["NAD_1983_HARN_StatePlane_South_Carolina_FIPS_3900_Feet_Intl",GEOGCS["GCS_
3362	NAD_1983_HARN_StatePlane_Pennsylvania_North_FIPS_3701	PROJCS["NAD_1983_HARN_StatePlane_Pennsylvania_North_FIPS_3701",GEOGCS["GCS_North_
3363	NAD_1983_HARN_StatePlane_Pennsylvania_North_FIPS_3701_Feet	PROJCS["NAD_1983_HARN_StatePlane_Pennsylvania_North_FIPS_3701_Feet",GEOGCS["GCS_
3364	NAD_1983_HARN_StatePlane_Pennsylvania_South_FIPS_3702	PROJCS["NAD_1983_HARN_StatePlane_Pennsylvania_South_FIPS_3702",GEOGCS["GCS_North
3365	NAD_1983_HARN_StatePlane_Pennsylvania_South_FIPS_3702_Feet	PROJCS["NAD_1983_HARN_StatePlane_Pennsylvania_South_FIPS_3702_Feet",GEOGCS["GCS_
3367	IGN_Astro_1960_UTM_Zone_28N	PROJCS["IGN_Astro_1960_UTM_Zone_28N",GEOGCS["GCS_IGN_Astro_1960",DATUM["D_IGN_
3368	IGN_Astro_1960_UTM_Zone_29N	PROJCS["IGN_Astro_1960_UTM_Zone_29N",GEOGCS["GCS_IGN_Astro_1960",DATUM["D_IGN_
3369	IGN_Astro_1960_UTM_Zone_30N	PROJCS["IGN_Astro_1960_UTM_Zone_30N",GEOGCS["GCS_IGN_Astro_1960",DATUM["D_IGN_
3370	NAD_1927_UTM_Zone_59N	PROJCS["NAD_1927_UTM_Zone_59N",GEOGCS["GCS_North_American_1927",DATUM["D_North
3371	NAD_1927_UTM_Zone_60N	PROJCS["NAD_1927_UTM_Zone_60N",GEOGCS["GCS_North_American_1927",DATUM["D_North
3372	NAD_1983_UTM_Zone_59N	PROJCS["NAD_1983_UTM_Zone_59N",GEOGCS["GCS_North_American_1983",DATUM["D_North
3373	NAD_1983_UTM_Zone_60N	PROJCS["NAD_1983_UTM_Zone_60N",GEOGCS["GCS_North_American_1983",DATUM["D_North
3374	FD_1954_UTM_Zone_29N	PROJCS["FD_1954_UTM_Zone_29N",GEOGCS["GCS_FD_1954",DATUM["D_Faroe_Datum_1954"
3375	GDM_2000_MRSO_Peninsular_Malaysia	PROJCS["GDM_2000_MRSO_Peninsular_Malaysia",GEOGCS["GCS_GDM_2000",DATUM["D_GDI
3376	GDM_2000_BRSO_East_Malaysia	PROJCS["GDM_2000_BRSO_East_Malaysia",GEOGCS["GCS_GDM_2000",DATUM["D_GDM_200
3377	GDM_2000_State_Cassini_Johor	PROJCS["GDM_2000_State_Cassini_Johor",GEOGCS["GCS_GDM_2000",DATUM["D_GDM_2000"

Copyright © 1995-2016 Esri. All rights reserved.

3378	GDM_2000_State_Cassini_Negeri_Sembilan_and_Melaka	PROJCS["GDM_2000_State_Cassini_Negeri_Sembilan_and_Melaka",GEOGCS["GCS_GDM_2000"
3379	GDM_2000_State_Cassini_Pahang	PROJCS["GDM_2000_State_Cassini_Pahang",GEOGCS["GCS_GDM_2000",DATUM["D_GDM_200
3380	GDM_2000_State_Cassini_Selangor	PROJCS["GDM_2000_State_Cassini_Selangor",GEOGCS["GCS_GDM_2000",DATUM["D_GDM_20
3381	GDM_2000_State_Cassini_Terengganu	PROJCS["GDM_2000_State_Cassini_Terengganu",GEOGCS["GCS_GDM_2000",DATUM["D_GDM_
3382	GDM_2000_State_Cassini_Pulau_Pinang_and_Seberang_Perai	PROJCS["GDM_2000_State_Cassini_Pulau_Pinang_and_Seberang_Perai",GEOGCS["GCS_GDM_
3383	GDM_2000_State_Cassini_Perlis	PROJCS["GDM_2000_State_Cassini_Perlis",GEOGCS["GCS_GDM_2000",DATUM["D_GDM_2000"
3384	GDM_2000_State_Cassini_Perak	PROJCS["GDM_2000_State_Cassini_Perak",GEOGCS["GCS_GDM_2000",DATUM["D_GDM_2000
3385	GDM_2000_State_Cassini_Kelantan	PROJCS["GDM_2000_State_Cassini_Kelantan",GEOGCS["GCS_GDM_2000",DATUM["D_GDM_20
3386	KKJ_Finland_Zone_0	PROJCS["KKJ_Finland_Zone_0",GEOGCS["GCS_KKJ",DATUM["D_KKJ",SPHEROID["International
3387	KKJ_Finland_Zone_5	PROJCS["KKJ_Finland_Zone_5",GEOGCS["GCS_KKJ",DATUM["D_KKJ",SPHEROID["International
3388	Pulkovo_1942_Caspian_Sea_Mercator	PROJCS["Pulkovo_1942_Caspian_Sea_Mercator",GEOGCS["GCS_Pulkovo_1942",DATUM["D_Pul
3389	Pulkovo_1942_3_Degree_GK_Zone_60	PROJCS["Pulkovo_1942_3_Degree_GK_Zone_60",GEOGCS["GCS_Pulkovo_1942",DATUM["D_Pu
3390	Pulkovo_1995_3_Degree_GK_Zone_60	PROJCS["Pulkovo_1995_3_Degree_GK_Zone_60",GEOGCS["GCS_Pulkovo_1995",DATUM["D_Pu
3391	Karbala_1979_Polservice_UTM_Zone_37N	PROJCS["Karbala_1979_Polservice_UTM_Zone_37N",GEOGCS["GCS_Karbala_1979_Polservice",
3392	Karbala_1979_Polservice_UTM_Zone_38N	PROJCS["Karbala_1979_Polservice_UTM_Zone_38N",GEOGCS["GCS_Karbala_1979_Polservice",
3393	Karbala_1979_Polservice_UTM_Zone_39N	PROJCS["Karbala_1979_Polservice_UTM_Zone_39N",GEOGCS["GCS_Karbala_1979_Polservice",
3394	Nahrwan_1934_Iraq_Zone	PROJCS["Nahrwan_1934_Iraq_Zone",GEOGCS["GCS_Nahrwan_1934",DATUM["D_Nahrwan_1934
3395	WGS_1984_World_Mercator	PROJCS["WGS_1984_World_Mercator",GEOGCS["GCS_WGS_1984",DATUM["D_WGS_1984",SPI
3396	PD/83_GK_Zone_3	PROJCS["PD/83_GK_Zone_3",GEOGCS["GCS_PD/83",DATUM["D_Potsdam_1983",SPHEROID["B
3397	PD/83_GK_Zone_4	PROJCS["PD/83_GK_Zone_4",GEOGCS["GCS_PD/83",DATUM["D_Potsdam_1983",SPHEROID["B
3398	RD/83_GK_Zone_4	PROJCS["RD/83_GK_Zone_4",GEOGCS["GCS_RD/83",DATUM["D_Rauenberg_1983",SPHEROID
3399	RD/83_GK_Zone_5	PROJCS["RD/83_GK_Zone_5",GEOGCS["GCS_RD/83",DATUM["D_Rauenberg_1983",SPHEROID
3400	NAD_1983_10TM_AEP_Forest	PROJCS["NAD_1983_10TM_AEP_Forest",GEOGCS["GCS_North_American_1983",DATUM["D_No
3401	NAD_1983_10TM_AEP_Resource	PROJCS["NAD_1983_10TM_AEP_Resource",GEOGCS["GCS_North_American_1983",DATUM["D_
3402	NAD_1983_CSRS_10TM_AEP_Forest	PROJCS["NAD_1983_CSRS_10TM_AEP_Forest",GEOGCS["GCS_North_American_1983_CSRS",
3403	NAD_1983_CSRS_10TM_AEP_Resource	PROJCS["NAD_1983_CSRS_10TM_AEP_Resource",GEOGCS["GCS_North_American_1983_CSR
3404	NAD_1983_HARN_StatePlane_North_Carolina_FIPS_3200_Feet	PROJCS["NAD_1983_HARN_StatePlane_North_Carolina_FIPS_3200_Feet",GEOGCS["GCS_North
3405	VN_2000_UTM_Zone_48N	PROJCS["VN_2000_UTM_Zone_48N",GEOGCS["GCS_VN_2000",DATUM["D_Vietnam_2000",SPH
3406	VN_2000_UTM_Zone_49N	PROJCS["VN_2000_UTM_Zone_49N",GEOGCS["GCS_VN_2000",DATUM["D_Vietnam_2000",SPH
3407	Hong_Kong_1963_Grid_System	PROJCS["Hong_Kong_1963_Grid_System",GEOGCS["GCS_Hong_Kong_1963",DATUM["D_Hong_
3408	NSIDC_EASE_Grid_North	PROJCS["NSIDC_EASE_Grid_North",GEOGCS["GCS_Sphere_International_1924_Authalic",DATU
3409	NSIDC_EASE_Grid_South	PROJCS["NSIDC_EASE_Grid_South",GEOGCS["GCS_Sphere_International_1924_Authalic",DATU
3410	NSIDC_EASE_Grid_Global	PROJCS["NSIDC_EASE_Grid_Global",GEOGCS["GCS_Sphere_International_1924_Authalic",DATU
3411	NSIDC_Sea_Ice_Polar_Stereographic_North	PROJCS["NSIDC_Sea_Ice_Polar_Stereographic_North",GEOGCS["GCS_Hughes_1980",DATUM["D
3412	NSIDC_Sea_Ice_Polar_Stereographic_South	PROJCS["NSIDC_Sea_Ice_Polar_Stereographic_South",GEOGCS["GCS_Hughes_1980",DATUM["D
3413	WGS_1984_NSIDC_Sea_Ice_Polar_Stereographic_North	PROJCS["WGS_1984_NSIDC_Sea_Ice_Polar_Stereographic_North",GEOGCS["GCS_WGS_1984"
3414	SVY21_Singapore_TM	PROJCS["SVY21_Singapore_TM",GEOGCS["GCS_SVY21",DATUM["D_SVY21",SPHEROID["WGS
3415	WGS_1972_BE_South_China_Sea_Lambert	PROJCS["WGS_1972_BE_South_China_Sea_Lambert",GEOGCS["GCS_WGS_1972_BE",DATUM[
3416	ETRS_1989_Austria_Lambert	PROJCS["ETRS_1989_Austria_Lambert",GEOGCS["GCS_ETRS_1989",DATUM["D_ETRS_1989",S
3417	NAD_1983_StatePlane_Iowa_North_FIPS_1401_Feet	PROJCS["NAD_1983_StatePlane_Iowa_North_FIPS_1401_Feet",GEOGCS["GCS_North_American
3418	NAD_1983_StatePlane_Iowa_South_FIPS_1402_Feet	PROJCS["NAD_1983_StatePlane_Iowa_South_FIPS_1402_Feet",GEOGCS["GCS_North_American
3419	NAD_1983_StatePlane_Kansas_North_FIPS_1501_Feet	PROJCS["NAD_1983_StatePlane_Kansas_North_FIPS_1501_Feet",GEOGCS["GCS_North_Americ
3420	NAD_1983_StatePlane_Kansas_South_FIPS_1502_Feet	PROJCS["NAD_1983_StatePlane_Kansas_South_FIPS_1502_Feet",GEOGCS["GCS_North_Americ
3421	NAD_1983_StatePlane_Nevada_East_FIPS_2701_Feet	PROJCS["NAD_1983_StatePlane_Nevada_East_FIPS_2701_Feet",GEOGCS["GCS_North_America
3422	NAD_1983_StatePlane_Nevada_Central_FIPS_2702_Feet	PROJCS["NAD_1983_StatePlane_Nevada_Central_FIPS_2702_Feet",GEOGCS["GCS_North_Ame
3423	NAD_1983_StatePlane_Nevada_West_FIPS_2703_Feet	PROJCS["NAD_1983_StatePlane_Nevada_West_FIPS_2703_Feet",GEOGCS["GCS_North_Americ
3424	NAD_1983_StatePlane_New_Jersey_FIPS_2900_Feet	PROJCS["NAD_1983_StatePlane_New_Jersey_FIPS_2900_Feet",GEOGCS["GCS_North_American
3425	NAD_1983_HARN_StatePlane_Iowa_North_FIPS_1401_Feet	PROJCS["NAD_1983_HARN_StatePlane_Iowa_North_FIPS_1401_Feet",GEOGCS["GCS_North_A
3426	NAD_1983_HARN_StatePlane_Iowa_South_FIPS_1402_Feet	PROJCS["NAD_1983_HARN_StatePlane_Iowa_South_FIPS_1402_Feet",GEOGCS["GCS_North_A
3427	NAD_1983_HARN_StatePlane_Kansas_North_FIPS_1501_Feet	PROJCS["NAD_1983_HARN_StatePlane_Kansas_North_FIPS_1501_Feet",GEOGCS["GCS_North_
3428	NAD_1983_HARN_StatePlane_Kansas_South_FIPS_1502_Feet	PROJCS["NAD_1983_HARN_StatePlane_Kansas_South_FIPS_1502_Feet",GEOGCS["GCS_North
3429	NAD_1983_HARN_StatePlane_Nevada_East_FIPS_2701_Feet	PROJCS["NAD_1983_HARN_StatePlane_Nevada_East_FIPS_2701_Feet",GEOGCS["GCS_North_
3430	NAD_1983_HARN_StatePlane_Nevada_Central_FIPS_2702_Feet	PROJCS["NAD_1983_HARN_StatePlane_Nevada_Central_FIPS_2702_Feet",GEOGCS["GCS_Nor
3431	NAD_1983_HARN_StatePlane_Nevada_West_FIPS_2703_Feet	PROJCS["NAD_1983_HARN_StatePlane_Nevada_West_FIPS_2703_Feet",GEOGCS["GCS_North_

Copyright © 1995-2016 Esri. All rights reserved.

3432	NAD_1983_HARN_StatePlane_New_Jersey_FIPS_2900_Feet	PROJCS["NAD_1983_HARN_StatePlane_New_Jersey_FIPS_2900_Feet",GEOGCS["GCS_North_A
3433	NAD_1983_StatePlane_Arkansas_North_FIPS_0301_Feet	PROJCS["NAD_1983_StatePlane_Arkansas_North_FIPS_0301_Feet",GEOGCS["GCS_North_Ame
3434	NAD_1983_StatePlane_Arkansas_South_FIPS_0302_Feet	PROJCS["NAD_1983_StatePlane_Arkansas_South_FIPS_0302_Feet",GEOGCS["GCS_North_Ame
3435	NAD_1983_StatePlane_Illinois_East_FIPS_1201_Feet	PROJCS["NAD_1983_StatePlane_Illinois_East_FIPS_1201_Feet",GEOGCS["GCS_North_Americar
3436	NAD_1983_StatePlane_Illinois_West_FIPS_1202_Feet	PROJCS["NAD_1983_StatePlane_Illinois_West_FIPS_1202_Feet",GEOGCS["GCS_North_America
3437	NAD_1983_StatePlane_New_Hampshire_FIPS_2800_Feet	PROJCS["NAD_1983_StatePlane_New_Hampshire_FIPS_2800_Feet",GEOGCS["GCS_North_Ame
3438	NAD_1983_StatePlane_Rhode_Island_FIPS_3800_Feet	PROJCS["NAD_1983_StatePlane_Rhode_Island_FIPS_3800_Feet",GEOGCS["GCS_North_Americ
3439	PDO_1993_UTM_Zone_39N	PROJCS["PDO_1993_UTM_Zone_39N",GEOGCS["GCS_PDO_1993",DATUM["D_PDO_1993",SPH
3440	PDO_1993_UTM_Zone_40N	PROJCS["PDO_1993_UTM_Zone_40N",GEOGCS["GCS_PDO_1993",DATUM["D_PDO_1993",SPH
3441	NAD_1983_HARN_StatePlane_Arkansas_North_FIPS_0301_Feet	PROJCS["NAD_1983_HARN_StatePlane_Arkansas_North_FIPS_0301_Feet",GEOGCS["GCS_Nor
3442	NAD_1983_HARN_StatePlane_Arkansas_South_FIPS_0302_Feet	PROJCS["NAD_1983_HARN_StatePlane_Arkansas_South_FIPS_0302_Feet",GEOGCS["GCS_Nor
3443	NAD_1983_HARN_StatePlane_Illinois_East_FIPS_1201_Feet	PROJCS["NAD_1983_HARN_StatePlane_Illinois_East_FIPS_1201_Feet",GEOGCS["GCS_North_A
3444	NAD_1983_HARN_StatePlane_Illinois_West_FIPS_1202_Feet	PROJCS["NAD_1983_HARN_StatePlane_Illinois_West_FIPS_1202_Feet",GEOGCS["GCS_North_A
3445	NAD_1983_HARN_StatePlane_New_Hampshire_FIPS_2800_Feet	PROJCS["NAD_1983_HARN_StatePlane_New_Hampshire_FIPS_2800_Feet",GEOGCS["GCS_Nor
3446	NAD_1983_HARN_StatePlane_Rhode_Island_FIPS_3800_Feet	PROJCS["NAD_1983_HARN_StatePlane_Rhode_Island_FIPS_3800_Feet",GEOGCS["GCS_North_
3447	Belge_Lambert_2005	PROJCS["Belge_Lambert_2005",GEOGCS["GCS_ETRS_1989",DATUM["D_ETRS_1989",SPHERO
3448	JAD_2001_Jamaica_Grid	PROJCS["JAD_2001_Jamaica_Grid",GEOGCS["GCS_JAD_2001",DATUM["D_Jamaica_2001",SPH
3449	JAD_2001_UTM_Zone_17N	PROJCS["JAD_2001_UTM_Zone_17N",GEOGCS["GCS_JAD_2001",DATUM["D_Jamaica_2001",SI
3450	JAD_2001_UTM_Zone_18N	PROJCS["JAD_2001_UTM_Zone_18N",GEOGCS["GCS_JAD_2001",DATUM["D_Jamaica_2001",SI
3451	NAD_1983_StatePlane_Louisiana_North_FIPS_1701_Feet	PROJCS["NAD_1983_StatePlane_Louisiana_North_FIPS_1701_Feet",GEOGCS["GCS_North_Ame
3452	NAD_1983_StatePlane_Louisiana_South_FIPS_1702_Feet	PROJCS["NAD_1983_StatePlane_Louisiana_South_FIPS_1702_Feet",GEOGCS["GCS_North_Ame
3453	NAD_1983_StatePlane_Louisiana_Offshore_FIPS_1703_Feet	PROJCS["NAD_1983_StatePlane_Louisiana_Offshore_FIPS_1703_Feet",GEOGCS["GCS_North_A
3455	NAD_1983_StatePlane_South_Dakota_South_FIPS_4002_Feet	PROJCS["NAD_1983_StatePlane_South_Dakota_South_FIPS_4002_Feet",GEOGCS["GCS_North_
3456	NAD_1983_HARN_StatePlane_Louisiana_North_FIPS_1701_Feet	PROJCS["NAD_1983_HARN_StatePlane_Louisiana_North_FIPS_1701_Feet",GEOGCS["GCS_Nor
3457	NAD_1983_HARN_StatePlane_Louisiana_South_FIPS_1702_Feet	PROJCS["NAD_1983_HARN_StatePlane_Louisiana_South_FIPS_1702_Feet",GEOGCS["GCS_Nor
3458	NAD_1983_HARN_StatePlane_South_Dakota_North_FIPS_4001_Feet	PROJCS["NAD_1983_HARN_StatePlane_South_Dakota_North_FIPS_4001_Feet",GEOGCS["GCS_
3459	NAD_1983_HARN_StatePlane_South_Dakota_South_FIPS_4002_Feet	PROJCS["NAD_1983_HARN_StatePlane_South_Dakota_South_FIPS_4002_Feet",GEOGCS["GCS
3460	Fiji_1986_Fiji_Map_Grid	PROJCS["Fiji_1986_Fiji_Map_Grid",GEOGCS["GCS_Fiji_1986",DATUM["D_Fiji_1986",SPHEROID["
3461	Dabola_1981_UTM_Zone_28N	PROJCS["Dabola_1981_UTM_Zone_28N",GEOGCS["GCS_Dabola_1981",DATUM["D_Dabola_198
3462	Dabola_1981_UTM_Zone_29N	PROJCS["Dabola_1981_UTM_Zone_29N",GEOGCS["GCS_Dabola_1981",DATUM["D_Dabola_198
3463	NAD_1983_Maine_2000_Central_Zone	PROJCS["NAD_1983_Maine_2000_Central_Zone",GEOGCS["GCS_North_American_1983",DATUM
3464	NAD_1983_HARN_Maine_2000_Central_Zone	PROJCS["NAD_1983_HARN_Maine_2000_Central_Zone",GEOGCS["GCS_North_American_1983_
3465	NAD_1983_NSRS2007_StatePlane_Alabama_East_FIPS_0101	PROJCS["NAD_1983_NSRS2007_StatePlane_Alabama_East_FIPS_0101",GEOGCS["GCS_NAD_
3466	NAD_1983_NSRS2007_StatePlane_Alabama_West_FIPS_0102	PROJCS["NAD_1983_NSRS2007_StatePlane_Alabama_West_FIPS_0102",GEOGCS["GCS_NAD_
3467	NAD_1983_NSRS2007_Alaska_Albers	PROJCS["NAD_1983_NSRS2007_Alaska_Albers",GEOGCS["GCS_NAD_1983_NSRS2007",DATUI
3468	NAD_1983_NSRS2007_StatePlane_Alaska_1_FIPS_5001	PROJCS["NAD_1983_NSRS2007_StatePlane_Alaska_1_FIPS_5001",GEOGCS["GCS_NAD_1983_
3469	NAD_1983_NSRS2007_StatePlane_Alaska_2_FIPS_5002	PROJCS["NAD_1983_NSRS2007_StatePlane_Alaska_2_FIPS_5002",GEOGCS["GCS_NAD_1983_
3470	NAD_1983_NSRS2007_StatePlane_Alaska_3_FIPS_5003	PROJCS["NAD_1983_NSRS2007_StatePlane_Alaska_3_FIPS_5003",GEOGCS["GCS_NAD_1983_
3471	NAD_1983_NSRS2007_StatePlane_Alaska_4_FIPS_5004	PROJCS["NAD_1983_NSRS2007_StatePlane_Alaska_4_FIPS_5004",GEOGCS["GCS_NAD_1983_
3472	NAD_1983_NSRS2007_StatePlane_Alaska_5_FIPS_5005	PROJCS["NAD_1983_NSRS2007_StatePlane_Alaska_5_FIPS_5005",GEOGCS["GCS_NAD_1983_
3473	NAD_1983_NSRS2007_StatePlane_Alaska_6_FIPS_5006	PROJCS["NAD_1983_NSRS2007_StatePlane_Alaska_6_FIPS_5006",GEOGCS["GCS_NAD_1983_
3474	NAD_1983_NSRS2007_StatePlane_Alaska_7_FIPS_5007	PROJCS["NAD_1983_NSRS2007_StatePlane_Alaska_7_FIPS_5007",GEOGCS["GCS_NAD_1983_
3475	NAD_1983_NSRS2007_StatePlane_Alaska_8_FIPS_5008	PROJCS["NAD_1983_NSRS2007_StatePlane_Alaska_8_FIPS_5008",GEOGCS["GCS_NAD_1983_
3476	NAD_1983_NSRS2007_StatePlane_Alaska_9_FIPS_5009	PROJCS["NAD_1983_NSRS2007_StatePlane_Alaska_9_FIPS_5009",GEOGCS["GCS_NAD_1983_
3477	NAD_1983_NSRS2007_StatePlane_Alaska_10_FIPS_5010	PROJCS["NAD_1983_NSRS2007_StatePlane_Alaska_10_FIPS_5010",GEOGCS["GCS_NAD_1983
3478	NAD_1983_NSRS2007_StatePlane_Arizona_Central_FIPS_0202	PROJCS["NAD_1983_NSRS2007_StatePlane_Arizona_Central_FIPS_0202",GEOGCS["GCS_NAD
3479	NAD_1983_NSRS2007_StatePlane_Arizona_Central_FIPS_0202_Ft_Intl	PROJCS["NAD_1983_NSRS2007_StatePlane_Arizona_Central_FIPS_0202_Ft_Intl",GEOGCS["GC
3480	NAD_1983_NSRS2007_StatePlane_Arizona_East_FIPS_0201	PROJCS["NAD_1983_NSRS2007_StatePlane_Arizona_East_FIPS_0201",GEOGCS["GCS_NAD_19
3481	NAD_1983_NSRS2007_StatePlane_Arizona_East_FIPS_0201_Ft_Intl	PROJCS["NAD_1983_NSRS2007_StatePlane_Arizona_East_FIPS_0201_Ft_Intl",GEOGCS["GCS_
3482	NAD_1983_NSRS2007_StatePlane_Arizona_West_FIPS_0203	PROJCS["NAD_1983_NSRS2007_StatePlane_Arizona_West_FIPS_0203",GEOGCS["GCS_NAD_1
3483	NAD_1983_NSRS2007_StatePlane_Arizona_West_FIPS_0203_Ft_Intl	PROJCS["NAD_1983_NSRS2007_StatePlane_Arizona_West_FIPS_0203_Ft_Intl",GEOGCS["GCS_
3484	NAD_1983_NSRS2007_StatePlane_Arkansas_North_FIPS_0301	PROJCS["NAD_1983_NSRS2007_StatePlane_Arkansas_North_FIPS_0301",GEOGCS["GCS_NAD
3485	NAD_1983_NSRS2007_StatePlane_Arkansas_North_FIPS_0301_Ft_US	PROJCS["NAD_1983_NSRS2007_StatePlane_Arkansas_North_FIPS_0301_Ft_US",GEOGCS["GC
3486	NAD_1983_NSRS2007_StatePlane_Arkansas_South_FIPS_0302	PROJCS["NAD_1983_NSRS2007_StatePlane_Arkansas_South_FIPS_0302",GEOGCS["GCS_NAD

Copyright © 1995-2016 Esri. All rights reserved.

3487	NAD_1983_NSRS2007_StatePlane_Arkansas_South_FIPS_0302_Ft_US	PROJCS["NAD_1983_NSRS2007_StatePlane_Arkansas_South_FIPS_0302_Ft_US",GEOGCS["GC
3488	NAD_1983_NSRS2007_California_Teale_Albers	PROJCS["NAD_1983_NSRS2007_California_Teale_Albers",GEOGCS["GCS_NAD_1983_NSRS200
3489	NAD_1983_NSRS2007_StatePlane_California_I_FIPS_0401	PROJCS["NAD_1983_NSRS2007_StatePlane_California_I_FIPS_0401",GEOGCS["GCS_NAD_198
3490	NAD_1983_NSRS2007_StatePlane_California_I_FIPS_0401_Ft_US	PROJCS["NAD_1983_NSRS2007_StatePlane_California_I_FIPS_0401_Ft_US",GEOGCS["GCS_N
3491	NAD_1983_NSRS2007_StatePlane_California_II_FIPS_0402	PROJCS["NAD_1983_NSRS2007_StatePlane_California_II_FIPS_0402",GEOGCS["GCS_NAD_198
3492	NAD_1983_NSRS2007_StatePlane_California_II_FIPS_0402_Ft_US	PROJCS["NAD_1983_NSRS2007_StatePlane_California_II_FIPS_0402_Ft_US",GEOGCS["GCS_N
3493	NAD_1983_NSRS2007_StatePlane_California_III_FIPS_0403	PROJCS["NAD_1983_NSRS2007_StatePlane_California_III_FIPS_0403",GEOGCS["GCS_NAD_19
3494	NAD_1983_NSRS2007_StatePlane_California_III_FIPS_0403_Ft_US	PROJCS["NAD_1983_NSRS2007_StatePlane_California_III_FIPS_0403_Ft_US",GEOGCS["GCS_N
3495	NAD_1983_NSRS2007_StatePlane_California_IV_FIPS_0404	PROJCS["NAD_1983_NSRS2007_StatePlane_California_IV_FIPS_0404",GEOGCS["GCS_NAD_19
3496	NAD_1983_NSRS2007_StatePlane_California_IV_FIPS_0404_Ft_US	PROJCS["NAD_1983_NSRS2007_StatePlane_California_IV_FIPS_0404_Ft_US",GEOGCS["GCS_N
3497	NAD_1983_NSRS2007_StatePlane_California_V_FIPS_0405	PROJCS["NAD_1983_NSRS2007_StatePlane_California_V_FIPS_0405",GEOGCS["GCS_NAD_19
3498	NAD_1983_NSRS2007_StatePlane_California_V_FIPS_0405_Ft_US	PROJCS["NAD_1983_NSRS2007_StatePlane_California_V_FIPS_0405_Ft_US",GEOGCS["GCS_N
3499	NAD_1983_NSRS2007_StatePlane_California_VI_FIPS_0406	PROJCS["NAD_1983_NSRS2007_StatePlane_California_VI_FIPS_0406",GEOGCS["GCS_NAD_19
3500	NAD_1983_NSRS2007_StatePlane_California_VI_FIPS_0406_Ft_US	PROJCS["NAD_1983_NSRS2007_StatePlane_California_VI_FIPS_0406_Ft_US",GEOGCS["GCS_N
3501	NAD_1983_NSRS2007_StatePlane_Colorado_Central_FIPS_0502	PROJCS["NAD_1983_NSRS2007_StatePlane_Colorado_Central_FIPS_0502",GEOGCS["GCS_NA
3502	NAD_1983_NSRS2007_StatePlane_Colorado_Central_FIPS_0502_Ft_US	PROJCS["NAD_1983_NSRS2007_StatePlane_Colorado_Central_FIPS_0502_Ft_US",GEOGCS["G
3503	NAD_1983_NSRS2007_StatePlane_Colorado_North_FIPS_0501	PROJCS["NAD_1983_NSRS2007_StatePlane_Colorado_North_FIPS_0501",GEOGCS["GCS_NAD_
3504	NAD_1983_NSRS2007_StatePlane_Colorado_North_FIPS_0501_Ft_US	PROJCS["NAD_1983_NSRS2007_StatePlane_Colorado_North_FIPS_0501_Ft_US",GEOGCS["GC
3505	NAD_1983_NSRS2007_StatePlane_Colorado_South_FIPS_0503	PROJCS["NAD_1983_NSRS2007_StatePlane_Colorado_South_FIPS_0503",GEOGCS["GCS_NAD
3506	NAD_1983_NSRS2007_StatePlane_Colorado_South_FIPS_0503_Ft_US	PROJCS["NAD_1983_NSRS2007_StatePlane_Colorado_South_FIPS_0503_Ft_US",GEOGCS["GC
3507	NAD_1983_NSRS2007_StatePlane_Connecticut_FIPS_0600	PROJCS["NAD_1983_NSRS2007_StatePlane_Connecticut_FIPS_0600",GEOGCS["GCS_NAD_198
3508	NAD_1983_NSRS2007_StatePlane_Connecticut_FIPS_0600_Ft_US	PROJCS["NAD_1983_NSRS2007_StatePlane_Connecticut_FIPS_0600_Ft_US",GEOGCS["GCS_N
3509	NAD_1983_NSRS2007_StatePlane_Delaware_FIPS_0700	PROJCS["NAD_1983_NSRS2007_StatePlane_Delaware_FIPS_0700",GEOGCS["GCS_NAD_1983_
3510	NAD_1983_NSRS2007_StatePlane_Delaware_FIPS_0700_Ft_US	PROJCS["NAD_1983_NSRS2007_StatePlane_Delaware_FIPS_0700_Ft_US",GEOGCS["GCS_NAD
3511	NAD_1983_NSRS2007_StatePlane_Florida_East_FIPS_0901	PROJCS["NAD_1983_NSRS2007_StatePlane_Florida_East_FIPS_0901",GEOGCS["GCS_NAD_19
3512	NAD_1983_NSRS2007_StatePlane_Florida_East_FIPS_0901_Ft_US	PROJCS["NAD_1983_NSRS2007_StatePlane_Florida_East_FIPS_0901_Ft_US",GEOGCS["GCS_N
3513	NAD_1983_NSRS2007_Florida_GDL_Albers	PROJCS["NAD_1983_NSRS2007_Florida_GDL_Albers",GEOGCS["GCS_NAD_1983_NSRS2007",I
3514	NAD_1983_NSRS2007_StatePlane_Florida_North_FIPS_0903	PROJCS["NAD_1983_NSRS2007_StatePlane_Florida_North_FIPS_0903",GEOGCS["GCS_NAD_1
3515	NAD_1983_NSRS2007_StatePlane_Florida_North_FIPS_0903_Ft_US	PROJCS["NAD_1983_NSRS2007_StatePlane_Florida_North_FIPS_0903_Ft_US",GEOGCS["GCS_
3516	NAD_1983_NSRS2007_StatePlane_Florida_West_FIPS_0902	PROJCS["NAD_1983_NSRS2007_StatePlane_Florida_West_FIPS_0902",GEOGCS["GCS_NAD_19
3517	NAD_1983_NSRS2007_StatePlane_Florida_West_FIPS_0902_Ft_US	PROJCS["NAD_1983_NSRS2007_StatePlane_Florida_West_FIPS_0902_Ft_US",GEOGCS["GCS_
3518	NAD_1983_NSRS2007_StatePlane_Georgia_East_FIPS_1001	PROJCS["NAD_1983_NSRS2007_StatePlane_Georgia_East_FIPS_1001",GEOGCS["GCS_NAD_1
3519	NAD_1983_NSRS2007_StatePlane_Georgia_East_FIPS_1001_Ft_US	PROJCS["NAD_1983_NSRS2007_StatePlane_Georgia_East_FIPS_1001_Ft_US",GEOGCS["GCS_
3520	NAD_1983_NSRS2007_StatePlane_Georgia_West_FIPS_1002	PROJCS["NAD_1983_NSRS2007_StatePlane_Georgia_West_FIPS_1002",GEOGCS["GCS_NAD_1
3521	NAD_1983_NSRS2007_StatePlane_Georgia_West_FIPS_1002_Ft_US	PROJCS["NAD_1983_NSRS2007_StatePlane_Georgia_West_FIPS_1002_Ft_US",GEOGCS["GCS_
3522	NAD_1983_NSRS2007_StatePlane_Idaho_Central_FIPS_1102	PROJCS["NAD_1983_NSRS2007_StatePlane_Idaho_Central_FIPS_1102",GEOGCS["GCS_NAD_1
3523	NAD_1983_NSRS2007_StatePlane_Idaho_Central_FIPS_1102_Ft_US	PROJCS["NAD_1983_NSRS2007_StatePlane_Idaho_Central_FIPS_1102_Ft_US",GEOGCS["GCS_
3524	NAD_1983_NSRS2007_StatePlane_Idaho_East_FIPS_1101	PROJCS["NAD_1983_NSRS2007_StatePlane_Idaho_East_FIPS_1101",GEOGCS["GCS_NAD_198
3525	NAD_1983_NSRS2007_StatePlane_Idaho_East_FIPS_1101_Ft_US	PROJCS["NAD_1983_NSRS2007_StatePlane_Idaho_East_FIPS_1101_Ft_US",GEOGCS["GCS_N
3526	NAD_1983_NSRS2007_StatePlane_Idaho_West_FIPS_1103	PROJCS["NAD_1983_NSRS2007_StatePlane_Idaho_West_FIPS_1103",GEOGCS["GCS_NAD_198
3527	NAD_1983_NSRS2007_StatePlane_Idaho_West_FIPS_1103_Ft_US	PROJCS["NAD_1983_NSRS2007_StatePlane_Idaho_West_FIPS_1103_Ft_US",GEOGCS["GCS_N
3528	NAD_1983_NSRS2007_StatePlane_Illinois_East_FIPS_1201	PROJCS["NAD_1983_NSRS2007_StatePlane_Illinois_East_FIPS_1201",GEOGCS["GCS_NAD_198
3529	NAD_1983_NSRS2007_StatePlane_Illinois_East_FIPS_1201_Ft_US	PROJCS["NAD_1983_NSRS2007_StatePlane_Illinois_East_FIPS_1201_Ft_US",GEOGCS["GCS_N
3530	NAD_1983_NSRS2007_StatePlane_Illinois_West_FIPS_1202	PROJCS["NAD_1983_NSRS2007_StatePlane_Illinois_West_FIPS_1202",GEOGCS["GCS_NAD_19
3531	NAD_1983_NSRS2007_StatePlane_Illinois_West_FIPS_1202_Ft_US	PROJCS["NAD_1983_NSRS2007_StatePlane_Illinois_West_FIPS_1202_Ft_US",GEOGCS["GCS_N
3532	NAD_1983_NSRS2007_StatePlane_Indiana_East_FIPS_1301	PROJCS["NAD_1983_NSRS2007_StatePlane_Indiana_East_FIPS_1301",GEOGCS["GCS_NAD_19
3533	NAD_1983_NSRS2007_StatePlane_Indiana_East_FIPS_1301_Ft_US	PROJCS["NAD_1983_NSRS2007_StatePlane_Indiana_East_FIPS_1301_Ft_US",GEOGCS["GCS_
3534	NAD_1983_NSRS2007_StatePlane_Indiana_West_FIPS_1302	PROJCS["NAD_1983_NSRS2007_StatePlane_Indiana_West_FIPS_1302",GEOGCS["GCS_NAD_1
3535	NAD_1983_NSRS2007_StatePlane_Indiana_West_FIPS_1302_Ft_US	PROJCS["NAD_1983_NSRS2007_StatePlane_Indiana_West_FIPS_1302_Ft_US",GEOGCS["GCS_
3536	NAD_1983_NSRS2007_StatePlane_Iowa_North_FIPS_1401	PROJCS["NAD_1983_NSRS2007_StatePlane_Iowa_North_FIPS_1401",GEOGCS["GCS_NAD_198
3537	NAD_1983_NSRS2007_StatePlane_Iowa_North_FIPS_1401_Ft_US	PROJCS["NAD_1983_NSRS2007_StatePlane_Iowa_North_FIPS_1401_Ft_US",GEOGCS["GCS_NA
3538	NAD_1983_NSRS2007_StatePlane_Iowa_South_FIPS_1402	PROJCS["NAD_1983_NSRS2007_StatePlane_Iowa_South_FIPS_1402",GEOGCS["GCS_NAD_198
3539	NAD_1983_NSRS2007_StatePlane_Iowa_South_FIPS_1402_Ft_US	PROJCS["NAD_1983_NSRS2007_StatePlane_Iowa_South_FIPS_1402_Ft_US",GEOGCS["GCS_N
3540	NAD_1983_NSRS2007_StatePlane_Kansas_North_FIPS_1501	PROJCS["NAD_1983_NSRS2007_StatePlane_Kansas_North_FIPS_1501",GEOGCS["GCS_NAD_1

Copyright © 1995-2016 Esri. All rights reserved.

3541	NAD_1983_NSRS2007_StatePlane_Kansas_North_FIPS_1501_Ft_US	PROJCS["NAD_1983_NSRS2007_StatePlane_Kansas_North_FIPS_1501_Ft_US",GEOGCS["GCS_
3542	NAD_1983_NSRS2007_StatePlane_Kansas_South_FIPS_1502	PROJCS["NAD_1983_NSRS2007_StatePlane_Kansas_South_FIPS_1502",GEOGCS["GCS_NAD_
3543	NAD_1983_NSRS2007_StatePlane_Kansas_South_FIPS_1502_Ft_US	PROJCS["NAD_1983_NSRS2007_StatePlane_Kansas_South_FIPS_1502_Ft_US",GEOGCS["GCS
3544	NAD_1983_NSRS2007_StatePlane_Kentucky_North_FIPS_1601	PROJCS["NAD_1983_NSRS2007_StatePlane_Kentucky_North_FIPS_1601",GEOGCS["GCS_NAD_
3545	NAD_1983_NSRS2007_StatePlane_Kentucky_North_FIPS_1601_Ft_US	PROJCS["NAD_1983_NSRS2007_StatePlane_Kentucky_North_FIPS_1601_Ft_US",GEOGCS["GC
3546	NAD_1983_NSRS2007_StatePlane_Kentucky_FIPS_1600	PROJCS["NAD_1983_NSRS2007_StatePlane_Kentucky_FIPS_1600",GEOGCS["GCS_NAD_1983_
3547	NAD_1983_NSRS2007_StatePlane_Kentucky_FIPS_1600_Ft_US	PROJCS["NAD_1983_NSRS2007_StatePlane_Kentucky_FIPS_1600_Ft_US",GEOGCS["GCS_NAD
3548	NAD_1983_NSRS2007_StatePlane_Kentucky_South_FIPS_1602	PROJCS["NAD_1983_NSRS2007_StatePlane_Kentucky_South_FIPS_1602",GEOGCS["GCS_NAD
3549	NAD_1983_NSRS2007_StatePlane_Kentucky_South_FIPS_1602_Ft_US	PROJCS["NAD_1983_NSRS2007_StatePlane_Kentucky_South_FIPS_1602_Ft_US",GEOGCS["GC
3550	NAD_1983_NSRS2007_StatePlane_Louisiana_North_FIPS_1701	PROJCS["NAD_1983_NSRS2007_StatePlane_Louisiana_North_FIPS_1701",GEOGCS["GCS_NAD
3551	NAD_1983_NSRS2007_StatePlane_Louisiana_North_FIPS_1701_Ft_US	PROJCS["NAD_1983_NSRS2007_StatePlane_Louisiana_North_FIPS_1701_Ft_US",GEOGCS["GC
3552	NAD_1983_NSRS2007_StatePlane_Louisiana_South_FIPS_1702	PROJCS["NAD_1983_NSRS2007_StatePlane_Louisiana_South_FIPS_1702",GEOGCS["GCS_NAD
3553	NAD_1983_NSRS2007_StatePlane_Louisiana_South_FIPS_1702_Ft_US	PROJCS["NAD_1983_NSRS2007_StatePlane_Louisiana_South_FIPS_1702_Ft_US",GEOGCS["GC
3554	NAD_1983_NSRS2007_Maine_2000_Central_Zone	PROJCS["NAD_1983_NSRS2007_Maine_2000_Central_Zone",GEOGCS["GCS_NAD_1983_NSRS
3555	NAD_1983_NSRS2007_Maine_2000_East_Zone	PROJCS["NAD_1983_NSRS2007_Maine_2000_East_Zone",GEOGCS["GCS_NAD_1983_NSRS20
3556	NAD_1983_NSRS2007_Maine_2000_West_Zone	PROJCS["NAD_1983_NSRS2007_Maine_2000_West_Zone",GEOGCS["GCS_NAD_1983_NSRS20
3557	NAD_1983_NSRS2007_StatePlane_Maine_East_FIPS_1801	PROJCS["NAD_1983_NSRS2007_StatePlane_Maine_East_FIPS_1801",GEOGCS["GCS_NAD_198
3558	NAD_1983_NSRS2007_StatePlane_Maine_West_FIPS_1802	PROJCS["NAD_1983_NSRS2007_StatePlane_Maine_West_FIPS_1802",GEOGCS["GCS_NAD_19
3559	NAD_1983_NSRS2007_StatePlane_Maryland_FIPS_1900	PROJCS["NAD_1983_NSRS2007_StatePlane_Maryland_FIPS_1900",GEOGCS["GCS_NAD_1983_
3560	NAD_1983_StatePlane_Utah_North_FIPS_4301_Feet	PROJCS["NAD_1983_StatePlane_Utah_North_FIPS_4301_Feet",GEOGCS["GCS_North_American
3561	Old_Hawaiian_StatePlane_Hawaii_1_FIPS_5101	PROJCS["Old_Hawaiian_StatePlane_Hawaii_1_FIPS_5101",GEOGCS["GCS_Old_Hawaiian",DATU
3562	Old_Hawaiian_StatePlane_Hawaii_2_FIPS_5102	PROJCS["Old_Hawaiian_StatePlane_Hawaii_2_FIPS_5102",GEOGCS["GCS_Old_Hawaiian",DATU
3563	Old_Hawaiian_StatePlane_Hawaii_3_FIPS_5103	PROJCS["Old_Hawaiian_StatePlane_Hawaii_3_FIPS_5103",GEOGCS["GCS_Old_Hawaiian",DATU
3564	Old_Hawaiian_StatePlane_Hawaii_4_FIPS_5104	PROJCS["Old_Hawaiian_StatePlane_Hawaii_4_FIPS_5104",GEOGCS["GCS_Old_Hawaiian",DATU
3565	Old_Hawaiian_StatePlane_Hawaii_5_FIPS_5105	PROJCS["Old_Hawaiian_StatePlane_Hawaii_5_FIPS_5105",GEOGCS["GCS_Old_Hawaiian",DATU
3566	NAD_1983_StatePlane_Utah_Central_FIPS_4302_Feet	PROJCS["NAD_1983_StatePlane_Utah_Central_FIPS_4302_Feet",GEOGCS["GCS_North_America
3567	NAD_1983_StatePlane_Utah_South_FIPS_4303_Feet	PROJCS["NAD_1983_StatePlane_Utah_South_FIPS_4303_Feet",GEOGCS["GCS_North_American
3568	NAD_1983_HARN_StatePlane_Utah_North_FIPS_4301_Feet	PROJCS["NAD_1983_HARN_StatePlane_Utah_North_FIPS_4301_Feet",GEOGCS["GCS_North_A
3569	NAD_1983_HARN_StatePlane_Utah_Central_FIPS_4302_Feet	PROJCS["NAD_1983_HARN_StatePlane_Utah_Central_FIPS_4302_Feet",GEOGCS["GCS_North_
3570	NAD_1983_HARN_StatePlane_Utah_South_FIPS_4303_Feet	PROJCS["NAD_1983_HARN_StatePlane_Utah_South_FIPS_4303_Feet",GEOGCS["GCS_North_A
3571	WGS_1984_North_Pole_LAEA_Bering_Sea	PROJCS["WGS_1984_North_Pole_LAEA_Bering_Sea",GEOGCS["GCS_WGS_1984",DATUM["D_W
3572	WGS_1984_North_Pole_LAEA_Alaska	PROJCS["WGS_1984_North_Pole_LAEA_Alaska",GEOGCS["GCS_WGS_1984",DATUM["D_WGS_
3573	WGS_1984_North_Pole_LAEA_Canada	PROJCS["WGS_1984_North_Pole_LAEA_Canada",GEOGCS["GCS_WGS_1984",DATUM["D_WGS
3574	WGS_1984_North_Pole_LAEA_Atlantic	PROJCS["WGS_1984_North_Pole_LAEA_Atlantic",GEOGCS["GCS_WGS_1984",DATUM["D_WGS
3575	WGS_1984_North_Pole_LAEA_Europe	PROJCS["WGS_1984_North_Pole_LAEA_Europe",GEOGCS["GCS_WGS_1984",DATUM["D_WGS
3576	WGS_1984_North_Pole_LAEA_Russia	PROJCS["WGS_1984_North_Pole_LAEA_Russia",GEOGCS["GCS_WGS_1984",DATUM["D_WGS_
3577	GDA_1994_Australia_Albers	PROJCS["GDA_1994_Australia_Albers",GEOGCS["GCS_GDA_1994",DATUM["D_GDA_1994",SPH
3578	NAD_1983_Yukon_Albers	PROJCS["NAD_1983_Yukon_Albers",GEOGCS["GCS_North_American_1983",DATUM["D_North_A
3579	NAD_1983_CSRS_Yukon_Albers	PROJCS["NAD_1983_CSRS_Yukon_Albers",GEOGCS["GCS_North_American_1983_CSRS",DATU
3580	NAD_1983_Northwest_Territories_Lambert	PROJCS["NAD_1983_Northwest_Territories_Lambert",GEOGCS["GCS_North_American_1983",DA
3581	NAD_1983_CSRS_Northwest_Territories_Lambert	PROJCS["NAD_1983_CSRS_Northwest_Territories_Lambert",GEOGCS["GCS_North_American_19
3582	NAD_1983_NSRS2007_StatePlane_Maryland_FIPS_1900_Ft_US	PROJCS["NAD_1983_NSRS2007_StatePlane_Maryland_FIPS_1900_Ft_US",GEOGCS["GCS_NAD
3583	NAD_1983_NSRS2007_StatePlane_Massachusetts_Island_FIPS_2002	PROJCS["NAD_1983_NSRS2007_StatePlane_Massachusetts_Island_FIPS_2002",GEOGCS["GCS
3584	NAD_1983_NSRS2007_StatePlane_Massachusetts_Isl_FIPS_2002_FtUS	PROJCS["NAD_1983_NSRS2007_StatePlane_Massachusetts_Isl_FIPS_2002_FtUS",GEOGCS["G
3585	NAD_1983_NSRS2007_StatePlane_Massachusetts_Mainland_FIPS_2001	PROJCS["NAD_1983_NSRS2007_StatePlane_Massachusetts_Mainland_FIPS_2001",GEOGCS["G
3586	NAD_1983_NSRS2007_StatePlane_Massachusetts_Mnld_FIPS_2001_FtUS	PROJCS["NAD_1983_NSRS2007_StatePlane_Massachusetts_Mnld_FIPS_2001_FtUS",GEOGCS["
3587	NAD_1983_NSRS2007_StatePlane_Michigan_Central_FIPS_2112	PROJCS["NAD_1983_NSRS2007_StatePlane_Michigan_Central_FIPS_2112",GEOGCS["GCS_NA
3588	NAD_1983_NSRS2007_StatePlane_Michigan_Central_FIPS_2112_Ft_Intl	PROJCS["NAD_1983_NSRS2007_StatePlane_Michigan_Central_FIPS_2112_Ft_Intl",GEOGCS["G
3589	NAD_1983_NSRS2007_StatePlane_Michigan_North_FIPS_2111	PROJCS["NAD_1983_NSRS2007_StatePlane_Michigan_North_FIPS_2111",GEOGCS["GCS_NAD_
3590	NAD_1983_NSRS2007_StatePlane_Michigan_North_FIPS_2111_Ft_Intl	PROJCS["NAD_1983_NSRS2007_StatePlane_Michigan_North_FIPS_2111_Ft_Intl",GEOGCS["GCS
3591	NAD_1983_NSRS2007_Michigan_GeoRef_Meters	PROJCS["NAD_1983_NSRS2007_Michigan_GeoRef_Meters",GEOGCS["GCS_NAD_1983_NSRS2
3592	NAD_1983_NSRS2007_StatePlane_Michigan_South_FIPS_2113	PROJCS["NAD_1983_NSRS2007_StatePlane_Michigan_South_FIPS_2113",GEOGCS["GCS_NAD_
3593	NAD_1983_NSRS2007_StatePlane_Michigan_South_FIPS_2113_Ft_Intl	PROJCS["NAD_1983_NSRS2007_StatePlane_Michigan_South_FIPS_2113_Ft_Intl",GEOGCS["GC
3594	NAD_1983_NSRS2007_StatePlane_Minnesota_Central_FIPS_2202	PROJCS["NAD_1983_NSRS2007_StatePlane_Minnesota_Central_FIPS_2202",GEOGCS["GCS_N

Copyright © 1995-2016 Esri. All rights reserved.

3595	NAD_1983_NSRS2007_StatePlane_Minnesota_North_FIPS_2201	PROJCS["NAD_1983_NSRS2007_StatePlane_Minnesota_North_FIPS_2201",GEOGCS["GCS_NAD
3596	NAD_1983_NSRS2007_StatePlane_Minnesota_South_FIPS_2203	PROJCS["NAD_1983_NSRS2007_StatePlane_Minnesota_South_FIPS_2203",GEOGCS["GCS_NA
3597	NAD_1983_NSRS2007_StatePlane_Mississippi_East_FIPS_2301	PROJCS["NAD_1983_NSRS2007_StatePlane_Mississippi_East_FIPS_2301",GEOGCS["GCS_NAD
3598	NAD_1983_NSRS2007_StatePlane_Mississippi_East_FIPS_2301_Ft_US	PROJCS["NAD_1983_NSRS2007_StatePlane_Mississippi_East_FIPS_2301_Ft_US",GEOGCS["GC
3599	NAD_1983_NSRS2007_StatePlane_Mississippi_West_FIPS_2302	PROJCS["NAD_1983_NSRS2007_StatePlane_Mississippi_West_FIPS_2302",GEOGCS["GCS_NAD
3600	NAD_1983_NSRS2007_StatePlane_Mississippi_West_FIPS_2302_Ft_US	PROJCS["NAD_1983_NSRS2007_StatePlane_Mississippi_West_FIPS_2302_Ft_US",GEOGCS["G
3601	NAD_1983_NSRS2007_StatePlane_Missouri_Central_FIPS_2402	PROJCS["NAD_1983_NSRS2007_StatePlane_Missouri_Central_FIPS_2402",GEOGCS["GCS_NAD
3602	NAD_1983_NSRS2007_StatePlane_Missouri_East_FIPS_2401	PROJCS["NAD_1983_NSRS2007_StatePlane_Missouri_East_FIPS_2401",GEOGCS["GCS_NAD_1
3603	NAD_1983_NSRS2007_StatePlane_Missouri_West_FIPS_2403	PROJCS["NAD_1983_NSRS2007_StatePlane_Missouri_West_FIPS_2403",GEOGCS["GCS_NAD_
3604	NAD_1983_NSRS2007_StatePlane_Montana_FIPS_2500	PROJCS["NAD_1983_NSRS2007_StatePlane_Montana_FIPS_2500",GEOGCS["GCS_NAD_1983_
3605	NAD_1983_NSRS2007_StatePlane_Montana_FIPS_2500_Ft_Intl	PROJCS["NAD_1983_NSRS2007_StatePlane_Montana_FIPS_2500_Ft_Intl",GEOGCS["GCS_NAD
3606	NAD_1983_NSRS2007_StatePlane_Nebraska_FIPS_2600	PROJCS["NAD_1983_NSRS2007_StatePlane_Nebraska_FIPS_2600",GEOGCS["GCS_NAD_1983_
3607	NAD_1983_NSRS2007_StatePlane_Nevada_Central_FIPS_2702	PROJCS["NAD_1983_NSRS2007_StatePlane_Nevada_Central_FIPS_2702",GEOGCS["GCS_NAD
3608	NAD_1983_NSRS2007_StatePlane_Nevada_Central_FIPS_2702_Ft_US	PROJCS["NAD_1983_NSRS2007_StatePlane_Nevada_Central_FIPS_2702_Ft_US",GEOGCS["GC
3609	NAD_1983_NSRS2007_StatePlane_Nevada_East_FIPS_2701	PROJCS["NAD_1983_NSRS2007_StatePlane_Nevada_East_FIPS_2701",GEOGCS["GCS_NAD_1
3610	NAD_1983_NSRS2007_StatePlane_Nevada_East_FIPS_2701_Ft_US	PROJCS["NAD_1983_NSRS2007_StatePlane_Nevada_East_FIPS_2701_Ft_US",GEOGCS["GCS_
3611	NAD_1983_NSRS2007_StatePlane_Nevada_West_FIPS_2703	PROJCS["NAD_1983_NSRS2007_StatePlane_Nevada_West_FIPS_2703",GEOGCS["GCS_NAD_1
3612	NAD_1983_NSRS2007_StatePlane_Nevada_West_FIPS_2703_Ft_US	PROJCS["NAD_1983_NSRS2007_StatePlane_Nevada_West_FIPS_2703_Ft_US",GEOGCS["GCS_
3613	NAD_1983_NSRS2007_StatePlane_New_Hampshire_FIPS_2800	PROJCS["NAD_1983_NSRS2007_StatePlane_New_Hampshire_FIPS_2800",GEOGCS["GCS_NAD
3614	NAD_1983_NSRS2007_StatePlane_New_Hampshire_FIPS_2800_Ft_US	PROJCS["NAD_1983_NSRS2007_StatePlane_New_Hampshire_FIPS_2800_Ft_US",GEOGCS["GC
3615	NAD_1983_NSRS2007_StatePlane_New_Jersey_FIPS_2900	PROJCS["NAD_1983_NSRS2007_StatePlane_New_Jersey_FIPS_2900",GEOGCS["GCS_NAD_19
3616	NAD_1983_NSRS2007_StatePlane_New_Jersey_FIPS_2900_Ft_US	PROJCS["NAD_1983_NSRS2007_StatePlane_New_Jersey_FIPS_2900_Ft_US",GEOGCS["GCS_N
3617	NAD_1983_NSRS2007_StatePlane_New_Mexico_Central_FIPS_3002	PROJCS["NAD_1983_NSRS2007_StatePlane_New_Mexico_Central_FIPS_3002",GEOGCS["GCS_
3618	NAD_1983_NSRS2007_StatePlane_New_Mexico_Central_FIPS_3002_Ft_US	PROJCS["NAD_1983_NSRS2007_StatePlane_New_Mexico_Central_FIPS_3002_Ft_US",GEOGCS
3619	NAD_1983_NSRS2007_StatePlane_New_Mexico_East_FIPS_3001	PROJCS["NAD_1983_NSRS2007_StatePlane_New_Mexico_East_FIPS_3001",GEOGCS["GCS_NA
3620	NAD_1983_NSRS2007_StatePlane_New_Mexico_East_FIPS_3001_Ft_US	PROJCS["NAD_1983_NSRS2007_StatePlane_New_Mexico_East_FIPS_3001_Ft_US",GEOGCS["G
3621	NAD_1983_NSRS2007_StatePlane_New_Mexico_West_FIPS_3003	PROJCS["NAD_1983_NSRS2007_StatePlane_New_Mexico_West_FIPS_3003",GEOGCS["GCS_N
3622	NAD_1983_NSRS2007_StatePlane_New_Mexico_West_FIPS_3003_Ft_US	PROJCS["NAD_1983_NSRS2007_StatePlane_New_Mexico_West_FIPS_3003_Ft_US",GEOGCS["G
3623	NAD_1983_NSRS2007_StatePlane_New_York_Central_FIPS_3102	PROJCS["NAD_1983_NSRS2007_StatePlane_New_York_Central_FIPS_3102",GEOGCS["GCS_NA
3624	NAD_1983_NSRS2007_StatePlane_New_York_Central_FIPS_3102_Ft_US	PROJCS["NAD_1983_NSRS2007_StatePlane_New_York_Central_FIPS_3102_Ft_US",GEOGCS["G
3625	NAD_1983_NSRS2007_StatePlane_New_York_East_FIPS_3101	PROJCS["NAD_1983_NSRS2007_StatePlane_New_York_East_FIPS_3101",GEOGCS["GCS_NAD
3626	NAD_1983_NSRS2007_StatePlane_New_York_East_FIPS_3101_Ft_US	PROJCS["NAD_1983_NSRS2007_StatePlane_New_York_East_FIPS_3101_Ft_US",GEOGCS["GC
3627	NAD_1983_NSRS2007_StatePlane_New_York_Long_Island_FIPS_3104	PROJCS["NAD_1983_NSRS2007_StatePlane_New_York_Long_Island_FIPS_3104",GEOGCS["GC
3628	NAD_1983_NSRS2007_StatePlane_New_York_Long_Isl_FIPS_3104_Ft_US	PROJCS["NAD_1983_NSRS2007_StatePlane_New_York_Long_Isl_FIPS_3104_Ft_US",GEOGCS["
3629	NAD_1983_NSRS2007_StatePlane_New_York_West_FIPS_3103	PROJCS["NAD_1983_NSRS2007_StatePlane_New_York_West_FIPS_3103",GEOGCS["GCS_NAD
3630	NAD_1983_NSRS2007_StatePlane_New_York_West_FIPS_3103_Ft_US	PROJCS["NAD_1983_NSRS2007_StatePlane_New_York_West_FIPS_3103_Ft_US",GEOGCS["GC
3631	NAD_1983_NSRS2007_StatePlane_North_Carolina_FIPS_3200	PROJCS["NAD_1983_NSRS2007_StatePlane_North_Carolina_FIPS_3200",GEOGCS["GCS_NAD_
3632	NAD_1983_NSRS2007_StatePlane_North_Carolina_FIPS_3200_Ft_US	PROJCS["NAD_1983_NSRS2007_StatePlane_North_Carolina_FIPS_3200_Ft_US",GEOGCS["GCS
3633	NAD_1983_NSRS2007_StatePlane_North_Dakota_North_FIPS_3301	PROJCS["NAD_1983_NSRS2007_StatePlane_North_Dakota_North_FIPS_3301",GEOGCS["GCS_
3634	NAD_1983_NSRS2007_StatePlane_North_Dakota_North_FIPS_3301_FtI	PROJCS["NAD_1983_NSRS2007_StatePlane_North_Dakota_North_FIPS_3301_FtI",GEOGCS["G
3635	NAD_1983_NSRS2007_StatePlane_North_Dakota_South_FIPS_3302	PROJCS["NAD_1983_NSRS2007_StatePlane_North_Dakota_South_FIPS_3302",GEOGCS["GCS_
3636	NAD_1983_NSRS2007_StatePlane_North_Dakota_South_FIPS_3302_FtI	PROJCS["NAD_1983_NSRS2007_StatePlane_North_Dakota_South_FIPS_3302_FtI",GEOGCS["G
3637	NAD_1983_NSRS2007_StatePlane_Ohio_North_FIPS_3401	PROJCS["NAD_1983_NSRS2007_StatePlane_Ohio_North_FIPS_3401",GEOGCS["GCS_NAD_198
3638	NAD_1983_NSRS2007_StatePlane_Ohio_South_FIPS_3402	PROJCS["NAD_1983_NSRS2007_StatePlane_Ohio_South_FIPS_3402",GEOGCS["GCS_NAD_198
3639	NAD_1983_NSRS2007_StatePlane_Oklahoma_North_FIPS_3501	PROJCS["NAD_1983_NSRS2007_StatePlane_Oklahoma_North_FIPS_3501",GEOGCS["GCS_NAD
3640	NAD_1983_NSRS2007_StatePlane_Oklahoma_North_FIPS_3501_Ft_US	PROJCS["NAD_1983_NSRS2007_StatePlane_Oklahoma_North_FIPS_3501_Ft_US",GEOGCS["G
3641	NAD_1983_NSRS2007_StatePlane_Oklahoma_South_FIPS_3502	PROJCS["NAD_1983_NSRS2007_StatePlane_Oklahoma_South_FIPS_3502",GEOGCS["GCS_NA
3642	NAD_1983_NSRS2007_StatePlane_Oklahoma_South_FIPS_3502_Ft_US	PROJCS["NAD_1983_NSRS2007_StatePlane_Oklahoma_South_FIPS_3502_Ft_US",GEOGCS["G
3643	NAD_1983_NSRS2007_Oregon_Statewide_Lambert	PROJCS["NAD_1983_NSRS2007_Oregon_Statewide_Lambert",GEOGCS["GCS_NAD_1983_NSRS
3644	NAD_1983_NSRS2007_Oregon_Statewide_Lambert_Ft_Intl	PROJCS["NAD_1983_NSRS2007_Oregon_Statewide_Lambert_Ft_Intl",GEOGCS["GCS_NAD_198
3645	NAD_1983_NSRS2007_StatePlane_Oregon_North_FIPS_3601	PROJCS["NAD_1983_NSRS2007_StatePlane_Oregon_North_FIPS_3601",GEOGCS["GCS_NAD_1
3646	NAD_1983_NSRS2007_StatePlane_Oregon_North_FIPS_3601_Ft_Intl	PROJCS["NAD_1983_NSRS2007_StatePlane_Oregon_North_FIPS_3601_Ft_Intl",GEOGCS["GCS_
3647	NAD_1983_NSRS2007_StatePlane_Oregon_South_FIPS_3602	PROJCS["NAD_1983_NSRS2007_StatePlane_Oregon_South_FIPS_3602",GEOGCS["GCS_NAD_
3648	NAD_1983_NSRS2007_StatePlane_Oregon_South_FIPS_3602_Ft_Intl	PROJCS["NAD_1983_NSRS2007_StatePlane_Oregon_South_FIPS_3602_Ft_Intl",GEOGCS["GCS_

Copyright © 1995-2016 Esri. All rights reserved.

3649	NAD_1983_NSRS2007_StatePlane_Pennsylvania_North_FIPS_3701	PROJCS["NAD_1983_NSRS2007_StatePlane_Pennsylvania_North_FIPS_3701",GEOGCS["GCS_N
3650	NAD_1983_NSRS2007_StatePlane_Pennsylvania_North_FIPS_3701_Ft_US	PROJCS["NAD_1983_NSRS2007_StatePlane_Pennsylvania_North_FIPS_3701_Ft_US",GEOGCS[
3651	NAD_1983_NSRS2007_StatePlane_Pennsylvania_South_FIPS_3702	PROJCS["NAD_1983_NSRS2007_StatePlane_Pennsylvania_South_FIPS_3702",GEOGCS["GCS_
3652	NAD_1983_NSRS2007_StatePlane_Pennsylvania_South_FIPS_3702_Ft_US	PROJCS["NAD_1983_NSRS2007_StatePlane_Pennsylvania_South_FIPS_3702_Ft_US",GEOGCS[
3653	NAD_1983_NSRS2007_StatePlane_Rhode_Island_FIPS_3800	PROJCS["NAD_1983_NSRS2007_StatePlane_Rhode_Island_FIPS_3800",GEOGCS["GCS_NAD_1
3654	NAD_1983_NSRS2007_StatePlane_Rhode_Island_FIPS_3800_Ft_US	PROJCS["NAD_1983_NSRS2007_StatePlane_Rhode_Island_FIPS_3800_Ft_US",GEOGCS["GCS_
3655	NAD_1983_NSRS2007_StatePlane_South_Carolina_FIPS_3900	PROJCS["NAD_1983_NSRS2007_StatePlane_South_Carolina_FIPS_3900",GEOGCS["GCS_NAD_
3656	NAD_1983_NSRS2007_StatePlane_South_Carolina_FIPS_3900_Ft_Intl	PROJCS["NAD_1983_NSRS2007_StatePlane_South_Carolina_FIPS_3900_Ft_Intl",GEOGCS["GCS
3657	NAD_1983_NSRS2007_StatePlane_South_Dakota_North_FIPS_4001	PROJCS["NAD_1983_NSRS2007_StatePlane_South_Dakota_North_FIPS_4001",GEOGCS["GCS_
3658	NAD_1983_NSRS2007_StatePlane_South_Dakota_North_FIPS_4001_Ft_US	PROJCS["NAD_1983_NSRS2007_StatePlane_South_Dakota_North_FIPS_4001_Ft_US",GEOGCS
3659	NAD_1983_NSRS2007_StatePlane_South_Dakota_South_FIPS_4002	PROJCS["NAD_1983_NSRS2007_StatePlane_South_Dakota_South_FIPS_4002",GEOGCS["GCS_
3660	NAD_1983_NSRS2007_StatePlane_South_Dakota_South_FIPS_4002_Ft_US	PROJCS["NAD_1983_NSRS2007_StatePlane_South_Dakota_South_FIPS_4002_Ft_US",GEOGCS
3661	NAD_1983_NSRS2007_StatePlane_Tennessee_FIPS_4100	PROJCS["NAD_1983_NSRS2007_StatePlane_Tennessee_FIPS_4100",GEOGCS["GCS_NAD_198
3662	NAD_1983_NSRS2007_StatePlane_Tennessee_FIPS_4100_Ft_US	PROJCS["NAD_1983_NSRS2007_StatePlane_Tennessee_FIPS_4100_Ft_US",GEOGCS["GCS_NA
3663	NAD_1983_NSRS2007_StatePlane_Texas_Central_FIPS_4203	PROJCS["NAD_1983_NSRS2007_StatePlane_Texas_Central_FIPS_4203",GEOGCS["GCS_NAD_
3664	NAD_1983_NSRS2007_StatePlane_Texas_Central_FIPS_4203_Ft_US	PROJCS["NAD_1983_NSRS2007_StatePlane_Texas_Central_FIPS_4203_Ft_US",GEOGCS["GCS
3665	NAD_1983_NSRS2007_Texas_Centric_Mapping_System_Albers	PROJCS["NAD_1983_NSRS2007_Texas_Centric_Mapping_System_Albers",GEOGCS["GCS_NAD_
3666	NAD_1983_NSRS2007_Texas_Centric_Mapping_System_Lambert	PROJCS["NAD_1983_NSRS2007_Texas_Centric_Mapping_System_Lambert",GEOGCS["GCS_NA
3667	NAD_1983_NSRS2007_StatePlane_Texas_North_FIPS_4201	PROJCS["NAD_1983_NSRS2007_StatePlane_Texas_North_FIPS_4201",GEOGCS["GCS_NAD_19
3668	NAD_1983_NSRS2007_StatePlane_Texas_North_FIPS_4201_Ft_US	PROJCS["NAD_1983_NSRS2007_StatePlane_Texas_North_FIPS_4201_Ft_US",GEOGCS["GCS_N
3669	NAD_1983_NSRS2007_StatePlane_Texas_North_Central_FIPS_4202	PROJCS["NAD_1983_NSRS2007_StatePlane_Texas_North_Central_FIPS_4202",GEOGCS["GCS_
3670	NAD_1983_NSRS2007_StatePlane_Texas_North_Central_FIPS_4202_FtUS	PROJCS["NAD_1983_NSRS2007_StatePlane_Texas_North_Central_FIPS_4202_FtUS",GEOGCS["
3671	NAD_1983_NSRS2007_StatePlane_Texas_South_FIPS_4205	PROJCS["NAD_1983_NSRS2007_StatePlane_Texas_South_FIPS_4205",GEOGCS["GCS_NAD_19
3672	NAD_1983_NSRS2007_StatePlane_Texas_South_FIPS_4205_Ft_US	PROJCS["NAD_1983_NSRS2007_StatePlane_Texas_South_FIPS_4205_Ft_US",GEOGCS["GCS_
3673	NAD_1983_NSRS2007_StatePlane_Texas_South_Central_FIPS_4204	PROJCS["NAD_1983_NSRS2007_StatePlane_Texas_South_Central_FIPS_4204",GEOGCS["GCS_
3674	NAD_1983_NSRS2007_StatePlane_Texas_South_Central_FIPS_4204_FtUS	PROJCS["NAD_1983_NSRS2007_StatePlane_Texas_South_Central_FIPS_4204_FtUS",GEOGCS[
3675	NAD_1983_NSRS2007_StatePlane_Utah_Central_FIPS_4302	PROJCS["NAD_1983_NSRS2007_StatePlane_Utah_Central_FIPS_4302",GEOGCS["GCS_NAD_19
3676	NAD_1983_NSRS2007_StatePlane_Utah_Central_FIPS_4302_Ft_Intl	PROJCS["NAD_1983_NSRS2007_StatePlane_Utah_Central_FIPS_4302_Ft_Intl",GEOGCS["GCS_
3677	NAD_1983_NSRS2007_StatePlane_Utah_Central_FIPS_4302_Ft_US	PROJCS["NAD_1983_NSRS2007_StatePlane_Utah_Central_FIPS_4302_Ft_US",GEOGCS["GCS_
3678	NAD_1983_NSRS2007_StatePlane_Utah_North_FIPS_4301	PROJCS["NAD_1983_NSRS2007_StatePlane_Utah_North_FIPS_4301",GEOGCS["GCS_NAD_198
3679	NAD_1983_NSRS2007_StatePlane_Utah_North_FIPS_4301_Ft_Intl	PROJCS["NAD_1983_NSRS2007_StatePlane_Utah_North_FIPS_4301_Ft_Intl",GEOGCS["GCS_NA
3680	NAD_1983_NSRS2007_StatePlane_Utah_North_FIPS_4301_Ft_US	PROJCS["NAD_1983_NSRS2007_StatePlane_Utah_North_FIPS_4301_Ft_US",GEOGCS["GCS_NA
3681	NAD_1983_NSRS2007_StatePlane_Utah_South_FIPS_4303	PROJCS["NAD_1983_NSRS2007_StatePlane_Utah_South_FIPS_4303",GEOGCS["GCS_NAD_198
3682	NAD_1983_NSRS2007_StatePlane_Utah_South_FIPS_4303_Ft_Intl	PROJCS["NAD_1983_NSRS2007_StatePlane_Utah_South_FIPS_4303_Ft_Intl",GEOGCS["GCS_N
3683	NAD_1983_NSRS2007_StatePlane_Utah_South_FIPS_4303_Ft_US	PROJCS["NAD_1983_NSRS2007_StatePlane_Utah_South_FIPS_4303_Ft_US",GEOGCS["GCS_N
3684	NAD_1983_NSRS2007_StatePlane_Vermont_FIPS_4400	PROJCS["NAD_1983_NSRS2007_StatePlane_Vermont_FIPS_4400",GEOGCS["GCS_NAD_1983_
3685	NAD_1983_NSRS2007_StatePlane_Virginia_North_FIPS_4501	PROJCS["NAD_1983_NSRS2007_StatePlane_Virginia_North_FIPS_4501",GEOGCS["GCS_NAD_1
3686	NAD_1983_NSRS2007_StatePlane_Virginia_North_FIPS_4501_Ft_US	PROJCS["NAD_1983_NSRS2007_StatePlane_Virginia_North_FIPS_4501_Ft_US",GEOGCS["GCS_
3687	NAD_1983_NSRS2007_StatePlane_Virginia_South_FIPS_4502	PROJCS["NAD_1983_NSRS2007_StatePlane_Virginia_South_FIPS_4502",GEOGCS["GCS_NAD_
3688	NAD_1983_NSRS2007_StatePlane_Virginia_South_FIPS_4502_Ft_US	PROJCS["NAD_1983_NSRS2007_StatePlane_Virginia_South_FIPS_4502_Ft_US",GEOGCS["GCS
3689	NAD_1983_NSRS2007_StatePlane_Washington_North_FIPS_4601	PROJCS["NAD_1983_NSRS2007_StatePlane_Washington_North_FIPS_4601",GEOGCS["GCS_NA
3690	NAD_1983_NSRS2007_StatePlane_Washington_North_FIPS_4601_Ft_US	PROJCS["NAD_1983_NSRS2007_StatePlane_Washington_North_FIPS_4601_Ft_US",GEOGCS["G
3691	NAD_1983_NSRS2007_StatePlane_Washington_South_FIPS_4602	PROJCS["NAD_1983_NSRS2007_StatePlane_Washington_South_FIPS_4602",GEOGCS["GCS_NA
3692	NAD_1983_NSRS2007_StatePlane_Washington_South_FIPS_4602_Ft_US	PROJCS["NAD_1983_NSRS2007_StatePlane_Washington_South_FIPS_4602_Ft_US",GEOGCS["G
3693	NAD_1983_NSRS2007_StatePlane_West_Virginia_North_FIPS_4701	PROJCS["NAD_1983_NSRS2007_StatePlane_West_Virginia_North_FIPS_4701",GEOGCS["GCS_
3694	NAD_1983_NSRS2007_StatePlane_West_Virginia_South_FIPS_4702	PROJCS["NAD_1983_NSRS2007_StatePlane_West_Virginia_South_FIPS_4702",GEOGCS["GCS_
3695	NAD_1983_NSRS2007_StatePlane_Wisconsin_Central_FIPS_4802	PROJCS["NAD_1983_NSRS2007_StatePlane_Wisconsin_Central_FIPS_4802",GEOGCS["GCS_NA
3696	NAD_1983_NSRS2007_StatePlane_Wisconsin_Central_FIPS_4802_Ft_US	PROJCS["NAD_1983_NSRS2007_StatePlane_Wisconsin_Central_FIPS_4802_Ft_US",GEOGCS["G
3697	NAD_1983_NSRS2007_StatePlane_Wisconsin_North_FIPS_4801	PROJCS["NAD_1983_NSRS2007_StatePlane_Wisconsin_North_FIPS_4801",GEOGCS["GCS_NAD
3698	NAD_1983_NSRS2007_StatePlane_Wisconsin_North_FIPS_4801_Ft_US	PROJCS["NAD_1983_NSRS2007_StatePlane_Wisconsin_North_FIPS_4801_Ft_US",GEOGCS["GC
3699	NAD_1983_NSRS2007_StatePlane_Wisconsin_South_FIPS_4803	PROJCS["NAD_1983_NSRS2007_StatePlane_Wisconsin_South_FIPS_4803",GEOGCS["GCS_NAD
3700	NAD_1983_NSRS2007_StatePlane_Wisconsin_South_FIPS_4803_Ft_US	PROJCS["NAD_1983_NSRS2007_StatePlane_Wisconsin_South_FIPS_4803_Ft_US",GEOGCS["GC
3701	NAD_1983_NSRS2007_Wisconsin_TM	PROJCS["NAD_1983_NSRS2007_Wisconsin_TM",GEOGCS["GCS_NAD_1983_NSRS2007",DATU
3702	NAD_1983_NSRS2007_StatePlane_Wyoming_East_FIPS_4901	PROJCS["NAD_1983_NSRS2007_StatePlane_Wyoming_East_FIPS_4901",GEOGCS["GCS_NAD_

Copyright © 1995-2016 Esri. All rights reserved.

3703	NAD_1983_NSRS2007_StatePlane_Wyoming_East_Central_FIPS_4902	PROJCS["NAD_1983_NSRS2007_StatePlane_Wyoming_East_Central_FIPS_4902",GEOGCS["GC
3704	NAD_1983_NSRS2007_StatePlane_Wyoming_West_Central_FIPS_4903	PROJCS["NAD_1983_NSRS2007_StatePlane_Wyoming_West_Central_FIPS_4903",GEOGCS["GC
3705	NAD_1983_NSRS2007_StatePlane_Wyoming_West_FIPS_4904	PROJCS["NAD_1983_NSRS2007_StatePlane_Wyoming_West_FIPS_4904",GEOGCS["GCS_NAD_
3706	NAD_1983_NSRS2007_UTM_Zone_59N	PROJCS["NAD_1983_NSRS2007_UTM_Zone_59N",GEOGCS["GCS_NAD_1983_NSRS2007",DAT
3707	NAD_1983_NSRS2007_UTM_Zone_60N	PROJCS["NAD_1983_NSRS2007_UTM_Zone_60N",GEOGCS["GCS_NAD_1983_NSRS2007",DAT
3708	NAD_1983_NSRS2007_UTM_Zone_1N	PROJCS["NAD_1983_NSRS2007_UTM_Zone_1N",GEOGCS["GCS_NAD_1983_NSRS2007",DATU
3709	NAD_1983_NSRS2007_UTM_Zone_2N	PROJCS["NAD_1983_NSRS2007_UTM_Zone_2N",GEOGCS["GCS_NAD_1983_NSRS2007",DATU
3710	NAD_1983_NSRS2007_UTM_Zone_3N	PROJCS["NAD_1983_NSRS2007_UTM_Zone_3N",GEOGCS["GCS_NAD_1983_NSRS2007",DATU
3711	NAD_1983_NSRS2007_UTM_Zone_4N	PROJCS["NAD_1983_NSRS2007_UTM_Zone_4N",GEOGCS["GCS_NAD_1983_NSRS2007",DATU
3712	NAD_1983_NSRS2007_UTM_Zone_5N	PROJCS["NAD_1983_NSRS2007_UTM_Zone_5N",GEOGCS["GCS_NAD_1983_NSRS2007",DATU
3713	NAD_1983_NSRS2007_UTM_Zone_6N	PROJCS["NAD_1983_NSRS2007_UTM_Zone_6N",GEOGCS["GCS_NAD_1983_NSRS2007",DATU
3714	NAD_1983_NSRS2007_UTM_Zone_7N	PROJCS["NAD_1983_NSRS2007_UTM_Zone_7N",GEOGCS["GCS_NAD_1983_NSRS2007",DATU
3715	NAD_1983_NSRS2007_UTM_Zone_8N	PROJCS["NAD_1983_NSRS2007_UTM_Zone_8N",GEOGCS["GCS_NAD_1983_NSRS2007",DATU
3716	NAD_1983_NSRS2007_UTM_Zone_9N	PROJCS["NAD_1983_NSRS2007_UTM_Zone_9N",GEOGCS["GCS_NAD_1983_NSRS2007",DATU
3717	NAD_1983_NSRS2007_UTM_Zone_10N	PROJCS["NAD_1983_NSRS2007_UTM_Zone_10N",GEOGCS["GCS_NAD_1983_NSRS2007",DAT
3718	NAD_1983_NSRS2007_UTM_Zone_11N	PROJCS["NAD_1983_NSRS2007_UTM_Zone_11N",GEOGCS["GCS_NAD_1983_NSRS2007",DAT
3719	NAD_1983_NSRS2007_UTM_Zone_12N	PROJCS["NAD_1983_NSRS2007_UTM_Zone_12N",GEOGCS["GCS_NAD_1983_NSRS2007",DAT
3720	NAD_1983_NSRS2007_UTM_Zone_13N	PROJCS["NAD_1983_NSRS2007_UTM_Zone_13N",GEOGCS["GCS_NAD_1983_NSRS2007",DAT
3721	NAD_1983_NSRS2007_UTM_Zone_14N	PROJCS["NAD_1983_NSRS2007_UTM_Zone_14N",GEOGCS["GCS_NAD_1983_NSRS2007",DAT
3722	NAD_1983_NSRS2007_UTM_Zone_15N	PROJCS["NAD_1983_NSRS2007_UTM_Zone_15N",GEOGCS["GCS_NAD_1983_NSRS2007",DAT
3723	NAD_1983_NSRS2007_UTM_Zone_16N	PROJCS["NAD_1983_NSRS2007_UTM_Zone_16N",GEOGCS["GCS_NAD_1983_NSRS2007",DAT
3724	NAD_1983_NSRS2007_UTM_Zone_17N	PROJCS["NAD_1983_NSRS2007_UTM_Zone_17N",GEOGCS["GCS_NAD_1983_NSRS2007",DAT
3725	NAD_1983_NSRS2007_UTM_Zone_18N	PROJCS["NAD_1983_NSRS2007_UTM_Zone_18N",GEOGCS["GCS_NAD_1983_NSRS2007",DAT
3726	NAD_1983_NSRS2007_UTM_Zone_19N	PROJCS["NAD_1983_NSRS2007_UTM_Zone_19N",GEOGCS["GCS_NAD_1983_NSRS2007",DAT
3727	Reunion_1947_TM_Reunion	PROJCS["Reunion_1947_TM_Reunion",GEOGCS["GCS_Reunion_1947",DATUM["D_Reunion_194
3728	NAD_1983_NSRS2007_StatePlane_Ohio_North_FIPS_3401_Ft_US	PROJCS["NAD_1983_NSRS2007_StatePlane_Ohio_North_FIPS_3401_Ft_US",GEOGCS["GCS_N
3729	NAD_1983_NSRS2007_StatePlane_Ohio_South_FIPS_3402_Ft_US	PROJCS["NAD_1983_NSRS2007_StatePlane_Ohio_South_FIPS_3402_Ft_US",GEOGCS["GCS_N
3730	NAD_1983_NSRS2007_StatePlane_Wyoming_East_FIPS_4901_Ft_US	PROJCS["NAD_1983_NSRS2007_StatePlane_Wyoming_East_FIPS_4901_Ft_US",GEOGCS["GCS
3731	NAD_1983_NSRS2007_StatePlane_Wyoming_E_Central_FIPS_4902_Ft_US	PROJCS["NAD_1983_NSRS2007_StatePlane_Wyoming_E_Central_FIPS_4902_Ft_US",GEOGCS[
3732	NAD_1983_NSRS2007_StatePlane_Wyoming_W_Central_FIPS_4903_Ft_US	PROJCS["NAD_1983_NSRS2007_StatePlane_Wyoming_W_Central_FIPS_4903_Ft_US",GEOGCS
3733	NAD_1983_NSRS2007_StatePlane_Wyoming_West_FIPS_4904_Ft_US	PROJCS["NAD_1983_NSRS2007_StatePlane_Wyoming_West_FIPS_4904_Ft_US",GEOGCS["GCS
3734	NAD_1983_StatePlane_Ohio_North_FIPS_3401_Feet	PROJCS["NAD_1983_StatePlane_Ohio_North_FIPS_3401_Feet",GEOGCS["GCS_North_American
3735	NAD_1983_StatePlane_Ohio_South_FIPS_3402_Feet	PROJCS["NAD_1983_StatePlane_Ohio_South_FIPS_3402_Feet",GEOGCS["GCS_North_American
3736	NAD_1983_StatePlane_Wyoming_East_FIPS_4901_Feet	PROJCS["NAD_1983_StatePlane_Wyoming_East_FIPS_4901_Feet",GEOGCS["GCS_North_Ameri
3737	NAD_1983_StatePlane_Wyoming_East_Central_FIPS_4902_Feet	PROJCS["NAD_1983_StatePlane_Wyoming_East_Central_FIPS_4902_Feet",GEOGCS["GCS_Nort
3738	NAD_1983_StatePlane_Wyoming_West_Central_FIPS_4903_Feet	PROJCS["NAD_1983_StatePlane_Wyoming_West_Central_FIPS_4903_Feet",GEOGCS["GCS_Nor
3739	NAD_1983_StatePlane_Wyoming_West_FIPS_4904_Feet	PROJCS["NAD_1983_StatePlane_Wyoming_West_FIPS_4904_Feet",GEOGCS["GCS_North_Amer
3740	NAD_1983_HARN_UTM_Zone_10N	PROJCS["NAD_1983_HARN_UTM_Zone_10N",GEOGCS["GCS_North_American_1983_HARN",DA
3741	NAD_1983_HARN_UTM_Zone_11N	PROJCS["NAD_1983_HARN_UTM_Zone_11N",GEOGCS["GCS_North_American_1983_HARN",DA
3742	NAD_1983_HARN_UTM_Zone_12N	PROJCS["NAD_1983_HARN_UTM_Zone_12N",GEOGCS["GCS_North_American_1983_HARN",DA
3743	NAD_1983_HARN_UTM_Zone_13N	PROJCS["NAD_1983_HARN_UTM_Zone_13N",GEOGCS["GCS_North_American_1983_HARN",DA
3744	NAD_1983_HARN_UTM_Zone_14N	PROJCS["NAD_1983_HARN_UTM_Zone_14N",GEOGCS["GCS_North_American_1983_HARN",DA
3745	NAD_1983_HARN_UTM_Zone_15N	PROJCS["NAD_1983_HARN_UTM_Zone_15N",GEOGCS["GCS_North_American_1983_HARN",DA
3746	NAD_1983_HARN_UTM_Zone_16N	PROJCS["NAD_1983_HARN_UTM_Zone_16N",GEOGCS["GCS_North_American_1983_HARN",DA
3747	NAD_1983_HARN_UTM_Zone_17N	PROJCS["NAD_1983_HARN_UTM_Zone_17N",GEOGCS["GCS_North_American_1983_HARN",DA
3748	NAD_1983_HARN_UTM_Zone_18N	PROJCS["NAD_1983_HARN_UTM_Zone_18N",GEOGCS["GCS_North_American_1983_HARN",DA
3749	NAD_1983_HARN_UTM_Zone_19N	PROJCS["NAD_1983_HARN_UTM_Zone_19N",GEOGCS["GCS_North_American_1983_HARN",DA
3750	NAD_1983_HARN_UTM_Zone_4N	PROJCS["NAD_1983_HARN_UTM_Zone_4N",GEOGCS["GCS_North_American_1983_HARN",DAT
3751	NAD_1983_HARN_UTM_Zone_5N	PROJCS["NAD_1983_HARN_UTM_Zone_5N",GEOGCS["GCS_North_American_1983_HARN",DAT
3753	NAD_1983_HARN_StatePlane_Ohio_North_FIPS_3401_Feet	PROJCS["NAD_1983_HARN_StatePlane_Ohio_North_FIPS_3401_Feet",GEOGCS["GCS_North_A
3754	NAD_1983_HARN_StatePlane_Ohio_South_FIPS_3402_Feet	PROJCS["NAD_1983_HARN_StatePlane_Ohio_South_FIPS_3402_Feet",GEOGCS["GCS_North_A
3755	NAD_1983_HARN_StatePlane_Wyoming_East_FIPS_4901_Feet	PROJCS["NAD_1983_HARN_StatePlane_Wyoming_East_FIPS_4901_Feet",GEOGCS["GCS_North
3756	NAD_1983_HARN_StatePlane_Wyoming_East_Central_FIPS_4902_Feet	PROJCS["NAD_1983_HARN_StatePlane_Wyoming_East_Central_FIPS_4902_Feet",GEOGCS["GC
3757	NAD_1983_HARN_StatePlane_Wyoming_West_Central_FIPS_4903_Feet	PROJCS["NAD_1983_HARN_StatePlane_Wyoming_West_Central_FIPS_4903_Feet",GEOGCS["G

Copyright © 1995-2016 Esri. All rights reserved.

3758	NAD_1983_HARN_StatePlane_Wyoming_West_FIPS_4904_Feet	PROJCS["NAD_1983_HARN_StatePlane_Wyoming_West_FIPS_4904_Feet",GEOGCS["GCS_Nort
3759	NAD_1983_StatePlane_Hawaii_3_FIPS_5103_Feet	PROJCS["NAD_1983_StatePlane_Hawaii_3_FIPS_5103_Feet",GEOGCS["GCS_North_American_1
3760	NAD_1983_HARN_StatePlane_Hawaii_3_FIPS_5103_Feet	PROJCS["NAD_1983_HARN_StatePlane_Hawaii_3_FIPS_5103_Feet",GEOGCS["GCS_North_Ame
3761	NAD_1983_CSRS_UTM_Zone_22N	PROJCS["NAD_1983_CSRS_UTM_Zone_22N",GEOGCS["GCS_North_American_1983_CSRS",DA
3762	WGS_1984_South_Georgia_Lambert	PROJCS["WGS_1984_South_Georgia_Lambert",GEOGCS["GCS_WGS_1984",DATUM["D_WGS_1
3763	ETRS_1989_Portugal_TM06	PROJCS["ETRS_1989_Portugal_TM06",GEOGCS["GCS_ETRS_1989",DATUM["D_ETRS_1989",SP
3764	NZGD_2000_Chatham_Island_Circuit	PROJCS["NZGD_2000_Chatham_Island_Circuit",GEOGCS["GCS_NZGD_2000",DATUM["D_NZGD
3765	HTRS96_Croatia_TM	PROJCS["HTRS96_Croatia_TM",GEOGCS["GCS_HTRS96",DATUM["D_Croatian_Terrestrial_Refer
3766	HTRS96_Croatia_LCC	PROJCS["HTRS96_Croatia_LCC",GEOGCS["GCS_HTRS96",DATUM["D_Croatian_Terrestrial_Refe
3767	HTRS96_UTM_Zone_33N	PROJCS["HTRS96_UTM_Zone_33N",GEOGCS["GCS_HTRS96",DATUM["D_Croatian_Terrestrial_F
3768	HTRS96_UTM_Zone_34N	PROJCS["HTRS96_UTM_Zone_34N",GEOGCS["GCS_HTRS96",DATUM["D_Croatian_Terrestrial_F
3769	Bermuda_1957_UTM_Zone_20N	PROJCS["Bermuda_1957_UTM_Zone_20N",GEOGCS["GCS_Bermuda_1957",DATUM["D_Bermuda
3770	Bermuda_2000_National_Grid	PROJCS["Bermuda_2000_National_Grid",GEOGCS["GCS_Bermuda_2000",DATUM["D_Bermuda_2
3771	NAD_1927_3TM_111	PROJCS["NAD_1927_3TM_111",GEOGCS["GCS_North_American_1927",DATUM["D_North_Ameri
3772	NAD_1927_3TM_114	PROJCS["NAD_1927_3TM_114",GEOGCS["GCS_North_American_1927",DATUM["D_North_Ameri
3773	NAD_1927_3TM_117	PROJCS["NAD_1927_3TM_117",GEOGCS["GCS_North_American_1927",DATUM["D_North_Ameri
3775	NAD_1983_3TM_111	PROJCS["NAD_1983_3TM_111",GEOGCS["GCS_North_American_1983",DATUM["D_North_Ameri
3776	NAD_1983_3TM_114	PROJCS["NAD_1983_3TM_114",GEOGCS["GCS_North_American_1983",DATUM["D_North_Ameri
3777	NAD_1983_3TM_117	PROJCS["NAD_1983_3TM_117",GEOGCS["GCS_North_American_1983",DATUM["D_North_Ameri
3779	NAD_1983_CSRS_3TM_111	PROJCS["NAD_1983_CSRS_3TM_111",GEOGCS["GCS_North_American_1983_CSRS",DATUM["D
3780	NAD_1983_CSRS_3TM_114	PROJCS["NAD_1983_CSRS_3TM_114",GEOGCS["GCS_North_American_1983_CSRS",DATUM["D
3781	NAD_1983_CSRS_3TM_117	PROJCS["NAD_1983_CSRS_3TM_117",GEOGCS["GCS_North_American_1983_CSRS",DATUM["D
3783	Pitcairn_2006_Pitcairn_TM_2006	PROJCS["Pitcairn_2006_Pitcairn_TM_2006",GEOGCS["GCS_Pitcairn_2006",DATUM["D_Pitcairn_2
3784	Pitcairn_1967_UTM_Zone_9S	PROJCS["Pitcairn_1967_UTM_Zone_9S",GEOGCS["GCS_Pitcairn_1967",DATUM["D_Pitcairn_196
3788	NZGD_2000_Auckland_Islands_TM_2000	PROJCS["NZGD_2000_Auckland_Islands_TM_2000",GEOGCS["GCS_NZGD_2000",DATUM["D_N
3789	NZGD_2000_Campbell_Island_TM_2000	PROJCS["NZGD_2000_Campbell_Island_TM_2000",GEOGCS["GCS_NZGD_2000",DATUM["D_NZ
3790	NZGD_2000_Antipodes_Islands_TM_2000	PROJCS["NZGD_2000_Antipodes_Islands_TM_2000",GEOGCS["GCS_NZGD_2000",DATUM["D_N
3791	NZGD_2000_Raoul_Island_TM_2000	PROJCS["NZGD_2000_Raoul_Island_TM_2000",GEOGCS["GCS_NZGD_2000",DATUM["D_NZGD
3793	NZGD_2000_Chatham_Islands_TM_2000	PROJCS["NZGD_2000_Chatham_Islands_TM_2000",GEOGCS["GCS_NZGD_2000",DATUM["D_N
3794	Slovenia_1996_Slovene_National_Grid	PROJCS["Slovenia_1996_Slovene_National_Grid",GEOGCS["GCS_Slovenia_1996",DATUM["D_Slo
3797	NAD_1927_MTQ_Lambert	PROJCS["NAD_1927_MTQ_Lambert",GEOGCS["GCS_North_American_1927",DATUM["D_North_A
3798	NAD_1983_MTQ_Lambert	PROJCS["NAD_1983_MTQ_Lambert",GEOGCS["GCS_North_American_1983",DATUM["D_North_A
3799	NAD_1983_CSRS_MTQ_Lambert	PROJCS["NAD_1983_CSRS_MTQ_Lambert",GEOGCS["GCS_North_American_1983_CSRS",DAT
3800	NAD_1927_3TM_120	PROJCS["NAD_1927_3TM_120",GEOGCS["GCS_North_American_1927",DATUM["D_North_Ameri
3801	NAD_1983_3TM_120	PROJCS["NAD_1983_3TM_120",GEOGCS["GCS_North_American_1983",DATUM["D_North_Ameri
3802	NAD_1983_CSRS_3TM_120	PROJCS["NAD_1983_CSRS_3TM_120",GEOGCS["GCS_North_American_1983_CSRS",DATUM["D
3812	Belge_Lambert_2008	PROJCS["Belge_Lambert_2008",GEOGCS["GCS_ETRS_1989",DATUM["D_ETRS_1989",SPHERO
3814	NAD_1983_Mississippi_TM	PROJCS["NAD_1983_Mississippi_TM",GEOGCS["GCS_North_American_1983",DATUM["D_North_
3815	NAD_1983_HARN_Mississippi_TM	PROJCS["NAD_1983_HARN_Mississippi_TM",GEOGCS["GCS_North_American_1983_HARN",DAT
3816	NAD_1983_NSRS2007_Mississippi_TM	PROJCS["NAD_1983_NSRS2007_Mississippi_TM",GEOGCS["GCS_NAD_1983_NSRS2007",DATU
3825	TWD_1997_TM_Penghu	PROJCS["TWD_1997_TM_Penghu",GEOGCS["GCS_TWD_1997",DATUM["D_TWD_1997",SPHER
3826	TWD_1997_TM_Taiwan	PROJCS["TWD_1997_TM_Taiwan",GEOGCS["GCS_TWD_1997",DATUM["D_TWD_1997",SPHERO
3827	TWD_1967_TM_Penghu	PROJCS["TWD_1967_TM_Penghu",GEOGCS["GCS_TWD_1967",DATUM["D_TWD_1967",SPHER
3828	TWD_1967_TM_Taiwan	PROJCS["TWD_1967_TM_Taiwan",GEOGCS["GCS_TWD_1967",DATUM["D_TWD_1967",SPHERO
3829	Hu_Tzu_Shan_UTM_Zone_51N	PROJCS["Hu_Tzu_Shan_UTM_Zone_51N",GEOGCS["GCS_Hu_Tzu_Shan",DATUM["D_Hu_Tzu_S
3832	WGS_1984_PDC_Mercator	PROJCS["WGS_1984_PDC_Mercator",GEOGCS["GCS_WGS_1984",DATUM["D_WGS_1984",SPH
3833	Pulkovo_1942_Adj_1958_GK_Zone_2	PROJCS["Pulkovo_1942_Adj_1958_GK_Zone_2",GEOGCS["GCS_Pulkovo_1942_Adj_1958",DATU
3834	Pulkovo_1942_Adj_1983_GK_Zone_2	PROJCS["Pulkovo_1942_Adj_1983_GK_Zone_2",GEOGCS["GCS_Pulkovo_1942_Adj_1983",DATU
3835	Pulkovo_1942_Adj_1983_GK_Zone_3	PROJCS["Pulkovo_1942_Adj_1983_GK_Zone_3",GEOGCS["GCS_Pulkovo_1942_Adj_1983",DATU
3836	Pulkovo_1942_Adj_1983_GK_Zone_4	PROJCS["Pulkovo_1942_Adj_1983_GK_Zone_4",GEOGCS["GCS_Pulkovo_1942_Adj_1983",DATU
3837	Pulkovo_1942_Adj_1958_3_Degree_GK_Zone_3	PROJCS["Pulkovo_1942_Adj_1958_3_Degree_GK_Zone_3",GEOGCS["GCS_Pulkovo_1942_Adj_1
3838	Pulkovo_1942_Adj_1958_3_Degree_GK_Zone_4	PROJCS["Pulkovo_1942_Adj_1958_3_Degree_GK_Zone_4",GEOGCS["GCS_Pulkovo_1942_Adj_1
3839	Pulkovo_1942_Adj_1958_3_Degree_GK_Zone_9	PROJCS["Pulkovo_1942_Adj_1958_3_Degree_GK_Zone_9",GEOGCS["GCS_Pulkovo_1942_Adj_1
3840	Pulkovo_1942_Adj_1958_3_Degree_GK_Zone_10	PROJCS["Pulkovo_1942_Adj_1958_3_Degree_GK_Zone_10",GEOGCS["GCS_Pulkovo_1942_Adj_

Copyright © 1995-2016 Esri. All rights reserved.

3841	Pulkovo_1942_Adj_1983_3_Degree_GK_Zone_6	PROJCS["Pulkovo_1942_Adj_1983_3_Degree_GK_Zone_6",GEOGCS["GCS_Pulkovo_1942_Adj_1
3844	Pulkovo_1942_Adj_58_Stereo_70	PROJCS["Pulkovo_1942_Adj_58_Stereo_70",GEOGCS["GCS_Pulkovo_1942_Adj_1958",DATUM["D
3845	SWEREF99_RT90_7.5_gon_V_emulation	PROJCS["SWEREF99_RT90_7.5_gon_V_emulation",GEOGCS["GCS_SWEREF99",DATUM["D_SW
3846	SWEREF99_RT90_5_gon_V_emulation	PROJCS["SWEREF99_RT90_5_gon_V_emulation",GEOGCS["GCS_SWEREF99",DATUM["D_SWE
3847	SWEREF99_RT90_2.5_gon_V_emulation	PROJCS["SWEREF99_RT90_2.5_gon_V_emulation",GEOGCS["GCS_SWEREF99",DATUM["D_SW
3848	SWEREF99_RT90_0_gon_emulation	PROJCS["SWEREF99_RT90_0_gon_emulation",GEOGCS["GCS_SWEREF99",DATUM["D_SWERE
3849	SWEREF99_RT90_2.5_gon_O_emulation	PROJCS["SWEREF99_RT90_2.5_gon_O_emulation",GEOGCS["GCS_SWEREF99",DATUM["D_SW
3850	SWEREF99_RT90_5_gon_O_emulation	PROJCS["SWEREF99_RT90_5_gon_O_emulation",GEOGCS["GCS_SWEREF99",DATUM["D_SWE
3851	NZGD_2000_NZ_Continental_Shelf_2000	PROJCS["NZGD_2000_NZ_Continental_Shelf_2000",GEOGCS["GCS_NZGD_2000",DATUM["D_NZ
3852	RSRGD2000_DGLC2000	PROJCS["RSRGD2000_DGLC2000",GEOGCS["GCS_RSRGD2000",DATUM["D_Ross_Sea_Region
3854	SWEREF99_County_ST74	PROJCS["SWEREF99_County_ST74",GEOGCS["GCS_SWEREF99",DATUM["D_SWEREF99",SPH
3857	WGS_1984_Web_Mercator_Auxiliary_Sphere	PROJCS["WGS_1984_Web_Mercator_Auxiliary_Sphere",GEOGCS["GCS_WGS_1984",DATUM["D_
3873	ETRS_1989_GK19FIN	PROJCS["ETRS_1989_GK19FIN",GEOGCS["GCS_ETRS_1989",DATUM["D_ETRS_1989",SPHERO
3874	ETRS_1989_GK20FIN	PROJCS["ETRS_1989_GK20FIN",GEOGCS["GCS_ETRS_1989",DATUM["D_ETRS_1989",SPHERO
3875	ETRS_1989_GK21FIN	PROJCS["ETRS_1989_GK21FIN",GEOGCS["GCS_ETRS_1989",DATUM["D_ETRS_1989",SPHERO
3876	ETRS_1989_GK22FIN	PROJCS["ETRS_1989_GK22FIN",GEOGCS["GCS_ETRS_1989",DATUM["D_ETRS_1989",SPHERO
3877	ETRS_1989_GK23FIN	PROJCS["ETRS_1989_GK23FIN",GEOGCS["GCS_ETRS_1989",DATUM["D_ETRS_1989",SPHERO
3878	ETRS_1989_GK24FIN	PROJCS["ETRS_1989_GK24FIN",GEOGCS["GCS_ETRS_1989",DATUM["D_ETRS_1989",SPHERO
3879	ETRS_1989_GK25FIN	PROJCS["ETRS_1989_GK25FIN",GEOGCS["GCS_ETRS_1989",DATUM["D_ETRS_1989",SPHERO
3880	ETRS_1989_GK26FIN	PROJCS["ETRS_1989_GK26FIN",GEOGCS["GCS_ETRS_1989",DATUM["D_ETRS_1989",SPHERO
3881	ETRS_1989_GK27FIN	PROJCS["ETRS_1989_GK27FIN",GEOGCS["GCS_ETRS_1989",DATUM["D_ETRS_1989",SPHERO
3882	ETRS_1989_GK28FIN	PROJCS["ETRS_1989_GK28FIN",GEOGCS["GCS_ETRS_1989",DATUM["D_ETRS_1989",SPHERO
3883	ETRS_1989_GK29FIN	PROJCS["ETRS_1989_GK29FIN",GEOGCS["GCS_ETRS_1989",DATUM["D_ETRS_1989",SPHERO
3884	ETRS_1989_GK30FIN	PROJCS["ETRS_1989_GK30FIN",GEOGCS["GCS_ETRS_1989",DATUM["D_ETRS_1989",SPHERO
3885	ETRS_1989_GK31FIN	PROJCS["ETRS_1989_GK31FIN",GEOGCS["GCS_ETRS_1989",DATUM["D_ETRS_1989",SPHERO
3890	IGRS_UTM_Zone_37N	PROJCS["IGRS_UTM_Zone_37N",GEOGCS["GCS_IGRS",DATUM["D_Iraqi_Geospatial_Reference
3891	IGRS_UTM_Zone_38N	PROJCS["IGRS_UTM_Zone_38N",GEOGCS["GCS_IGRS",DATUM["D_Iraqi_Geospatial_Reference
3892	IGRS_UTM_Zone_39N	PROJCS["IGRS_UTM_Zone_39N",GEOGCS["GCS_IGRS",DATUM["D_Iraqi_Geospatial_Reference
3893	ED_1950_Iraq_National_Grid	PROJCS["ED_1950_Iraq_National_Grid",GEOGCS["GCS_European_1950",DATUM["D_European_
3907	MGI_1901_Balkans_5	PROJCS["MGI_1901_Balkans_5",GEOGCS["GCS_MGI_1901",DATUM["D_MGI_1901",SPHEROID[
3908	MGI_1901_Balkans_6	PROJCS["MGI_1901_Balkans_6",GEOGCS["GCS_MGI_1901",DATUM["D_MGI_1901",SPHEROID[
3909	MGI_1901_Balkans_7	PROJCS["MGI_1901_Balkans_7",GEOGCS["GCS_MGI_1901",DATUM["D_MGI_1901",SPHEROID[
3910	MGI_1901_Balkans_8	PROJCS["MGI_1901_Balkans_8",GEOGCS["GCS_MGI_1901",DATUM["D_MGI_1901",SPHEROID[
3911	MGI_1901_Slovenia_Grid	PROJCS["MGI_1901_Slovenia_Grid",GEOGCS["GCS_MGI_1901",DATUM["D_MGI_1901",SPHERO
3912	MGI_1901_Slovene_National_Grid	PROJCS["MGI_1901_Slovene_National_Grid",GEOGCS["GCS_MGI_1901",DATUM["D_MGI_1901"
3920	Puerto_Rico_UTM_Zone_20N	PROJCS["Puerto_Rico_UTM_Zone_20N",GEOGCS["GCS_Puerto_Rico",DATUM["D_Puerto_Rico",
3942	RGF_1993_CC42	PROJCS["RGF_1993_CC42",GEOGCS["GCS_RGF_1993",DATUM["D_RGF_1993",SPHEROID["GR
3943	RGF_1993_CC43	PROJCS["RGF_1993_CC43",GEOGCS["GCS_RGF_1993",DATUM["D_RGF_1993",SPHEROID["GR
3944	RGF_1993_CC44	PROJCS["RGF_1993_CC44",GEOGCS["GCS_RGF_1993",DATUM["D_RGF_1993",SPHEROID["GR
3945	RGF_1993_CC45	PROJCS["RGF_1993_CC45",GEOGCS["GCS_RGF_1993",DATUM["D_RGF_1993",SPHEROID["GR
3946	RGF_1993_CC46	PROJCS["RGF_1993_CC46",GEOGCS["GCS_RGF_1993",DATUM["D_RGF_1993",SPHEROID["GR
3947	RGF_1993_CC47	PROJCS["RGF_1993_CC47",GEOGCS["GCS_RGF_1993",DATUM["D_RGF_1993",SPHEROID["GR
3948	RGF_1993_CC48	PROJCS["RGF_1993_CC48",GEOGCS["GCS_RGF_1993",DATUM["D_RGF_1993",SPHEROID["GR
3949	RGF_1993_CC49	PROJCS["RGF_1993_CC49",GEOGCS["GCS_RGF_1993",DATUM["D_RGF_1993",SPHEROID["GR
3950	RGF_1993_CC50	PROJCS["RGF_1993_CC50",GEOGCS["GCS_RGF_1993",DATUM["D_RGF_1993",SPHEROID["GR
3968	NAD_1983_Virginia_Lambert	PROJCS["NAD_1983_Virginia_Lambert",GEOGCS["GCS_North_American_1983",DATUM["D_North
3969	NAD_1983_HARN_Virginia_Lambert	PROJCS["NAD_1983_HARN_Virginia_Lambert",GEOGCS["GCS_North_American_1983_HARN",DA
3970	NAD_1983_NSRS2007_Virginia_Lambert	PROJCS["NAD_1983_NSRS2007_Virginia_Lambert",GEOGCS["GCS_NAD_1983_NSRS2007",DAT
3973	WGS_1984_EASE_Grid_North	PROJCS["WGS_1984_EASE_Grid_North",GEOGCS["GCS_WGS_1984",DATUM["D_WGS_1984",S
3974	WGS_1984_EASE_Grid_South	PROJCS["WGS_1984_EASE_Grid_South",GEOGCS["GCS_WGS_1984",DATUM["D_WGS_1984",S
3975	WGS_1984_EASE_Grid_Global	PROJCS["WGS_1984_EASE_Grid_Global",GEOGCS["GCS_WGS_1984",DATUM["D_WGS_1984",
3976	WGS_1984_NSIDC_Sea_Ice_Polar_Stereographic_South	PROJCS["WGS_1984_NSIDC_Sea_Ice_Polar_Stereographic_South",GEOGCS["GCS_WGS_1984"
3978	NAD_1983_Canada_Atlas_Lambert	PROJCS["NAD_1983_Canada_Atlas_Lambert",GEOGCS["GCS_North_American_1983",DATUM["D
3979	NAD_1983_CSRS_Canada_Atlas_Lambert	PROJCS["NAD_1983_CSRS_Canada_Atlas_Lambert",GEOGCS["GCS_North_American_1983_CS

Copyright © 1995-2016 Esri. All rights reserved.

3986	Katanga_1955_Katanga_Gauss_Zone_A	PROJCS["Katanga_1955_Katanga_Gauss_Zone_A",GEOGCS["GCS_Katanga_1955",DATUM["D_K
3987	Katanga_1955_Katanga_Gauss_Zone_B	PROJCS["Katanga_1955_Katanga_Gauss_Zone_B",GEOGCS["GCS_Katanga_1955",DATUM["D_K
3988	Katanga_1955_Katanga_Gauss_Zone_C	PROJCS["Katanga_1955_Katanga_Gauss_Zone_C",GEOGCS["GCS_Katanga_1955",DATUM["D_K
3989	Katanga_1955_Katanga_Gauss_Zone_D	PROJCS["Katanga_1955_Katanga_Gauss_Zone_D",GEOGCS["GCS_Katanga_1955",DATUM["D_K
3991	Puerto_Rico_StatePlane_Puerto_Rico_FIPS_5201	PROJCS["Puerto_Rico_StatePlane_Puerto_Rico_FIPS_5201",GEOGCS["GCS_Puerto_Rico",DATU
3992	Puerto_Rico_StatePlane_Virgin_Islands_St_Croix_FIPS_5202	PROJCS["Puerto_Rico_StatePlane_Virgin_Islands_St_Croix_FIPS_5202",GEOGCS["GCS_Puerto_
3994	WGS_1984_Mercator_41	PROJCS["WGS_1984_Mercator_41",GEOGCS["GCS_WGS_1984",DATUM["D_WGS_1984",SPHER
3995	WGS_1984_Arctic_Polar_Stereographic	PROJCS["WGS_1984_Arctic_Polar_Stereographic",GEOGCS["GCS_WGS_1984",DATUM["D_WGS
3996	WGS_1984_IBCAO_Polar_Stereographic	PROJCS["WGS_1984_IBCAO_Polar_Stereographic",GEOGCS["GCS_WGS_1984",DATUM["D_WG
3997	WGS_1984_Dubai_Local_TM	PROJCS["WGS_1984_Dubai_Local_TM",GEOGCS["GCS_WGS_1984",DATUM["D_WGS_1984",SP
4026	MOLDREF99_Moldova_TM	PROJCS["MOLDREF99_Moldova_TM",GEOGCS["GCS_MOLDREF99",DATUM["D_MOLDREF99",S
4037	WGS_1984_TMzn35N	PROJCS["WGS_1984_TMzn35N",GEOGCS["GCS_WGS_1984",DATUM["D_WGS_1984",SPHERO
4038	WGS_1984_TMzn36N	PROJCS["WGS_1984_TMzn36N",GEOGCS["GCS_WGS_1984",DATUM["D_WGS_1984",SPHERO
4048	RGRDC_2005_Congo_TM_Zone_12	PROJCS["RGRDC_2005_Congo_TM_Zone_12",GEOGCS["GCS_RGRDC_2005",DATUM["D_Rese
4049	RGRDC_2005_Congo_TM_Zone_14	PROJCS["RGRDC_2005_Congo_TM_Zone_14",GEOGCS["GCS_RGRDC_2005",DATUM["D_Rese
4050	RGRDC_2005_Congo_TM_Zone_16	PROJCS["RGRDC_2005_Congo_TM_Zone_16",GEOGCS["GCS_RGRDC_2005",DATUM["D_Rese
4051	RGRDC_2005_Congo_TM_Zone_18	PROJCS["RGRDC_2005_Congo_TM_Zone_18",GEOGCS["GCS_RGRDC_2005",DATUM["D_Rese
4056	RGRDC_2005_Congo_TM_Zone_20	PROJCS["RGRDC_2005_Congo_TM_Zone_20",GEOGCS["GCS_RGRDC_2005",DATUM["D_Rese
4057	RGRDC_2005_Congo_TM_Zone_22	PROJCS["RGRDC_2005_Congo_TM_Zone_22",GEOGCS["GCS_RGRDC_2005",DATUM["D_Rese
4058	RGRDC_2005_Congo_TM_Zone_24	PROJCS["RGRDC_2005_Congo_TM_Zone_24",GEOGCS["GCS_RGRDC_2005",DATUM["D_Rese
4059	RGRDC_2005_Congo_TM_Zone_26	PROJCS["RGRDC_2005_Congo_TM_Zone_26",GEOGCS["GCS_RGRDC_2005",DATUM["D_Rese
4060	RGRDC_2005_Congo_TM_Zone_28	PROJCS["RGRDC_2005_Congo_TM_Zone_28",GEOGCS["GCS_RGRDC_2005",DATUM["D_Rese
4061	RGRDC_2005_UTM_Zone_33S	PROJCS["RGRDC_2005_UTM_Zone_33S",GEOGCS["GCS_RGRDC_2005",DATUM["D_Reseau_G
4062	RGRDC_2005_UTM_Zone_34S	PROJCS["RGRDC_2005_UTM_Zone_34S",GEOGCS["GCS_RGRDC_2005",DATUM["D_Reseau_G
4063	RGRDC_2005_UTM_Zone_35S	PROJCS["RGRDC_2005_UTM_Zone_35S",GEOGCS["GCS_RGRDC_2005",DATUM["D_Reseau_G
4071	Chua_UTM_Zone_23S	PROJCS["Chua_UTM_Zone_23S",GEOGCS["GCS_Chua",DATUM["D_Chua",SPHEROID["Internati
4082	REGCAN95_UTM_Zone_27N	PROJCS["REGCAN95_UTM_Zone_27N",GEOGCS["GCS_REGCAN95",DATUM["D_Red_Geodesic
4083	REGCAN95_UTM_Zone_28N	PROJCS["REGCAN95_UTM_Zone_28N",GEOGCS["GCS_REGCAN95",DATUM["D_Red_Geodesic
4093	ETRS_1989_DKTM1	PROJCS["ETRS_1989_DKTM1",GEOGCS["GCS_ETRS_1989",DATUM["D_ETRS_1989",SPHEROI
4094	ETRS_1989_DKTM2	PROJCS["ETRS_1989_DKTM2",GEOGCS["GCS_ETRS_1989",DATUM["D_ETRS_1989",SPHEROI
4095	ETRS_1989_DKTM3	PROJCS["ETRS_1989_DKTM3",GEOGCS["GCS_ETRS_1989",DATUM["D_ETRS_1989",SPHEROI
4096	ETRS_1989_DKTM4	PROJCS["ETRS_1989_DKTM4",GEOGCS["GCS_ETRS_1989",DATUM["D_ETRS_1989",SPHEROI
4217	NAD_1983_BLM_Zone_59N	PROJCS["NAD_1983_BLM_Zone_59N",GEOGCS["GCS_North_American_1983",DATUM["D_North_
4399	NAD_1927_BLM_Zone_59N	PROJCS["NAD_1927_BLM_Zone_59N",GEOGCS["GCS_North_American_1927",DATUM["D_North_
4400	NAD_1927_BLM_Zone_60N	PROJCS["NAD_1927_BLM_Zone_60N",GEOGCS["GCS_North_American_1927",DATUM["D_North_
4401	NAD_1927_BLM_Zone_1N	PROJCS["NAD_1927_BLM_Zone_1N",GEOGCS["GCS_North_American_1927",DATUM["D_North_
4402	NAD_1927_BLM_Zone_2N	PROJCS["NAD_1927_BLM_Zone_2N",GEOGCS["GCS_North_American_1927",DATUM["D_North_
4403	NAD_1927_BLM_Zone_3N	PROJCS["NAD_1927_BLM_Zone_3N",GEOGCS["GCS_North_American_1927",DATUM["D_North_
4404	NAD_1927_BLM_Zone_4N	PROJCS["NAD_1927_BLM_Zone_4N",GEOGCS["GCS_North_American_1927",DATUM["D_North_
4405	NAD_1927_BLM_Zone_5N	PROJCS["NAD_1927_BLM_Zone_5N",GEOGCS["GCS_North_American_1927",DATUM["D_North_
4406	NAD_1927_BLM_Zone_6N	PROJCS["NAD_1927_BLM_Zone_6N",GEOGCS["GCS_North_American_1927",DATUM["D_North_
4407	NAD_1927_BLM_Zone_7N	PROJCS["NAD_1927_BLM_Zone_7N",GEOGCS["GCS_North_American_1927",DATUM["D_North_
4408	NAD_1927_BLM_Zone_8N	PROJCS["NAD_1927_BLM_Zone_8N",GEOGCS["GCS_North_American_1927",DATUM["D_North_
4409	NAD_1927_BLM_Zone_9N	PROJCS["NAD_1927_BLM_Zone_9N",GEOGCS["GCS_North_American_1927",DATUM["D_North_
4410	NAD_1927_BLM_Zone_10N	PROJCS["NAD_1927_BLM_Zone_10N",GEOGCS["GCS_North_American_1927",DATUM["D_North_
4411	NAD_1927_BLM_Zone_11N	PROJCS["NAD_1927_BLM_Zone_11N",GEOGCS["GCS_North_American_1927",DATUM["D_North_
4412	NAD_1927_BLM_Zone_12N	PROJCS["NAD_1927_BLM_Zone_12N",GEOGCS["GCS_North_American_1927",DATUM["D_North_
4413	NAD_1927_BLM_Zone_13N	PROJCS["NAD_1927_BLM_Zone_13N",GEOGCS["GCS_North_American_1927",DATUM["D_North_
4414	NAD_1983_HARN_Guam_Map_Grid	PROJCS["NAD_1983_HARN_Guam_Map_Grid",GEOGCS["GCS_North_American_1983_HARN",D
4415	Katanga_1955_Katanga_Lambert	PROJCS["Katanga_1955_Katanga_Lambert",GEOGCS["GCS_Katanga_1955",DATUM["D_Katanga_
4417	Pulkovo_1942_Adj_1983_3_Degree_GK_Zone_7	PROJCS["Pulkovo_1942_Adj_1983_3_Degree_GK_Zone_7",GEOGCS["GCS_Pulkovo_1942_Adj_1
4418	NAD_1927_BLM_Zone_18N	PROJCS["NAD_1927_BLM_Zone_18N",GEOGCS["GCS_North_American_1927",DATUM["D_North_
4419	NAD_1927_BLM_Zone_19N	PROJCS["NAD_1927_BLM_Zone_19N",GEOGCS["GCS_North_American_1927",DATUM["D_North_
4420	NAD_1983_BLM_Zone_60N	PROJCS["NAD_1983_BLM_Zone_60N",GEOGCS["GCS_North_American_1983",DATUM["D_North_

Copyright © 1995-2016 Esri. All rights reserved.

4421	NAD_1983_BLM_Zone_1N	PROJCS["NAD_1983_BLM_Zone_1N",GEOGCS["GCS_North_American_1983",DATUM["D_North_
4422	NAD_1983_BLM_Zone_2N	PROJCS["NAD_1983_BLM_Zone_2N",GEOGCS["GCS_North_American_1983",DATUM["D_North_
4423	NAD_1983_BLM_Zone_3N	PROJCS["NAD_1983_BLM_Zone_3N",GEOGCS["GCS_North_American_1983",DATUM["D_North_
4424	NAD_1983_BLM_Zone_4N	PROJCS["NAD_1983_BLM_Zone_4N",GEOGCS["GCS_North_American_1983",DATUM["D_North_
4425	NAD_1983_BLM_Zone_5N	PROJCS["NAD_1983_BLM_Zone_5N",GEOGCS["GCS_North_American_1983",DATUM["D_North_
4426	NAD_1983_BLM_Zone_6N	PROJCS["NAD_1983_BLM_Zone_6N",GEOGCS["GCS_North_American_1983",DATUM["D_North_
4427	NAD_1983_BLM_Zone_7N	PROJCS["NAD_1983_BLM_Zone_7N",GEOGCS["GCS_North_American_1983",DATUM["D_North_
4428	NAD_1983_BLM_Zone_8N	PROJCS["NAD_1983_BLM_Zone_8N",GEOGCS["GCS_North_American_1983",DATUM["D_North_
4429	NAD_1983_BLM_Zone_9N	PROJCS["NAD_1983_BLM_Zone_9N",GEOGCS["GCS_North_American_1983",DATUM["D_North_
4430	NAD_1983_BLM_Zone_10N	PROJCS["NAD_1983_BLM_Zone_10N",GEOGCS["GCS_North_American_1983",DATUM["D_North
4431	NAD_1983_BLM_Zone_11N	PROJCS["NAD_1983_BLM_Zone_11N",GEOGCS["GCS_North_American_1983",DATUM["D_North
4432	NAD_1983_BLM_Zone_12N	PROJCS["NAD_1983_BLM_Zone_12N",GEOGCS["GCS_North_American_1983",DATUM["D_North
4433	NAD_1983_BLM_Zone_13N	PROJCS["NAD_1983_BLM_Zone_13N",GEOGCS["GCS_North_American_1983",DATUM["D_North
4434	Pulkovo_1942_Adj_1983_3_Degree_GK_Zone_8	PROJCS["Pulkovo_1942_Adj_1983_3_Degree_GK_Zone_8",GEOGCS["GCS_Pulkovo_1942_Adj_1
4437	NAD_1983_NSRS2007_StatePlane_Puerto_Rico_Virgin_Isls_FIPS_5200	PROJCS["NAD_1983_NSRS2007_StatePlane_Puerto_Rico_Virgin_Isls_FIPS_5200",GEOGCS["GC
4438	NAD_1983_BLM_Zone_18N	PROJCS["NAD_1983_BLM_Zone_18N",GEOGCS["GCS_North_American_1983",DATUM["D_North
4439	NAD_1983_BLM_Zone_19N	PROJCS["NAD_1983_BLM_Zone_19N",GEOGCS["GCS_North_American_1983",DATUM["D_North
4455	NAD_1927_StatePlane_Pennsylvania_South_FIPS_3702	PROJCS["NAD_1927_StatePlane_Pennsylvania_South_FIPS_3702",GEOGCS["GCS_North_Ameri
4456	NAD_1927_StatePlane_New_York_Long_Island_FIPS_3104	PROJCS["NAD_1927_StatePlane_New_York_Long_Island_FIPS_3104",GEOGCS["GCS_North_Am
4457	NAD_1983_StatePlane_South_Dakota_North_FIPS_4001_Feet	PROJCS["NAD_1983_StatePlane_South_Dakota_North_FIPS_4001_Feet",GEOGCS["GCS_North_
4462	WGS_1984_Australian_Centre_for_Remote_Sensing_Lambert	PROJCS["WGS_1984_Australian_Centre_for_Remote_Sensing_Lambert",GEOGCS["GCS_WGS_1
4467	RGSPM_2006_UTM_Zone_21N	PROJCS["RGSPM_2006_UTM_Zone_21N",GEOGCS["GCS_RGSPM_2006",DATUM["D_Reseau_G
4471	RGM_2004_UTM_Zone_38S	PROJCS["RGM_2004_UTM_Zone_38S",GEOGCS["GCS_RGM_2004",DATUM["D_Reseau_Geodes
4484	Mexican_Datum_1993_UTM_Zone_11N	PROJCS["Mexican_Datum_1993_UTM_Zone_11N",GEOGCS["GCS_Mexican_Datum_of_1993",DA
4485	Mexican_Datum_1993_UTM_Zone_12N	PROJCS["Mexican_Datum_1993_UTM_Zone_12N",GEOGCS["GCS_Mexican_Datum_of_1993",DA
4486	Mexican_Datum_1993_UTM_Zone_13N	PROJCS["Mexican_Datum_1993_UTM_Zone_13N",GEOGCS["GCS_Mexican_Datum_of_1993",DA
4487	Mexican_Datum_1993_UTM_Zone_14N	PROJCS["Mexican_Datum_1993_UTM_Zone_14N",GEOGCS["GCS_Mexican_Datum_of_1993",DA
4488	Mexican_Datum_1993_UTM_Zone_15N	PROJCS["Mexican_Datum_1993_UTM_Zone_15N",GEOGCS["GCS_Mexican_Datum_of_1993",DA
4489	Mexican_Datum_1993_UTM_Zone_16N	PROJCS["Mexican_Datum_1993_UTM_Zone_16N",GEOGCS["GCS_Mexican_Datum_of_1993",DA
4491	CGCS2000_GK_Zone_13	PROJCS["CGCS2000_GK_Zone_13",GEOGCS["GCS_China_Geodetic_Coordinate_System_2000"
4492	CGCS2000_GK_Zone_14	PROJCS["CGCS2000_GK_Zone_14",GEOGCS["GCS_China_Geodetic_Coordinate_System_2000"
4493	CGCS2000_GK_Zone_15	PROJCS["CGCS2000_GK_Zone_15",GEOGCS["GCS_China_Geodetic_Coordinate_System_2000"
4494	CGCS2000_GK_Zone_16	PROJCS["CGCS2000_GK_Zone_16",GEOGCS["GCS_China_Geodetic_Coordinate_System_2000"
4495	CGCS2000_GK_Zone_17	PROJCS["CGCS2000_GK_Zone_17",GEOGCS["GCS_China_Geodetic_Coordinate_System_2000"
4496	CGCS2000_GK_Zone_18	PROJCS["CGCS2000_GK_Zone_18",GEOGCS["GCS_China_Geodetic_Coordinate_System_2000"
4497	CGCS2000_GK_Zone_19	PROJCS["CGCS2000_GK_Zone_19",GEOGCS["GCS_China_Geodetic_Coordinate_System_2000"
4498	CGCS2000_GK_Zone_20	PROJCS["CGCS2000_GK_Zone_20",GEOGCS["GCS_China_Geodetic_Coordinate_System_2000"
4499	CGCS2000_GK_Zone_21	PROJCS["CGCS2000_GK_Zone_21",GEOGCS["GCS_China_Geodetic_Coordinate_System_2000"
4500	CGCS2000_GK_Zone_22	PROJCS["CGCS2000_GK_Zone_22",GEOGCS["GCS_China_Geodetic_Coordinate_System_2000"
4501	CGCS2000_GK_Zone_23	PROJCS["CGCS2000_GK_Zone_23",GEOGCS["GCS_China_Geodetic_Coordinate_System_2000"
4502	CGCS2000_GK_CM_75E	PROJCS["CGCS2000_GK_CM_75E",GEOGCS["GCS_China_Geodetic_Coordinate_System_2000",
4503	CGCS2000_GK_CM_81E	PROJCS["CGCS2000_GK_CM_81E",GEOGCS["GCS_China_Geodetic_Coordinate_System_2000",
4504	CGCS2000_GK_CM_87E	PROJCS["CGCS2000_GK_CM_87E",GEOGCS["GCS_China_Geodetic_Coordinate_System_2000",
4505	CGCS2000_GK_CM_93E	PROJCS["CGCS2000_GK_CM_93E",GEOGCS["GCS_China_Geodetic_Coordinate_System_2000",
4506	CGCS2000_GK_CM_99E	PROJCS["CGCS2000_GK_CM_99E",GEOGCS["GCS_China_Geodetic_Coordinate_System_2000",
4507	CGCS2000_GK_CM_105E	PROJCS["CGCS2000_GK_CM_105E",GEOGCS["GCS_China_Geodetic_Coordinate_System_2000
4508	CGCS2000_GK_CM_111E	PROJCS["CGCS2000_GK_CM_111E",GEOGCS["GCS_China_Geodetic_Coordinate_System_2000
4509	CGCS2000_GK_CM_117E	PROJCS["CGCS2000_GK_CM_117E",GEOGCS["GCS_China_Geodetic_Coordinate_System_2000
4510	CGCS2000_GK_CM_123E	PROJCS["CGCS2000_GK_CM_123E",GEOGCS["GCS_China_Geodetic_Coordinate_System_2000
4511	CGCS2000_GK_CM_129E	PROJCS["CGCS2000_GK_CM_129E",GEOGCS["GCS_China_Geodetic_Coordinate_System_2000
4512	CGCS2000_GK_CM_135E	PROJCS["CGCS2000_GK_CM_135E",GEOGCS["GCS_China_Geodetic_Coordinate_System_2000
4513	CGCS2000_3_Degree_GK_Zone_25	PROJCS["CGCS2000_3_Degree_GK_Zone_25",GEOGCS["GCS_China_Geodetic_Coordinate_Sys
4514	CGCS2000_3_Degree_GK_Zone_26	PROJCS["CGCS2000_3_Degree_GK_Zone_26",GEOGCS["GCS_China_Geodetic_Coordinate_Sys
4515	CGCS2000_3_Degree_GK_Zone_27	PROJCS["CGCS2000_3_Degree_GK_Zone_27",GEOGCS["GCS_China_Geodetic_Coordinate_Sys

Copyright © 1995-2016 Esri. All rights reserved.

4516	CGCS2000_3_Degree_GK_Zone_28	PROJCS["CGCS2000_3_Degree_GK_Zone_28",GEOGCS["GCS_China_Geodetic_Coordinate_Sys
4517	CGCS2000_3_Degree_GK_Zone_29	PROJCS["CGCS2000_3_Degree_GK_Zone_29",GEOGCS["GCS_China_Geodetic_Coordinate_Sys
4518	CGCS2000_3_Degree_GK_Zone_30	PROJCS["CGCS2000_3_Degree_GK_Zone_30",GEOGCS["GCS_China_Geodetic_Coordinate_Sys
4519	CGCS2000_3_Degree_GK_Zone_31	PROJCS["CGCS2000_3_Degree_GK_Zone_31",GEOGCS["GCS_China_Geodetic_Coordinate_Sys
4520	CGCS2000_3_Degree_GK_Zone_32	PROJCS["CGCS2000_3_Degree_GK_Zone_32",GEOGCS["GCS_China_Geodetic_Coordinate_Sys
4521	CGCS2000_3_Degree_GK_Zone_33	PROJCS["CGCS2000_3_Degree_GK_Zone_33",GEOGCS["GCS_China_Geodetic_Coordinate_Sys
4522	CGCS2000_3_Degree_GK_Zone_34	PROJCS["CGCS2000_3_Degree_GK_Zone_34",GEOGCS["GCS_China_Geodetic_Coordinate_Sys
4523	CGCS2000_3_Degree_GK_Zone_35	PROJCS["CGCS2000_3_Degree_GK_Zone_35",GEOGCS["GCS_China_Geodetic_Coordinate_Sys
4524	CGCS2000_3_Degree_GK_Zone_36	PROJCS["CGCS2000_3_Degree_GK_Zone_36",GEOGCS["GCS_China_Geodetic_Coordinate_Sys
4525	CGCS2000_3_Degree_GK_Zone_37	PROJCS["CGCS2000_3_Degree_GK_Zone_37",GEOGCS["GCS_China_Geodetic_Coordinate_Sys
4526	CGCS2000_3_Degree_GK_Zone_38	PROJCS["CGCS2000_3_Degree_GK_Zone_38",GEOGCS["GCS_China_Geodetic_Coordinate_Sys
4527	CGCS2000_3_Degree_GK_Zone_39	PROJCS["CGCS2000_3_Degree_GK_Zone_39",GEOGCS["GCS_China_Geodetic_Coordinate_Sys
4528	CGCS2000_3_Degree_GK_Zone_40	PROJCS["CGCS2000_3_Degree_GK_Zone_40",GEOGCS["GCS_China_Geodetic_Coordinate_Sys
4529	CGCS2000_3_Degree_GK_Zone_41	PROJCS["CGCS2000_3_Degree_GK_Zone_41",GEOGCS["GCS_China_Geodetic_Coordinate_Sys
4530	CGCS2000_3_Degree_GK_Zone_42	PROJCS["CGCS2000_3_Degree_GK_Zone_42",GEOGCS["GCS_China_Geodetic_Coordinate_Sys
4531	CGCS2000_3_Degree_GK_Zone_43	PROJCS["CGCS2000_3_Degree_GK_Zone_43",GEOGCS["GCS_China_Geodetic_Coordinate_Sys
4532	CGCS2000_3_Degree_GK_Zone_44	PROJCS["CGCS2000_3_Degree_GK_Zone_44",GEOGCS["GCS_China_Geodetic_Coordinate_Sys
4533	CGCS2000_3_Degree_GK_Zone_45	PROJCS["CGCS2000_3_Degree_GK_Zone_45",GEOGCS["GCS_China_Geodetic_Coordinate_Sys
4534	CGCS2000_3_Degree_GK_CM_75E	PROJCS["CGCS2000_3_Degree_GK_CM_75E",GEOGCS["GCS_China_Geodetic_Coordinate_Sys
4535	CGCS2000_3_Degree_GK_CM_78E	PROJCS["CGCS2000_3_Degree_GK_CM_78E",GEOGCS["GCS_China_Geodetic_Coordinate_Sys
4536	CGCS2000_3_Degree_GK_CM_81E	PROJCS["CGCS2000_3_Degree_GK_CM_81E",GEOGCS["GCS_China_Geodetic_Coordinate_Sys
4537	CGCS2000_3_Degree_GK_CM_84E	PROJCS["CGCS2000_3_Degree_GK_CM_84E",GEOGCS["GCS_China_Geodetic_Coordinate_Sys
4538	CGCS2000_3_Degree_GK_CM_87E	PROJCS["CGCS2000_3_Degree_GK_CM_87E",GEOGCS["GCS_China_Geodetic_Coordinate_Sys
4539	CGCS2000_3_Degree_GK_CM_90E	PROJCS["CGCS2000_3_Degree_GK_CM_90E",GEOGCS["GCS_China_Geodetic_Coordinate_Sys
4540	CGCS2000_3_Degree_GK_CM_93E	PROJCS["CGCS2000_3_Degree_GK_CM_93E",GEOGCS["GCS_China_Geodetic_Coordinate_Sys
4541	CGCS2000_3_Degree_GK_CM_96E	PROJCS["CGCS2000_3_Degree_GK_CM_96E",GEOGCS["GCS_China_Geodetic_Coordinate_Sys
4542	CGCS2000_3_Degree_GK_CM_99E	PROJCS["CGCS2000_3_Degree_GK_CM_99E",GEOGCS["GCS_China_Geodetic_Coordinate_Sys
4543	CGCS2000_3_Degree_GK_CM_102E	PROJCS["CGCS2000_3_Degree_GK_CM_102E",GEOGCS["GCS_China_Geodetic_Coordinate_Sy
4544	CGCS2000_3_Degree_GK_CM_105E	PROJCS["CGCS2000_3_Degree_GK_CM_105E",GEOGCS["GCS_China_Geodetic_Coordinate_Sy
4545	CGCS2000_3_Degree_GK_CM_108E	PROJCS["CGCS2000_3_Degree_GK_CM_108E",GEOGCS["GCS_China_Geodetic_Coordinate_Sy
4546	CGCS2000_3_Degree_GK_CM_111E	PROJCS["CGCS2000_3_Degree_GK_CM_111E",GEOGCS["GCS_China_Geodetic_Coordinate_Sy
4547	CGCS2000_3_Degree_GK_CM_114E	PROJCS["CGCS2000_3_Degree_GK_CM_114E",GEOGCS["GCS_China_Geodetic_Coordinate_Sy
4548	CGCS2000_3_Degree_GK_CM_117E	PROJCS["CGCS2000_3_Degree_GK_CM_117E",GEOGCS["GCS_China_Geodetic_Coordinate_Sy
4549	CGCS2000_3_Degree_GK_CM_120E	PROJCS["CGCS2000_3_Degree_GK_CM_120E",GEOGCS["GCS_China_Geodetic_Coordinate_Sy
4550	CGCS2000_3_Degree_GK_CM_123E	PROJCS["CGCS2000_3_Degree_GK_CM_123E",GEOGCS["GCS_China_Geodetic_Coordinate_Sy
4551	CGCS2000_3_Degree_GK_CM_126E	PROJCS["CGCS2000_3_Degree_GK_CM_126E",GEOGCS["GCS_China_Geodetic_Coordinate_Sy
4552	CGCS2000_3_Degree_GK_CM_129E	PROJCS["CGCS2000_3_Degree_GK_CM_129E",GEOGCS["GCS_China_Geodetic_Coordinate_Sy
4553	CGCS2000_3_Degree_GK_CM_132E	PROJCS["CGCS2000_3_Degree_GK_CM_132E",GEOGCS["GCS_China_Geodetic_Coordinate_Sy
4554	CGCS2000_3_Degree_GK_CM_135E	PROJCS["CGCS2000_3_Degree_GK_CM_135E",GEOGCS["GCS_China_Geodetic_Coordinate_Sy
4559	RRAF_1991_UTM_20N	PROJCS["RRAF_1991_UTM_20N",GEOGCS["GCS_RRAF_1991",DATUM["D_RRAF_1991",SPHER
4568	New_Beijing_Gauss_Kruger_Zone_13	PROJCS["New_Beijing_Gauss_Kruger_Zone_13",GEOGCS["GCS_New_Beijing",DATUM["D_New_
4569	New_Beijing_Gauss_Kruger_Zone_14	PROJCS["New_Beijing_Gauss_Kruger_Zone_14",GEOGCS["GCS_New_Beijing",DATUM["D_New_
4570	New_Beijing_Gauss_Kruger_Zone_15	PROJCS["New_Beijing_Gauss_Kruger_Zone_15",GEOGCS["GCS_New_Beijing",DATUM["D_New_
4571	New_Beijing_Gauss_Kruger_Zone_16	PROJCS["New_Beijing_Gauss_Kruger_Zone_16",GEOGCS["GCS_New_Beijing",DATUM["D_New_
4572	New_Beijing_Gauss_Kruger_Zone_17	PROJCS["New_Beijing_Gauss_Kruger_Zone_17",GEOGCS["GCS_New_Beijing",DATUM["D_New_
4573	New_Beijing_Gauss_Kruger_Zone_18	PROJCS["New_Beijing_Gauss_Kruger_Zone_18",GEOGCS["GCS_New_Beijing",DATUM["D_New_
4574	New_Beijing_Gauss_Kruger_Zone_19	PROJCS["New_Beijing_Gauss_Kruger_Zone_19",GEOGCS["GCS_New_Beijing",DATUM["D_New_
4575	New_Beijing_Gauss_Kruger_Zone_20	PROJCS["New_Beijing_Gauss_Kruger_Zone_20",GEOGCS["GCS_New_Beijing",DATUM["D_New_
4576	New_Beijing_Gauss_Kruger_Zone_21	PROJCS["New_Beijing_Gauss_Kruger_Zone_21",GEOGCS["GCS_New_Beijing",DATUM["D_New_
4577	New_Beijing_Gauss_Kruger_Zone_22	PROJCS["New_Beijing_Gauss_Kruger_Zone_22",GEOGCS["GCS_New_Beijing",DATUM["D_New_
4578	New_Beijing_Gauss_Kruger_Zone_23	PROJCS["New_Beijing_Gauss_Kruger_Zone_23",GEOGCS["GCS_New_Beijing",DATUM["D_New_
4579	New_Beijing_Gauss_Kruger_CM_75E	PROJCS["New_Beijing_Gauss_Kruger_CM_75E",GEOGCS["GCS_New_Beijing",DATUM["D_New_
4580	New_Beijing_Gauss_Kruger_CM_81E	PROJCS["New_Beijing_Gauss_Kruger_CM_81E",GEOGCS["GCS_New_Beijing",DATUM["D_New_
4581	New_Beijing_Gauss_Kruger_CM_87E	PROJCS["New_Beijing_Gauss_Kruger_CM_87E",GEOGCS["GCS_New_Beijing",DATUM["D_New_

Copyright © 1995-2016 Esri. All rights reserved.

4582	New_Beijing_Gauss_Kruger_CM_93E	PROJCS["New_Beijing_Gauss_Kruger_CM_93E",GEOGCS["GCS_New_Beijing",DATUM["D_New_
4583	New_Beijing_Gauss_Kruger_CM_99E	PROJCS["New_Beijing_Gauss_Kruger_CM_99E",GEOGCS["GCS_New_Beijing",DATUM["D_New_
4584	New_Beijing_Gauss_Kruger_CM_105E	PROJCS["New_Beijing_Gauss_Kruger_CM_105E",GEOGCS["GCS_New_Beijing",DATUM["D_New_
4585	New_Beijing_Gauss_Kruger_CM_111E	PROJCS["New_Beijing_Gauss_Kruger_CM_111E",GEOGCS["GCS_New_Beijing",DATUM["D_New_
4586	New_Beijing_Gauss_Kruger_CM_117E	PROJCS["New_Beijing_Gauss_Kruger_CM_117E",GEOGCS["GCS_New_Beijing",DATUM["D_New_
4587	New_Beijing_Gauss_Kruger_CM_123E	PROJCS["New_Beijing_Gauss_Kruger_CM_123E",GEOGCS["GCS_New_Beijing",DATUM["D_New_
4588	New_Beijing_Gauss_Kruger_CM_129E	PROJCS["New_Beijing_Gauss_Kruger_CM_129E",GEOGCS["GCS_New_Beijing",DATUM["D_New_
4589	New_Beijing_Gauss_Kruger_CM_135E	PROJCS["New_Beijing_Gauss_Kruger_CM_135E",GEOGCS["GCS_New_Beijing",DATUM["D_New_
4647	ETRS_1989_UTM_Zone_N32	PROJCS["ETRS_1989_UTM_Zone_N32",GEOGCS["GCS_ETRS_1989",DATUM["D_ETRS_1989",S
4652	New_Beijing_3_Degree_Gauss_Kruger_Zone_25	PROJCS["New_Beijing_3_Degree_Gauss_Kruger_Zone_25",GEOGCS["GCS_New_Beijing",DATUM
4653	New_Beijing_3_Degree_Gauss_Kruger_Zone_26	PROJCS["New_Beijing_3_Degree_Gauss_Kruger_Zone_26",GEOGCS["GCS_New_Beijing",DATUM
4654	New_Beijing_3_Degree_Gauss_Kruger_Zone_27	PROJCS["New_Beijing_3_Degree_Gauss_Kruger_Zone_27",GEOGCS["GCS_New_Beijing",DATUM
4655	New_Beijing_3_Degree_Gauss_Kruger_Zone_28	PROJCS["New_Beijing_3_Degree_Gauss_Kruger_Zone_28",GEOGCS["GCS_New_Beijing",DATUM
4656	New_Beijing_3_Degree_Gauss_Kruger_Zone_29	PROJCS["New_Beijing_3_Degree_Gauss_Kruger_Zone_29",GEOGCS["GCS_New_Beijing",DATUM
4766	New_Beijing_3_Degree_Gauss_Kruger_Zone_30	PROJCS["New_Beijing_3_Degree_Gauss_Kruger_Zone_30",GEOGCS["GCS_New_Beijing",DATUM
4767	New_Beijing_3_Degree_Gauss_Kruger_Zone_31	PROJCS["New_Beijing_3_Degree_Gauss_Kruger_Zone_31",GEOGCS["GCS_New_Beijing",DATUM
4768	New_Beijing_3_Degree_Gauss_Kruger_Zone_32	PROJCS["New_Beijing_3_Degree_Gauss_Kruger_Zone_32",GEOGCS["GCS_New_Beijing",DATUM
4769	New_Beijing_3_Degree_Gauss_Kruger_Zone_33	PROJCS["New_Beijing_3_Degree_Gauss_Kruger_Zone_33",GEOGCS["GCS_New_Beijing",DATUM
4770	New_Beijing_3_Degree_Gauss_Kruger_Zone_34	PROJCS["New_Beijing_3_Degree_Gauss_Kruger_Zone_34",GEOGCS["GCS_New_Beijing",DATUM
4771	New_Beijing_3_Degree_Gauss_Kruger_Zone_35	PROJCS["New_Beijing_3_Degree_Gauss_Kruger_Zone_35",GEOGCS["GCS_New_Beijing",DATUM
4772	New_Beijing_3_Degree_Gauss_Kruger_Zone_36	PROJCS["New_Beijing_3_Degree_Gauss_Kruger_Zone_36",GEOGCS["GCS_New_Beijing",DATUM
4773	New_Beijing_3_Degree_Gauss_Kruger_Zone_37	PROJCS["New_Beijing_3_Degree_Gauss_Kruger_Zone_37",GEOGCS["GCS_New_Beijing",DATUM
4774	New_Beijing_3_Degree_Gauss_Kruger_Zone_38	PROJCS["New_Beijing_3_Degree_Gauss_Kruger_Zone_38",GEOGCS["GCS_New_Beijing",DATUM
4775	New_Beijing_3_Degree_Gauss_Kruger_Zone_39	PROJCS["New_Beijing_3_Degree_Gauss_Kruger_Zone_39",GEOGCS["GCS_New_Beijing",DATUM
4776	New_Beijing_3_Degree_Gauss_Kruger_Zone_40	PROJCS["New_Beijing_3_Degree_Gauss_Kruger_Zone_40",GEOGCS["GCS_New_Beijing",DATUM
4777	New_Beijing_3_Degree_Gauss_Kruger_Zone_41	PROJCS["New_Beijing_3_Degree_Gauss_Kruger_Zone_41",GEOGCS["GCS_New_Beijing",DATUM
4778	New_Beijing_3_Degree_Gauss_Kruger_Zone_42	PROJCS["New_Beijing_3_Degree_Gauss_Kruger_Zone_42",GEOGCS["GCS_New_Beijing",DATUM
4779	New_Beijing_3_Degree_Gauss_Kruger_Zone_43	PROJCS["New_Beijing_3_Degree_Gauss_Kruger_Zone_43",GEOGCS["GCS_New_Beijing",DATUM
4780	New_Beijing_3_Degree_Gauss_Kruger_Zone_44	PROJCS["New_Beijing_3_Degree_Gauss_Kruger_Zone_44",GEOGCS["GCS_New_Beijing",DATUM
4781	New_Beijing_3_Degree_Gauss_Kruger_Zone_45	PROJCS["New_Beijing_3_Degree_Gauss_Kruger_Zone_45",GEOGCS["GCS_New_Beijing",DATUM
4782	New_Beijing_3_Degree_Gauss_Kruger_CM_75E	PROJCS["New_Beijing_3_Degree_Gauss_Kruger_CM_75E",GEOGCS["GCS_New_Beijing",DATUM
4783	New_Beijing_3_Degree_Gauss_Kruger_CM_78E	PROJCS["New_Beijing_3_Degree_Gauss_Kruger_CM_78E",GEOGCS["GCS_New_Beijing",DATUM
4784	New_Beijing_3_Degree_Gauss_Kruger_CM_81E	PROJCS["New_Beijing_3_Degree_Gauss_Kruger_CM_81E",GEOGCS["GCS_New_Beijing",DATUM
4785	New_Beijing_3_Degree_Gauss_Kruger_CM_84E	PROJCS["New_Beijing_3_Degree_Gauss_Kruger_CM_84E",GEOGCS["GCS_New_Beijing",DATUM
4786	New_Beijing_3_Degree_Gauss_Kruger_CM_87E	PROJCS["New_Beijing_3_Degree_Gauss_Kruger_CM_87E",GEOGCS["GCS_New_Beijing",DATUM
4787	New_Beijing_3_Degree_Gauss_Kruger_CM_90E	PROJCS["New_Beijing_3_Degree_Gauss_Kruger_CM_90E",GEOGCS["GCS_New_Beijing",DATUM
4788	New_Beijing_3_Degree_Gauss_Kruger_CM_93E	PROJCS["New_Beijing_3_Degree_Gauss_Kruger_CM_93E",GEOGCS["GCS_New_Beijing",DATUM
4789	New_Beijing_3_Degree_Gauss_Kruger_CM_96E	PROJCS["New_Beijing_3_Degree_Gauss_Kruger_CM_96E",GEOGCS["GCS_New_Beijing",DATUM
4790	New_Beijing_3_Degree_Gauss_Kruger_CM_99E	PROJCS["New_Beijing_3_Degree_Gauss_Kruger_CM_99E",GEOGCS["GCS_New_Beijing",DATUM
4791	New_Beijing_3_Degree_Gauss_Kruger_CM_102E	PROJCS["New_Beijing_3_Degree_Gauss_Kruger_CM_102E",GEOGCS["GCS_New_Beijing",DATU
4792	New_Beijing_3_Degree_Gauss_Kruger_CM_105E	PROJCS["New_Beijing_3_Degree_Gauss_Kruger_CM_105E",GEOGCS["GCS_New_Beijing",DATU
4793	New_Beijing_3_Degree_Gauss_Kruger_CM_108E	PROJCS["New_Beijing_3_Degree_Gauss_Kruger_CM_108E",GEOGCS["GCS_New_Beijing",DATU
4794	New_Beijing_3_Degree_Gauss_Kruger_CM_111E	PROJCS["New_Beijing_3_Degree_Gauss_Kruger_CM_111E",GEOGCS["GCS_New_Beijing",DATU
4795	New_Beijing_3_Degree_Gauss_Kruger_CM_114E	PROJCS["New_Beijing_3_Degree_Gauss_Kruger_CM_114E",GEOGCS["GCS_New_Beijing",DATU
4796	New_Beijing_3_Degree_Gauss_Kruger_CM_117E	PROJCS["New_Beijing_3_Degree_Gauss_Kruger_CM_117E",GEOGCS["GCS_New_Beijing",DATU
4797	New_Beijing_3_Degree_Gauss_Kruger_CM_120E	PROJCS["New_Beijing_3_Degree_Gauss_Kruger_CM_120E",GEOGCS["GCS_New_Beijing",DATU
4798	New_Beijing_3_Degree_Gauss_Kruger_CM_123E	PROJCS["New_Beijing_3_Degree_Gauss_Kruger_CM_123E",GEOGCS["GCS_New_Beijing",DATU
4799	New_Beijing_3_Degree_Gauss_Kruger_CM_126E	PROJCS["New_Beijing_3_Degree_Gauss_Kruger_CM_126E",GEOGCS["GCS_New_Beijing",DATU
4800	New_Beijing_3_Degree_Gauss_Kruger_CM_129E	PROJCS["New_Beijing_3_Degree_Gauss_Kruger_CM_129E",GEOGCS["GCS_New_Beijing",DATU
4822	New_Beijing_3_Degree_Gauss_Kruger_CM_135E	PROJCS["New_Beijing_3_Degree_Gauss_Kruger_CM_135E",GEOGCS["GCS_New_Beijing",DATU
4826	WGS_1984_Cape_Verde_Grid	PROJCS["WGS_1984_Cape_Verde_Grid",GEOGCS["GCS_WGS_1984",DATUM["D_WGS_1984",S
4839	ETRS_1989_LCC_Germany_N-E	PROJCS["ETRS_1989_LCC_Germany_N-E",GEOGCS["GCS_ETRS_1989",DATUM["D_ETRS_198
5014	PTRA08_UTM_Zone_25N	PROJCS["PTRA08_UTM_Zone_25N",GEOGCS["GCS_PTRA08",DATUM["D_PTRA08",SPHEROID[
5015	PTRA08_UTM_Zone_26N	PROJCS["PTRA08_UTM_Zone_26N",GEOGCS["GCS_PTRA08",DATUM["D_PTRA08",SPHEROID[

Copyright © 1995-2016 Esri. All rights reserved.

5016	PTRA08_UTM_Zone_28N	PROJCS["PTRA08_UTM_Zone_28N",GEOGCS["GCS_PTRA08",DATUM["D_PTRA08",SPHEROID[
5018	Lisbon_Portuguese_Grid_New	PROJCS["Lisbon_Portuguese_Grid_New",GEOGCS["GCS_Lisbon",DATUM["D_Lisbon",SPHEROID
5048	ETRS_1989_TM35FIN_NE	PROJCS["ETRS_1989_TM35FIN_NE",GEOGCS["GCS_ETRS_1989",DATUM["D_ETRS_1989",SPH
5069	NAD_1927_Contiguous_USA_Albers	PROJCS["NAD_1927_Contiguous_USA_Albers",GEOGCS["GCS_North_American_1927",DATUM[""
5070	NAD_1983_Contiguous_USA_Albers	PROJCS["NAD_1983_Contiguous_USA_Albers",GEOGCS["GCS_North_American_1983",DATUM[""
5071	NAD_1983_HARN_Contiguous_USA_Albers	PROJCS["NAD_1983_HARN_Contiguous_USA_Albers",GEOGCS["GCS_North_American_1983_HA
5072	NAD_1983_NSRS2007_Contiguous_USA_Albers	PROJCS["NAD_1983_NSRS2007_Contiguous_USA_Albers",GEOGCS["GCS_NAD_1983_NSRS20
5105	ETRS_1989_NTM_Zone_5	PROJCS["ETRS_1989_NTM_Zone_5",GEOGCS["GCS_ETRS_1989",DATUM["D_ETRS_1989",SPH
5106	ETRS_1989_NTM_Zone_6	PROJCS["ETRS_1989_NTM_Zone_6",GEOGCS["GCS_ETRS_1989",DATUM["D_ETRS_1989",SPH
5107	ETRS_1989_NTM_Zone_7	PROJCS["ETRS_1989_NTM_Zone_7",GEOGCS["GCS_ETRS_1989",DATUM["D_ETRS_1989",SPH
5108	ETRS_1989_NTM_Zone_8	PROJCS["ETRS_1989_NTM_Zone_8",GEOGCS["GCS_ETRS_1989",DATUM["D_ETRS_1989",SPH
5109	ETRS_1989_NTM_Zone_9	PROJCS["ETRS_1989_NTM_Zone_9",GEOGCS["GCS_ETRS_1989",DATUM["D_ETRS_1989",SPH
5110	ETRS_1989_NTM_Zone_10	PROJCS["ETRS_1989_NTM_Zone_10",GEOGCS["GCS_ETRS_1989",DATUM["D_ETRS_1989",SP
5111	ETRS_1989_NTM_Zone_11	PROJCS["ETRS_1989_NTM_Zone_11",GEOGCS["GCS_ETRS_1989",DATUM["D_ETRS_1989",SP
5112	ETRS_1989_NTM_Zone_12	PROJCS["ETRS_1989_NTM_Zone_12",GEOGCS["GCS_ETRS_1989",DATUM["D_ETRS_1989",SP
5113	ETRS_1989_NTM_Zone_13	PROJCS["ETRS_1989_NTM_Zone_13",GEOGCS["GCS_ETRS_1989",DATUM["D_ETRS_1989",SP
5114	ETRS_1989_NTM_Zone_14	PROJCS["ETRS_1989_NTM_Zone_14",GEOGCS["GCS_ETRS_1989",DATUM["D_ETRS_1989",SP
5115	ETRS_1989_NTM_Zone_15	PROJCS["ETRS_1989_NTM_Zone_15",GEOGCS["GCS_ETRS_1989",DATUM["D_ETRS_1989",SP
5116	ETRS_1989_NTM_Zone_16	PROJCS["ETRS_1989_NTM_Zone_16",GEOGCS["GCS_ETRS_1989",DATUM["D_ETRS_1989",SP
5117	ETRS_1989_NTM_Zone_17	PROJCS["ETRS_1989_NTM_Zone_17",GEOGCS["GCS_ETRS_1989",DATUM["D_ETRS_1989",SP
5118	ETRS_1989_NTM_Zone_18	PROJCS["ETRS_1989_NTM_Zone_18",GEOGCS["GCS_ETRS_1989",DATUM["D_ETRS_1989",SP
5119	ETRS_1989_NTM_Zone_19	PROJCS["ETRS_1989_NTM_Zone_19",GEOGCS["GCS_ETRS_1989",DATUM["D_ETRS_1989",SP
5120	ETRS_1989_NTM_Zone_20	PROJCS["ETRS_1989_NTM_Zone_20",GEOGCS["GCS_ETRS_1989",DATUM["D_ETRS_1989",SP
5121	ETRS_1989_NTM_Zone_21	PROJCS["ETRS_1989_NTM_Zone_21",GEOGCS["GCS_ETRS_1989",DATUM["D_ETRS_1989",SP
5122	ETRS_1989_NTM_Zone_22	PROJCS["ETRS_1989_NTM_Zone_22",GEOGCS["GCS_ETRS_1989",DATUM["D_ETRS_1989",SP
5123	ETRS_1989_NTM_Zone_23	PROJCS["ETRS_1989_NTM_Zone_23",GEOGCS["GCS_ETRS_1989",DATUM["D_ETRS_1989",SP
5124	ETRS_1989_NTM_Zone_24	PROJCS["ETRS_1989_NTM_Zone_24",GEOGCS["GCS_ETRS_1989",DATUM["D_ETRS_1989",SP
5125	ETRS_1989_NTM_Zone_25	PROJCS["ETRS_1989_NTM_Zone_25",GEOGCS["GCS_ETRS_1989",DATUM["D_ETRS_1989",SP
5126	ETRS_1989_NTM_Zone_26	PROJCS["ETRS_1989_NTM_Zone_26",GEOGCS["GCS_ETRS_1989",DATUM["D_ETRS_1989",SP
5127	ETRS_1989_NTM_Zone_27	PROJCS["ETRS_1989_NTM_Zone_27",GEOGCS["GCS_ETRS_1989",DATUM["D_ETRS_1989",SP
5128	ETRS_1989_NTM_Zone_28	PROJCS["ETRS_1989_NTM_Zone_28",GEOGCS["GCS_ETRS_1989",DATUM["D_ETRS_1989",SP
5129	ETRS_1989_NTM_Zone_29	PROJCS["ETRS_1989_NTM_Zone_29",GEOGCS["GCS_ETRS_1989",DATUM["D_ETRS_1989",SP
5130	ETRS_1989_NTM_Zone_30	PROJCS["ETRS_1989_NTM_Zone_30",GEOGCS["GCS_ETRS_1989",DATUM["D_ETRS_1989",SP
5167	Korean_1985_Korea_East_Sea_Belt	PROJCS["Korean_1985_Korea_East_Sea_Belt",GEOGCS["GCS_Korean_Datum_1985",DATUM["D
5168	Korean_1985_Korea_Central_Belt_Jeju	PROJCS["Korean_1985_Korea_Central_Belt_Jeju",GEOGCS["GCS_Korean_Datum_1985",DATUM
5173	Korean_1985_Modified_Korea_West_Belt	PROJCS["Korean_1985_Modified_Korea_West_Belt",GEOGCS["GCS_Korean_Datum_1985",DATU
5174	Korean_1985_Modified_Korea_Central_Belt	PROJCS["Korean_1985_Modified_Korea_Central_Belt",GEOGCS["GCS_Korean_Datum_1985",DA
5175	Korean_1985_Modified_Korea_Central_Belt_Jeju	PROJCS["Korean_1985_Modified_Korea_Central_Belt_Jeju",GEOGCS["GCS_Korean_Datum_1985
5176	Korean_1985_Modified_Korea_East_Belt	PROJCS["Korean_1985_Modified_Korea_East_Belt",GEOGCS["GCS_Korean_Datum_1985",DATU
5177	Korean_1985_Modified_Korea_East_Sea_Belt	PROJCS["Korean_1985_Modified_Korea_East_Sea_Belt",GEOGCS["GCS_Korean_Datum_1985",D
5178	Korean_1985_Korea_Unified_Coordinate_System	PROJCS["Korean_1985_Korea_Unified_Coordinate_System",GEOGCS["GCS_Korean_Datum_198
5179	Korea_2000_Korea_Unified_Coordinate_System	PROJCS["Korea_2000_Korea_Unified_Coordinate_System",GEOGCS["GCS_Korea_2000",DATUM
5180	Korea_2000_Korea_West_Belt	PROJCS["Korea_2000_Korea_West_Belt",GEOGCS["GCS_Korea_2000",DATUM["D_Korea_2000",
5181	Korea_2000_Korea_Central_Belt	PROJCS["Korea_2000_Korea_Central_Belt",GEOGCS["GCS_Korea_2000",DATUM["D_Korea_200
5182	Korea_2000_Korea_Central_Belt_Jeju	PROJCS["Korea_2000_Korea_Central_Belt_Jeju",GEOGCS["GCS_Korea_2000",DATUM["D_Korea
5183	Korea_2000_Korea_East_Belt	PROJCS["Korea_2000_Korea_East_Belt",GEOGCS["GCS_Korea_2000",DATUM["D_Korea_2000",S
5184	Korea_2000_Korea_East_Sea_Belt	PROJCS["Korea_2000_Korea_East_Sea_Belt",GEOGCS["GCS_Korea_2000",DATUM["D_Korea_20
5185	Korea_2000_Korea_West_Belt_2010	PROJCS["Korea_2000_Korea_West_Belt_2010",GEOGCS["GCS_Korea_2000",DATUM["D_Korea_
5186	Korea_2000_Korea_Central_Belt_2010	PROJCS["Korea_2000_Korea_Central_Belt_2010",GEOGCS["GCS_Korea_2000",DATUM["D_Korea
5187	Korea_2000_Korea_East_Belt_2010	PROJCS["Korea_2000_Korea_East_Belt_2010",GEOGCS["GCS_Korea_2000",DATUM["D_Korea_2
5188	Korea_2000_Korea_East_Sea_Belt_2010	PROJCS["Korea_2000_Korea_East_Sea_Belt_2010",GEOGCS["GCS_Korea_2000",DATUM["D_Ko
5221	S-JTSK_Ferro_Krovak_East_North	PROJCS["S-JTSK_Ferro_Krovak_East_North",GEOGCS["GCS_S_JTSK_Ferro",DATUM["D_S_JTS
5223	WGS_1984_UTM_Gabon_TM	PROJCS["WGS_1984_UTM_Gabon_TM",GEOGCS["GCS_WGS_1984",DATUM["D_WGS_1984",SI
5234	Kandawala_Sri_Lanka_Grid	PROJCS["Kandawala_Sri_Lanka_Grid",GEOGCS["GCS_Kandawala",DATUM["D_Kandawala",SPHE

Copyright © 1995-2016 Esri. All rights reserved.

5235	SLD99_Sri_Lanka_Grid_1999	PROJCS["SLD99_Sri_Lanka_Grid_1999",GEOGCS["GCS_SLD99",DATUM["D_Sri_Lanka_Datum_1
5243	ETRS_1989_LCC_Germany_E-N	PROJCS["ETRS_1989_LCC_Germany_E-N",GEOGCS["GCS_ETRS_1989",DATUM["D_ETRS_198
5247	GDBD2009_GEORSO	PROJCS["GDBD2009_GEORSO",GEOGCS["GCS_GDBD2009",DATUM["D_GDBD2009",SPHEROI
5253	TUREF_TM27	PROJCS["TUREF_TM27",GEOGCS["GCS_TUREF",DATUM["D_Turkish_National_Reference_Fram
5254	TUREF_TM30	PROJCS["TUREF_TM30",GEOGCS["GCS_TUREF",DATUM["D_Turkish_National_Reference_Fram
5255	TUREF_TM33	PROJCS["TUREF_TM33",GEOGCS["GCS_TUREF",DATUM["D_Turkish_National_Reference_Fram
5256	TUREF_TM36	PROJCS["TUREF_TM36",GEOGCS["GCS_TUREF",DATUM["D_Turkish_National_Reference_Fram
5257	TUREF_TM39	PROJCS["TUREF_TM39",GEOGCS["GCS_TUREF",DATUM["D_Turkish_National_Reference_Fram
5258	TUREF_TM42	PROJCS["TUREF_TM42",GEOGCS["GCS_TUREF",DATUM["D_Turkish_National_Reference_Fram
5259	TUREF_TM45	PROJCS["TUREF_TM45",GEOGCS["GCS_TUREF",DATUM["D_Turkish_National_Reference_Fram
5266	DRUKREF_03_Bhutan_National_Grid	PROJCS["DRUKREF_03_Bhutan_National_Grid",GEOGCS["GCS_DRUKREF_03",DATUM["D_Bhu
5269	TUREF_3_Degree_GK_Zone_9	PROJCS["TUREF_3_Degree_GK_Zone_9",GEOGCS["GCS_TUREF",DATUM["D_Turkish_National_
5270	TUREF_3_Degree_GK_Zone_10	PROJCS["TUREF_3_Degree_GK_Zone_10",GEOGCS["GCS_TUREF",DATUM["D_Turkish_Nationa
5271	TUREF_3_Degree_GK_Zone_11	PROJCS["TUREF_3_Degree_GK_Zone_11",GEOGCS["GCS_TUREF",DATUM["D_Turkish_Nationa
5272	TUREF_3_Degree_GK_Zone_12	PROJCS["TUREF_3_Degree_GK_Zone_12",GEOGCS["GCS_TUREF",DATUM["D_Turkish_Nationa
5273	TUREF_3_Degree_GK_Zone_13	PROJCS["TUREF_3_Degree_GK_Zone_13",GEOGCS["GCS_TUREF",DATUM["D_Turkish_Nationa
5274	TUREF_3_Degree_GK_Zone_14	PROJCS["TUREF_3_Degree_GK_Zone_14",GEOGCS["GCS_TUREF",DATUM["D_Turkish_Nationa
5275	TUREF_3_Degree_GK_Zone_15	PROJCS["TUREF_3_Degree_GK_Zone_15",GEOGCS["GCS_TUREF",DATUM["D_Turkish_Nationa
5292	DRUKREF_03_Bumthang_TM	PROJCS["DRUKREF_03_Bumthang_TM",GEOGCS["GCS_DRUKREF_03",DATUM["D_Bhutan_Nat
5293	DRUKREF_03_Chhukha_TM	PROJCS["DRUKREF_03_Chhukha_TM",GEOGCS["GCS_DRUKREF_03",DATUM["D_Bhutan_Natio
5294	DRUKREF_03_Dagana_TM	PROJCS["DRUKREF_03_Dagana_TM",GEOGCS["GCS_DRUKREF_03",DATUM["D_Bhutan_Natio
5295	DRUKREF_03_Gasa_TM	PROJCS["DRUKREF_03_Gasa_TM",GEOGCS["GCS_DRUKREF_03",DATUM["D_Bhutan_National
5296	DRUKREF_03_Ha_TM	PROJCS["DRUKREF_03_Ha_TM",GEOGCS["GCS_DRUKREF_03",DATUM["D_Bhutan_National_G
5297	DRUKREF_03_Lhuentse_TM	PROJCS["DRUKREF_03_Lhuentse_TM",GEOGCS["GCS_DRUKREF_03",DATUM["D_Bhutan_Natio
5298	DRUKREF_03_Mongar_TM	PROJCS["DRUKREF_03_Mongar_TM",GEOGCS["GCS_DRUKREF_03",DATUM["D_Bhutan_Natio
5299	DRUKREF_03_Paro_TM	PROJCS["DRUKREF_03_Paro_TM",GEOGCS["GCS_DRUKREF_03",DATUM["D_Bhutan_National_
5300	DRUKREF_03_Pemagatshel_TM	PROJCS["DRUKREF_03_Pemagatshel_TM",GEOGCS["GCS_DRUKREF_03",DATUM["D_Bhutan_
5301	DRUKREF_03_Punakha_TM	PROJCS["DRUKREF_03_Punakha_TM",GEOGCS["GCS_DRUKREF_03",DATUM["D_Bhutan_Natio
5302	DRUKREF_03_Samdrup_Jongkhar_TM	PROJCS["DRUKREF_03_Samdrup_Jongkhar_TM",GEOGCS["GCS_DRUKREF_03",DATUM["D_Bh
5303	DRUKREF_03_Samtse_TM	PROJCS["DRUKREF_03_Samtse_TM",GEOGCS["GCS_DRUKREF_03",DATUM["D_Bhutan_Natio
5304	DRUKREF_03_Sarpang_TM	PROJCS["DRUKREF_03_Sarpang_TM",GEOGCS["GCS_DRUKREF_03",DATUM["D_Bhutan_Natio
5305	DRUKREF_03_Thimphu_TM	PROJCS["DRUKREF_03_Thimphu_TM",GEOGCS["GCS_DRUKREF_03",DATUM["D_Bhutan_Natio
5306	DRUKREF_03_Trashigang_TM	PROJCS["DRUKREF_03_Trashigang_TM",GEOGCS["GCS_DRUKREF_03",DATUM["D_Bhutan_Na
5307	DRUKREF_03_Trongsa_TM	PROJCS["DRUKREF_03_Trongsa_TM",GEOGCS["GCS_DRUKREF_03",DATUM["D_Bhutan_Natio
5308	DRUKREF_03_Tsirang_TM	PROJCS["DRUKREF_03_Tsirang_TM",GEOGCS["GCS_DRUKREF_03",DATUM["D_Bhutan_Nation
5309	DRUKREF_03_Wangdue_Phodrang_TM	PROJCS["DRUKREF_03_Wangdue_Phodrang_TM",GEOGCS["GCS_DRUKREF_03",DATUM["D_B
5310	DRUKREF_03_Yangtse_TM	PROJCS["DRUKREF_03_Yangtse_TM",GEOGCS["GCS_DRUKREF_03",DATUM["D_Bhutan_Natio
5311	DRUKREF_03_Zhemgang_TM	PROJCS["DRUKREF_03_Zhemgang_TM",GEOGCS["GCS_DRUKREF_03",DATUM["D_Bhutan_Na
5316	ETRS_1989_FAROE_TM	PROJCS["ETRS_1989_FAROE_TM",GEOGCS["GCS_ETRS_1989",DATUM["D_ETRS_1989",SPHE
5320	NAD_1983_Teranet_Ontario_Lambert	PROJCS["NAD_1983_Teranet_Ontario_Lambert",GEOGCS["GCS_North_American_1983",DATUM[
5321	NAD_1983_CSRS_Teranet_Ontario_Lambert	PROJCS["NAD_1983_CSRS_Teranet_Ontario_Lambert",GEOGCS["GCS_North_American_1983_C
5325	ISN_2004_Lambert_2004	PROJCS["ISN_2004_Lambert_2004",GEOGCS["GCS_ISN_2004",DATUM["D_Islands_Network_200
5329	Gunung_Segara_Jakarta_NEIEZ	PROJCS["Gunung_Segara_Jakarta_NEIEZ",GEOGCS["GCS_Gunung_Segara_Jakarta",DATUM["D
5330	Batavia_Jakarta_NEIEZ	PROJCS["Batavia_Jakarta_NEIEZ",GEOGCS["GCS_Batavia_Jakarta",DATUM["D_Batavia",SPHER
5331	Makassar_Jakarta_NEIEZ	PROJCS["Makassar_Jakarta_NEIEZ",GEOGCS["GCS_Makassar_Jakarta",DATUM["D_Makassar",S
5337	Aratu_UTM_Zone_25S	PROJCS["Aratu_UTM_Zone_25S",GEOGCS["GCS_Aratu",DATUM["D_Aratu",SPHEROID["Internati
5343	POSGAR_2007_Argentina_Zone_1	PROJCS["POSGAR_2007_Argentina_Zone_1",GEOGCS["GCS_POSGAR_2007",DATUM["D_POSG
5344	POSGAR_2007_Argentina_Zone_2	PROJCS["POSGAR_2007_Argentina_Zone_2",GEOGCS["GCS_POSGAR_2007",DATUM["D_POSG
5345	POSGAR_2007_Argentina_Zone_3	PROJCS["POSGAR_2007_Argentina_Zone_3",GEOGCS["GCS_POSGAR_2007",DATUM["D_POSG
5346	POSGAR_2007_Argentina_Zone_4	PROJCS["POSGAR_2007_Argentina_Zone_4",GEOGCS["GCS_POSGAR_2007",DATUM["D_POSG
5347	POSGAR_2007_Argentina_Zone_5	PROJCS["POSGAR_2007_Argentina_Zone_5",GEOGCS["GCS_POSGAR_2007",DATUM["D_POSG
5348	POSGAR_2007_Argentina_Zone_6	PROJCS["POSGAR_2007_Argentina_Zone_6",GEOGCS["GCS_POSGAR_2007",DATUM["D_POSG
5349	POSGAR_2007_Argentina_Zone_7	PROJCS["POSGAR_2007_Argentina_Zone_7",GEOGCS["GCS_POSGAR_2007",DATUM["D_POSG
5355	MARGEN_UTM_Zone_20S	PROJCS["MARGEN_UTM_Zone_20S",GEOGCS["GCS_MARGEN",DATUM["D_Marco_Geodesico_

Copyright © 1995-2016 Esri. All rights reserved.

5356	MARGEN_UTM_Zone_19S	PROJCS["MARGEN_UTM_Zone_19S",GEOGCS["GCS_MARGEN",DATUM["D_Marco_Geodesico_
5357	MARGEN_UTM_Zone_21S	PROJCS["MARGEN_UTM_Zone_21S",GEOGCS["GCS_MARGEN",DATUM["D_Marco_Geodesico_
5361	SIRGAS-Chile_UTM_Zone_19S	PROJCS["SIRGAS-Chile_UTM_Zone_19S",GEOGCS["GCS_SIRGAS-Chile",DATUM["D_SIRGAS-C
5362	SIRGAS-Chile_UTM_Zone_18S	PROJCS["SIRGAS-Chile_UTM_Zone_18S",GEOGCS["GCS_SIRGAS-Chile",DATUM["D_SIRGAS-C
5367	CRTM05	PROJCS["CRTM05",GEOGCS["GCS_CR05",DATUM["D_Costa_Rica_2005",SPHEROID["WGS_198
5382	SIRGAS-ROU98_UTM_Zone_21S	PROJCS["SIRGAS-ROU98_UTM_Zone_21S",GEOGCS["GCS_SIRGAS-ROU98",DATUM["D_SIRG
5383	SIRGAS-ROU98_UTM_Zone_22S	PROJCS["SIRGAS-ROU98_UTM_Zone_22S",GEOGCS["GCS_SIRGAS-ROU98",DATUM["D_SIRG
5387	Peru96_UTM_Zone_18S	PROJCS["Peru96_UTM_Zone_18S",GEOGCS["GCS_Peru96",DATUM["D_Peru96",SPHEROID["GR
5389	Peru96_UTM_Zone_19S	PROJCS["Peru96_UTM_Zone_19S",GEOGCS["GCS_Peru96",DATUM["D_Peru96",SPHEROID["GR
5396	SIRGAS_2000_UTM_Zone_26S	PROJCS["SIRGAS_2000_UTM_Zone_26S",GEOGCS["GCS_SIRGAS_2000",DATUM["D_SIRGAS_
5456	Ocotepeque_1935_Costa_Rica_Norte	PROJCS["Ocotepeque_1935_Costa_Rica_Norte",GEOGCS["GCS_Ocotepeque_1935",DATUM["D_
5457	Ocotepeque_1935_Costa_Rica_Sur	PROJCS["Ocotepeque_1935_Costa_Rica_Sur",GEOGCS["GCS_Ocotepeque_1935",DATUM["D_Oc
5459	Ocotepeque_1935_Guatemala_Sur	PROJCS["Ocotepeque_1935_Guatemala_Sur",GEOGCS["GCS_Ocotepeque_1935",DATUM["D_Oc
5460	Ocotepeque_1935_El_Salvador_Lambert	PROJCS["Ocotepeque_1935_El_Salvador_Lambert",GEOGCS["GCS_Ocotepeque_1935",DATUM[""
5461	Ocotepeque_1935_Nicaragua_Norte	PROJCS["Ocotepeque_1935_Nicaragua_Norte",GEOGCS["GCS_Ocotepeque_1935",DATUM["D_O
5462	Ocotepeque_1935_Nicaragua_Sur	PROJCS["Ocotepeque_1935_Nicaragua_Sur",GEOGCS["GCS_Ocotepeque_1935",DATUM["D_Oco
5463	SAD_1969_UTM_Zone_17N	PROJCS["SAD_1969_UTM_Zone_17N",GEOGCS["GCS_South_American_1969",DATUM["D_South
5469	Panama-Colon_1911_Panama_Lambert	PROJCS["Panama-Colon_1911_Panama_Lambert",GEOGCS["GCS_Panama-Colon_1911",DATUM
5472	Panama-Colon_1911_Panama_Polyconic	PROJCS["Panama-Colon_1911_Panama_Polyconic",GEOGCS["GCS_Panama-Colon_1911",DATU
5479	RSRGD2000_MSLC2000	PROJCS["RSRGD2000_MSLC2000",GEOGCS["GCS_RSRGD2000",DATUM["D_Ross_Sea_Region
5480	RSRGD2000_BCLC2000	PROJCS["RSRGD2000_BCLC2000",GEOGCS["GCS_RSRGD2000",DATUM["D_Ross_Sea_Region
5481	RSRGD2000_PCLC2000	PROJCS["RSRGD2000_PCLC2000",GEOGCS["GCS_RSRGD2000",DATUM["D_Ross_Sea_Region
5482	RSRGD2000_RSPS2000	PROJCS["RSRGD2000_RSPS2000",GEOGCS["GCS_RSRGD2000",DATUM["D_Ross_Sea_Region
5490	RGAF09_UTM_Zone_20N	PROJCS["RGAF09_UTM_Zone_20N",GEOGCS["GCS_RGAF09",DATUM["Reseau_Geodesique_de
5513	S-JTSK_Krovak	PROJCS["S-JTSK_Krovak",GEOGCS["GCS_S_JTSK",DATUM["D_S_JTSK",SPHEROID["Bessel_18
5514	S-JTSK_Krovak_East_North	PROJCS["S-JTSK_Krovak_East_North",GEOGCS["GCS_S_JTSK",DATUM["D_S_JTSK",SPHEROI
5518	Chatham_Island_1971_Map_Grid	PROJCS["Chatham_Island_1971_Map_Grid",GEOGCS["GCS_Chatham_Island_1971",DATUM["D_
5519	Chatham_Islands_1979_Map_Grid	PROJCS["Chatham_Islands_1979_Map_Grid",GEOGCS["GCS_Chatham_Islands_1979",DATUM["D
5520	DHDN_3_Degree_Gauss_Zone_1	PROJCS["DHDN_3_Degree_Gauss_Zone_1",GEOGCS["GCS_Deutsches_Hauptdreiecksnetz",DAT
5523	WGS_1984_UTM_Gabon_TM_2011	PROJCS["WGS_1984_UTM_Gabon_TM_2011",GEOGCS["GCS_WGS_1984",DATUM["D_WGS_19
5530	SAD_1969_96_Brazil_Polyconic	PROJCS["SAD_1969_96_Brazil_Polyconic",GEOGCS["GCS_SAD_1969_96",DATUM["D_South_Am
5531	SAD_1969_96_UTM_Zone_21S	PROJCS["SAD_1969_96_UTM_Zone_21S",GEOGCS["GCS_SAD_1969_96",DATUM["D_South_Am
5533	SAD_1969_96_UTM_Zone_23S	PROJCS["SAD_1969_96_UTM_Zone_23S",GEOGCS["GCS_SAD_1969_96",DATUM["D_South_Am
5534	SAD_1969_96_UTM_Zone_24S	PROJCS["SAD_1969_96_UTM_Zone_24S",GEOGCS["GCS_SAD_1969_96",DATUM["D_South_Am
5535	SAD_1969_96_UTM_Zone_25S	PROJCS["SAD_1969_96_UTM_Zone_25S",GEOGCS["GCS_SAD_1969_96",DATUM["D_South_Am
5536	Corrego_Alegre_1961_UTM_Zone_21S	PROJCS["Corrego_Alegre_1961_UTM_Zone_21S",GEOGCS["GCS_Corrego_Alegre_1961",DATUM
5537	Corrego_Alegre_1961_UTM_Zone_22S	PROJCS["Corrego_Alegre_1961_UTM_Zone_22S",GEOGCS["GCS_Corrego_Alegre_1961",DATUM
5538	Corrego_Alegre_1961_UTM_Zone_23S	PROJCS["Corrego_Alegre_1961_UTM_Zone_23S",GEOGCS["GCS_Corrego_Alegre_1961",DATUM
5539	Corrego_Alegre_1961_UTM_Zone_24S	PROJCS["Corrego_Alegre_1961_UTM_Zone_24S",GEOGCS["GCS_Corrego_Alegre_1961",DATUM
5550	PNG94_PNGMG94_Zone_54	PROJCS["PNG94_PNGMG94_Zone_54",GEOGCS["GCS_PNG94",DATUM["D_Papua_New_Guinea
5551	PNG94_PNGMG94_Zone_55	PROJCS["PNG94_PNGMG94_Zone_55",GEOGCS["GCS_PNG94",DATUM["D_Papua_New_Guinea
5552	PNG94_PNGMG94_Zone_56	PROJCS["PNG94_PNGMG94_Zone_56",GEOGCS["GCS_PNG94",DATUM["D_Papua_New_Guinea
5559	Ocotepeque_1935_Guatemala_Norte	PROJCS["Ocotepeque_1935_Guatemala_Norte",GEOGCS["GCS_Ocotepeque_1935",DATUM["D_O
5562	Ukraine_2000_GK_Zone_4	PROJCS["Ukraine_2000_GK_Zone_4",GEOGCS["GCS_Ukraine_2000",DATUM["D_Ukraine_2000",
5563	Ukraine_2000_GK_Zone_5	PROJCS["Ukraine_2000_GK_Zone_5",GEOGCS["GCS_Ukraine_2000",DATUM["D_Ukraine_2000",
5564	Ukraine_2000_GK_Zone_6	PROJCS["Ukraine_2000_GK_Zone_6",GEOGCS["GCS_Ukraine_2000",DATUM["D_Ukraine_2000",
5565	Ukraine_2000_GK_Zone_7	PROJCS["Ukraine_2000_GK_Zone_7",GEOGCS["GCS_Ukraine_2000",DATUM["D_Ukraine_2000",
5566	Ukraine_2000_GK_CM_21E	PROJCS["Ukraine_2000_GK_CM_21E",GEOGCS["GCS_Ukraine_2000",DATUM["D_Ukraine_2000
5567	Ukraine_2000_GK_CM_27E	PROJCS["Ukraine_2000_GK_CM_27E",GEOGCS["GCS_Ukraine_2000",DATUM["D_Ukraine_2000
5568	Ukraine_2000_GK_CM_33E	PROJCS["Ukraine_2000_GK_CM_33E",GEOGCS["GCS_Ukraine_2000",DATUM["D_Ukraine_2000
5569	Ukraine_2000_GK_CM_39E	PROJCS["Ukraine_2000_GK_CM_39E",GEOGCS["GCS_Ukraine_2000",DATUM["D_Ukraine_2000
5570	Ukraine_2000_3_Degree_GK_Zone_7	PROJCS["Ukraine_2000_3_Degree_GK_Zone_7",GEOGCS["GCS_Ukraine_2000",DATUM["D_Ukra
5571	Ukraine_2000_3_Degree_GK_Zone_8	PROJCS["Ukraine_2000_3_Degree_GK_Zone_8",GEOGCS["GCS_Ukraine_2000",DATUM["D_Ukra
5572	Ukraine_2000_3_Degree_GK_Zone_9	PROJCS["Ukraine_2000_3_Degree_GK_Zone_9",GEOGCS["GCS_Ukraine_2000",DATUM["D_Ukra

Copyright © 1995-2016 Esri. All rights reserved.

5573	Ukraine_2000_3_Degree_GK_Zone_10	PROJCS["Ukraine_2000_3_Degree_GK_Zone_10",GEOGCS["GCS_Ukraine_2000",DATUM["D_Ukr
5574	Ukraine_2000_3_Degree_GK_Zone_11	PROJCS["Ukraine_2000_3_Degree_GK_Zone_11",GEOGCS["GCS_Ukraine_2000",DATUM["D_Ukr
5575	Ukraine_2000_3_Degree_GK_Zone_12	PROJCS["Ukraine_2000_3_Degree_GK_Zone_12",GEOGCS["GCS_Ukraine_2000",DATUM["D_Ukr
5576	Ukraine_2000_3_Degree_GK_Zone_13	PROJCS["Ukraine_2000_3_Degree_GK_Zone_13",GEOGCS["GCS_Ukraine_2000",DATUM["D_Ukr
5577	Ukraine_2000_3_Degree_GK_CM_21E	PROJCS["Ukraine_2000_3_Degree_GK_CM_21E",GEOGCS["GCS_Ukraine_2000",DATUM["D_Ukr
5578	Ukraine_2000_3_Degree_GK_CM_24E	PROJCS["Ukraine_2000_3_Degree_GK_CM_24E",GEOGCS["GCS_Ukraine_2000",DATUM["D_Ukr
5579	Ukraine_2000_3_Degree_GK_CM_27E	PROJCS["Ukraine_2000_3_Degree_GK_CM_27E",GEOGCS["GCS_Ukraine_2000",DATUM["D_Ukr
5580	Ukraine_2000_3_Degree_GK_CM_30E	PROJCS["Ukraine_2000_3_Degree_GK_CM_30E",GEOGCS["GCS_Ukraine_2000",DATUM["D_Ukr
5581	Ukraine_2000_3_Degree_GK_CM_33E	PROJCS["Ukraine_2000_3_Degree_GK_CM_33E",GEOGCS["GCS_Ukraine_2000",DATUM["D_Ukr
5582	Ukraine_2000_3_Degree_GK_CM_36E	PROJCS["Ukraine_2000_3_Degree_GK_CM_36E",GEOGCS["GCS_Ukraine_2000",DATUM["D_Ukr
5583	Ukraine_2000_3_Degree_GK_CM_39E	PROJCS["Ukraine_2000_3_Degree_GK_CM_39E",GEOGCS["GCS_Ukraine_2000",DATUM["D_Ukr
5588	NAD_1927_New_Brunswick_Stereographic	PROJCS["NAD_1927_New_Brunswick_Stereographic",GEOGCS["GCS_North_American_1927",DA
5589	Sibun_Gorge_1922_Colony_Grid	PROJCS["Sibun_Gorge_1922_Colony_Grid",GEOGCS["GCS_Sibun_Gorge_1922",DATUM["D_Sibu
5596	FEH2010_Fehmarnbelt_TM	PROJCS["FEH2010_Fehmarnbelt_TM",GEOGCS["GCS_FEH2010",DATUM["D_Fehmarnbelt_Datum
5623	NAD_1927_StatePlane_Michigan_East_Old_FIPS_2101	PROJCS["NAD_1927_StatePlane_Michigan_East_Old_FIPS_2101",GEOGCS["GCS_North_Americ
5624	NAD_1927_StatePlane_Michigan_Central_Old_FIPS_2102	PROJCS["NAD_1927_StatePlane_Michigan_Central_Old_FIPS_2102",GEOGCS["GCS_North_Ame
5625	NAD_1927_StatePlane_Michigan_West_Old_FIPS_2103	PROJCS["NAD_1927_StatePlane_Michigan_West_Old_FIPS_2103",GEOGCS["GCS_North_Americ
5627	ED_1950_TM_6_NE	PROJCS["ED_1950_TM_6_NE",GEOGCS["GCS_European_1950",DATUM["D_European_1950",SP
5629	Moznet_UTM_Zone_38S	PROJCS["Moznet_UTM_Zone_38S",GEOGCS["GCS_Moznet",DATUM["D_Moznet",SPHEROID["W
5631	Pulkovo_1942_Adj_1958_GK_Zone_2_E-N	PROJCS["Pulkovo_1942_Adj_1958_GK_Zone_2_E-N",GEOGCS["GCS_Pulkovo_1942_Adj_1958",
5632	PTRA08_LCC_Europe	PROJCS["PTRA08_LCC_Europe",GEOGCS["GCS_PTRA08",DATUM["D_PTRA08",SPHEROID["GR
5633	PTRA08_LAEA_Europe	PROJCS["PTRA08_LAEA_Europe",GEOGCS["GCS_PTRA08",DATUM["D_PTRA08",SPHEROID["G
5634	REGCAN95_LCC_Europe	PROJCS["REGCAN95_LCC_Europe",GEOGCS["GCS_REGCAN95",DATUM["D_Red_Geodesica_d
5635	REGCAN95_LAEA_Europe	PROJCS["REGCAN95_LAEA_Europe",GEOGCS["GCS_REGCAN95",DATUM["D_Red_Geodesica_
5636	TUREF_LAEA_Europe	PROJCS["TUREF_LAEA_Europe",GEOGCS["GCS_TUREF",DATUM["D_Turkish_National_Referen
5637	TUREF_LCC_Europe	PROJCS["TUREF_LCC_Europe",GEOGCS["GCS_TUREF",DATUM["D_Turkish_National_Reference
5638	ISN_2004_LAEA_Europe	PROJCS["ISN_2004_LAEA_Europe",GEOGCS["GCS_ISN_2004",DATUM["D_Islands_Network_200
5639	ISN_2004_LCC_Europe	PROJCS["ISN_2004_LCC_Europe",GEOGCS["GCS_ISN_2004",DATUM["D_Islands_Network_2004
5641	SIRGAS_2000_Brazil_Mercator	PROJCS["SIRGAS_2000_Brazil_Mercator",GEOGCS["GCS_SIRGAS_2000",DATUM["D_SIRGAS_2
5643	ED_1950_Southern_Permian_Basin_Lambert	PROJCS["ED_1950_Southern_Permian_Basin_Lambert",GEOGCS["GCS_European_1950",DATUM
5644	RGR_1992_UTM_39S	PROJCS["RGR_1992_UTM_39S",GEOGCS["GCS_RGR_1992",DATUM["D_RGR_1992",SPHEROI
5646	NAD_1983_StatePlane_Vermont_FIPS_4400_Feet	PROJCS["NAD_1983_StatePlane_Vermont_FIPS_4400_Feet",GEOGCS["GCS_North_American_19
5649	ETRS_1989_UTM_Zone_31N_zE-N	PROJCS["ETRS_1989_UTM_Zone_31N_zE-N",GEOGCS["GCS_ETRS_1989",DATUM["D_ETRS_1
5650	ETRS_1989_UTM_Zone_33N_zE-N	PROJCS["ETRS_1989_UTM_Zone_33N_zE-N",GEOGCS["GCS_ETRS_1989",DATUM["D_ETRS_1
5651	ETRS_1989_UTM_Zone_31N_N-zE	PROJCS["ETRS_1989_UTM_Zone_31N_N-zE",GEOGCS["GCS_ETRS_1989",DATUM["D_ETRS_1
5652	ETRS_1989_UTM_Zone_32N_N-zE	PROJCS["ETRS_1989_UTM_Zone_32N_N-zE",GEOGCS["GCS_ETRS_1989",DATUM["D_ETRS_1
5653	ETRS_1989_UTM_Zone_33N_N-zE	PROJCS["ETRS_1989_UTM_Zone_33N_N-zE",GEOGCS["GCS_ETRS_1989",DATUM["D_ETRS_1
5654	NAD_1983_HARN_StatePlane_Vermont_FIPS_4400_Ft_US	PROJCS["NAD_1983_HARN_StatePlane_Vermont_FIPS_4400_Ft_US",GEOGCS["GCS_North_Am
5655	NAD_1983_NSRS2007_StatePlane_Vermont_FIPS_4400_Ft_US	PROJCS["NAD_1983_NSRS2007_StatePlane_Vermont_FIPS_4400_Ft_US",GEOGCS["GCS_NAD_
5659	Monte_Mario_TM_Emilia-Romagna	PROJCS["Monte_Mario_TM_Emilia-Romagna",GEOGCS["GCS_Monte_Mario",DATUM["D_Monte_M
5663	Pulkovo_1942_Adj_1958_GK_Zone_3_E-N	PROJCS["Pulkovo_1942_Adj_1958_GK_Zone_3_E-N",GEOGCS["GCS_Pulkovo_1942_Adj_1958",
5664	Pulkovo_1942_Adj_1983_GK_Zone_2_E-N	PROJCS["Pulkovo_1942_Adj_1983_GK_Zone_2_E-N",GEOGCS["GCS_Pulkovo_1942_Adj_1983",
5665	Pulkovo_1942_Adj_1983_GK_Zone_3_E-N	PROJCS["Pulkovo_1942_Adj_1983_GK_Zone_3_E-N",GEOGCS["GCS_Pulkovo_1942_Adj_1983",
5666	PD/83_3_Degree_GK_Zone_3_E-N	PROJCS["PD/83_3_Degree_GK_Zone_3_E-N",GEOGCS["GCS_PD/83",DATUM["D_Potsdam_1983
5667	PD/83_3_Degree_GK_Zone_4_E-N	PROJCS["PD/83_3_Degree_GK_Zone_4_E-N",GEOGCS["GCS_PD/83",DATUM["D_Potsdam_1983
5668	RD/83_3_Degree_GK_Zone_4_E-N	PROJCS["RD/83_3_Degree_GK_Zone_4_E-N",GEOGCS["GCS_RD/83",DATUM["D_Rauenberg_19
5669	RD/83_3_Degree_GK_Zone_5_E-N	PROJCS["RD/83_3_Degree_GK_Zone_5_E-N",GEOGCS["GCS_RD/83",DATUM["D_Rauenberg_19
5670	Pulkovo_1942_Adj_1958_3_Degree_GK_Zone_3_E-N	PROJCS["Pulkovo_1942_Adj_1958_3_Degree_GK_Zone_3_E-N",GEOGCS["GCS_Pulkovo_1942_
5671	Pulkovo_1942_Adj_1958_3_Degree_GK_Zone_4_E-N	PROJCS["Pulkovo_1942_Adj_1958_3_Degree_GK_Zone_4_E-N",GEOGCS["GCS_Pulkovo_1942_
5672	Pulkovo_1942_Adj_1958_3_Degree_GK_Zone_5_E-N	PROJCS["Pulkovo_1942_Adj_1958_3_Degree_GK_Zone_5_E-N",GEOGCS["GCS_Pulkovo_1942_
5673	Pulkovo_1942_Adj_1983_3_Degree_GK_Zone_3_E-N	PROJCS["Pulkovo_1942_Adj_1983_3_Degree_GK_Zone_3_E-N",GEOGCS["GCS_Pulkovo_1942_
5674	Pulkovo_1942_Adj_1983_3_Degree_GK_Zone_4_E-N	PROJCS["Pulkovo_1942_Adj_1983_3_Degree_GK_Zone_4_E-N",GEOGCS["GCS_Pulkovo_1942_
5675	Pulkovo_1942_Adj_1983_3_Degree_GK_Zone_5_E-N	PROJCS["Pulkovo_1942_Adj_1983_3_Degree_GK_Zone_5_E-N",GEOGCS["GCS_Pulkovo_1942_
5676	DHDN_3_Degree_GK_Zone_2_E-N	PROJCS["DHDN_3_Degree_GK_Zone_2_E-N",GEOGCS["GCS_Deutsches_Hauptdreiecksnetz",DA

Copyright © 1995-2016 Esri. All rights reserved.

5677	DHDN_3_Degree_GK_Zone_3_E-N	PROJCS["DHDN_3_Degree_GK_Zone_3_E-N",GEOGCS["GCS_Deutsches_Hauptdreiecksnetz",DA
5678	DHDN_3_Degree_GK_Zone_4_E-N	PROJCS["DHDN_3_Degree_GK_Zone_4_E-N",GEOGCS["GCS_Deutsches_Hauptdreiecksnetz",DA
5679	DHDN_3_Degree_GK_Zone_5_E-N	PROJCS["DHDN_3_Degree_GK_Zone_5_E-N",GEOGCS["GCS_Deutsches_Hauptdreiecksnetz",DA
5680	DHDN_3_Degree_GK_Zone_1_E-N	PROJCS["DHDN_3_Degree_GK_Zone_1_E-N",GEOGCS["GCS_Deutsches_Hauptdreiecksnetz",DA
5682	DB_REF_3-Degree_GK_Zone_2_(E-N)	PROJCS["DB_REF_3-Degree_GK_Zone_2_(E-N)",GEOGCS["GCS_DB_REF",DATUM["D_Deutsch
5683	DB_REF_3-Degree_GK_Zone_3_(E-N)	PROJCS["DB_REF_3-Degree_GK_Zone_3_(E-N)",GEOGCS["GCS_DB_REF",DATUM["D_Deutsch
5684	DB_REF_3-Degree_GK_Zone_4_(E-N)	PROJCS["DB_REF_3-Degree_GK_Zone_4_(E-N)",GEOGCS["GCS_DB_REF",DATUM["D_Deutsch
5685	DB_REF_3-Degree_GK_Zone_5_(E-N)	PROJCS["DB_REF_3-Degree_GK_Zone_5_(E-N)",GEOGCS["GCS_DB_REF",DATUM["D_Deutsch
5700	NZGD_2000_UTM_Zone_1S	PROJCS["NZGD_2000_UTM_Zone_1S",GEOGCS["GCS_NZGD_2000",DATUM["D_NZGD_2000",S
5825	AGD_1966_ACT_Standard_Grid	PROJCS["AGD_1966_ACT_Standard_Grid",GEOGCS["GCS_Australian_1966",DATUM["D_Australia
5836	Yemen_NGN_1996_UTM_Zone_37N	PROJCS["Yemen_NGN_1996_UTM_Zone_37N",GEOGCS["GCS_Yemen_NGN_1996",DATUM["D_
5837	Yemen_NGN_1996_UTM_Zone_40N	PROJCS["Yemen_NGN_1996_UTM_Zone_40N",GEOGCS["GCS_Yemen_NGN_1996",DATUM["D_
5839	Peru96_UTM_Zone_17S	PROJCS["Peru96_UTM_Zone_17S",GEOGCS["GCS_Peru96",DATUM["D_Peru96",SPHEROID["GR
5842	WGS_1984_TM_12_SE	PROJCS["WGS_1984_TM_12_SE",GEOGCS["GCS_WGS_1984",DATUM["D_WGS_1984",SPHERO
5844	RGRDC_2005_Congo_TM_Zone_30	PROJCS["RGRDC_2005_Congo_TM_Zone_30",GEOGCS["GCS_RGRDC_2005",DATUM["D_Rese
5858	SAD_1969_96_UTM_Zone_22S	PROJCS["SAD_1969_96_UTM_Zone_22S",GEOGCS["GCS_SAD_1969_96",DATUM["D_South_Am
5875	SAD_1969_96_UTM_Zone_18S	PROJCS["SAD_1969_96_UTM_Zone_18S",GEOGCS["GCS_SAD_1969_96",DATUM["D_South_Am
5876	SAD_1969_96_UTM_Zone_19S	PROJCS["SAD_1969_96_UTM_Zone_19S",GEOGCS["GCS_SAD_1969_96",DATUM["D_South_Am
5877	SAD_1969_96_UTM_Zone_20S	PROJCS["SAD_1969_96_UTM_Zone_20S",GEOGCS["GCS_SAD_1969_96",DATUM["D_South_Am
5879	Cadastre_1997_UTM_Zone_38S	PROJCS["Cadastre_1997_UTM_Zone_38S",GEOGCS["GCS_Cadastre_1997",DATUM["D_Cadastre
5880	SIRGAS_2000_Brazil_Polyconic	PROJCS["SIRGAS_2000_Brazil_Polyconic",GEOGCS["GCS_SIRGAS_2000",DATUM["D_SIRGAS_
5887	TGD2005_Tonga_Map_Grid	PROJCS["TGD2005_Tonga_Map_Grid",GEOGCS["GCS_TGD2005",DATUM["D_Tonga_Geodetic_D
5890	JAXA_Snow_Depth_Polar_Stereographic_North	PROJCS["JAXA_Snow_Depth_Polar_Stereographic_North",GEOGCS["GCS_Hughes_1980",DATUM
5921	WGS_1984_EPSG_Arctic_Regional_zone_A1	PROJCS["WGS_1984_EPSG_Arctic_Regional_zone_A1",GEOGCS["GCS_WGS_1984",DATUM["D_
5922	WGS_1984_EPSG_Arctic_Regional_zone_A2	PROJCS["WGS_1984_EPSG_Arctic_Regional_zone_A2",GEOGCS["GCS_WGS_1984",DATUM["D_
5923	WGS_1984_EPSG_Arctic_Regional_zone_A3	PROJCS["WGS_1984_EPSG_Arctic_Regional_zone_A3",GEOGCS["GCS_WGS_1984",DATUM["D_
5924	WGS_1984_EPSG_Arctic_Regional_zone_A4	PROJCS["WGS_1984_EPSG_Arctic_Regional_zone_A4",GEOGCS["GCS_WGS_1984",DATUM["D_
5925	WGS_1984_EPSG_Arctic_Regional_zone_A5	PROJCS["WGS_1984_EPSG_Arctic_Regional_zone_A5",GEOGCS["GCS_WGS_1984",DATUM["D_
5926	WGS_1984_EPSG_Arctic_Regional_zone_B1	PROJCS["WGS_1984_EPSG_Arctic_Regional_zone_B1",GEOGCS["GCS_WGS_1984",DATUM["D_
5927	WGS_1984_EPSG_Arctic_Regional_zone_B2	PROJCS["WGS_1984_EPSG_Arctic_Regional_zone_B2",GEOGCS["GCS_WGS_1984",DATUM["D_
5928	WGS_1984_EPSG_Arctic_Regional_zone_B3	PROJCS["WGS_1984_EPSG_Arctic_Regional_zone_B3",GEOGCS["GCS_WGS_1984",DATUM["D_
5929	WGS_1984_EPSG_Arctic_Regional_zone_B4	PROJCS["WGS_1984_EPSG_Arctic_Regional_zone_B4",GEOGCS["GCS_WGS_1984",DATUM["D_
5930	WGS_1984_EPSG_Arctic_Regional_zone_B5	PROJCS["WGS_1984_EPSG_Arctic_Regional_zone_B5",GEOGCS["GCS_WGS_1984",DATUM["D_
5931	WGS_1984_EPSG_Arctic_Regional_zone_C1	PROJCS["WGS_1984_EPSG_Arctic_Regional_zone_C1",GEOGCS["GCS_WGS_1984",DATUM["D_
5932	WGS_1984_EPSG_Arctic_Regional_zone_C2	PROJCS["WGS_1984_EPSG_Arctic_Regional_zone_C2",GEOGCS["GCS_WGS_1984",DATUM["D_
5933	WGS_1984_EPSG_Arctic_Regional_zone_C3	PROJCS["WGS_1984_EPSG_Arctic_Regional_zone_C3",GEOGCS["GCS_WGS_1984",DATUM["D_
5934	WGS_1984_EPSG_Arctic_Regional_zone_C4	PROJCS["WGS_1984_EPSG_Arctic_Regional_zone_C4",GEOGCS["GCS_WGS_1984",DATUM["D_
5935	WGS_1984_EPSG_Arctic_Regional_zone_C5	PROJCS["WGS_1984_EPSG_Arctic_Regional_zone_C5",GEOGCS["GCS_WGS_1984",DATUM["D_
5936	WGS_1984_EPSG_Alaska_Polar_Stereographic	PROJCS["WGS_1984_EPSG_Alaska_Polar_Stereographic",GEOGCS["GCS_WGS_1984",DATUM[
5937	WGS_1984_EPSG_Canada_Polar_Stereographic	PROJCS["WGS_1984_EPSG_Canada_Polar_Stereographic",GEOGCS["GCS_WGS_1984",DATUM
5938	WGS_1984_EPSG_Greenland_Polar_Stereographic	PROJCS["WGS_1984_EPSG_Greenland_Polar_Stereographic",GEOGCS["GCS_WGS_1984",DAT
5939	WGS_1984_EPSG_Norway_Polar_Stereographic	PROJCS["WGS_1984_EPSG_Norway_Polar_Stereographic",GEOGCS["GCS_WGS_1984",DATUM
5940	WGS_1984_EPSG_Russia_Polar_Stereographic	PROJCS["WGS_1984_EPSG_Russia_Polar_Stereographic",GEOGCS["GCS_WGS_1984",DATUM[
6050	GR96_EPSG_Arctic_zone_1-25	PROJCS["GR96_EPSG_Arctic_zone_1-25",GEOGCS["GCS_Greenland_1996",DATUM["D_Greenla
6051	GR96_EPSG_Arctic_zone_2-18	PROJCS["GR96_EPSG_Arctic_zone_2-18",GEOGCS["GCS_Greenland_1996",DATUM["D_Greenla
6052	GR96_EPSG_Arctic_zone_2-20	PROJCS["GR96_EPSG_Arctic_zone_2-20",GEOGCS["GCS_Greenland_1996",DATUM["D_Greenla
6053	GR96_EPSG_Arctic_zone_3-29	PROJCS["GR96_EPSG_Arctic_zone_3-29",GEOGCS["GCS_Greenland_1996",DATUM["D_Greenla
6054	GR96_EPSG_Arctic_zone_3-31	PROJCS["GR96_EPSG_Arctic_zone_3-31",GEOGCS["GCS_Greenland_1996",DATUM["D_Greenla
6055	GR96_EPSG_Arctic_zone_3-33	PROJCS["GR96_EPSG_Arctic_zone_3-33",GEOGCS["GCS_Greenland_1996",DATUM["D_Greenla
6056	GR96_EPSG_Arctic_zone_4-20	PROJCS["GR96_EPSG_Arctic_zone_4-20",GEOGCS["GCS_Greenland_1996",DATUM["D_Greenla
6057	GR96_EPSG_Arctic_zone_4-22	PROJCS["GR96_EPSG_Arctic_zone_4-22",GEOGCS["GCS_Greenland_1996",DATUM["D_Greenla
6058	GR96_EPSG_Arctic_zone_4-24	PROJCS["GR96_EPSG_Arctic_zone_4-24",GEOGCS["GCS_Greenland_1996",DATUM["D_Greenla
6059	GR96_EPSG_Arctic_zone_5-41	PROJCS["GR96_EPSG_Arctic_zone_5-41",GEOGCS["GCS_Greenland_1996",DATUM["D_Greenla
6060	GR96_EPSG_Arctic_zone_5-43	PROJCS["GR96_EPSG_Arctic_zone_5-43",GEOGCS["GCS_Greenland_1996",DATUM["D_Greenla

Copyright © 1995-2016 Esri. All rights reserved.

6061	GR96_EPSG_Arctic_zone_5-45	PROJCS["GR96_EPSG_Arctic_zone_5-45",GEOGCS["GCS_Greenland_1996",DATUM["D_Greenla
6062	GR96_EPSG_Arctic_zone_6-26	PROJCS["GR96_EPSG_Arctic_zone_6-26",GEOGCS["GCS_Greenland_1996",DATUM["D_Greenla
6063	GR96_EPSG_Arctic_zone_6-28	PROJCS["GR96_EPSG_Arctic_zone_6-28",GEOGCS["GCS_Greenland_1996",DATUM["D_Greenla
6064	GR96_EPSG_Arctic_zone_6-30	PROJCS["GR96_EPSG_Arctic_zone_6-30",GEOGCS["GCS_Greenland_1996",DATUM["D_Greenla
6065	GR96_EPSG_Arctic_zone_7-11	PROJCS["GR96_EPSG_Arctic_zone_7-11",GEOGCS["GCS_Greenland_1996",DATUM["D_Greenla
6066	GR96_EPSG_Arctic_zone_7-13	PROJCS["GR96_EPSG_Arctic_zone_7-13",GEOGCS["GCS_Greenland_1996",DATUM["D_Greenla
6067	GR96_EPSG_Arctic_zone_8-20	PROJCS["GR96_EPSG_Arctic_zone_8-20",GEOGCS["GCS_Greenland_1996",DATUM["D_Greenla
6068	GR96_EPSG_Arctic_zone_8-22	PROJCS["GR96_EPSG_Arctic_zone_8-22",GEOGCS["GCS_Greenland_1996",DATUM["D_Greenla
6069	ETRS_1989_EPSG_Arctic_zone_2-22	PROJCS["ETRS_1989_EPSG_Arctic_zone_2-22",GEOGCS["GCS_ETRS_1989",DATUM["D_ETRS
6070	ETRS_1989_EPSG_Arctic_zone_3-11	PROJCS["ETRS_1989_EPSG_Arctic_zone_3-11",GEOGCS["GCS_ETRS_1989",DATUM["D_ETRS
6071	ETRS_1989_EPSG_Arctic_zone_4-26	PROJCS["ETRS_1989_EPSG_Arctic_zone_4-26",GEOGCS["GCS_ETRS_1989",DATUM["D_ETRS
6072	ETRS_1989_EPSG_Arctic_zone_4-28	PROJCS["ETRS_1989_EPSG_Arctic_zone_4-28",GEOGCS["GCS_ETRS_1989",DATUM["D_ETRS
6073	ETRS_1989_EPSG_Arctic_zone_5-11	PROJCS["ETRS_1989_EPSG_Arctic_zone_5-11",GEOGCS["GCS_ETRS_1989",DATUM["D_ETRS
6074	ETRS_1989_EPSG_Arctic_zone_5-13	PROJCS["ETRS_1989_EPSG_Arctic_zone_5-13",GEOGCS["GCS_ETRS_1989",DATUM["D_ETRS
6075	WGS_1984_EPSG_Arctic_zone_2-24	PROJCS["WGS_1984_EPSG_Arctic_zone_2-24",GEOGCS["GCS_WGS_1984",DATUM["D_WGS_1
6076	WGS_1984_EPSG_Arctic_zone_2-26	PROJCS["WGS_1984_EPSG_Arctic_zone_2-26",GEOGCS["GCS_WGS_1984",DATUM["D_WGS_1
6077	WGS_1984_EPSG_Arctic_zone_3-13	PROJCS["WGS_1984_EPSG_Arctic_zone_3-13",GEOGCS["GCS_WGS_1984",DATUM["D_WGS_1
6078	WGS_1984_EPSG_Arctic_zone_3-15	PROJCS["WGS_1984_EPSG_Arctic_zone_3-15",GEOGCS["GCS_WGS_1984",DATUM["D_WGS_1
6079	WGS_1984_EPSG_Arctic_zone_3-17	PROJCS["WGS_1984_EPSG_Arctic_zone_3-17",GEOGCS["GCS_WGS_1984",DATUM["D_WGS_1
6080	WGS_1984_EPSG_Arctic_zone_3-19	PROJCS["WGS_1984_EPSG_Arctic_zone_3-19",GEOGCS["GCS_WGS_1984",DATUM["D_WGS_1
6081	WGS_1984_EPSG_Arctic_zone_4-30	PROJCS["WGS_1984_EPSG_Arctic_zone_4-30",GEOGCS["GCS_WGS_1984",DATUM["D_WGS_1
6082	WGS_1984_EPSG_Arctic_zone_4-32	PROJCS["WGS_1984_EPSG_Arctic_zone_4-32",GEOGCS["GCS_WGS_1984",DATUM["D_WGS_1
6083	WGS_1984_EPSG_Arctic_zone_4-34	PROJCS["WGS_1984_EPSG_Arctic_zone_4-34",GEOGCS["GCS_WGS_1984",DATUM["D_WGS_1
6084	WGS_1984_EPSG_Arctic_zone_4-36	PROJCS["WGS_1984_EPSG_Arctic_zone_4-36",GEOGCS["GCS_WGS_1984",DATUM["D_WGS_1
6085	WGS_1984_EPSG_Arctic_zone_4-38	PROJCS["WGS_1984_EPSG_Arctic_zone_4-38",GEOGCS["GCS_WGS_1984",DATUM["D_WGS_1
6086	WGS_1984_EPSG_Arctic_zone_4-40	PROJCS["WGS_1984_EPSG_Arctic_zone_4-40",GEOGCS["GCS_WGS_1984",DATUM["D_WGS_1
6087	WGS_1984_EPSG_Arctic_zone_5-15	PROJCS["WGS_1984_EPSG_Arctic_zone_5-15",GEOGCS["GCS_WGS_1984",DATUM["D_WGS_1
6088	WGS_1984_EPSG_Arctic_zone_5-17	PROJCS["WGS_1984_EPSG_Arctic_zone_5-17",GEOGCS["GCS_WGS_1984",DATUM["D_WGS_1
6089	WGS_1984_EPSG_Arctic_zone_5-19	PROJCS["WGS_1984_EPSG_Arctic_zone_5-19",GEOGCS["GCS_WGS_1984",DATUM["D_WGS_1
6090	WGS_1984_EPSG_Arctic_zone_5-21	PROJCS["WGS_1984_EPSG_Arctic_zone_5-21",GEOGCS["GCS_WGS_1984",DATUM["D_WGS_1
6091	WGS_1984_EPSG_Arctic_zone_5-23	PROJCS["WGS_1984_EPSG_Arctic_zone_5-23",GEOGCS["GCS_WGS_1984",DATUM["D_WGS_1
6092	WGS_1984_EPSG_Arctic_zone_5-25	PROJCS["WGS_1984_EPSG_Arctic_zone_5-25",GEOGCS["GCS_WGS_1984",DATUM["D_WGS_1
6093	WGS_1984_EPSG_Arctic_zone_5-27	PROJCS["WGS_1984_EPSG_Arctic_zone_5-27",GEOGCS["GCS_WGS_1984",DATUM["D_WGS_1
6094	NAD_1983_NSRS2007_EPSG_Arctic_zone_5-29	PROJCS["NAD_1983_NSRS2007_EPSG_Arctic_zone_5-29",GEOGCS["GCS_NAD_1983_NSRS20
6095	NAD_1983_NSRS2007_EPSG_Arctic_zone_5-31	PROJCS["NAD_1983_NSRS2007_EPSG_Arctic_zone_5-31",GEOGCS["GCS_NAD_1983_NSRS20
6096	NAD_1983_NSRS2007_EPSG_Arctic_zone_6-14	PROJCS["NAD_1983_NSRS2007_EPSG_Arctic_zone_6-14",GEOGCS["GCS_NAD_1983_NSRS20
6097	NAD_1983_NSRS2007_EPSG_Arctic_zone_6-16	PROJCS["NAD_1983_NSRS2007_EPSG_Arctic_zone_6-16",GEOGCS["GCS_NAD_1983_NSRS20
6098	NAD_1983_CSRS_EPSG_Arctic_zone_1-23	PROJCS["NAD_1983_CSRS_EPSG_Arctic_zone_1-23",GEOGCS["GCS_North_American_1983_C
6099	NAD_1983_CSRS_EPSG_Arctic_zone_2-14	PROJCS["NAD_1983_CSRS_EPSG_Arctic_zone_2-14",GEOGCS["GCS_North_American_1983_C
6100	NAD_1983_CSRS_EPSG_Arctic_zone_2-16	PROJCS["NAD_1983_CSRS_EPSG_Arctic_zone_2-16",GEOGCS["GCS_North_American_1983_C
6101	NAD_1983_CSRS_EPSG_Arctic_zone_3-25	PROJCS["NAD_1983_CSRS_EPSG_Arctic_zone_3-25",GEOGCS["GCS_North_American_1983_C
6102	NAD_1983_CSRS_EPSG_Arctic_zone_3-27	PROJCS["NAD_1983_CSRS_EPSG_Arctic_zone_3-27",GEOGCS["GCS_North_American_1983_C
6103	NAD_1983_CSRS_EPSG_Arctic_zone_3-29	PROJCS["NAD_1983_CSRS_EPSG_Arctic_zone_3-29",GEOGCS["GCS_North_American_1983_C
6104	NAD_1983_CSRS_EPSG_Arctic_zone_4-14	PROJCS["NAD_1983_CSRS_EPSG_Arctic_zone_4-14",GEOGCS["GCS_North_American_1983_C
6105	NAD_1983_CSRS_EPSG_Arctic_zone_4-16	PROJCS["NAD_1983_CSRS_EPSG_Arctic_zone_4-16",GEOGCS["GCS_North_American_1983_C
6106	NAD_1983_CSRS_EPSG_Arctic_zone_4-18	PROJCS["NAD_1983_CSRS_EPSG_Arctic_zone_4-18",GEOGCS["GCS_North_American_1983_C
6107	NAD_1983_CSRS_EPSG_Arctic_zone_5-33	PROJCS["NAD_1983_CSRS_EPSG_Arctic_zone_5-33",GEOGCS["GCS_North_American_1983_C
6108	NAD_1983_CSRS_EPSG_Arctic_zone_5-35	PROJCS["NAD_1983_CSRS_EPSG_Arctic_zone_5-35",GEOGCS["GCS_North_American_1983_C
6109	NAD_1983_CSRS_EPSG_Arctic_zone_5-37	PROJCS["NAD_1983_CSRS_EPSG_Arctic_zone_5-37",GEOGCS["GCS_North_American_1983_C
6110	NAD_1983_CSRS_EPSG_Arctic_zone_5-39	PROJCS["NAD_1983_CSRS_EPSG_Arctic_zone_5-39",GEOGCS["GCS_North_American_1983_C
6111	NAD_1983_CSRS_EPSG_Arctic_zone_6-18	PROJCS["NAD_1983_CSRS_EPSG_Arctic_zone_6-18",GEOGCS["GCS_North_American_1983_C
6112	NAD_1983_CSRS_EPSG_Arctic_zone_6-20	PROJCS["NAD_1983_CSRS_EPSG_Arctic_zone_6-20",GEOGCS["GCS_North_American_1983_C
6113	NAD_1983_CSRS_EPSG_Arctic_zone_6-22	PROJCS["NAD_1983_CSRS_EPSG_Arctic_zone_6-22",GEOGCS["GCS_North_American_1983_C
6114	NAD_1983_CSRS_EPSG_Arctic_zone_6-24	PROJCS["NAD_1983_CSRS_EPSG_Arctic_zone_6-24",GEOGCS["GCS_North_American_1983_C

Copyright © 1995-2016 Esri. All rights reserved.

6115	WGS_1984_EPSG_Arctic_zone_1-27	PROJCS["WGS_1984_EPSG_Arctic_zone_1-27",GEOGCS["GCS_WGS_1984",DATUM["D_WGS_1
6116	WGS_1984_EPSG_Arctic_zone_1-29	PROJCS["WGS_1984_EPSG_Arctic_zone_1-29",GEOGCS["GCS_WGS_1984",DATUM["D_WGS_1
6117	WGS_1984_EPSG_Arctic_zone_1-31	PROJCS["WGS_1984_EPSG_Arctic_zone_1-31",GEOGCS["GCS_WGS_1984",DATUM["D_WGS_1
6118	WGS_1984_EPSG_Arctic_zone_1-21	PROJCS["WGS_1984_EPSG_Arctic_zone_1-21",GEOGCS["GCS_WGS_1984",DATUM["D_WGS_1
6119	WGS_1984_EPSG_Arctic_zone_2-28	PROJCS["WGS_1984_EPSG_Arctic_zone_2-28",GEOGCS["GCS_WGS_1984",DATUM["D_WGS_1
6120	WGS_1984_EPSG_Arctic_zone_2-10	PROJCS["WGS_1984_EPSG_Arctic_zone_2-10",GEOGCS["GCS_WGS_1984",DATUM["D_WGS_1
6121	WGS_1984_EPSG_Arctic_zone_2-12	PROJCS["WGS_1984_EPSG_Arctic_zone_2-12",GEOGCS["GCS_WGS_1984",DATUM["D_WGS_1
6122	WGS_1984_EPSG_Arctic_zone_3-21	PROJCS["WGS_1984_EPSG_Arctic_zone_3-21",GEOGCS["GCS_WGS_1984",DATUM["D_WGS_1
6123	WGS_1984_EPSG_Arctic_zone_3-23	PROJCS["WGS_1984_EPSG_Arctic_zone_3-23",GEOGCS["GCS_WGS_1984",DATUM["D_WGS_1
6124	WGS_1984_EPSG_Arctic_zone_4-12	PROJCS["WGS_1984_EPSG_Arctic_zone_4-12",GEOGCS["GCS_WGS_1984",DATUM["D_WGS_1
6125	ETRS_1989_EPSG_Arctic_zone_5-47	PROJCS["ETRS_1989_EPSG_Arctic_zone_5-47",GEOGCS["GCS_ETRS_1989",DATUM["D_ETRS
6128	Grand_Cayman_National_Grid_1959	PROJCS["Grand_Cayman_National_Grid_1959",GEOGCS["GCS_Grand_Cayman_1959",DATUM["D
6129	Sister_Islands_National_Grid_1961	PROJCS["Sister_Islands_National_Grid_1961",GEOGCS["GCS_Little_Cayman_1961",DATUM["D_L
6204	Macedonian_State_Coordinate_System	PROJCS["Macedonian_State_Coordinate_System",GEOGCS["GCS_MGI_1901",DATUM["D_MGI_1
6210	SIRGAS_2000_UTM_Zone_23N	PROJCS["SIRGAS_2000_UTM_Zone_23N",GEOGCS["GCS_SIRGAS_2000",DATUM["D_SIRGAS_
6211	SIRGAS_2000_UTM_Zone_24N	PROJCS["SIRGAS_2000_UTM_Zone_24N",GEOGCS["GCS_SIRGAS_2000",DATUM["D_SIRGAS_
6244	MAGNA_Arauca_2007	PROJCS["MAGNA_Arauca_2007",GEOGCS["GCS_MAGNA",DATUM["D_MAGNA",SPHEROID["GR
6245	MAGNA_Armenia_Quindio_2006	PROJCS["MAGNA_Armenia_Quindio_2006",GEOGCS["GCS_MAGNA",DATUM["D_MAGNA",SPHE
6246	MAGNA_Barranquilla_Atlantico_1997	PROJCS["MAGNA_Barranquilla_Atlantico_1997",GEOGCS["GCS_MAGNA",DATUM["D_MAGNA",S
6247	MAGNA_Bogota_DC_2005	PROJCS["MAGNA_Bogota_DC_2005",GEOGCS["GCS_MAGNA",DATUM["D_MAGNA",SPHEROID
6248	MAGNA_Bucaramanga_Santander_2008	PROJCS["MAGNA_Bucaramanga_Santander_2008",GEOGCS["GCS_MAGNA",DATUM["D_MAGNA
6249	MAGNA_Cali_Valle_del_Cauca_2009	PROJCS["MAGNA_Cali_Valle_del_Cauca_2009",GEOGCS["GCS_MAGNA",DATUM["D_MAGNA",S
6250	MAGNA_Cartagena_Bolivar_2005	PROJCS["MAGNA_Cartagena_Bolivar_2005",GEOGCS["GCS_MAGNA",DATUM["D_MAGNA",SPH
6251	MAGNA_Cucuta_Norte_de_Santander_2011	PROJCS["MAGNA_Cucuta_Norte_de_Santander_2011",GEOGCS["GCS_MAGNA",DATUM["D_MA
6252	MAGNA_Florencia_Caqueta_2007	PROJCS["MAGNA_Florencia_Caqueta_2007",GEOGCS["GCS_MAGNA",DATUM["D_MAGNA",SPH
6253	MAGNA_Ibague_Tolima_2007	PROJCS["MAGNA_Ibague_Tolima_2007",GEOGCS["GCS_MAGNA",DATUM["D_MAGNA",SPHERO
6254	MAGNA_Inirida_Guainia_2008	PROJCS["MAGNA_Inirida_Guainia_2008",GEOGCS["GCS_MAGNA",DATUM["D_MAGNA",SPHER
6255	MAGNA_Leticia_Amazonas_1994	PROJCS["MAGNA_Leticia_Amazonas_1994",GEOGCS["GCS_MAGNA",DATUM["D_MAGNA",SPH
6256	MAGNA_Manizales_Caldas_2011	PROJCS["MAGNA_Manizales_Caldas_2011",GEOGCS["GCS_MAGNA",DATUM["D_MAGNA",SPH
6257	MAGNA_Medellin_Antioquia_2010	PROJCS["MAGNA_Medellin_Antioquia_2010",GEOGCS["GCS_MAGNA",DATUM["D_MAGNA",SPH
6258	MAGNA_Mitu_Vaupes_2011	PROJCS["MAGNA_Mitu_Vaupes_2011",GEOGCS["GCS_MAGNA",DATUM["D_MAGNA",SPHEROI
6259	MAGNA_Mocoa_Putumayo_2011	PROJCS["MAGNA_Mocoa_Putumayo_2011",GEOGCS["GCS_MAGNA",DATUM["D_MAGNA",SPHE
6260	MAGNA_Monteria_Cordoba_2006	PROJCS["MAGNA_Monteria_Cordoba_2006",GEOGCS["GCS_MAGNA",DATUM["D_MAGNA",SPH
6261	MAGNA_Neiva_Huila_2006	PROJCS["MAGNA_Neiva_Huila_2006",GEOGCS["GCS_MAGNA",DATUM["D_MAGNA",SPHEROID
6262	MAGNA_Pasto_Narino_2008	PROJCS["MAGNA_Pasto_Narino_2008",GEOGCS["GCS_MAGNA",DATUM["D_MAGNA",SPHERO
6263	MAGNA_Pereira_Risaralda_2007	PROJCS["MAGNA_Pereira_Risaralda_2007",GEOGCS["GCS_MAGNA",DATUM["D_MAGNA",SPHE
6264	MAGNA_Popayan_Cauca_2006	PROJCS["MAGNA_Popayan_Cauca_2006",GEOGCS["GCS_MAGNA",DATUM["D_MAGNA",SPHER
6265	MAGNA_Puerto_Carreno_Vichada_2011	PROJCS["MAGNA_Puerto_Carreno_Vichada_2011",GEOGCS["GCS_MAGNA",DATUM["D_MAGNA
6266	MAGNA_Quibdo_Choco_2011	PROJCS["MAGNA_Quibdo_Choco_2011",GEOGCS["GCS_MAGNA",DATUM["D_MAGNA",SPHERO
6267	MAGNA_Riohacha_La_Guajira_2006	PROJCS["MAGNA_Riohacha_La_Guajira_2006",GEOGCS["GCS_MAGNA",DATUM["D_MAGNA",S
6268	MAGNA_San_Andres_2007	PROJCS["MAGNA_San_Andres_2007",GEOGCS["GCS_MAGNA",DATUM["D_MAGNA",SPHEROID
6269	MAGNA_San_Jose_del_Guaviare_2011	PROJCS["MAGNA_San_Jose_del_Guaviare_2011",GEOGCS["GCS_MAGNA",DATUM["D_MAGNA
6270	MAGNA_Santa_Marta_Magdalena_2007	PROJCS["MAGNA_Santa_Marta_Magdalena_2007",GEOGCS["GCS_MAGNA",DATUM["D_MAGNA
6271	MAGNA_Sucre_2006	PROJCS["MAGNA_Sucre_2006",GEOGCS["GCS_MAGNA",DATUM["D_MAGNA",SPHEROID["GRS
6272	MAGNA_Tunja_Boyaca_1997	PROJCS["MAGNA_Tunja_Boyaca_1997",GEOGCS["GCS_MAGNA",DATUM["D_MAGNA",SPHERO
6273	MAGNA_Valledupar_Cesar_2011	PROJCS["MAGNA_Valledupar_Cesar_2011",GEOGCS["GCS_MAGNA",DATUM["D_MAGNA",SPHE
6274	MAGNA_Villavicencio_Meta_2011	PROJCS["MAGNA_Villavicencio_Meta_2011",GEOGCS["GCS_MAGNA",DATUM["D_MAGNA",SPH
6275	MAGNA_Yopal_Casanare_2006	PROJCS["MAGNA_Yopal_Casanare_2006",GEOGCS["GCS_MAGNA",DATUM["D_MAGNA",SPHER
6316	Macedonia_State_Coordinate_System_zone_7	PROJCS["Macedonia_State_Coordinate_System_zone_7",GEOGCS["GCS_MGI_1901",DATUM["D_
6328	NAD_1983_2011_UTM_Zone_59N	PROJCS["NAD_1983_2011_UTM_Zone_59N",GEOGCS["GCS_NAD_1983_2011",DATUM["D_NAD
6329	NAD_1983_2011_UTM_Zone_60N	PROJCS["NAD_1983_2011_UTM_Zone_60N",GEOGCS["GCS_NAD_1983_2011",DATUM["D_NAD
6330	NAD_1983_2011_UTM_Zone_1N	PROJCS["NAD_1983_2011_UTM_Zone_1N",GEOGCS["GCS_NAD_1983_2011",DATUM["D_NAD_
6331	NAD_1983_2011_UTM_Zone_2N	PROJCS["NAD_1983_2011_UTM_Zone_2N",GEOGCS["GCS_NAD_1983_2011",DATUM["D_NAD_
6332	NAD_1983_2011_UTM_Zone_3N	PROJCS["NAD_1983_2011_UTM_Zone_3N",GEOGCS["GCS_NAD_1983_2011",DATUM["D_NAD_

Copyright © 1995-2016 Esri. All rights reserved.

6333	NAD_1983_2011_UTM_Zone_4N	PROJCS["NAD_1983_2011_UTM_Zone_4N",GEOGCS["GCS_NAD_1983_2011",DATUM["D_NAD_
6334	NAD_1983_2011_UTM_Zone_5N	PROJCS["NAD_1983_2011_UTM_Zone_5N",GEOGCS["GCS_NAD_1983_2011",DATUM["D_NAD_
6335	NAD_1983_2011_UTM_Zone_6N	PROJCS["NAD_1983_2011_UTM_Zone_6N",GEOGCS["GCS_NAD_1983_2011",DATUM["D_NAD_
6336	NAD_1983_2011_UTM_Zone_7N	PROJCS["NAD_1983_2011_UTM_Zone_7N",GEOGCS["GCS_NAD_1983_2011",DATUM["D_NAD_
6337	NAD_1983_2011_UTM_Zone_8N	PROJCS["NAD_1983_2011_UTM_Zone_8N",GEOGCS["GCS_NAD_1983_2011",DATUM["D_NAD_
6338	NAD_1983_2011_UTM_Zone_9N	PROJCS["NAD_1983_2011_UTM_Zone_9N",GEOGCS["GCS_NAD_1983_2011",DATUM["D_NAD_
6339	NAD_1983_2011_UTM_Zone_10N	PROJCS["NAD_1983_2011_UTM_Zone_10N",GEOGCS["GCS_NAD_1983_2011",DATUM["D_NAD
6340	NAD_1983_2011_UTM_Zone_11N	PROJCS["NAD_1983_2011_UTM_Zone_11N",GEOGCS["GCS_NAD_1983_2011",DATUM["D_NAD
6341	NAD_1983_2011_UTM_Zone_12N	PROJCS["NAD_1983_2011_UTM_Zone_12N",GEOGCS["GCS_NAD_1983_2011",DATUM["D_NAD
6342	NAD_1983_2011_UTM_Zone_13N	PROJCS["NAD_1983_2011_UTM_Zone_13N",GEOGCS["GCS_NAD_1983_2011",DATUM["D_NAD
6343	NAD_1983_2011_UTM_Zone_14N	PROJCS["NAD_1983_2011_UTM_Zone_14N",GEOGCS["GCS_NAD_1983_2011",DATUM["D_NAD
6344	NAD_1983_2011_UTM_Zone_15N	PROJCS["NAD_1983_2011_UTM_Zone_15N",GEOGCS["GCS_NAD_1983_2011",DATUM["D_NAD
6345	NAD_1983_2011_UTM_Zone_16N	PROJCS["NAD_1983_2011_UTM_Zone_16N",GEOGCS["GCS_NAD_1983_2011",DATUM["D_NAD
6346	NAD_1983_2011_UTM_Zone_17N	PROJCS["NAD_1983_2011_UTM_Zone_17N",GEOGCS["GCS_NAD_1983_2011",DATUM["D_NAD
6347	NAD_1983_2011_UTM_Zone_18N	PROJCS["NAD_1983_2011_UTM_Zone_18N",GEOGCS["GCS_NAD_1983_2011",DATUM["D_NAD
6348	NAD_1983_2011_UTM_Zone_19N	PROJCS["NAD_1983_2011_UTM_Zone_19N",GEOGCS["GCS_NAD_1983_2011",DATUM["D_NAD
6350	NAD_1983_2011_Contiguous_USA_Albers	PROJCS["NAD_1983_2011_Contiguous_USA_Albers",GEOGCS["GCS_NAD_1983_2011",DATUM["
6351	NAD_1983_2011_EPSG_Arctic_zone_5-29	PROJCS["NAD_1983_2011_EPSG_Arctic_zone_5-29",GEOGCS["GCS_NAD_1983_2011",DATUM[
6352	NAD_1983_2011_EPSG_Arctic_zone_5-31	PROJCS["NAD_1983_2011_EPSG_Arctic_zone_5-31",GEOGCS["GCS_NAD_1983_2011",DATUM[
6353	NAD_1983_2011_EPSG_Arctic_zone_6-14	PROJCS["NAD_1983_2011_EPSG_Arctic_zone_6-14",GEOGCS["GCS_NAD_1983_2011",DATUM[
6354	NAD_1983_2011_EPSG_Arctic_zone_6-16	PROJCS["NAD_1983_2011_EPSG_Arctic_zone_6-16",GEOGCS["GCS_NAD_1983_2011",DATUM[
6355	NAD_1983_2011_StatePlane_Alabama_East_FIPS_0101	PROJCS["NAD_1983_2011_StatePlane_Alabama_East_FIPS_0101",GEOGCS["GCS_NAD_1983_2
6356	NAD_1983_2011_StatePlane_Alabama_West_FIPS_0102	PROJCS["NAD_1983_2011_StatePlane_Alabama_West_FIPS_0102",GEOGCS["GCS_NAD_1983_
6362	Mexico_ITRF92_LCC	PROJCS["Mexico_ITRF92_LCC",GEOGCS["GCS_Mexican_Datum_of_1993",DATUM["D_Mexican_
6366	Mexico_ITRF2008_UTM_Zone_11N	PROJCS["Mexico_ITRF2008_UTM_Zone_11N",GEOGCS["GCS_Mexico_ITRF2008",DATUM["D_Me
6367	Mexico_ITRF2008_UTM_Zone_12N	PROJCS["Mexico_ITRF2008_UTM_Zone_12N",GEOGCS["GCS_Mexico_ITRF2008",DATUM["D_Me
6368	Mexico_ITRF2008_UTM_Zone_13N	PROJCS["Mexico_ITRF2008_UTM_Zone_13N",GEOGCS["GCS_Mexico_ITRF2008",DATUM["D_Me
6369	Mexico_ITRF2008_UTM_Zone_14N	PROJCS["Mexico_ITRF2008_UTM_Zone_14N",GEOGCS["GCS_Mexico_ITRF2008",DATUM["D_Me
6370	Mexico_ITRF2008_UTM_Zone_15N	PROJCS["Mexico_ITRF2008_UTM_Zone_15N",GEOGCS["GCS_Mexico_ITRF2008",DATUM["D_Me
6371	Mexico_ITRF2008_UTM_Zone_16N	PROJCS["Mexico_ITRF2008_UTM_Zone_16N",GEOGCS["GCS_Mexico_ITRF2008",DATUM["D_Me
6372	Mexico_ITRF2008_LCC	PROJCS["Mexico_ITRF2008_LCC",GEOGCS["GCS_Mexico_ITRF2008",DATUM["D_Mexico_ITRF2
6381	Ukraine_2000_TM_Zone_7	PROJCS["Ukraine_2000_TM_Zone_7",GEOGCS["GCS_Ukraine_2000",DATUM["D_Ukraine_2000",
6382	Ukraine_2000_TM_Zone_8	PROJCS["Ukraine_2000_TM_Zone_8",GEOGCS["GCS_Ukraine_2000",DATUM["D_Ukraine_2000",
6383	Ukraine_2000_TM_Zone_9	PROJCS["Ukraine_2000_TM_Zone_9",GEOGCS["GCS_Ukraine_2000",DATUM["D_Ukraine_2000",
6384	Ukraine_2000_TM_Zone_10	PROJCS["Ukraine_2000_TM_Zone_10",GEOGCS["GCS_Ukraine_2000",DATUM["D_Ukraine_2000
6385	Ukraine_2000_TM_Zone_11	PROJCS["Ukraine_2000_TM_Zone_11",GEOGCS["GCS_Ukraine_2000",DATUM["D_Ukraine_2000
6386	Ukraine_2000_TM_Zone_12	PROJCS["Ukraine_2000_TM_Zone_12",GEOGCS["GCS_Ukraine_2000",DATUM["D_Ukraine_2000
6387	Ukraine_2000_TM_Zone_13	PROJCS["Ukraine_2000_TM_Zone_13",GEOGCS["GCS_Ukraine_2000",DATUM["D_Ukraine_2000
6391	Cayman_Islands_National_Grid_2011	PROJCS["Cayman_Islands_National_Grid_2011",GEOGCS["GCS_CIGD11",DATUM["D_Cayman_Is
6393	NAD_1983_2011_Alaska_Albers	PROJCS["NAD_1983_2011_Alaska_Albers",GEOGCS["GCS_NAD_1983_2011",DATUM["D_NAD_1
6394	NAD_1983_2011_StatePlane_Alaska_1_FIPS_5001	PROJCS["NAD_1983_2011_StatePlane_Alaska_1_FIPS_5001",GEOGCS["GCS_NAD_1983_2011"
6395	NAD_1983_2011_StatePlane_Alaska_2_FIPS_5002	PROJCS["NAD_1983_2011_StatePlane_Alaska_2_FIPS_5002",GEOGCS["GCS_NAD_1983_2011"
6396	NAD_1983_2011_StatePlane_Alaska_3_FIPS_5003	PROJCS["NAD_1983_2011_StatePlane_Alaska_3_FIPS_5003",GEOGCS["GCS_NAD_1983_2011"
6397	NAD_1983_2011_StatePlane_Alaska_4_FIPS_5004	PROJCS["NAD_1983_2011_StatePlane_Alaska_4_FIPS_5004",GEOGCS["GCS_NAD_1983_2011"
6398	NAD_1983_2011_StatePlane_Alaska_5_FIPS_5005	PROJCS["NAD_1983_2011_StatePlane_Alaska_5_FIPS_5005",GEOGCS["GCS_NAD_1983_2011"
6399	NAD_1983_2011_StatePlane_Alaska_6_FIPS_5006	PROJCS["NAD_1983_2011_StatePlane_Alaska_6_FIPS_5006",GEOGCS["GCS_NAD_1983_2011"
6400	NAD_1983_2011_StatePlane_Alaska_7_FIPS_5007	PROJCS["NAD_1983_2011_StatePlane_Alaska_7_FIPS_5007",GEOGCS["GCS_NAD_1983_2011"
6401	NAD_1983_2011_StatePlane_Alaska_8_FIPS_5008	PROJCS["NAD_1983_2011_StatePlane_Alaska_8_FIPS_5008",GEOGCS["GCS_NAD_1983_2011"
6402	NAD_1983_2011_StatePlane_Alaska_9_FIPS_5009	PROJCS["NAD_1983_2011_StatePlane_Alaska_9_FIPS_5009",GEOGCS["GCS_NAD_1983_2011"
6403	NAD_1983_2011_StatePlane_Alaska_10_FIPS_5010	PROJCS["NAD_1983_2011_StatePlane_Alaska_10_FIPS_5010",GEOGCS["GCS_NAD_1983_2011
6404	NAD_1983_2011_StatePlane_Arizona_Central_FIPS_0202	PROJCS["NAD_1983_2011_StatePlane_Arizona_Central_FIPS_0202",GEOGCS["GCS_NAD_1983
6405	NAD_1983_2011_StatePlane_Arizona_Central_FIPS_0202_Ft_Intl	PROJCS["NAD_1983_2011_StatePlane_Arizona_Central_FIPS_0202_Ft_Intl",GEOGCS["GCS_NAD
6406	NAD_1983_2011_StatePlane_Arizona_East_FIPS_0201	PROJCS["NAD_1983_2011_StatePlane_Arizona_East_FIPS_0201",GEOGCS["GCS_NAD_1983_2
6407	NAD_1983_2011_StatePlane_Arizona_East_FIPS_0201_Ft_Intl	PROJCS["NAD_1983_2011_StatePlane_Arizona_East_FIPS_0201_Ft_Intl",GEOGCS["GCS_NAD_

Copyright © 1995-2016 Esri. All rights reserved.

6408	NAD_1983_2011_StatePlane_Arizona_West_FIPS_0203	PROJCS["NAD_1983_2011_StatePlane_Arizona_West_FIPS_0203",GEOGCS["GCS_NAD_1983_2
6409	NAD_1983_2011_StatePlane_Arizona_West_FIPS_0203_Ft_Intl	PROJCS["NAD_1983_2011_StatePlane_Arizona_West_FIPS_0203_Ft_Intl",GEOGCS["GCS_NAD_
6410	NAD_1983_2011_StatePlane_Arkansas_North_FIPS_0301	PROJCS["NAD_1983_2011_StatePlane_Arkansas_North_FIPS_0301",GEOGCS["GCS_NAD_1983_
6411	NAD_1983_2011_StatePlane_Arkansas_North_FIPS_0301_Ft_US	PROJCS["NAD_1983_2011_StatePlane_Arkansas_North_FIPS_0301_Ft_US",GEOGCS["GCS_NAD
6412	NAD_1983_2011_StatePlane_Arkansas_South_FIPS_0302	PROJCS["NAD_1983_2011_StatePlane_Arkansas_South_FIPS_0302",GEOGCS["GCS_NAD_1983
6413	NAD_1983_2011_StatePlane_Arkansas_South_FIPS_0302_Ft_US	PROJCS["NAD_1983_2011_StatePlane_Arkansas_South_FIPS_0302_Ft_US",GEOGCS["GCS_NA
6414	NAD_1983_2011_California_Teale_Albers	PROJCS["NAD_1983_2011_California_Teale_Albers",GEOGCS["GCS_NAD_1983_2011",DATUM["D
6415	NAD_1983_2011_StatePlane_California_I_FIPS_0401	PROJCS["NAD_1983_2011_StatePlane_California_I_FIPS_0401",GEOGCS["GCS_NAD_1983_201
6416	NAD_1983_2011_StatePlane_California_I_FIPS_0401_Ft_US	PROJCS["NAD_1983_2011_StatePlane_California_I_FIPS_0401_Ft_US",GEOGCS["GCS_NAD_19
6417	NAD_1983_2011_StatePlane_California_II_FIPS_0402	PROJCS["NAD_1983_2011_StatePlane_California_II_FIPS_0402",GEOGCS["GCS_NAD_1983_201
6418	NAD_1983_2011_StatePlane_California_II_FIPS_0402_Ft_US	PROJCS["NAD_1983_2011_StatePlane_California_II_FIPS_0402_Ft_US",GEOGCS["GCS_NAD_19
6419	NAD_1983_2011_StatePlane_California_III_FIPS_0403	PROJCS["NAD_1983_2011_StatePlane_California_III_FIPS_0403",GEOGCS["GCS_NAD_1983_20
6420	NAD_1983_2011_StatePlane_California_III_FIPS_0403_Ft_US	PROJCS["NAD_1983_2011_StatePlane_California_III_FIPS_0403_Ft_US",GEOGCS["GCS_NAD_1
6421	NAD_1983_2011_StatePlane_California_IV_FIPS_0404	PROJCS["NAD_1983_2011_StatePlane_California_IV_FIPS_0404",GEOGCS["GCS_NAD_1983_20
6422	NAD_1983_2011_StatePlane_California_IV_FIPS_0404_Ft_US	PROJCS["NAD_1983_2011_StatePlane_California_IV_FIPS_0404_Ft_US",GEOGCS["GCS_NAD_1
6423	NAD_1983_2011_StatePlane_California_V_FIPS_0405	PROJCS["NAD_1983_2011_StatePlane_California_V_FIPS_0405",GEOGCS["GCS_NAD_1983_201
6424	NAD_1983_2011_StatePlane_California_V_FIPS_0405_Ft_US	PROJCS["NAD_1983_2011_StatePlane_California_V_FIPS_0405_Ft_US",GEOGCS["GCS_NAD_19
6425	NAD_1983_2011_StatePlane_California_VI_FIPS_0406	PROJCS["NAD_1983_2011_StatePlane_California_VI_FIPS_0406",GEOGCS["GCS_NAD_1983_20
6426	NAD_1983_2011_StatePlane_California_VI_FIPS_0406_Ft_US	PROJCS["NAD_1983_2011_StatePlane_California_VI_FIPS_0406_Ft_US",GEOGCS["GCS_NAD_1
6427	NAD_1983_2011_StatePlane_Colorado_Central_FIPS_0502	PROJCS["NAD_1983_2011_StatePlane_Colorado_Central_FIPS_0502",GEOGCS["GCS_NAD_198
6428	NAD_1983_2011_StatePlane_Colorado_Central_FIPS_0502_Ft_US	PROJCS["NAD_1983_2011_StatePlane_Colorado_Central_FIPS_0502_Ft_US",GEOGCS["GCS_NA
6429	NAD_1983_2011_StatePlane_Colorado_North_FIPS_0501	PROJCS["NAD_1983_2011_StatePlane_Colorado_North_FIPS_0501",GEOGCS["GCS_NAD_1983_
6430	NAD_1983_2011_StatePlane_Colorado_North_FIPS_0501_Ft_US	PROJCS["NAD_1983_2011_StatePlane_Colorado_North_FIPS_0501_Ft_US",GEOGCS["GCS_NAD
6431	NAD_1983_2011_StatePlane_Colorado_South_FIPS_0503	PROJCS["NAD_1983_2011_StatePlane_Colorado_South_FIPS_0503",GEOGCS["GCS_NAD_1983_
6432	NAD_1983_2011_StatePlane_Colorado_South_FIPS_0503_Ft_US	PROJCS["NAD_1983_2011_StatePlane_Colorado_South_FIPS_0503_Ft_US",GEOGCS["GCS_NAD
6433	NAD_1983_2011_StatePlane_Connecticut_FIPS_0600	PROJCS["NAD_1983_2011_StatePlane_Connecticut_FIPS_0600",GEOGCS["GCS_NAD_1983_201
6434	NAD_1983_2011_StatePlane_Connecticut_FIPS_0600_Ft_US	PROJCS["NAD_1983_2011_StatePlane_Connecticut_FIPS_0600_Ft_US",GEOGCS["GCS_NAD_19
6435	NAD_1983_2011_StatePlane_Delaware_FIPS_0700	PROJCS["NAD_1983_2011_StatePlane_Delaware_FIPS_0700",GEOGCS["GCS_NAD_1983_2011"
6436	NAD_1983_2011_StatePlane_Delaware_FIPS_0700_Ft_US	PROJCS["NAD_1983_2011_StatePlane_Delaware_FIPS_0700_Ft_US",GEOGCS["GCS_NAD_1983
6437	NAD_1983_2011_StatePlane_Florida_East_FIPS_0901	PROJCS["NAD_1983_2011_StatePlane_Florida_East_FIPS_0901",GEOGCS["GCS_NAD_1983_20
6438	NAD_1983_2011_StatePlane_Florida_East_FIPS_0901_Ft_US	PROJCS["NAD_1983_2011_StatePlane_Florida_East_FIPS_0901_Ft_US",GEOGCS["GCS_NAD_1
6439	NAD_1983_2011_Florida_GDL_Albers	PROJCS["NAD_1983_2011_Florida_GDL_Albers",GEOGCS["GCS_NAD_1983_2011",DATUM["D_N
6440	NAD_1983_2011_StatePlane_Florida_North_FIPS_0903	PROJCS["NAD_1983_2011_StatePlane_Florida_North_FIPS_0903",GEOGCS["GCS_NAD_1983_2
6441	NAD_1983_2011_StatePlane_Florida_North_FIPS_0903_Ft_US	PROJCS["NAD_1983_2011_StatePlane_Florida_North_FIPS_0903_Ft_US",GEOGCS["GCS_NAD_
6442	NAD_1983_2011_StatePlane_Florida_West_FIPS_0902	PROJCS["NAD_1983_2011_StatePlane_Florida_West_FIPS_0902",GEOGCS["GCS_NAD_1983_20
6443	NAD_1983_2011_StatePlane_Florida_West_FIPS_0902_Ft_US	PROJCS["NAD_1983_2011_StatePlane_Florida_West_FIPS_0902_Ft_US",GEOGCS["GCS_NAD_
6444	NAD_1983_2011_StatePlane_Georgia_East_FIPS_1001	PROJCS["NAD_1983_2011_StatePlane_Georgia_East_FIPS_1001",GEOGCS["GCS_NAD_1983_2
6445	NAD_1983_2011_StatePlane_Georgia_East_FIPS_1001_Ft_US	PROJCS["NAD_1983_2011_StatePlane_Georgia_East_FIPS_1001_Ft_US",GEOGCS["GCS_NAD_
6446	NAD_1983_2011_StatePlane_Georgia_West_FIPS_1002	PROJCS["NAD_1983_2011_StatePlane_Georgia_West_FIPS_1002",GEOGCS["GCS_NAD_1983_2
6447	NAD_1983_2011_StatePlane_Georgia_West_FIPS_1002_Ft_US	PROJCS["NAD_1983_2011_StatePlane_Georgia_West_FIPS_1002_Ft_US",GEOGCS["GCS_NAD_
6448	NAD_1983_2011_StatePlane_Idaho_Central_FIPS_1102	PROJCS["NAD_1983_2011_StatePlane_Idaho_Central_FIPS_1102",GEOGCS["GCS_NAD_1983_2
6449	NAD_1983_2011_StatePlane_Idaho_Central_FIPS_1102_Ft_US	PROJCS["NAD_1983_2011_StatePlane_Idaho_Central_FIPS_1102_Ft_US",GEOGCS["GCS_NAD_
6450	NAD_1983_2011_StatePlane_Idaho_East_FIPS_1101	PROJCS["NAD_1983_2011_StatePlane_Idaho_East_FIPS_1101",GEOGCS["GCS_NAD_1983_201
6451	NAD_1983_2011_StatePlane_Idaho_East_FIPS_1101_Ft_US	PROJCS["NAD_1983_2011_StatePlane_Idaho_East_FIPS_1101_Ft_US",GEOGCS["GCS_NAD_19
6452	NAD_1983_2011_StatePlane_Idaho_West_FIPS_1103	PROJCS["NAD_1983_2011_StatePlane_Idaho_West_FIPS_1103",GEOGCS["GCS_NAD_1983_201
6453	NAD_1983_2011_StatePlane_Idaho_West_FIPS_1103_Ft_US	PROJCS["NAD_1983_2011_StatePlane_Idaho_West_FIPS_1103_Ft_US",GEOGCS["GCS_NAD_19
6454	NAD_1983_2011_StatePlane_Illinois_East_FIPS_1201	PROJCS["NAD_1983_2011_StatePlane_Illinois_East_FIPS_1201",GEOGCS["GCS_NAD_1983_201
6455	NAD_1983_2011_StatePlane_Illinois_East_FIPS_1201_Ft_US	PROJCS["NAD_1983_2011_StatePlane_Illinois_East_FIPS_1201_Ft_US",GEOGCS["GCS_NAD_19
6456	NAD_1983_2011_StatePlane_Illinois_West_FIPS_1202	PROJCS["NAD_1983_2011_StatePlane_Illinois_West_FIPS_1202",GEOGCS["GCS_NAD_1983_20
6457	NAD_1983_2011_StatePlane_Illinois_West_FIPS_1202_Ft_US	PROJCS["NAD_1983_2011_StatePlane_Illinois_West_FIPS_1202_Ft_US",GEOGCS["GCS_NAD_1
6458	NAD_1983_2011_StatePlane_Indiana_East_FIPS_1301	PROJCS["NAD_1983_2011_StatePlane_Indiana_East_FIPS_1301",GEOGCS["GCS_NAD_1983_20
6459	NAD_1983_2011_StatePlane_Indiana_East_FIPS_1301_Ft_US	PROJCS["NAD_1983_2011_StatePlane_Indiana_East_FIPS_1301_Ft_US",GEOGCS["GCS_NAD_
6460	NAD_1983_2011_StatePlane_Indiana_West_FIPS_1302	PROJCS["NAD_1983_2011_StatePlane_Indiana_West_FIPS_1302",GEOGCS["GCS_NAD_1983_2
6461	NAD_1983_2011_StatePlane_Indiana_West_FIPS_1302_Ft_US	PROJCS["NAD_1983_2011_StatePlane_Indiana_West_FIPS_1302_Ft_US",GEOGCS["GCS_NAD_

Copyright © 1995-2016 Esri. All rights reserved.

6462	NAD_1983_2011_StatePlane_Iowa_North_FIPS_1401	PROJCS["NAD_1983_2011_StatePlane_Iowa_North_FIPS_1401",GEOGCS["GCS_NAD_1983_201
6463	NAD_1983_2011_StatePlane_Iowa_North_FIPS_1401_Ft_US	PROJCS["NAD_1983_2011_StatePlane_Iowa_North_FIPS_1401_Ft_US",GEOGCS["GCS_NAD_19
6464	NAD_1983_2011_StatePlane_Iowa_South_FIPS_1402	PROJCS["NAD_1983_2011_StatePlane_Iowa_South_FIPS_1402",GEOGCS["GCS_NAD_1983_201
6465	NAD_1983_2011_StatePlane_Iowa_South_FIPS_1402_Ft_US	PROJCS["NAD_1983_2011_StatePlane_Iowa_South_FIPS_1402_Ft_US",GEOGCS["GCS_NAD_19
6466	NAD_1983_2011_StatePlane_Kansas_North_FIPS_1501	PROJCS["NAD_1983_2011_StatePlane_Kansas_North_FIPS_1501",GEOGCS["GCS_NAD_1983_2
6467	NAD_1983_2011_StatePlane_Kansas_North_FIPS_1501_Ft_US	PROJCS["NAD_1983_2011_StatePlane_Kansas_North_FIPS_1501_Ft_US",GEOGCS["GCS_NAD_
6468	NAD_1983_2011_StatePlane_Kansas_South_FIPS_1502	PROJCS["NAD_1983_2011_StatePlane_Kansas_South_FIPS_1502",GEOGCS["GCS_NAD_1983_2
6469	NAD_1983_2011_StatePlane_Kansas_South_FIPS_1502_Ft_US	PROJCS["NAD_1983_2011_StatePlane_Kansas_South_FIPS_1502_Ft_US",GEOGCS["GCS_NAD_
6470	NAD_1983_2011_StatePlane_Kentucky_North_FIPS_1601	PROJCS["NAD_1983_2011_StatePlane_Kentucky_North_FIPS_1601",GEOGCS["GCS_NAD_1983_
6471	NAD_1983_2011_StatePlane_Kentucky_North_FIPS_1601_Ft_US	PROJCS["NAD_1983_2011_StatePlane_Kentucky_North_FIPS_1601_Ft_US",GEOGCS["GCS_NAD
6472	NAD_1983_2011_StatePlane_Kentucky_FIPS_1600	PROJCS["NAD_1983_2011_StatePlane_Kentucky_FIPS_1600",GEOGCS["GCS_NAD_1983_2011"
6473	NAD_1983_2011_StatePlane_Kentucky_FIPS_1600_Ft_US	PROJCS["NAD_1983_2011_StatePlane_Kentucky_FIPS_1600_Ft_US",GEOGCS["GCS_NAD_1983
6474	NAD_1983_2011_StatePlane_Kentucky_South_FIPS_1602	PROJCS["NAD_1983_2011_StatePlane_Kentucky_South_FIPS_1602",GEOGCS["GCS_NAD_1983
6475	NAD_1983_2011_StatePlane_Kentucky_South_FIPS_1602_Ft_US	PROJCS["NAD_1983_2011_StatePlane_Kentucky_South_FIPS_1602_Ft_US",GEOGCS["GCS_NA
6476	NAD_1983_2011_StatePlane_Louisiana_North_FIPS_1701	PROJCS["NAD_1983_2011_StatePlane_Louisiana_North_FIPS_1701",GEOGCS["GCS_NAD_1983
6477	NAD_1983_2011_StatePlane_Louisiana_North_FIPS_1701_Ft_US	PROJCS["NAD_1983_2011_StatePlane_Louisiana_North_FIPS_1701_Ft_US",GEOGCS["GCS_NA
6478	NAD_1983_2011_StatePlane_Louisiana_South_FIPS_1702	PROJCS["NAD_1983_2011_StatePlane_Louisiana_South_FIPS_1702",GEOGCS["GCS_NAD_1983
6479	NAD_1983_2011_StatePlane_Louisiana_South_FIPS_1702_Ft_US	PROJCS["NAD_1983_2011_StatePlane_Louisiana_South_FIPS_1702_Ft_US",GEOGCS["GCS_NA
6480	NAD_1983_2011_Maine_2000_Central_Zone	PROJCS["NAD_1983_2011_Maine_2000_Central_Zone",GEOGCS["GCS_NAD_1983_2011",DATU
6481	NAD_1983_2011_Maine_2000_East_Zone	PROJCS["NAD_1983_2011_Maine_2000_East_Zone",GEOGCS["GCS_NAD_1983_2011",DATUM["
6482	NAD_1983_2011_Maine_2000_West_Zone	PROJCS["NAD_1983_2011_Maine_2000_West_Zone",GEOGCS["GCS_NAD_1983_2011",DATUM[
6483	NAD_1983_2011_StatePlane_Maine_East_FIPS_1801	PROJCS["NAD_1983_2011_StatePlane_Maine_East_FIPS_1801",GEOGCS["GCS_NAD_1983_201
6484	NAD_1983_2011_StatePlane_Maine_East_FIPS_1801_Ft_US	PROJCS["NAD_1983_2011_StatePlane_Maine_East_FIPS_1801_Ft_US",GEOGCS["GCS_NAD_19
6485	NAD_1983_2011_StatePlane_Maine_West_FIPS_1802	PROJCS["NAD_1983_2011_StatePlane_Maine_West_FIPS_1802",GEOGCS["GCS_NAD_1983_20
6486	NAD_1983_2011_StatePlane_Maine_West_FIPS_1802_Ft_US	PROJCS["NAD_1983_2011_StatePlane_Maine_West_FIPS_1802_Ft_US",GEOGCS["GCS_NAD_1
6487	NAD_1983_2011_StatePlane_Maryland_FIPS_1900	PROJCS["NAD_1983_2011_StatePlane_Maryland_FIPS_1900",GEOGCS["GCS_NAD_1983_2011"
6488	NAD_1983_2011_StatePlane_Maryland_FIPS_1900_Ft_US	PROJCS["NAD_1983_2011_StatePlane_Maryland_FIPS_1900_Ft_US",GEOGCS["GCS_NAD_1983
6489	NAD_1983_2011_StatePlane_Massachusetts_Island_FIPS_2002	PROJCS["NAD_1983_2011_StatePlane_Massachusetts_Island_FIPS_2002",GEOGCS["GCS_NAD_
6490	NAD_1983_2011_StatePlane_Massachusetts_Isl_FIPS_2002_FtUS	PROJCS["NAD_1983_2011_StatePlane_Massachusetts_Isl_FIPS_2002_FtUS",GEOGCS["GCS_NA
6491	NAD_1983_2011_StatePlane_Massachusetts_Mainland_FIPS_2001	PROJCS["NAD_1983_2011_StatePlane_Massachusetts_Mainland_FIPS_2001",GEOGCS["GCS_NA
6492	NAD_1983_2011_StatePlane_Massachusetts_Mnld_FIPS_2001_FtUS	PROJCS["NAD_1983_2011_StatePlane_Massachusetts_Mnld_FIPS_2001_FtUS",GEOGCS["GCS_
6493	NAD_1983_2011_StatePlane_Michigan_Central_FIPS_2112	PROJCS["NAD_1983_2011_StatePlane_Michigan_Central_FIPS_2112",GEOGCS["GCS_NAD_198
6494	NAD_1983_2011_StatePlane_Michigan_Central_FIPS_2112_Ft_Intl	PROJCS["NAD_1983_2011_StatePlane_Michigan_Central_FIPS_2112_Ft_Intl",GEOGCS["GCS_NA
6495	NAD_1983_2011_StatePlane_Michigan_North_FIPS_2111	PROJCS["NAD_1983_2011_StatePlane_Michigan_North_FIPS_2111",GEOGCS["GCS_NAD_1983_
6496	NAD_1983_2011_StatePlane_Michigan_North_FIPS_2111_Ft_Intl	PROJCS["NAD_1983_2011_StatePlane_Michigan_North_FIPS_2111_Ft_Intl",GEOGCS["GCS_NAD
6497	NAD_1983_2011_Michigan_GeoRef_Meters	PROJCS["NAD_1983_2011_Michigan_GeoRef_Meters",GEOGCS["GCS_NAD_1983_2011",DATUM
6498	NAD_1983_2011_StatePlane_Michigan_South_FIPS_2113	PROJCS["NAD_1983_2011_StatePlane_Michigan_South_FIPS_2113",GEOGCS["GCS_NAD_1983_
6499	NAD_1983_2011_StatePlane_Michigan_South_FIPS_2113_Ft_Intl	PROJCS["NAD_1983_2011_StatePlane_Michigan_South_FIPS_2113_Ft_Intl",GEOGCS["GCS_NAD
6500	NAD_1983_2011_StatePlane_Minnesota_Central_FIPS_2202	PROJCS["NAD_1983_2011_StatePlane_Minnesota_Central_FIPS_2202",GEOGCS["GCS_NAD_19
6501	NAD_1983_2011_StatePlane_Minnesota_Central_FIPS_2202_Ft_US	PROJCS["NAD_1983_2011_StatePlane_Minnesota_Central_FIPS_2202_Ft_US",GEOGCS["GCS_N
6502	NAD_1983_2011_StatePlane_Minnesota_North_FIPS_2201	PROJCS["NAD_1983_2011_StatePlane_Minnesota_North_FIPS_2201",GEOGCS["GCS_NAD_1983
6503	NAD_1983_2011_StatePlane_Minnesota_North_FIPS_2201_Ft_US	PROJCS["NAD_1983_2011_StatePlane_Minnesota_North_FIPS_2201_Ft_US",GEOGCS["GCS_NA
6504	NAD_1983_2011_StatePlane_Minnesota_South_FIPS_2203	PROJCS["NAD_1983_2011_StatePlane_Minnesota_South_FIPS_2203",GEOGCS["GCS_NAD_198
6505	NAD_1983_2011_StatePlane_Minnesota_South_FIPS_2203_Ft_US	PROJCS["NAD_1983_2011_StatePlane_Minnesota_South_FIPS_2203_Ft_US",GEOGCS["GCS_NA
6506	NAD_1983_2011_StatePlane_Mississippi_East_FIPS_2301	PROJCS["NAD_1983_2011_StatePlane_Mississippi_East_FIPS_2301",GEOGCS["GCS_NAD_1983
6507	NAD_1983_2011_StatePlane_Mississippi_East_FIPS_2301_Ft_US	PROJCS["NAD_1983_2011_StatePlane_Mississippi_East_FIPS_2301_Ft_US",GEOGCS["GCS_NA
6508	NAD_1983_2011_Mississippi_TM	PROJCS["NAD_1983_2011_Mississippi_TM",GEOGCS["GCS_NAD_1983_2011",DATUM["D_NAD_
6509	NAD_1983_2011_StatePlane_Mississippi_West_FIPS_2302	PROJCS["NAD_1983_2011_StatePlane_Mississippi_West_FIPS_2302",GEOGCS["GCS_NAD_198
6510	NAD_1983_2011_StatePlane_Mississippi_West_FIPS_2302_Ft_US	PROJCS["NAD_1983_2011_StatePlane_Mississippi_West_FIPS_2302_Ft_US",GEOGCS["GCS_NA
6511	NAD_1983_2011_StatePlane_Missouri_Central_FIPS_2402	PROJCS["NAD_1983_2011_StatePlane_Missouri_Central_FIPS_2402",GEOGCS["GCS_NAD_1983
6512	NAD_1983_2011_StatePlane_Missouri_East_FIPS_2401	PROJCS["NAD_1983_2011_StatePlane_Missouri_East_FIPS_2401",GEOGCS["GCS_NAD_1983_2
6513	NAD_1983_2011_StatePlane_Missouri_West_FIPS_2403	PROJCS["NAD_1983_2011_StatePlane_Missouri_West_FIPS_2403",GEOGCS["GCS_NAD_1983_
6514	NAD_1983_2011_StatePlane_Montana_FIPS_2500	PROJCS["NAD_1983_2011_StatePlane_Montana_FIPS_2500",GEOGCS["GCS_NAD_1983_2011",
6515	NAD_1983_2011_StatePlane_Montana_FIPS_2500_Ft_Intl	PROJCS["NAD_1983_2011_StatePlane_Montana_FIPS_2500_Ft_Intl",GEOGCS["GCS_NAD_1983

Copyright © 1995-2016 Esri. All rights reserved.

6516	NAD_1983_2011_StatePlane_Nebraska_FIPS_2600	PROJCS["NAD_1983_2011_StatePlane_Nebraska_FIPS_2600",GEOGCS["GCS_NAD_1983_2011"
6517	NAD_1983_2011_StatePlane_Nebraska_FIPS_2600_Ft_US	PROJCS["NAD_1983_2011_StatePlane_Nebraska_FIPS_2600_Ft_US",GEOGCS["GCS_NAD_198
6518	NAD_1983_2011_StatePlane_Nevada_Central_FIPS_2702	PROJCS["NAD_1983_2011_StatePlane_Nevada_Central_FIPS_2702",GEOGCS["GCS_NAD_1983
6519	NAD_1983_2011_StatePlane_Nevada_Central_FIPS_2702_Ft_US	PROJCS["NAD_1983_2011_StatePlane_Nevada_Central_FIPS_2702_Ft_US",GEOGCS["GCS_NA
6520	NAD_1983_2011_StatePlane_Nevada_East_FIPS_2701	PROJCS["NAD_1983_2011_StatePlane_Nevada_East_FIPS_2701",GEOGCS["GCS_NAD_1983_2
6521	NAD_1983_2011_StatePlane_Nevada_East_FIPS_2701_Ft_US	PROJCS["NAD_1983_2011_StatePlane_Nevada_East_FIPS_2701_Ft_US",GEOGCS["GCS_NAD_
6522	NAD_1983_2011_StatePlane_Nevada_West_FIPS_2703	PROJCS["NAD_1983_2011_StatePlane_Nevada_West_FIPS_2703",GEOGCS["GCS_NAD_1983_2
6523	NAD_1983_2011_StatePlane_Nevada_West_FIPS_2703_Ft_US	PROJCS["NAD_1983_2011_StatePlane_Nevada_West_FIPS_2703_Ft_US",GEOGCS["GCS_NAD_
6524	NAD_1983_2011_StatePlane_New_Hampshire_FIPS_2800	PROJCS["NAD_1983_2011_StatePlane_New_Hampshire_FIPS_2800",GEOGCS["GCS_NAD_1983
6525	NAD_1983_2011_StatePlane_New_Hampshire_FIPS_2800_Ft_US	PROJCS["NAD_1983_2011_StatePlane_New_Hampshire_FIPS_2800_Ft_US",GEOGCS["GCS_NA
6526	NAD_1983_2011_StatePlane_New_Jersey_FIPS_2900	PROJCS["NAD_1983_2011_StatePlane_New_Jersey_FIPS_2900",GEOGCS["GCS_NAD_1983_20
6527	NAD_1983_2011_StatePlane_New_Jersey_FIPS_2900_Ft_US	PROJCS["NAD_1983_2011_StatePlane_New_Jersey_FIPS_2900_Ft_US",GEOGCS["GCS_NAD_1
6528	NAD_1983_2011_StatePlane_New_Mexico_Central_FIPS_3002	PROJCS["NAD_1983_2011_StatePlane_New_Mexico_Central_FIPS_3002",GEOGCS["GCS_NAD_
6529	NAD_1983_2011_StatePlane_New_Mexico_Central_FIPS_3002_Ft_US	PROJCS["NAD_1983_2011_StatePlane_New_Mexico_Central_FIPS_3002_Ft_US",GEOGCS["GCS
6530	NAD_1983_2011_StatePlane_New_Mexico_East_FIPS_3001	PROJCS["NAD_1983_2011_StatePlane_New_Mexico_East_FIPS_3001",GEOGCS["GCS_NAD_19
6531	NAD_1983_2011_StatePlane_New_Mexico_East_FIPS_3001_Ft_US	PROJCS["NAD_1983_2011_StatePlane_New_Mexico_East_FIPS_3001_Ft_US",GEOGCS["GCS_N
6532	NAD_1983_2011_StatePlane_New_Mexico_West_FIPS_3003	PROJCS["NAD_1983_2011_StatePlane_New_Mexico_West_FIPS_3003",GEOGCS["GCS_NAD_19
6533	NAD_1983_2011_StatePlane_New_Mexico_West_FIPS_3003_Ft_US	PROJCS["NAD_1983_2011_StatePlane_New_Mexico_West_FIPS_3003_Ft_US",GEOGCS["GCS_
6534	NAD_1983_2011_StatePlane_New_York_Central_FIPS_3102	PROJCS["NAD_1983_2011_StatePlane_New_York_Central_FIPS_3102",GEOGCS["GCS_NAD_19
6535	NAD_1983_2011_StatePlane_New_York_Central_FIPS_3102_Ft_US	PROJCS["NAD_1983_2011_StatePlane_New_York_Central_FIPS_3102_Ft_US",GEOGCS["GCS_N
6536	NAD_1983_2011_StatePlane_New_York_East_FIPS_3101	PROJCS["NAD_1983_2011_StatePlane_New_York_East_FIPS_3101",GEOGCS["GCS_NAD_1983_
6537	NAD_1983_2011_StatePlane_New_York_East_FIPS_3101_Ft_US	PROJCS["NAD_1983_2011_StatePlane_New_York_East_FIPS_3101_Ft_US",GEOGCS["GCS_NAD
6538	NAD_1983_2011_StatePlane_New_York_Long_Island_FIPS_3104	PROJCS["NAD_1983_2011_StatePlane_New_York_Long_Island_FIPS_3104",GEOGCS["GCS_NAD
6539	NAD_1983_2011_StatePlane_New_York_Long_Isl_FIPS_3104_Ft_US	PROJCS["NAD_1983_2011_StatePlane_New_York_Long_Isl_FIPS_3104_Ft_US",GEOGCS["GCS_
6540	NAD_1983_2011_StatePlane_New_York_West_FIPS_3103	PROJCS["NAD_1983_2011_StatePlane_New_York_West_FIPS_3103",GEOGCS["GCS_NAD_1983
6541	NAD_1983_2011_StatePlane_New_York_West_FIPS_3103_Ft_US	PROJCS["NAD_1983_2011_StatePlane_New_York_West_FIPS_3103_Ft_US",GEOGCS["GCS_NA
6542	NAD_1983_2011_StatePlane_North_Carolina_FIPS_3200	PROJCS["NAD_1983_2011_StatePlane_North_Carolina_FIPS_3200",GEOGCS["GCS_NAD_1983_
6543	NAD_1983_2011_StatePlane_North_Carolina_FIPS_3200_Ft_US	PROJCS["NAD_1983_2011_StatePlane_North_Carolina_FIPS_3200_Ft_US",GEOGCS["GCS_NAD
6544	NAD_1983_2011_StatePlane_North_Dakota_North_FIPS_3301	PROJCS["NAD_1983_2011_StatePlane_North_Dakota_North_FIPS_3301",GEOGCS["GCS_NAD_1
6545	NAD_1983_2011_StatePlane_North_Dakota_North_FIPS_3301_Ftl	PROJCS["NAD_1983_2011_StatePlane_North_Dakota_North_FIPS_3301_Ftl",GEOGCS["GCS_NA
6546	NAD_1983_2011_StatePlane_North_Dakota_South_FIPS_3302	PROJCS["NAD_1983_2011_StatePlane_North_Dakota_South_FIPS_3302",GEOGCS["GCS_NAD_
6547	NAD_1983_2011_StatePlane_North_Dakota_South_FIPS_3302_Ftl	PROJCS["NAD_1983_2011_StatePlane_North_Dakota_South_FIPS_3302_Ftl",GEOGCS["GCS_NA
6548	NAD_1983_2011_StatePlane_Ohio_North_FIPS_3401	PROJCS["NAD_1983_2011_StatePlane_Ohio_North_FIPS_3401",GEOGCS["GCS_NAD_1983_201
6549	NAD_1983_2011_StatePlane_Ohio_North_FIPS_3401_Ft_US	PROJCS["NAD_1983_2011_StatePlane_Ohio_North_FIPS_3401_Ft_US",GEOGCS["GCS_NAD_19
6550	NAD_1983_2011_StatePlane_Ohio_South_FIPS_3402	PROJCS["NAD_1983_2011_StatePlane_Ohio_South_FIPS_3402",GEOGCS["GCS_NAD_1983_201
6551	NAD_1983_2011_StatePlane_Ohio_South_FIPS_3402_Ft_US	PROJCS["NAD_1983_2011_StatePlane_Ohio_South_FIPS_3402_Ft_US",GEOGCS["GCS_NAD_19
6552	NAD_1983_2011_StatePlane_Oklahoma_North_FIPS_3501	PROJCS["NAD_1983_2011_StatePlane_Oklahoma_North_FIPS_3501",GEOGCS["GCS_NAD_1983
6553	NAD_1983_2011_StatePlane_Oklahoma_North_FIPS_3501_Ft_US	PROJCS["NAD_1983_2011_StatePlane_Oklahoma_North_FIPS_3501_Ft_US",GEOGCS["GCS_NA
6554	NAD_1983_2011_StatePlane_Oklahoma_South_FIPS_3502	PROJCS["NAD_1983_2011_StatePlane_Oklahoma_South_FIPS_3502",GEOGCS["GCS_NAD_198
6555	NAD_1983_2011_StatePlane_Oklahoma_South_FIPS_3502_Ft_US	PROJCS["NAD_1983_2011_StatePlane_Oklahoma_South_FIPS_3502_Ft_US",GEOGCS["GCS_NA
6556	NAD_1983_2011_Oregon_Statewide_Lambert	PROJCS["NAD_1983_2011_Oregon_Statewide_Lambert",GEOGCS["GCS_NAD_1983_2011",DATU
6557	NAD_1983_2011_Oregon_Statewide_Lambert_Ft_Intl	PROJCS["NAD_1983_2011_Oregon_Statewide_Lambert_Ft_Intl",GEOGCS["GCS_NAD_1983_201
6558	NAD_1983_2011_StatePlane_Oregon_North_FIPS_3601	PROJCS["NAD_1983_2011_StatePlane_Oregon_North_FIPS_3601",GEOGCS["GCS_NAD_1983_2
6559	NAD_1983_2011_StatePlane_Oregon_North_FIPS_3601_Ft_Intl	PROJCS["NAD_1983_2011_StatePlane_Oregon_North_FIPS_3601_Ft_Intl",GEOGCS["GCS_NAD_
6560	NAD_1983_2011_StatePlane_Oregon_South_FIPS_3602	PROJCS["NAD_1983_2011_StatePlane_Oregon_South_FIPS_3602",GEOGCS["GCS_NAD_1983_2
6561	NAD_1983_2011_StatePlane_Oregon_South_FIPS_3602_Ft_Intl	PROJCS["NAD_1983_2011_StatePlane_Oregon_South_FIPS_3602_Ft_Intl",GEOGCS["GCS_NAD_
6562	NAD_1983_2011_StatePlane_Pennsylvania_North_FIPS_3701	PROJCS["NAD_1983_2011_StatePlane_Pennsylvania_North_FIPS_3701",GEOGCS["GCS_NAD_1
6563	NAD_1983_2011_StatePlane_Pennsylvania_North_FIPS_3701_Ft_US	PROJCS["NAD_1983_2011_StatePlane_Pennsylvania_North_FIPS_3701_Ft_US",GEOGCS["GCS_
6564	NAD_1983_2011_StatePlane_Pennsylvania_South_FIPS_3702	PROJCS["NAD_1983_2011_StatePlane_Pennsylvania_South_FIPS_3702",GEOGCS["GCS_NAD_1
6565	NAD_1983_2011_StatePlane_Pennsylvania_South_FIPS_3702_Ft_US	PROJCS["NAD_1983_2011_StatePlane_Pennsylvania_South_FIPS_3702_Ft_US",GEOGCS["GCS_
6566	NAD_1983_2011_StatePlane_Puerto_Rico_Virgin_Isls_FIPS_5200	PROJCS["NAD_1983_2011_StatePlane_Puerto_Rico_Virgin_Isls_FIPS_5200",GEOGCS["GCS_NA
6567	NAD_1983_2011_StatePlane_Rhode_Island_FIPS_3800	PROJCS["NAD_1983_2011_StatePlane_Rhode_Island_FIPS_3800",GEOGCS["GCS_NAD_1983_2
6568	NAD_1983_2011_StatePlane_Rhode_Island_FIPS_3800_Ft_US	PROJCS["NAD_1983_2011_StatePlane_Rhode_Island_FIPS_3800_Ft_US",GEOGCS["GCS_NAD_
6569	NAD_1983_2011_StatePlane_South_Carolina_FIPS_3900	PROJCS["NAD_1983_2011_StatePlane_South_Carolina_FIPS_3900",GEOGCS["GCS_NAD_1983_

Copyright © 1995-2016 Esri. All rights reserved.

6570	NAD_1983_2011_StatePlane_South_Carolina_FIPS_3900_Ft_Intl	PROJCS["NAD_1983_2011_StatePlane_South_Carolina_FIPS_3900_Ft_Intl",GEOGCS["GCS_NAD
6571	NAD_1983_2011_StatePlane_South_Dakota_North_FIPS_4001	PROJCS["NAD_1983_2011_StatePlane_South_Dakota_North_FIPS_4001",GEOGCS["GCS_NAD_
6572	NAD_1983_2011_StatePlane_South_Dakota_North_FIPS_4001_Ft_US	PROJCS["NAD_1983_2011_StatePlane_South_Dakota_North_FIPS_4001_Ft_US",GEOGCS["GCS
6573	NAD_1983_2011_StatePlane_South_Dakota_South_FIPS_4002	PROJCS["NAD_1983_2011_StatePlane_South_Dakota_South_FIPS_4002",GEOGCS["GCS_NAD_
6574	NAD_1983_2011_StatePlane_South_Dakota_South_FIPS_4002_Ft_US	PROJCS["NAD_1983_2011_StatePlane_South_Dakota_South_FIPS_4002_Ft_US",GEOGCS["GCS
6575	NAD_1983_2011_StatePlane_Tennessee_FIPS_4100	PROJCS["NAD_1983_2011_StatePlane_Tennessee_FIPS_4100",GEOGCS["GCS_NAD_1983_201
6576	NAD_1983_2011_StatePlane_Tennessee_FIPS_4100_Ft_US	PROJCS["NAD_1983_2011_StatePlane_Tennessee_FIPS_4100_Ft_US",GEOGCS["GCS_NAD_19
6577	NAD_1983_2011_StatePlane_Texas_Central_FIPS_4203	PROJCS["NAD_1983_2011_StatePlane_Texas_Central_FIPS_4203",GEOGCS["GCS_NAD_1983_2
6578	NAD_1983_2011_StatePlane_Texas_Central_FIPS_4203_Ft_US	PROJCS["NAD_1983_2011_StatePlane_Texas_Central_FIPS_4203_Ft_US",GEOGCS["GCS_NAD_
6579	NAD_1983_2011_Texas_Centric_Mapping_System_Albers	PROJCS["NAD_1983_2011_Texas_Centric_Mapping_System_Albers",GEOGCS["GCS_NAD_1983_
6580	NAD_1983_2011_Texas_Centric_Mapping_System_Lambert	PROJCS["NAD_1983_2011_Texas_Centric_Mapping_System_Lambert",GEOGCS["GCS_NAD_198
6581	NAD_1983_2011_StatePlane_Texas_North_FIPS_4201	PROJCS["NAD_1983_2011_StatePlane_Texas_North_FIPS_4201",GEOGCS["GCS_NAD_1983_20
6582	NAD_1983_2011_StatePlane_Texas_North_FIPS_4201_Ft_US	PROJCS["NAD_1983_2011_StatePlane_Texas_North_FIPS_4201_Ft_US",GEOGCS["GCS_NAD_1
6583	NAD_1983_2011_StatePlane_Texas_North_Central_FIPS_4202	PROJCS["NAD_1983_2011_StatePlane_Texas_North_Central_FIPS_4202",GEOGCS["GCS_NAD_
6584	NAD_1983_2011_StatePlane_Texas_North_Central_FIPS_4202_FtUS	PROJCS["NAD_1983_2011_StatePlane_Texas_North_Central_FIPS_4202_FtUS",GEOGCS["GCS_
6585	NAD_1983_2011_StatePlane_Texas_South_FIPS_4205	PROJCS["NAD_1983_2011_StatePlane_Texas_South_FIPS_4205",GEOGCS["GCS_NAD_1983_20
6586	NAD_1983_2011_StatePlane_Texas_South_FIPS_4205_Ft_US	PROJCS["NAD_1983_2011_StatePlane_Texas_South_FIPS_4205_Ft_US",GEOGCS["GCS_NAD_1
6587	NAD_1983_2011_StatePlane_Texas_South_Central_FIPS_4204	PROJCS["NAD_1983_2011_StatePlane_Texas_South_Central_FIPS_4204",GEOGCS["GCS_NAD_
6588	NAD_1983_2011_StatePlane_Texas_South_Central_FIPS_4204_FtUS	PROJCS["NAD_1983_2011_StatePlane_Texas_South_Central_FIPS_4204_FtUS",GEOGCS["GCS_
6589	NAD_1983_2011_StatePlane_Vermont_FIPS_4400	PROJCS["NAD_1983_2011_StatePlane_Vermont_FIPS_4400",GEOGCS["GCS_NAD_1983_2011",I
6590	NAD_1983_2011_StatePlane_Vermont_FIPS_4400_Ft_US	PROJCS["NAD_1983_2011_StatePlane_Vermont_FIPS_4400_Ft_US",GEOGCS["GCS_NAD_1983_
6591	NAD_1983_2011_Virginia_Lambert	PROJCS["NAD_1983_2011_Virginia_Lambert",GEOGCS["GCS_NAD_1983_2011",DATUM["D_NAD
6592	NAD_1983_2011_StatePlane_Virginia_North_FIPS_4501	PROJCS["NAD_1983_2011_StatePlane_Virginia_North_FIPS_4501",GEOGCS["GCS_NAD_1983_2
6593	NAD_1983_2011_StatePlane_Virginia_North_FIPS_4501_Ft_US	PROJCS["NAD_1983_2011_StatePlane_Virginia_North_FIPS_4501_Ft_US",GEOGCS["GCS_NAD_
6594	NAD_1983_2011_StatePlane_Virginia_South_FIPS_4502	PROJCS["NAD_1983_2011_StatePlane_Virginia_South_FIPS_4502",GEOGCS["GCS_NAD_1983_2
6595	NAD_1983_2011_StatePlane_Virginia_South_FIPS_4502_Ft_US	PROJCS["NAD_1983_2011_StatePlane_Virginia_South_FIPS_4502_Ft_US",GEOGCS["GCS_NAD_
6596	NAD_1983_2011_StatePlane_Washington_North_FIPS_4601	PROJCS["NAD_1983_2011_StatePlane_Washington_North_FIPS_4601",GEOGCS["GCS_NAD_19
6597	NAD_1983_2011_StatePlane_Washington_North_FIPS_4601_Ft_US	PROJCS["NAD_1983_2011_StatePlane_Washington_North_FIPS_4601_Ft_US",GEOGCS["GCS_N
6598	NAD_1983_2011_StatePlane_Washington_South_FIPS_4602	PROJCS["NAD_1983_2011_StatePlane_Washington_South_FIPS_4602",GEOGCS["GCS_NAD_19
6599	NAD_1983_2011_StatePlane_Washington_South_FIPS_4602_Ft_US	PROJCS["NAD_1983_2011_StatePlane_Washington_South_FIPS_4602_Ft_US",GEOGCS["GCS_N
6600	NAD_1983_2011_StatePlane_West_Virginia_North_FIPS_4701	PROJCS["NAD_1983_2011_StatePlane_West_Virginia_North_FIPS_4701",GEOGCS["GCS_NAD_1
6601	NAD_1983_2011_StatePlane_West_Virginia_North_FIPS_4701_FtUS	PROJCS["NAD_1983_2011_StatePlane_West_Virginia_North_FIPS_4701_FtUS",GEOGCS["GCS_
6602	NAD_1983_2011_StatePlane_West_Virginia_South_FIPS_4702	PROJCS["NAD_1983_2011_StatePlane_West_Virginia_South_FIPS_4702",GEOGCS["GCS_NAD_
6603	NAD_1983_2011_StatePlane_West_Virginia_South_FIPS_4702_FtUS	PROJCS["NAD_1983_2011_StatePlane_West_Virginia_South_FIPS_4702_FtUS",GEOGCS["GCS_
6605	NAD_1983_2011_StatePlane_Wisconsin_Central_FIPS_4802_Ft_US	PROJCS["NAD_1983_2011_StatePlane_Wisconsin_Central_FIPS_4802_Ft_US",GEOGCS["GCS_N
6606	NAD_1983_2011_StatePlane_Wisconsin_North_FIPS_4801	PROJCS["NAD_1983_2011_StatePlane_Wisconsin_North_FIPS_4801",GEOGCS["GCS_NAD_1983
6607	NAD_1983_2011_StatePlane_Wisconsin_North_FIPS_4801_Ft_US	PROJCS["NAD_1983_2011_StatePlane_Wisconsin_North_FIPS_4801_Ft_US",GEOGCS["GCS_NA
6608	NAD_1983_2011_StatePlane_Wisconsin_South_FIPS_4803	PROJCS["NAD_1983_2011_StatePlane_Wisconsin_South_FIPS_4803",GEOGCS["GCS_NAD_198
6609	NAD_1983_2011_StatePlane_Wisconsin_South_FIPS_4803_Ft_US	PROJCS["NAD_1983_2011_StatePlane_Wisconsin_South_FIPS_4803_Ft_US",GEOGCS["GCS_NA
6610	NAD_1983_2011_Wisconsin_TM	PROJCS["NAD_1983_2011_Wisconsin_TM",GEOGCS["GCS_NAD_1983_2011",DATUM["D_NAD_1
6611	NAD_1983_2011_StatePlane_Wyoming_East_FIPS_4901	PROJCS["NAD_1983_2011_StatePlane_Wyoming_East_FIPS_4901",GEOGCS["GCS_NAD_1983_
6612	NAD_1983_2011_StatePlane_Wyoming_East_FIPS_4901_Ft_US	PROJCS["NAD_1983_2011_StatePlane_Wyoming_East_FIPS_4901_Ft_US",GEOGCS["GCS_NAD
6613	NAD_1983_2011_StatePlane_Wyoming_East_Central_FIPS_4902	PROJCS["NAD_1983_2011_StatePlane_Wyoming_East_Central_FIPS_4902",GEOGCS["GCS_NAD
6614	NAD_1983_2011_StatePlane_Wyoming_E_Central_FIPS_4902_Ft_US	PROJCS["NAD_1983_2011_StatePlane_Wyoming_E_Central_FIPS_4902_Ft_US",GEOGCS["GCS_
6615	NAD_1983_2011_StatePlane_Wyoming_West_FIPS_4904	PROJCS["NAD_1983_2011_StatePlane_Wyoming_West_FIPS_4904",GEOGCS["GCS_NAD_1983_
6616	NAD_1983_2011_StatePlane_Wyoming_West_FIPS_4904_Ft_US	PROJCS["NAD_1983_2011_StatePlane_Wyoming_West_FIPS_4904_Ft_US",GEOGCS["GCS_NAD
6617	NAD_1983_2011_StatePlane_Wyoming_West_Central_FIPS_4903	PROJCS["NAD_1983_2011_StatePlane_Wyoming_West_Central_FIPS_4903",GEOGCS["GCS_NA
6618	NAD_1983_2011_StatePlane_Wyoming_W_Central_FIPS_4903_Ft_US	PROJCS["NAD_1983_2011_StatePlane_Wyoming_W_Central_FIPS_4903_Ft_US",GEOGCS["GCS
6619	NAD_1983_2011_StatePlane_Utah_Central_FIPS_4302	PROJCS["NAD_1983_2011_StatePlane_Utah_Central_FIPS_4302",GEOGCS["GCS_NAD_1983_20
6620	NAD_1983_2011_StatePlane_Utah_North_FIPS_4301	PROJCS["NAD_1983_2011_StatePlane_Utah_North_FIPS_4301",GEOGCS["GCS_NAD_1983_201
6621	NAD_1983_2011_StatePlane_Utah_South_FIPS_4303	PROJCS["NAD_1983_2011_StatePlane_Utah_South_FIPS_4303",GEOGCS["GCS_NAD_1983_201
6622	NAD_1983_CSRS_Quebec_Lambert	PROJCS["NAD_1983_CSRS_Quebec_Lambert",GEOGCS["GCS_North_American_1983_CSRS",D
6623	NAD_1983_Quebec_Albers	PROJCS["NAD_1983_Quebec_Albers",GEOGCS["GCS_North_American_1983",DATUM["D_North_
6624	NAD_1983_CSRS_Quebec_Albers	PROJCS["NAD_1983_CSRS_Quebec_Albers",GEOGCS["GCS_North_American_1983_CSRS",DAT

Copyright © 1995-2016 Esri. All rights reserved.

6625	NAD_1983_2011_StatePlane_Utah_Central_FIPS_4302_Ft_US	PROJCS["NAD_1983_2011_StatePlane_Utah_Central_FIPS_4302_Ft_US",GEOGCS["GCS_NAD_
6626	NAD_1983_2011_StatePlane_Utah_North_FIPS_4301_Ft_US	PROJCS["NAD_1983_2011_StatePlane_Utah_North_FIPS_4301_Ft_US",GEOGCS["GCS_NAD_19
6627	NAD_1983_2011_StatePlane_Utah_South_FIPS_4303_Ft_US	PROJCS["NAD_1983_2011_StatePlane_Utah_South_FIPS_4303_Ft_US",GEOGCS["GCS_NAD_19
6628	NAD_1983_PA11_StatePlane_Hawaii_1_FIPS_5101	PROJCS["NAD_1983_PA11_StatePlane_Hawaii_1_FIPS_5101",GEOGCS["GCS_NAD_1983_PA11
6629	NAD_1983_PA11_StatePlane_Hawaii_2_FIPS_5102	PROJCS["NAD_1983_PA11_StatePlane_Hawaii_2_FIPS_5102",GEOGCS["GCS_NAD_1983_PA11
6630	NAD_1983_PA11_StatePlane_Hawaii_3_FIPS_5103	PROJCS["NAD_1983_PA11_StatePlane_Hawaii_3_FIPS_5103",GEOGCS["GCS_NAD_1983_PA11
6631	NAD_1983_PA11_StatePlane_Hawaii_4_FIPS_5104	PROJCS["NAD_1983_PA11_StatePlane_Hawaii_4_FIPS_5104",GEOGCS["GCS_NAD_1983_PA11
6632	NAD_1983_PA11_StatePlane_Hawaii_5_FIPS_5105	PROJCS["NAD_1983_PA11_StatePlane_Hawaii_5_FIPS_5105",GEOGCS["GCS_NAD_1983_PA11
6633	NAD_1983_PA11_StatePlane_Hawaii_3_FIPS_5103_Feet	PROJCS["NAD_1983_PA11_StatePlane_Hawaii_3_FIPS_5103_Feet",GEOGCS["GCS_NAD_1983_
6634	NAD_1983_PA11_UTM_Zone_4N	PROJCS["NAD_1983_PA11_UTM_Zone_4N",GEOGCS["GCS_NAD_1983_PA11",DATUM["D_NAD_
6635	NAD_1983_PA11_UTM_Zone_5N	PROJCS["NAD_1983_PA11_UTM_Zone_5N",GEOGCS["GCS_NAD_1983_PA11",DATUM["D_NAD_
6636	NAD_1983_PA11_UTM_Zone_2S	PROJCS["NAD_1983_PA11_UTM_Zone_2S",GEOGCS["GCS_NAD_1983_PA11",DATUM["D_NAD_
6637	NAD_1983_MA11_Guam_Map_Grid	PROJCS["NAD_1983_MA11_Guam_Map_Grid",GEOGCS["GCS_NAD_1983_MA11",DATUM["D_NA
6646	Karbala_1979_Iraq_National_Grid	PROJCS["Karbala_1979_Iraq_National_Grid",GEOGCS["GCS_Karbala_1979_Polservice",DATUM[""
6669	JGD_2011_Japan_Zone_1	PROJCS["JGD_2011_Japan_Zone_1",GEOGCS["GCS_JGD_2011",DATUM["D_JGD_2011",SPHER
6670	JGD_2011_Japan_Zone_2	PROJCS["JGD_2011_Japan_Zone_2",GEOGCS["GCS_JGD_2011",DATUM["D_JGD_2011",SPHER
6671	JGD_2011_Japan_Zone_3	PROJCS["JGD_2011_Japan_Zone_3",GEOGCS["GCS_JGD_2011",DATUM["D_JGD_2011",SPHER
6672	JGD_2011_Japan_Zone_4	PROJCS["JGD_2011_Japan_Zone_4",GEOGCS["GCS_JGD_2011",DATUM["D_JGD_2011",SPHER
6673	JGD_2011_Japan_Zone_5	PROJCS["JGD_2011_Japan_Zone_5",GEOGCS["GCS_JGD_2011",DATUM["D_JGD_2011",SPHER
6674	JGD_2011_Japan_Zone_6	PROJCS["JGD_2011_Japan_Zone_6",GEOGCS["GCS_JGD_2011",DATUM["D_JGD_2011",SPHER
6675	JGD_2011_Japan_Zone_7	PROJCS["JGD_2011_Japan_Zone_7",GEOGCS["GCS_JGD_2011",DATUM["D_JGD_2011",SPHER
6676	JGD_2011_Japan_Zone_8	PROJCS["JGD_2011_Japan_Zone_8",GEOGCS["GCS_JGD_2011",DATUM["D_JGD_2011",SPHER
6677	JGD_2011_Japan_Zone_9	PROJCS["JGD_2011_Japan_Zone_9",GEOGCS["GCS_JGD_2011",DATUM["D_JGD_2011",SPHER
6678	JGD_2011_Japan_Zone_10	PROJCS["JGD_2011_Japan_Zone_10",GEOGCS["GCS_JGD_2011",DATUM["D_JGD_2011",SPHE
6679	JGD_2011_Japan_Zone_11	PROJCS["JGD_2011_Japan_Zone_11",GEOGCS["GCS_JGD_2011",DATUM["D_JGD_2011",SPHE
6680	JGD_2011_Japan_Zone_12	PROJCS["JGD_2011_Japan_Zone_12",GEOGCS["GCS_JGD_2011",DATUM["D_JGD_2011",SPHE
6681	JGD_2011_Japan_Zone_13	PROJCS["JGD_2011_Japan_Zone_13",GEOGCS["GCS_JGD_2011",DATUM["D_JGD_2011",SPHE
6682	JGD_2011_Japan_Zone_14	PROJCS["JGD_2011_Japan_Zone_14",GEOGCS["GCS_JGD_2011",DATUM["D_JGD_2011",SPHE
6683	JGD_2011_Japan_Zone_15	PROJCS["JGD_2011_Japan_Zone_15",GEOGCS["GCS_JGD_2011",DATUM["D_JGD_2011",SPHE
6684	JGD_2011_Japan_Zone_16	PROJCS["JGD_2011_Japan_Zone_16",GEOGCS["GCS_JGD_2011",DATUM["D_JGD_2011",SPHE
6685	JGD_2011_Japan_Zone_17	PROJCS["JGD_2011_Japan_Zone_17",GEOGCS["GCS_JGD_2011",DATUM["D_JGD_2011",SPHE
6686	JGD_2011_Japan_Zone_18	PROJCS["JGD_2011_Japan_Zone_18",GEOGCS["GCS_JGD_2011",DATUM["D_JGD_2011",SPHE
6687	JGD_2011_Japan_Zone_19	PROJCS["JGD_2011_Japan_Zone_19",GEOGCS["GCS_JGD_2011",DATUM["D_JGD_2011",SPHE
6688	JGD_2011_UTM_Zone_51N	PROJCS["JGD_2011_UTM_Zone_51N",GEOGCS["GCS_JGD_2011",DATUM["D_JGD_2011",SPHE
6689	JGD_2011_UTM_Zone_52N	PROJCS["JGD_2011_UTM_Zone_52N",GEOGCS["GCS_JGD_2011",DATUM["D_JGD_2011",SPHE
6690	JGD_2011_UTM_Zone_53N	PROJCS["JGD_2011_UTM_Zone_53N",GEOGCS["GCS_JGD_2011",DATUM["D_JGD_2011",SPHE
6691	JGD_2011_UTM_Zone_54N	PROJCS["JGD_2011_UTM_Zone_54N",GEOGCS["GCS_JGD_2011",DATUM["D_JGD_2011",SPHE
6692	JGD_2011_UTM_Zone_55N	PROJCS["JGD_2011_UTM_Zone_55N",GEOGCS["GCS_JGD_2011",DATUM["D_JGD_2011",SPHE
6703	WGS_1984_TM_60_SW	PROJCS["WGS_1984_TM_60_SW",GEOGCS["GCS_WGS_1984",DATUM["D_WGS_1984",SPHER
6707	RDN2008_TM32	PROJCS["RDN2008_TM32",GEOGCS["GCS_RDN2008",DATUM["D_Rete_Dinamica_Nazionale_20
6708	RDN2008_TM33	PROJCS["RDN2008_TM33",GEOGCS["GCS_RDN2008",DATUM["D_Rete_Dinamica_Nazionale_20
6709	RDN2008_TM34	PROJCS["RDN2008_TM34",GEOGCS["GCS_RDN2008",DATUM["D_Rete_Dinamica_Nazionale_20
6720	WGS_1984_CIG92	PROJCS["WGS_1984_CIG92",GEOGCS["GCS_WGS_1984",DATUM["D_WGS_1984",SPHEROID["
6721	GDA_1994_CIG94	PROJCS["GDA_1994_CIG94",GEOGCS["GCS_GDA_1994",DATUM["D_GDA_1994",SPHEROID["G
6722	WGS_1984_CKIG92	PROJCS["WGS_1984_CKIG92",GEOGCS["GCS_WGS_1984",DATUM["D_WGS_1984",SPHEROID
6723	GDA_1994_CKIG94	PROJCS["GDA_1994_CKIG94",GEOGCS["GCS_GDA_1994",DATUM["D_GDA_1994",SPHEROID["
6732	GDA_1994_MGA_zone_41	PROJCS["GDA_1994_MGA_zone_41",GEOGCS["GCS_GDA_1994",DATUM["D_GDA_1994",SPHE
6733	GDA_1994_MGA_zone_42	PROJCS["GDA_1994_MGA_zone_42",GEOGCS["GCS_GDA_1994",DATUM["D_GDA_1994",SPHE
6734	GDA_1994_MGA_zone_43	PROJCS["GDA_1994_MGA_zone_43",GEOGCS["GCS_GDA_1994",DATUM["D_GDA_1994",SPHE
6735	GDA_1994_MGA_zone_44	PROJCS["GDA_1994_MGA_zone_44",GEOGCS["GCS_GDA_1994",DATUM["D_GDA_1994",SPHE
6736	GDA_1994_MGA_Zone_46	PROJCS["GDA_1994_MGA_Zone_46",GEOGCS["GCS_GDA_1994",DATUM["D_GDA_1994",SPHE
6737	GDA_1994_MGA_Zone_47	PROJCS["GDA_1994_MGA_Zone_47",GEOGCS["GCS_GDA_1994",DATUM["D_GDA_1994",SPHE
6738	GDA_1994_MGA_Zone_59	PROJCS["GDA_1994_MGA_Zone_59",GEOGCS["GCS_GDA_1994",DATUM["D_GDA_1994",SPHE
6870	ETRS_1989_Albania_2010	PROJCS["ETRS_1989_Albania_2010",GEOGCS["GCS_ETRS_1989",DATUM["D_ETRS_1989",SPH

Copyright © 1995-2016 Esri. All rights reserved.

6875	RDN2008_Italy_zone	PROJCS["RDN2008_Italy_zone",GEOGCS["GCS_RDN2008",DATUM["D_Rete_Dinamica_Nazional
6876	RDN2008_Zone_12	PROJCS["RDN2008_Zone_12",GEOGCS["GCS_RDN2008",DATUM["D_Rete_Dinamica_Nazionale_
6879	NAD_1983_2011_StatePlane_Wisconsin_Central_FIPS_4802	PROJCS["NAD_1983_2011_StatePlane_Wisconsin_Central_FIPS_4802",GEOGCS["GCS_NAD_19
20002	Pulkovo_1995_GK_Zone_2	PROJCS["Pulkovo_1995_GK_Zone_2",GEOGCS["GCS_Pulkovo_1995",DATUM["D_Pulkovo_1995"
20003	Pulkovo_1995_GK_Zone_3	PROJCS["Pulkovo_1995_GK_Zone_3",GEOGCS["GCS_Pulkovo_1995",DATUM["D_Pulkovo_1995"
20004	Pulkovo_1995_GK_Zone_4	PROJCS["Pulkovo_1995_GK_Zone_4",GEOGCS["GCS_Pulkovo_1995",DATUM["D_Pulkovo_1995"
20005	Pulkovo_1995_GK_Zone_5	PROJCS["Pulkovo_1995_GK_Zone_5",GEOGCS["GCS_Pulkovo_1995",DATUM["D_Pulkovo_1995"
20006	Pulkovo_1995_GK_Zone_6	PROJCS["Pulkovo_1995_GK_Zone_6",GEOGCS["GCS_Pulkovo_1995",DATUM["D_Pulkovo_1995"
20007	Pulkovo_1995_GK_Zone_7	PROJCS["Pulkovo_1995_GK_Zone_7",GEOGCS["GCS_Pulkovo_1995",DATUM["D_Pulkovo_1995"
20008	Pulkovo_1995_GK_Zone_8	PROJCS["Pulkovo_1995_GK_Zone_8",GEOGCS["GCS_Pulkovo_1995",DATUM["D_Pulkovo_1995"
20009	Pulkovo_1995_GK_Zone_9	PROJCS["Pulkovo_1995_GK_Zone_9",GEOGCS["GCS_Pulkovo_1995",DATUM["D_Pulkovo_1995"
20010	Pulkovo_1995_GK_Zone_10	PROJCS["Pulkovo_1995_GK_Zone_10",GEOGCS["GCS_Pulkovo_1995",DATUM["D_Pulkovo_1995
20011	Pulkovo_1995_GK_Zone_11	PROJCS["Pulkovo_1995_GK_Zone_11",GEOGCS["GCS_Pulkovo_1995",DATUM["D_Pulkovo_1995
20012	Pulkovo_1995_GK_Zone_12	PROJCS["Pulkovo_1995_GK_Zone_12",GEOGCS["GCS_Pulkovo_1995",DATUM["D_Pulkovo_1995
20013	Pulkovo_1995_GK_Zone_13	PROJCS["Pulkovo_1995_GK_Zone_13",GEOGCS["GCS_Pulkovo_1995",DATUM["D_Pulkovo_1995
20014	Pulkovo_1995_GK_Zone_14	PROJCS["Pulkovo_1995_GK_Zone_14",GEOGCS["GCS_Pulkovo_1995",DATUM["D_Pulkovo_1995
20015	Pulkovo_1995_GK_Zone_15	PROJCS["Pulkovo_1995_GK_Zone_15",GEOGCS["GCS_Pulkovo_1995",DATUM["D_Pulkovo_1995
20016	Pulkovo_1995_GK_Zone_16	PROJCS["Pulkovo_1995_GK_Zone_16",GEOGCS["GCS_Pulkovo_1995",DATUM["D_Pulkovo_1995
20017	Pulkovo_1995_GK_Zone_17	PROJCS["Pulkovo_1995_GK_Zone_17",GEOGCS["GCS_Pulkovo_1995",DATUM["D_Pulkovo_1995
20018	Pulkovo_1995_GK_Zone_18	PROJCS["Pulkovo_1995_GK_Zone_18",GEOGCS["GCS_Pulkovo_1995",DATUM["D_Pulkovo_1995
20019	Pulkovo_1995_GK_Zone_19	PROJCS["Pulkovo_1995_GK_Zone_19",GEOGCS["GCS_Pulkovo_1995",DATUM["D_Pulkovo_1995
20020	Pulkovo_1995_GK_Zone_20	PROJCS["Pulkovo_1995_GK_Zone_20",GEOGCS["GCS_Pulkovo_1995",DATUM["D_Pulkovo_1995
20021	Pulkovo_1995_GK_Zone_21	PROJCS["Pulkovo_1995_GK_Zone_21",GEOGCS["GCS_Pulkovo_1995",DATUM["D_Pulkovo_1995
20022	Pulkovo_1995_GK_Zone_22	PROJCS["Pulkovo_1995_GK_Zone_22",GEOGCS["GCS_Pulkovo_1995",DATUM["D_Pulkovo_1995
20023	Pulkovo_1995_GK_Zone_23	PROJCS["Pulkovo_1995_GK_Zone_23",GEOGCS["GCS_Pulkovo_1995",DATUM["D_Pulkovo_1995
20024	Pulkovo_1995_GK_Zone_24	PROJCS["Pulkovo_1995_GK_Zone_24",GEOGCS["GCS_Pulkovo_1995",DATUM["D_Pulkovo_1995
20025	Pulkovo_1995_GK_Zone_25	PROJCS["Pulkovo_1995_GK_Zone_25",GEOGCS["GCS_Pulkovo_1995",DATUM["D_Pulkovo_1995
20026	Pulkovo_1995_GK_Zone_26	PROJCS["Pulkovo_1995_GK_Zone_26",GEOGCS["GCS_Pulkovo_1995",DATUM["D_Pulkovo_1995
20027	Pulkovo_1995_GK_Zone_27	PROJCS["Pulkovo_1995_GK_Zone_27",GEOGCS["GCS_Pulkovo_1995",DATUM["D_Pulkovo_1995
20028	Pulkovo_1995_GK_Zone_28	PROJCS["Pulkovo_1995_GK_Zone_28",GEOGCS["GCS_Pulkovo_1995",DATUM["D_Pulkovo_1995
20029	Pulkovo_1995_GK_Zone_29	PROJCS["Pulkovo_1995_GK_Zone_29",GEOGCS["GCS_Pulkovo_1995",DATUM["D_Pulkovo_1995
20030	Pulkovo_1995_GK_Zone_30	PROJCS["Pulkovo_1995_GK_Zone_30",GEOGCS["GCS_Pulkovo_1995",DATUM["D_Pulkovo_1995
20031	Pulkovo_1995_GK_Zone_31	PROJCS["Pulkovo_1995_GK_Zone_31",GEOGCS["GCS_Pulkovo_1995",DATUM["D_Pulkovo_1995
20032	Pulkovo_1995_GK_Zone_32	PROJCS["Pulkovo_1995_GK_Zone_32",GEOGCS["GCS_Pulkovo_1995",DATUM["D_Pulkovo_1995
20062	Pulkovo_1995_GK_Zone_2N	PROJCS["Pulkovo_1995_GK_Zone_2N",GEOGCS["GCS_Pulkovo_1995",DATUM["D_Pulkovo_199
20063	Pulkovo_1995_GK_Zone_3N	PROJCS["Pulkovo_1995_GK_Zone_3N",GEOGCS["GCS_Pulkovo_1995",DATUM["D_Pulkovo_199
20064	Pulkovo_1995_GK_Zone_4N	PROJCS["Pulkovo_1995_GK_Zone_4N",GEOGCS["GCS_Pulkovo_1995",DATUM["D_Pulkovo_199
20065	Pulkovo_1995_GK_Zone_5N	PROJCS["Pulkovo_1995_GK_Zone_5N",GEOGCS["GCS_Pulkovo_1995",DATUM["D_Pulkovo_199
20066	Pulkovo_1995_GK_Zone_6N	PROJCS["Pulkovo_1995_GK_Zone_6N",GEOGCS["GCS_Pulkovo_1995",DATUM["D_Pulkovo_199
20067	Pulkovo_1995_GK_Zone_7N	PROJCS["Pulkovo_1995_GK_Zone_7N",GEOGCS["GCS_Pulkovo_1995",DATUM["D_Pulkovo_199
20068	Pulkovo_1995_GK_Zone_8N	PROJCS["Pulkovo_1995_GK_Zone_8N",GEOGCS["GCS_Pulkovo_1995",DATUM["D_Pulkovo_199
20069	Pulkovo_1995_GK_Zone_9N	PROJCS["Pulkovo_1995_GK_Zone_9N",GEOGCS["GCS_Pulkovo_1995",DATUM["D_Pulkovo_199
20070	Pulkovo_1995_GK_Zone_10N	PROJCS["Pulkovo_1995_GK_Zone_10N",GEOGCS["GCS_Pulkovo_1995",DATUM["D_Pulkovo_19
20071	Pulkovo_1995_GK_Zone_11N	PROJCS["Pulkovo_1995_GK_Zone_11N",GEOGCS["GCS_Pulkovo_1995",DATUM["D_Pulkovo_19
20072	Pulkovo_1995_GK_Zone_12N	PROJCS["Pulkovo_1995_GK_Zone_12N",GEOGCS["GCS_Pulkovo_1995",DATUM["D_Pulkovo_19
20073	Pulkovo_1995_GK_Zone_13N	PROJCS["Pulkovo_1995_GK_Zone_13N",GEOGCS["GCS_Pulkovo_1995",DATUM["D_Pulkovo_19
20074	Pulkovo_1995_GK_Zone_14N	PROJCS["Pulkovo_1995_GK_Zone_14N",GEOGCS["GCS_Pulkovo_1995",DATUM["D_Pulkovo_19
20075	Pulkovo_1995_GK_Zone_15N	PROJCS["Pulkovo_1995_GK_Zone_15N",GEOGCS["GCS_Pulkovo_1995",DATUM["D_Pulkovo_19
20076	Pulkovo_1995_GK_Zone_16N	PROJCS["Pulkovo_1995_GK_Zone_16N",GEOGCS["GCS_Pulkovo_1995",DATUM["D_Pulkovo_19
20077	Pulkovo_1995_GK_Zone_17N	PROJCS["Pulkovo_1995_GK_Zone_17N",GEOGCS["GCS_Pulkovo_1995",DATUM["D_Pulkovo_19
20078	Pulkovo_1995_GK_Zone_18N	PROJCS["Pulkovo_1995_GK_Zone_18N",GEOGCS["GCS_Pulkovo_1995",DATUM["D_Pulkovo_19
20079	Pulkovo_1995_GK_Zone_19N	PROJCS["Pulkovo_1995_GK_Zone_19N",GEOGCS["GCS_Pulkovo_1995",DATUM["D_Pulkovo_19
20080	Pulkovo_1995_GK_Zone_20N	PROJCS["Pulkovo_1995_GK_Zone_20N",GEOGCS["GCS_Pulkovo_1995",DATUM["D_Pulkovo_19
20081	Pulkovo_1995_GK_Zone_21N	PROJCS["Pulkovo_1995_GK_Zone_21N",GEOGCS["GCS_Pulkovo_1995",DATUM["D_Pulkovo_19

Copyright © 1995-2016 Esri. All rights reserved.

20082	Pulkovo_1995_GK_Zone_22N	PROJCS["Pulkovo_1995_GK_Zone_22N",GEOGCS["GCS_Pulkovo_1995",DATUM["D_Pulkovo_19
20083	Pulkovo_1995_GK_Zone_23N	PROJCS["Pulkovo_1995_GK_Zone_23N",GEOGCS["GCS_Pulkovo_1995",DATUM["D_Pulkovo_19
20084	Pulkovo_1995_GK_Zone_24N	PROJCS["Pulkovo_1995_GK_Zone_24N",GEOGCS["GCS_Pulkovo_1995",DATUM["D_Pulkovo_19
20085	Pulkovo_1995_GK_Zone_25N	PROJCS["Pulkovo_1995_GK_Zone_25N",GEOGCS["GCS_Pulkovo_1995",DATUM["D_Pulkovo_19
20086	Pulkovo_1995_GK_Zone_26N	PROJCS["Pulkovo_1995_GK_Zone_26N",GEOGCS["GCS_Pulkovo_1995",DATUM["D_Pulkovo_19
20087	Pulkovo_1995_GK_Zone_27N	PROJCS["Pulkovo_1995_GK_Zone_27N",GEOGCS["GCS_Pulkovo_1995",DATUM["D_Pulkovo_19
20088	Pulkovo_1995_GK_Zone_28N	PROJCS["Pulkovo_1995_GK_Zone_28N",GEOGCS["GCS_Pulkovo_1995",DATUM["D_Pulkovo_19
20089	Pulkovo_1995_GK_Zone_29N	PROJCS["Pulkovo_1995_GK_Zone_29N",GEOGCS["GCS_Pulkovo_1995",DATUM["D_Pulkovo_19
20090	Pulkovo_1995_GK_Zone_30N	PROJCS["Pulkovo_1995_GK_Zone_30N",GEOGCS["GCS_Pulkovo_1995",DATUM["D_Pulkovo_19
20091	Pulkovo_1995_GK_Zone_31N	PROJCS["Pulkovo_1995_GK_Zone_31N",GEOGCS["GCS_Pulkovo_1995",DATUM["D_Pulkovo_19
20092	Pulkovo_1995_GK_Zone_32N	PROJCS["Pulkovo_1995_GK_Zone_32N",GEOGCS["GCS_Pulkovo_1995",DATUM["D_Pulkovo_19
20135	Adindan_UTM_Zone_35N	PROJCS["Adindan_UTM_Zone_35N",GEOGCS["GCS_Adindan",DATUM["D_Adindan",SPHEROID["
20136	Adindan_UTM_Zone_36N	PROJCS["Adindan_UTM_Zone_36N",GEOGCS["GCS_Adindan",DATUM["D_Adindan",SPHEROID["
20137	Adindan_UTM_Zone_37N	PROJCS["Adindan_UTM_Zone_37N",GEOGCS["GCS_Adindan",DATUM["D_Adindan",SPHEROID["
20138	Adindan_UTM_Zone_38N	PROJCS["Adindan_UTM_Zone_38N",GEOGCS["GCS_Adindan",DATUM["D_Adindan",SPHEROID["
20248	AGD_1966_AMG_Zone_48	PROJCS["AGD_1966_AMG_Zone_48",GEOGCS["GCS_Australian_1966",DATUM["D_Australian_19
20249	AGD_1966_AMG_Zone_49	PROJCS["AGD_1966_AMG_Zone_49",GEOGCS["GCS_Australian_1966",DATUM["D_Australian_19
20250	AGD_1966_AMG_Zone_50	PROJCS["AGD_1966_AMG_Zone_50",GEOGCS["GCS_Australian_1966",DATUM["D_Australian_19
20251	AGD_1966_AMG_Zone_51	PROJCS["AGD_1966_AMG_Zone_51",GEOGCS["GCS_Australian_1966",DATUM["D_Australian_19
20252	AGD_1966_AMG_Zone_52	PROJCS["AGD_1966_AMG_Zone_52",GEOGCS["GCS_Australian_1966",DATUM["D_Australian_19
20253	AGD_1966_AMG_Zone_53	PROJCS["AGD_1966_AMG_Zone_53",GEOGCS["GCS_Australian_1966",DATUM["D_Australian_19
20254	AGD_1966_AMG_Zone_54	PROJCS["AGD_1966_AMG_Zone_54",GEOGCS["GCS_Australian_1966",DATUM["D_Australian_19
20255	AGD_1966_AMG_Zone_55	PROJCS["AGD_1966_AMG_Zone_55",GEOGCS["GCS_Australian_1966",DATUM["D_Australian_19
20256	AGD_1966_AMG_Zone_56	PROJCS["AGD_1966_AMG_Zone_56",GEOGCS["GCS_Australian_1966",DATUM["D_Australian_19
20257	AGD_1966_AMG_Zone_57	PROJCS["AGD_1966_AMG_Zone_57",GEOGCS["GCS_Australian_1966",DATUM["D_Australian_19
20258	AGD_1966_AMG_Zone_58	PROJCS["AGD_1966_AMG_Zone_58",GEOGCS["GCS_Australian_1966",DATUM["D_Australian_19
20348	AGD_1984_AMG_Zone_48	PROJCS["AGD_1984_AMG_Zone_48",GEOGCS["GCS_Australian_1984",DATUM["D_Australian_19
20349	AGD_1984_AMG_Zone_49	PROJCS["AGD_1984_AMG_Zone_49",GEOGCS["GCS_Australian_1984",DATUM["D_Australian_19
20350	AGD_1984_AMG_Zone_50	PROJCS["AGD_1984_AMG_Zone_50",GEOGCS["GCS_Australian_1984",DATUM["D_Australian_19
20351	AGD_1984_AMG_Zone_51	PROJCS["AGD_1984_AMG_Zone_51",GEOGCS["GCS_Australian_1984",DATUM["D_Australian_19
20352	AGD_1984_AMG_Zone_52	PROJCS["AGD_1984_AMG_Zone_52",GEOGCS["GCS_Australian_1984",DATUM["D_Australian_19
20353	AGD_1984_AMG_Zone_53	PROJCS["AGD_1984_AMG_Zone_53",GEOGCS["GCS_Australian_1984",DATUM["D_Australian_19
20354	AGD_1984_AMG_Zone_54	PROJCS["AGD_1984_AMG_Zone_54",GEOGCS["GCS_Australian_1984",DATUM["D_Australian_19
20355	AGD_1984_AMG_Zone_55	PROJCS["AGD_1984_AMG_Zone_55",GEOGCS["GCS_Australian_1984",DATUM["D_Australian_19
20356	AGD_1984_AMG_Zone_56	PROJCS["AGD_1984_AMG_Zone_56",GEOGCS["GCS_Australian_1984",DATUM["D_Australian_19
20357	AGD_1984_AMG_Zone_57	PROJCS["AGD_1984_AMG_Zone_57",GEOGCS["GCS_Australian_1984",DATUM["D_Australian_19
20358	AGD_1984_AMG_Zone_58	PROJCS["AGD_1984_AMG_Zone_58",GEOGCS["GCS_Australian_1984",DATUM["D_Australian_19
20436	Ain_el_Abd_UTM_Zone_36N	PROJCS["Ain_el_Abd_UTM_Zone_36N",GEOGCS["GCS_Ain_el_Abd_1970",DATUM["D_Ain_el_Ab
20437	Ain_el_Abd_UTM_Zone_37N	PROJCS["Ain_el_Abd_UTM_Zone_37N",GEOGCS["GCS_Ain_el_Abd_1970",DATUM["D_Ain_el_Ab
20438	Ain_el_Abd_UTM_Zone_38N	PROJCS["Ain_el_Abd_UTM_Zone_38N",GEOGCS["GCS_Ain_el_Abd_1970",DATUM["D_Ain_el_Ab
20439	Ain_el_Abd_UTM_Zone_39N	PROJCS["Ain_el_Abd_UTM_Zone_39N",GEOGCS["GCS_Ain_el_Abd_1970",DATUM["D_Ain_el_Ab
20440	Ain_el_Abd_UTM_Zone_40N	PROJCS["Ain_el_Abd_UTM_Zone_40N",GEOGCS["GCS_Ain_el_Abd_1970",DATUM["D_Ain_el_Ab
20499	Bahrain_State_Grid	PROJCS["Bahrain_State_Grid",GEOGCS["GCS_Ain_el_Abd_1970",DATUM["D_Ain_el_Abd_1970",
20538	Afgooye_UTM_Zone_38N	PROJCS["Afgooye_UTM_Zone_38N",GEOGCS["GCS_Afgooye",DATUM["D_Afgooye",SPHEROID["
20539	Afgooye_UTM_Zone_39N	PROJCS["Afgooye_UTM_Zone_39N",GEOGCS["GCS_Afgooye",DATUM["D_Afgooye",SPHEROID["
20790	Portuguese_National_Grid	PROJCS["Portuguese_National_Grid",GEOGCS["GCS_Lisbon_Lisbon",DATUM["D_Lisbon",SPHER
20791	Lisbon_Lisbon_Portuguese_Grid	PROJCS["Lisbon_Lisbon_Portuguese_Grid",GEOGCS["GCS_Lisbon_Lisbon",DATUM["D_Lisbon",S
20822	Aratu_UTM_Zone_22S	PROJCS["Aratu_UTM_Zone_22S",GEOGCS["GCS_Aratu",DATUM["D_Aratu",SPHEROID["Internati
20823	Aratu_UTM_Zone_23S	PROJCS["Aratu_UTM_Zone_23S",GEOGCS["GCS_Aratu",DATUM["D_Aratu",SPHEROID["Internati
20824	Aratu_UTM_Zone_24S	PROJCS["Aratu_UTM_Zone_24S",GEOGCS["GCS_Aratu",DATUM["D_Aratu",SPHEROID["Internati
20934	Arc_1950_UTM_Zone_34S	PROJCS["Arc_1950_UTM_Zone_34S",GEOGCS["GCS_Arc_1950",DATUM["D_Arc_1950",SPHERO
20935	Arc_1950_UTM_Zone_35S	PROJCS["Arc_1950_UTM_Zone_35S",GEOGCS["GCS_Arc_1950",DATUM["D_Arc_1950",SPHERO
20936	Arc_1950_UTM_Zone_36S	PROJCS["Arc_1950_UTM_Zone_36S",GEOGCS["GCS_Arc_1950",DATUM["D_Arc_1950",SPHERO
21035	Arc_1960_UTM_Zone_35S	PROJCS["Arc_1960_UTM_Zone_35S",GEOGCS["GCS_Arc_1960",DATUM["D_Arc_1960",SPHERO

Copyright © 1995-2016 Esri. All rights reserved.

21036	Arc_1960_UTM_Zone_36S	PROJCS["Arc_1960_UTM_Zone_36S",GEOGCS["GCS_Arc_1960",DATUM["D_Arc_1960",SPHERO
21037	Arc_1960_UTM_Zone_37S	PROJCS["Arc_1960_UTM_Zone_37S",GEOGCS["GCS_Arc_1960",DATUM["D_Arc_1960",SPHERO
21095	Arc_1960_UTM_Zone_35N	PROJCS["Arc_1960_UTM_Zone_35N",GEOGCS["GCS_Arc_1960",DATUM["D_Arc_1960",SPHERO
21096	Arc_1960_UTM_Zone_36N	PROJCS["Arc_1960_UTM_Zone_36N",GEOGCS["GCS_Arc_1960",DATUM["D_Arc_1960",SPHERO
21097	Arc_1960_UTM_Zone_37N	PROJCS["Arc_1960_UTM_Zone_37N",GEOGCS["GCS_Arc_1960",DATUM["D_Arc_1960",SPHERO
21148	Batavia_UTM_Zone_48S	PROJCS["Batavia_UTM_Zone_48S",GEOGCS["GCS_Batavia",DATUM["D_Batavia",SPHEROID["Be
21149	Batavia_UTM_Zone_49S	PROJCS["Batavia_UTM_Zone_49S",GEOGCS["GCS_Batavia",DATUM["D_Batavia",SPHEROID["Be
21150	Batavia_UTM_Zone_50S	PROJCS["Batavia_UTM_Zone_50S",GEOGCS["GCS_Batavia",DATUM["D_Batavia",SPHEROID["Be
21291	Barbados_1938_British_West_Indies_Grid	PROJCS["Barbados_1938_British_West_Indies_Grid",GEOGCS["GCS_Barbados_1938",DATUM["D
21292	Barbados_1938_Barbados_Grid	PROJCS["Barbados_1938_Barbados_Grid",GEOGCS["GCS_Barbados_1938",DATUM["D_Barbados
21413	Beijing_1954_GK_Zone_13	PROJCS["Beijing_1954_GK_Zone_13",GEOGCS["GCS_Beijing_1954",DATUM["D_Beijing_1954",S
21414	Beijing_1954_GK_Zone_14	PROJCS["Beijing_1954_GK_Zone_14",GEOGCS["GCS_Beijing_1954",DATUM["D_Beijing_1954",S
21415	Beijing_1954_GK_Zone_15	PROJCS["Beijing_1954_GK_Zone_15",GEOGCS["GCS_Beijing_1954",DATUM["D_Beijing_1954",S
21416	Beijing_1954_GK_Zone_16	PROJCS["Beijing_1954_GK_Zone_16",GEOGCS["GCS_Beijing_1954",DATUM["D_Beijing_1954",S
21417	Beijing_1954_GK_Zone_17	PROJCS["Beijing_1954_GK_Zone_17",GEOGCS["GCS_Beijing_1954",DATUM["D_Beijing_1954",S
21418	Beijing_1954_GK_Zone_18	PROJCS["Beijing_1954_GK_Zone_18",GEOGCS["GCS_Beijing_1954",DATUM["D_Beijing_1954",S
21419	Beijing_1954_GK_Zone_19	PROJCS["Beijing_1954_GK_Zone_19",GEOGCS["GCS_Beijing_1954",DATUM["D_Beijing_1954",S
21420	Beijing_1954_GK_Zone_20	PROJCS["Beijing_1954_GK_Zone_20",GEOGCS["GCS_Beijing_1954",DATUM["D_Beijing_1954",S
21421	Beijing_1954_GK_Zone_21	PROJCS["Beijing_1954_GK_Zone_21",GEOGCS["GCS_Beijing_1954",DATUM["D_Beijing_1954",S
21422	Beijing_1954_GK_Zone_22	PROJCS["Beijing_1954_GK_Zone_22",GEOGCS["GCS_Beijing_1954",DATUM["D_Beijing_1954",S
21423	Beijing_1954_GK_Zone_23	PROJCS["Beijing_1954_GK_Zone_23",GEOGCS["GCS_Beijing_1954",DATUM["D_Beijing_1954",S
21473	Beijing_1954_GK_Zone_13N	PROJCS["Beijing_1954_GK_Zone_13N",GEOGCS["GCS_Beijing_1954",DATUM["D_Beijing_1954",
21474	Beijing_1954_GK_Zone_14N	PROJCS["Beijing_1954_GK_Zone_14N",GEOGCS["GCS_Beijing_1954",DATUM["D_Beijing_1954",
21475	Beijing_1954_GK_Zone_15N	PROJCS["Beijing_1954_GK_Zone_15N",GEOGCS["GCS_Beijing_1954",DATUM["D_Beijing_1954",
21476	Beijing_1954_GK_Zone_16N	PROJCS["Beijing_1954_GK_Zone_16N",GEOGCS["GCS_Beijing_1954",DATUM["D_Beijing_1954",
21477	Beijing_1954_GK_Zone_17N	PROJCS["Beijing_1954_GK_Zone_17N",GEOGCS["GCS_Beijing_1954",DATUM["D_Beijing_1954",
21478	Beijing_1954_GK_Zone_18N	PROJCS["Beijing_1954_GK_Zone_18N",GEOGCS["GCS_Beijing_1954",DATUM["D_Beijing_1954",
21479	Beijing_1954_GK_Zone_19N	PROJCS["Beijing_1954_GK_Zone_19N",GEOGCS["GCS_Beijing_1954",DATUM["D_Beijing_1954",
21480	Beijing_1954_GK_Zone_20N	PROJCS["Beijing_1954_GK_Zone_20N",GEOGCS["GCS_Beijing_1954",DATUM["D_Beijing_1954",
21481	Beijing_1954_GK_Zone_21N	PROJCS["Beijing_1954_GK_Zone_21N",GEOGCS["GCS_Beijing_1954",DATUM["D_Beijing_1954",
21482	Beijing_1954_GK_Zone_22N	PROJCS["Beijing_1954_GK_Zone_22N",GEOGCS["GCS_Beijing_1954",DATUM["D_Beijing_1954",
21483	Beijing_1954_GK_Zone_23N	PROJCS["Beijing_1954_GK_Zone_23N",GEOGCS["GCS_Beijing_1954",DATUM["D_Beijing_1954",
21500	Belge_Lambert_1950	PROJCS["Belge_Lambert_1950",GEOGCS["GCS_Belge_1950_Brussels",DATUM["D_Belge_1950",
21780	Bern_1898_Bern_LV03C	PROJCS["Bern_1898_Bern_LV03C",GEOGCS["GCS_Bern_1898_Bern",DATUM["D_Bern_1898",SP
21781	CH1903_LV03	PROJCS["CH1903_LV03",GEOGCS["GCS_CH1903",DATUM["D_CH1903",SPHEROID["Bessel_184
21782	CH1903_LV03C-G	PROJCS["CH1903_LV03C-G",GEOGCS["GCS_CH1903",DATUM["D_CH1903",SPHEROID["Bessel_
21817	Bogota_UTM_Zone_17N	PROJCS["Bogota_UTM_Zone_17N",GEOGCS["GCS_Bogota",DATUM["D_Bogota",SPHEROID["Inte
21818	Bogota_UTM_Zone_18N	PROJCS["Bogota_UTM_Zone_18N",GEOGCS["GCS_Bogota",DATUM["D_Bogota",SPHEROID["Inte
21896	Colombia_West_Zone	PROJCS["Colombia_West_Zone",GEOGCS["GCS_Bogota",DATUM["D_Bogota",SPHEROID["Intern
21897	Colombia_Bogota_Zone	PROJCS["Colombia_Bogota_Zone",GEOGCS["GCS_Bogota",DATUM["D_Bogota",SPHEROID["Inte
21898	Colombia_East_Central_Zone	PROJCS["Colombia_East_Central_Zone",GEOGCS["GCS_Bogota",DATUM["D_Bogota",SPHEROID
21899	Colombia_East_Zone	PROJCS["Colombia_East_Zone",GEOGCS["GCS_Bogota",DATUM["D_Bogota",SPHEROID["Interna
22032	Camacupa_UTM_Zone_32S	PROJCS["Camacupa_UTM_Zone_32S",GEOGCS["GCS_Camacupa",DATUM["D_Camacupa",SPHE
22033	Camacupa_UTM_Zone_33S	PROJCS["Camacupa_UTM_Zone_33S",GEOGCS["GCS_Camacupa",DATUM["D_Camacupa",SPHE
22091	Camacupa_TM_11_30_SE	PROJCS["Camacupa_TM_11_30_SE",GEOGCS["GCS_Camacupa",DATUM["D_Camacupa",SPHER
22092	Camacupa_TM_12_SE	PROJCS["Camacupa_TM_12_SE",GEOGCS["GCS_Camacupa",DATUM["D_Camacupa",SPHEROI
22171	POSGAR_1998_Argentina_Zone_1	PROJCS["POSGAR_1998_Argentina_Zone_1",GEOGCS["GCS_POSGAR_1998",DATUM["D_POS
22172	POSGAR_1998_Argentina_Zone_2	PROJCS["POSGAR_1998_Argentina_Zone_2",GEOGCS["GCS_POSGAR_1998",DATUM["D_POS
22173	POSGAR_1998_Argentina_Zone_3	PROJCS["POSGAR_1998_Argentina_Zone_3",GEOGCS["GCS_POSGAR_1998",DATUM["D_POS
22174	POSGAR_1998_Argentina_Zone_4	PROJCS["POSGAR_1998_Argentina_Zone_4",GEOGCS["GCS_POSGAR_1998",DATUM["D_POS
22175	POSGAR_1998_Argentina_Zone_5	PROJCS["POSGAR_1998_Argentina_Zone_5",GEOGCS["GCS_POSGAR_1998",DATUM["D_POS
22176	POSGAR_1998_Argentina_Zone_6	PROJCS["POSGAR_1998_Argentina_Zone_6",GEOGCS["GCS_POSGAR_1998",DATUM["D_POS
22177	POSGAR_1998_Argentina_Zone_7	PROJCS["POSGAR_1998_Argentina_Zone_7",GEOGCS["GCS_POSGAR_1998",DATUM["D_POS
22181	POSGAR_1994_Argentina_Zone_1	PROJCS["POSGAR_1994_Argentina_Zone_1",GEOGCS["GCS_POSGAR_1994",DATUM["D_POS

Copyright © 1995-2016 Esri. All rights reserved.

22182	POSGAR_1994_Argentina_Zone_2	PROJCS["POSGAR_1994_Argentina_Zone_2",GEOGCS["GCS_POSGAR_1994",DATUM["D_POSG
22183	POSGAR_1994_Argentina_Zone_3	PROJCS["POSGAR_1994_Argentina_Zone_3",GEOGCS["GCS_POSGAR_1994",DATUM["D_POSG
22184	POSGAR_1994_Argentina_Zone_4	PROJCS["POSGAR_1994_Argentina_Zone_4",GEOGCS["GCS_POSGAR_1994",DATUM["D_POSG
22185	POSGAR_1994_Argentina_Zone_5	PROJCS["POSGAR_1994_Argentina_Zone_5",GEOGCS["GCS_POSGAR_1994",DATUM["D_POSG
22186	POSGAR_1994_Argentina_Zone_6	PROJCS["POSGAR_1994_Argentina_Zone_6",GEOGCS["GCS_POSGAR_1994",DATUM["D_POSG
22187	POSGAR_1994_Argentina_Zone_7	PROJCS["POSGAR_1994_Argentina_Zone_7",GEOGCS["GCS_POSGAR_1994",DATUM["D_POSG
22191	Argentina_Zone_1	PROJCS["Argentina_Zone_1",GEOGCS["GCS_Campo_Inchauspe",DATUM["D_Campo_Inchauspe"
22192	Argentina_Zone_2	PROJCS["Argentina_Zone_2",GEOGCS["GCS_Campo_Inchauspe",DATUM["D_Campo_Inchauspe"
22193	Argentina_Zone_3	PROJCS["Argentina_Zone_3",GEOGCS["GCS_Campo_Inchauspe",DATUM["D_Campo_Inchauspe"
22194	Argentina_Zone_4	PROJCS["Argentina_Zone_4",GEOGCS["GCS_Campo_Inchauspe",DATUM["D_Campo_Inchauspe"
22195	Argentina_Zone_5	PROJCS["Argentina_Zone_5",GEOGCS["GCS_Campo_Inchauspe",DATUM["D_Campo_Inchauspe"
22196	Argentina_Zone_6	PROJCS["Argentina_Zone_6",GEOGCS["GCS_Campo_Inchauspe",DATUM["D_Campo_Inchauspe"
22197	Argentina_Zone_7	PROJCS["Argentina_Zone_7",GEOGCS["GCS_Campo_Inchauspe",DATUM["D_Campo_Inchauspe"
22234	Cape_UTM_Zone_34S	PROJCS["Cape_UTM_Zone_34S",GEOGCS["GCS_Cape",DATUM["D_Cape",SPHEROID["Clarke_1
22235	Cape_UTM_Zone_35S	PROJCS["Cape_UTM_Zone_35S",GEOGCS["GCS_Cape",DATUM["D_Cape",SPHEROID["Clarke_1
22236	Cape_UTM_Zone_36S	PROJCS["Cape_UTM_Zone_36S",GEOGCS["GCS_Cape",DATUM["D_Cape",SPHEROID["Clarke_1
22332	Carthage_UTM_Zone_32N	PROJCS["Carthage_UTM_Zone_32N",GEOGCS["GCS_Carthage",DATUM["D_Carthage",SPHEROI
22391	Nord_Tunisie	PROJCS["Nord_Tunisie",GEOGCS["GCS_Carthage",DATUM["D_Carthage",SPHEROID["Clarke_18
22392	Sud_Tunisie	PROJCS["Sud_Tunisie",GEOGCS["GCS_Carthage",DATUM["D_Carthage",SPHEROID["Clarke_188
22521	Corrego_Alegre_UTM_Zone_21S	PROJCS["Corrego_Alegre_UTM_Zone_21S",GEOGCS["GCS_Corrego_Alegre",DATUM["D_Corrego
22522	Corrego_Alegre_UTM_Zone_22S	PROJCS["Corrego_Alegre_UTM_Zone_22S",GEOGCS["GCS_Corrego_Alegre",DATUM["D_Corrego
22523	Corrego_Alegre_UTM_Zone_23S	PROJCS["Corrego_Alegre_UTM_Zone_23S",GEOGCS["GCS_Corrego_Alegre",DATUM["D_Corrego
22524	Corrego_Alegre_UTM_Zone_24S	PROJCS["Corrego_Alegre_UTM_Zone_24S",GEOGCS["GCS_Corrego_Alegre",DATUM["D_Corrego
22525	Corrego_Alegre_UTM_Zone_25S	PROJCS["Corrego_Alegre_UTM_Zone_25S",GEOGCS["GCS_Corrego_Alegre",DATUM["D_Corrego
22700	Deir_ez_Zor_Levant_Zone	PROJCS["Deir_ez_Zor_Levant_Zone",GEOGCS["GCS_Deir_ez_Zor",DATUM["D_Deir_ez_Zor",SPH
22770	Deir_ez_Zor_Syria_Lambert	PROJCS["Deir_ez_Zor_Syria_Lambert",GEOGCS["GCS_Deir_ez_Zor",DATUM["D_Deir_ez_Zor",SP
22780	Deir_ez_Zor_Levant_Stereographic	PROJCS["Deir_ez_Zor_Levant_Stereographic",GEOGCS["GCS_Deir_ez_Zor",DATUM["D_Deir_ez_
22832	Douala_UTM_Zone_32N	PROJCS["Douala_UTM_Zone_32N",GEOGCS["GCS_Douala",DATUM["D_Douala",SPHEROID["Cla
22991	Egypt_Blue_Belt	PROJCS["Egypt_Blue_Belt",GEOGCS["GCS_Egypt_1907",DATUM["D_Egypt_1907",SPHEROID["H
22992	Egypt_Red_Belt	PROJCS["Egypt_Red_Belt",GEOGCS["GCS_Egypt_1907",DATUM["D_Egypt_1907",SPHEROID["He
22993	Egypt_Purple_Belt	PROJCS["Egypt_Purple_Belt",GEOGCS["GCS_Egypt_1907",DATUM["D_Egypt_1907",SPHEROID["
22994	Egypt_Extended_Purple_Belt	PROJCS["Egypt_Extended_Purple_Belt",GEOGCS["GCS_Egypt_1907",DATUM["D_Egypt_1907",SP
23028	ED_1950_UTM_Zone_28N	PROJCS["ED_1950_UTM_Zone_28N",GEOGCS["GCS_European_1950",DATUM["D_European_19
23029	ED_1950_UTM_Zone_29N	PROJCS["ED_1950_UTM_Zone_29N",GEOGCS["GCS_European_1950",DATUM["D_European_19
23030	ED_1950_UTM_Zone_30N	PROJCS["ED_1950_UTM_Zone_30N",GEOGCS["GCS_European_1950",DATUM["D_European_19
23031	ED_1950_UTM_Zone_31N	PROJCS["ED_1950_UTM_Zone_31N",GEOGCS["GCS_European_1950",DATUM["D_European_19
23032	ED_1950_UTM_Zone_32N	PROJCS["ED_1950_UTM_Zone_32N",GEOGCS["GCS_European_1950",DATUM["D_European_19
23033	ED_1950_UTM_Zone_33N	PROJCS["ED_1950_UTM_Zone_33N",GEOGCS["GCS_European_1950",DATUM["D_European_19
23034	ED_1950_UTM_Zone_34N	PROJCS["ED_1950_UTM_Zone_34N",GEOGCS["GCS_European_1950",DATUM["D_European_19
23035	ED_1950_UTM_Zone_35N	PROJCS["ED_1950_UTM_Zone_35N",GEOGCS["GCS_European_1950",DATUM["D_European_19
23036	ED_1950_UTM_Zone_36N	PROJCS["ED_1950_UTM_Zone_36N",GEOGCS["GCS_European_1950",DATUM["D_European_19
23037	ED_1950_UTM_Zone_37N	PROJCS["ED_1950_UTM_Zone_37N",GEOGCS["GCS_European_1950",DATUM["D_European_19
23038	ED_1950_UTM_Zone_38N	PROJCS["ED_1950_UTM_Zone_38N",GEOGCS["GCS_European_1950",DATUM["D_European_19
23090	ED_1950_TM_0_N	PROJCS["ED_1950_TM_0_N",GEOGCS["GCS_European_1950",DATUM["D_European_1950",SPH
23095	ED_1950_TM_5_NE	PROJCS["ED_1950_TM_5_NE",GEOGCS["GCS_European_1950",DATUM["D_European_1950",SP
23239	Fahud_UTM_Zone_39N	PROJCS["Fahud_UTM_Zone_39N",GEOGCS["GCS_Fahud",DATUM["D_Fahud",SPHEROID["Clark
23240	Fahud_UTM_Zone_40N	PROJCS["Fahud_UTM_Zone_40N",GEOGCS["GCS_Fahud",DATUM["D_Fahud",SPHEROID["Clark
23700	Hungarian_1972_Egyseges_Orszagos_Vetuleti	PROJCS["Hungarian_1972_Egyseges_Orszagos_Vetuleti",GEOGCS["GCS_Hungarian_1972",DATU
23830	DGN_1995_Indonesia_TM-3_Zone_46.2	PROJCS["DGN_1995_Indonesia_TM-3_Zone_46.2",GEOGCS["GCS_DGN_1995",DATUM["D_Datu
23831	DGN_1995_Indonesia_TM-3_Zone_47.1	PROJCS["DGN_1995_Indonesia_TM-3_Zone_47.1",GEOGCS["GCS_DGN_1995",DATUM["D_Datu
23832	DGN_1995_Indonesia_TM-3_Zone_47.2	PROJCS["DGN_1995_Indonesia_TM-3_Zone_47.2",GEOGCS["GCS_DGN_1995",DATUM["D_Datu
23833	DGN_1995_Indonesia_TM-3_Zone_48.1	PROJCS["DGN_1995_Indonesia_TM-3_Zone_48.1",GEOGCS["GCS_DGN_1995",DATUM["D_Datu
23834	DGN_1995_Indonesia_TM-3_Zone_48.2	PROJCS["DGN_1995_Indonesia_TM-3_Zone_48.2",GEOGCS["GCS_DGN_1995",DATUM["D_Datu
23835	DGN_1995_Indonesia_TM-3_Zone_49.1	PROJCS["DGN_1995_Indonesia_TM-3_Zone_49.1",GEOGCS["GCS_DGN_1995",DATUM["D_Datu

Copyright © 1995-2016 Esri. All rights reserved.

23836	DGN_1995_Indonesia_TM-3_Zone_49.2	PROJCS["DGN_1995_Indonesia_TM-3_Zone_49.2",GEOGCS["GCS_DGN_1995",DATUM["D_Datu
23837	DGN_1995_Indonesia_TM-3_Zone_50.1	PROJCS["DGN_1995_Indonesia_TM-3_Zone_50.1",GEOGCS["GCS_DGN_1995",DATUM["D_Datu
23838	DGN_1995_Indonesia_TM-3_Zone_50.2	PROJCS["DGN_1995_Indonesia_TM-3_Zone_50.2",GEOGCS["GCS_DGN_1995",DATUM["D_Datu
23839	DGN_1995_Indonesia_TM-3_Zone_51.1	PROJCS["DGN_1995_Indonesia_TM-3_Zone_51.1",GEOGCS["GCS_DGN_1995",DATUM["D_Datu
23840	DGN_1995_Indonesia_TM-3_Zone_51.2	PROJCS["DGN_1995_Indonesia_TM-3_Zone_51.2",GEOGCS["GCS_DGN_1995",DATUM["D_Datu
23841	DGN_1995_Indonesia_TM-3_Zone_52.1	PROJCS["DGN_1995_Indonesia_TM-3_Zone_52.1",GEOGCS["GCS_DGN_1995",DATUM["D_Datu
23842	DGN_1995_Indonesia_TM-3_Zone_52.2	PROJCS["DGN_1995_Indonesia_TM-3_Zone_52.2",GEOGCS["GCS_DGN_1995",DATUM["D_Datu
23843	DGN_1995_Indonesia_TM-3_Zone_53.1	PROJCS["DGN_1995_Indonesia_TM-3_Zone_53.1",GEOGCS["GCS_DGN_1995",DATUM["D_Datu
23844	DGN_1995_Indonesia_TM-3_Zone_53.2	PROJCS["DGN_1995_Indonesia_TM-3_Zone_53.2",GEOGCS["GCS_DGN_1995",DATUM["D_Datu
23845	DGN_1995_Indonesia_TM-3_Zone_54.1	PROJCS["DGN_1995_Indonesia_TM-3_Zone_54.1",GEOGCS["GCS_DGN_1995",DATUM["D_Datu
23846	Indonesian_1974_UTM_Zone_46N	PROJCS["Indonesian_1974_UTM_Zone_46N",GEOGCS["GCS_Indonesian_1974",DATUM["D_Indo
23847	Indonesian_1974_UTM_Zone_47N	PROJCS["Indonesian_1974_UTM_Zone_47N",GEOGCS["GCS_Indonesian_1974",DATUM["D_Indo
23848	Indonesian_1974_UTM_Zone_48N	PROJCS["Indonesian_1974_UTM_Zone_48N",GEOGCS["GCS_Indonesian_1974",DATUM["D_Indo
23849	Indonesian_1974_UTM_Zone_49N	PROJCS["Indonesian_1974_UTM_Zone_49N",GEOGCS["GCS_Indonesian_1974",DATUM["D_Indo
23850	Indonesian_1974_UTM_Zone_50N	PROJCS["Indonesian_1974_UTM_Zone_50N",GEOGCS["GCS_Indonesian_1974",DATUM["D_Indo
23851	Indonesian_1974_UTM_Zone_51N	PROJCS["Indonesian_1974_UTM_Zone_51N",GEOGCS["GCS_Indonesian_1974",DATUM["D_Indo
23852	Indonesian_1974_UTM_Zone_52N	PROJCS["Indonesian_1974_UTM_Zone_52N",GEOGCS["GCS_Indonesian_1974",DATUM["D_Indo
23853	Indonesian_1974_UTM_Zone_53N	PROJCS["Indonesian_1974_UTM_Zone_53N",GEOGCS["GCS_Indonesian_1974",DATUM["D_Indo
23866	DGN_1995_UTM_Zone_46N	PROJCS["DGN_1995_UTM_Zone_46N",GEOGCS["GCS_DGN_1995",DATUM["D_Datum_Geodesi
23867	DGN_1995_UTM_Zone_47N	PROJCS["DGN_1995_UTM_Zone_47N",GEOGCS["GCS_DGN_1995",DATUM["D_Datum_Geodesi
23868	DGN_1995_UTM_Zone_48N	PROJCS["DGN_1995_UTM_Zone_48N",GEOGCS["GCS_DGN_1995",DATUM["D_Datum_Geodesi
23869	DGN_1995_UTM_Zone_49N	PROJCS["DGN_1995_UTM_Zone_49N",GEOGCS["GCS_DGN_1995",DATUM["D_Datum_Geodesi
23870	DGN_1995_UTM_Zone_50N	PROJCS["DGN_1995_UTM_Zone_50N",GEOGCS["GCS_DGN_1995",DATUM["D_Datum_Geodesi
23871	DGN_1995_UTM_Zone_51N	PROJCS["DGN_1995_UTM_Zone_51N",GEOGCS["GCS_DGN_1995",DATUM["D_Datum_Geodesi
23872	DGN_1995_UTM_Zone_52N	PROJCS["DGN_1995_UTM_Zone_52N",GEOGCS["GCS_DGN_1995",DATUM["D_Datum_Geodesi
23877	DGN_1995_UTM_Zone_47S	PROJCS["DGN_1995_UTM_Zone_47S",GEOGCS["GCS_DGN_1995",DATUM["D_Datum_Geodesi
23878	DGN_1995_UTM_Zone_48S	PROJCS["DGN_1995_UTM_Zone_48S",GEOGCS["GCS_DGN_1995",DATUM["D_Datum_Geodesi
23879	DGN_1995_UTM_Zone_49S	PROJCS["DGN_1995_UTM_Zone_49S",GEOGCS["GCS_DGN_1995",DATUM["D_Datum_Geodesi
23880	DGN_1995_UTM_Zone_50S	PROJCS["DGN_1995_UTM_Zone_50S",GEOGCS["GCS_DGN_1995",DATUM["D_Datum_Geodesi
23881	DGN_1995_UTM_Zone_51S	PROJCS["DGN_1995_UTM_Zone_51S",GEOGCS["GCS_DGN_1995",DATUM["D_Datum_Geodesi
23882	DGN_1995_UTM_Zone_52S	PROJCS["DGN_1995_UTM_Zone_52S",GEOGCS["GCS_DGN_1995",DATUM["D_Datum_Geodesi
23883	DGN_1995_UTM_Zone_53S	PROJCS["DGN_1995_UTM_Zone_53S",GEOGCS["GCS_DGN_1995",DATUM["D_Datum_Geodesi
23884	DGN_1995_UTM_Zone_54S	PROJCS["DGN_1995_UTM_Zone_54S",GEOGCS["GCS_DGN_1995",DATUM["D_Datum_Geodesi
23886	Indonesian_1974_UTM_Zone_46S	PROJCS["Indonesian_1974_UTM_Zone_46S",GEOGCS["GCS_Indonesian_1974",DATUM["D_Indo
23887	Indonesian_1974_UTM_Zone_47S	PROJCS["Indonesian_1974_UTM_Zone_47S",GEOGCS["GCS_Indonesian_1974",DATUM["D_Indo
23888	Indonesian_1974_UTM_Zone_48S	PROJCS["Indonesian_1974_UTM_Zone_48S",GEOGCS["GCS_Indonesian_1974",DATUM["D_Indo
23889	Indonesian_1974_UTM_Zone_49S	PROJCS["Indonesian_1974_UTM_Zone_49S",GEOGCS["GCS_Indonesian_1974",DATUM["D_Indo
23890	Indonesian_1974_UTM_Zone_50S	PROJCS["Indonesian_1974_UTM_Zone_50S",GEOGCS["GCS_Indonesian_1974",DATUM["D_Indo
23891	Indonesian_1974_UTM_Zone_51S	PROJCS["Indonesian_1974_UTM_Zone_51S",GEOGCS["GCS_Indonesian_1974",DATUM["D_Indo
23892	Indonesian_1974_UTM_Zone_52S	PROJCS["Indonesian_1974_UTM_Zone_52S",GEOGCS["GCS_Indonesian_1974",DATUM["D_Indo
23893	Indonesian_1974_UTM_Zone_53S	PROJCS["Indonesian_1974_UTM_Zone_53S",GEOGCS["GCS_Indonesian_1974",DATUM["D_Indo
23894	Indonesian_1974_UTM_Zone_54S	PROJCS["Indonesian_1974_UTM_Zone_54S",GEOGCS["GCS_Indonesian_1974",DATUM["D_Indo
23946	Indian_1954_UTM_Zone_46N	PROJCS["Indian_1954_UTM_Zone_46N",GEOGCS["GCS_Indian_1954",DATUM["D_Indian_1954",
23947	Indian_1954_UTM_Zone_47N	PROJCS["Indian_1954_UTM_Zone_47N",GEOGCS["GCS_Indian_1954",DATUM["D_Indian_1954",
23948	Indian_1954_UTM_Zone_48N	PROJCS["Indian_1954_UTM_Zone_48N",GEOGCS["GCS_Indian_1954",DATUM["D_Indian_1954",
24047	Indian_1975_UTM_Zone_47N	PROJCS["Indian_1975_UTM_Zone_47N",GEOGCS["GCS_Indian_1975",DATUM["D_Indian_1975",
24048	Indian_1975_UTM_Zone_48N	PROJCS["Indian_1975_UTM_Zone_48N",GEOGCS["GCS_Indian_1975",DATUM["D_Indian_1975",
24100	Jamaica_1875_Old_Grid	PROJCS["Jamaica_1875_Old_Grid",GEOGCS["GCS_Jamaica_1875",DATUM["D_Jamaica_1875",S
24200	Jamaica_Grid	PROJCS["Jamaica_Grid",GEOGCS["GCS_Jamaica_1969",DATUM["D_Jamaica_1969",SPHEROID[
24305	Kalianpur_1937_UTM_Zone_45N	PROJCS["Kalianpur_1937_UTM_Zone_45N",GEOGCS["GCS_Kalianpur_1937",DATUM["D_Kalianp
24306	Kalianpur_1937_UTM_Zone_46N	PROJCS["Kalianpur_1937_UTM_Zone_46N",GEOGCS["GCS_Kalianpur_1937",DATUM["D_Kalianp
24311	Kalianpur_1962_UTM_Zone_41N	PROJCS["Kalianpur_1962_UTM_Zone_41N",GEOGCS["GCS_Kalianpur_1962",DATUM["D_Kalianp
24312	Kalianpur_1962_UTM_Zone_42N	PROJCS["Kalianpur_1962_UTM_Zone_42N",GEOGCS["GCS_Kalianpur_1962",DATUM["D_Kalianp
24313	Kalianpur_1962_UTM_Zone_43N	PROJCS["Kalianpur_1962_UTM_Zone_43N",GEOGCS["GCS_Kalianpur_1962",DATUM["D_Kalianp

Copyright © 1995-2016 Esri. All rights reserved.

24342	Kalianpur_1975_UTM_Zone_42N	PROJCS["Kalianpur_1975_UTM_Zone_42N",GEOGCS["GCS_Kalianpur_1975",DATUM["D_Kalianp
24343	Kalianpur_1975_UTM_Zone_43N	PROJCS["Kalianpur_1975_UTM_Zone_43N",GEOGCS["GCS_Kalianpur_1975",DATUM["D_Kalianp
24344	Kalianpur_1975_UTM_Zone_44N	PROJCS["Kalianpur_1975_UTM_Zone_44N",GEOGCS["GCS_Kalianpur_1975",DATUM["D_Kalianp
24345	Kalianpur_1975_UTM_Zone_45N	PROJCS["Kalianpur_1975_UTM_Zone_45N",GEOGCS["GCS_Kalianpur_1975",DATUM["D_Kalianp
24346	Kalianpur_1975_UTM_Zone_46N	PROJCS["Kalianpur_1975_UTM_Zone_46N",GEOGCS["GCS_Kalianpur_1975",DATUM["D_Kalianp
24347	Kalianpur_1975_UTM_Zone_47N	PROJCS["Kalianpur_1975_UTM_Zone_47N",GEOGCS["GCS_Kalianpur_1975",DATUM["D_Kalianp
24370	Kalianpur_1880_India_Zone_0	PROJCS["Kalianpur_1880_India_Zone_0",GEOGCS["GCS_Kalianpur_1880",DATUM["D_Kalianpur_
24371	Kalianpur_1880_India_Zone_I	PROJCS["Kalianpur_1880_India_Zone_I",GEOGCS["GCS_Kalianpur_1880",DATUM["D_Kalianpur_
24372	Kalianpur_1880_India_Zone_IIa	PROJCS["Kalianpur_1880_India_Zone_IIa",GEOGCS["GCS_Kalianpur_1880",DATUM["D_Kalianpu
24373	Kalianpur_1880_India_Zone_III	PROJCS["Kalianpur_1880_India_Zone_III",GEOGCS["GCS_Kalianpur_1880",DATUM["D_Kalianpur_
24374	Kalianpur_1880_India_Zone_IV	PROJCS["Kalianpur_1880_India_Zone_IV",GEOGCS["GCS_Kalianpur_1880",DATUM["D_Kalianpu
24375	Kalianpur_1937_India_Zone_IIb	PROJCS["Kalianpur_1937_India_Zone_IIb",GEOGCS["GCS_Kalianpur_1937",DATUM["D_Kalianpu
24376	Kalianpur_1962_India_Zone_I	PROJCS["Kalianpur_1962_India_Zone_I",GEOGCS["GCS_Kalianpur_1962",DATUM["D_Kalianpur_
24377	Kalianpur_1962_India_Zone_IIa	PROJCS["Kalianpur_1962_India_Zone_IIa",GEOGCS["GCS_Kalianpur_1962",DATUM["D_Kalianpu
24378	Kalianpur_1975_India_Zone_I	PROJCS["Kalianpur_1975_India_Zone_I",GEOGCS["GCS_Kalianpur_1975",DATUM["D_Kalianpur_
24379	Kalianpur_1975_India_Zone_IIa	PROJCS["Kalianpur_1975_India_Zone_IIa",GEOGCS["GCS_Kalianpur_1975",DATUM["D_Kalianpu
24380	Kalianpur_1975_India_Zone_IIb	PROJCS["Kalianpur_1975_India_Zone_IIb",GEOGCS["GCS_Kalianpur_1975",DATUM["D_Kalianpu
24381	Kalianpur_1975_India_Zone_III	PROJCS["Kalianpur_1975_India_Zone_III",GEOGCS["GCS_Kalianpur_1975",DATUM["D_Kalianpur_
24382	Kalianpur_1880_India_Zone_IIb	PROJCS["Kalianpur_1880_India_Zone_IIb",GEOGCS["GCS_Kalianpur_1880",DATUM["D_Kalianpu
24383	Kalianpur_1975_India_Zone_IV	PROJCS["Kalianpur_1975_India_Zone_IV",GEOGCS["GCS_Kalianpur_1975",DATUM["D_Kalianpu
24500	Kertau_Singapore_Grid	PROJCS["Kertau_Singapore_Grid",GEOGCS["GCS_Kertau",DATUM["D_Kertau",SPHEROID["Evere
24547	Kertau_UTM_Zone_47N	PROJCS["Kertau_UTM_Zone_47N",GEOGCS["GCS_Kertau",DATUM["D_Kertau",SPHEROID["Ever
24548	Kertau_UTM_Zone_48N	PROJCS["Kertau_UTM_Zone_48N",GEOGCS["GCS_Kertau",DATUM["D_Kertau",SPHEROID["Ever
24571	Kertau_RSO_Malaya_Chains	PROJCS["Kertau_RSO_Malaya_Chains",GEOGCS["GCS_Kertau",DATUM["D_Kertau",SPHEROID["
24600	KOC_Lambert	PROJCS["KOC_Lambert",GEOGCS["GCS_Kuwait_Oil_Company",DATUM["D_Kuwait_Oil_Company
24718	La_Canoa_UTM_Zone_18N	PROJCS["La_Canoa_UTM_Zone_18N",GEOGCS["GCS_La_Canoa",DATUM["D_La_Canoa",SPHE
24719	La_Canoa_UTM_Zone_19N	PROJCS["La_Canoa_UTM_Zone_19N",GEOGCS["GCS_La_Canoa",DATUM["D_La_Canoa",SPHE
24720	La_Canoa_UTM_Zone_20N	PROJCS["La_Canoa_UTM_Zone_20N",GEOGCS["GCS_La_Canoa",DATUM["D_La_Canoa",SPHE
24721	La_Canoa_UTM_Zone_21N	PROJCS["La_Canoa_UTM_Zone_21N",GEOGCS["GCS_La_Canoa",DATUM["D_La_Canoa",SPHE
24817	PSAD_1956_UTM_Zone_17N	PROJCS["PSAD_1956_UTM_Zone_17N",GEOGCS["GCS_Provisional_S_American_1956",DATUM
24818	PSAD_1956_UTM_Zone_18N	PROJCS["PSAD_1956_UTM_Zone_18N",GEOGCS["GCS_Provisional_S_American_1956",DATUM
24819	PSAD_1956_UTM_Zone_19N	PROJCS["PSAD_1956_UTM_Zone_19N",GEOGCS["GCS_Provisional_S_American_1956",DATUM
24820	PSAD_1956_UTM_Zone_20N	PROJCS["PSAD_1956_UTM_Zone_20N",GEOGCS["GCS_Provisional_S_American_1956",DATUM
24821	PSAD_1956_UTM_Zone_21N	PROJCS["PSAD_1956_UTM_Zone_21N",GEOGCS["GCS_Provisional_S_American_1956",DATUM
24877	PSAD_1956_UTM_Zone_17S	PROJCS["PSAD_1956_UTM_Zone_17S",GEOGCS["GCS_Provisional_S_American_1956",DATUM[
24878	PSAD_1956_UTM_Zone_18S	PROJCS["PSAD_1956_UTM_Zone_18S",GEOGCS["GCS_Provisional_S_American_1956",DATUM[
24879	PSAD_1956_UTM_Zone_19S	PROJCS["PSAD_1956_UTM_Zone_19S",GEOGCS["GCS_Provisional_S_American_1956",DATUM[
24880	PSAD_1956_UTM_Zone_20S	PROJCS["PSAD_1956_UTM_Zone_20S",GEOGCS["GCS_Provisional_S_American_1956",DATUM[
24881	PSAD_1956_UTM_Zone_21S	PROJCS["PSAD_1956_UTM_Zone_21S",GEOGCS["GCS_Provisional_S_American_1956",DATUM[
24882	PSAD_1956_UTM_Zone_22S	PROJCS["PSAD_1956_UTM_Zone_22S",GEOGCS["GCS_Provisional_S_American_1956",DATUM[
24891	Peru_West_Zone	PROJCS["Peru_West_Zone",GEOGCS["GCS_Provisional_S_American_1956",DATUM["D_Provision
24892	Peru_Central_Zone	PROJCS["Peru_Central_Zone",GEOGCS["GCS_Provisional_S_American_1956",DATUM["D_Provisi
24893	Peru_East_Zone	PROJCS["Peru_East_Zone",GEOGCS["GCS_Provisional_S_American_1956",DATUM["D_Provision
25000	Ghana_Metre_Grid	PROJCS["Ghana_Metre_Grid",GEOGCS["GCS_Leigon",DATUM["D_Leigon",SPHEROID["Clarke_18
25231	Lome_UTM_Zone_31N	PROJCS["Lome_UTM_Zone_31N",GEOGCS["GCS_Lome",DATUM["D_Lome",SPHEROID["Clarke_
25391	Philippines_Zone_I	PROJCS["Philippines_Zone_I",GEOGCS["GCS_Luzon_1911",DATUM["D_Luzon_1911",SPHEROID
25392	Philippines_Zone_II	PROJCS["Philippines_Zone_II",GEOGCS["GCS_Luzon_1911",DATUM["D_Luzon_1911",SPHEROID
25393	Philippines_Zone_III	PROJCS["Philippines_Zone_III",GEOGCS["GCS_Luzon_1911",DATUM["D_Luzon_1911",SPHEROID
25394	Philippines_Zone_IV	PROJCS["Philippines_Zone_IV",GEOGCS["GCS_Luzon_1911",DATUM["D_Luzon_1911",SPHEROID
25395	Philippines_Zone_V	PROJCS["Philippines_Zone_V",GEOGCS["GCS_Luzon_1911",DATUM["D_Luzon_1911",SPHEROID
25828	ETRS_1989_UTM_Zone_28N	PROJCS["ETRS_1989_UTM_Zone_28N",GEOGCS["GCS_ETRS_1989",DATUM["D_ETRS_1989",S
25829	ETRS_1989_UTM_Zone_29N	PROJCS["ETRS_1989_UTM_Zone_29N",GEOGCS["GCS_ETRS_1989",DATUM["D_ETRS_1989",S
25830	ETRS_1989_UTM_Zone_30N	PROJCS["ETRS_1989_UTM_Zone_30N",GEOGCS["GCS_ETRS_1989",DATUM["D_ETRS_1989",S
25831	ETRS_1989_UTM_Zone_31N	PROJCS["ETRS_1989_UTM_Zone_31N",GEOGCS["GCS_ETRS_1989",DATUM["D_ETRS_1989",S

Copyright © 1995-2016 Esri. All rights reserved.

25832	ETRS_1989_UTM_Zone_32N	PROJCS["ETRS_1989_UTM_Zone_32N",GEOGCS["GCS_ETRS_1989",DATUM["D_ETRS_1989",S
25833	ETRS_1989_UTM_Zone_33N	PROJCS["ETRS_1989_UTM_Zone_33N",GEOGCS["GCS_ETRS_1989",DATUM["D_ETRS_1989",S
25834	ETRS_1989_UTM_Zone_34N	PROJCS["ETRS_1989_UTM_Zone_34N",GEOGCS["GCS_ETRS_1989",DATUM["D_ETRS_1989",S
25835	ETRS_1989_UTM_Zone_35N	PROJCS["ETRS_1989_UTM_Zone_35N",GEOGCS["GCS_ETRS_1989",DATUM["D_ETRS_1989",S
25836	ETRS_1989_UTM_Zone_36N	PROJCS["ETRS_1989_UTM_Zone_36N",GEOGCS["GCS_ETRS_1989",DATUM["D_ETRS_1989",S
25837	ETRS_1989_UTM_Zone_37N	PROJCS["ETRS_1989_UTM_Zone_37N",GEOGCS["GCS_ETRS_1989",DATUM["D_ETRS_1989",S
25838	ETRS_1989_UTM_Zone_38N	PROJCS["ETRS_1989_UTM_Zone_38N",GEOGCS["GCS_ETRS_1989",DATUM["D_ETRS_1989",S
25884	ETRS_1989_TM_Baltic_1993	PROJCS["ETRS_1989_TM_Baltic_1993",GEOGCS["GCS_ETRS_1989",DATUM["D_ETRS_1989",S
25932	Malongo_1987_UTM_Zone_32S	PROJCS["Malongo_1987_UTM_Zone_32S",GEOGCS["GCS_Malongo_1987",DATUM["D_Malongo_
26191	Nord_Maroc	PROJCS["Nord_Maroc",GEOGCS["GCS_Merchich",DATUM["D_Merchich",SPHEROID["Clarke_188
26192	Sud_Maroc	PROJCS["Sud_Maroc",GEOGCS["GCS_Merchich",DATUM["D_Merchich",SPHEROID["Clarke_1880
26193	Sahara	PROJCS["Sahara",GEOGCS["GCS_Merchich",DATUM["D_Merchich",SPHEROID["Clarke_1880_IGI
26194	Merchich_Sahara_Nord	PROJCS["Merchich_Sahara_Nord",GEOGCS["GCS_Merchich",DATUM["D_Merchich",SPHEROID["(
26195	Merchich_Sahara_Sud	PROJCS["Merchich_Sahara_Sud",GEOGCS["GCS_Merchich",DATUM["D_Merchich",SPHEROID["C
26237	Massawa_UTM_Zone_37N	PROJCS["Massawa_UTM_Zone_37N",GEOGCS["GCS_Massawa",DATUM["D_Massawa",SPHERO
26331	Minna_UTM_Zone_31N	PROJCS["Minna_UTM_Zone_31N",GEOGCS["GCS_Minna",DATUM["D_Minna",SPHEROID["Clarke
26332	Minna_UTM_Zone_32N	PROJCS["Minna_UTM_Zone_32N",GEOGCS["GCS_Minna",DATUM["D_Minna",SPHEROID["Clarke
26391	Nigeria_West_Belt	PROJCS["Nigeria_West_Belt",GEOGCS["GCS_Minna",DATUM["D_Minna",SPHEROID["Clarke_188
26392	Nigeria_Mid_Belt	PROJCS["Nigeria_Mid_Belt",GEOGCS["GCS_Minna",DATUM["D_Minna",SPHEROID["Clarke_1880
26393	Nigeria_East_Belt	PROJCS["Nigeria_East_Belt",GEOGCS["GCS_Minna",DATUM["D_Minna",SPHEROID["Clarke_1880
26591	Monte_Mario_Rome_Italy_1	PROJCS["Monte_Mario_Rome_Italy_1",GEOGCS["GCS_Monte_Mario_Rome",DATUM["D_Monte_M
26592	Monte_Mario_Rome_Italy_2	PROJCS["Monte_Mario_Rome_Italy_2",GEOGCS["GCS_Monte_Mario_Rome",DATUM["D_Monte_M
26632	Mporaloko_UTM_Zone_32N	PROJCS["Mporaloko_UTM_Zone_32N",GEOGCS["GCS_Mporaloko",DATUM["D_Mporaloko",SPHE
26692	Mporaloko_UTM_Zone_32S	PROJCS["Mporaloko_UTM_Zone_32S",GEOGCS["GCS_Mporaloko",DATUM["D_Mporaloko",SPHE
26701	NAD_1927_UTM_Zone_1N	PROJCS["NAD_1927_UTM_Zone_1N",GEOGCS["GCS_North_American_1927",DATUM["D_North_
26702	NAD_1927_UTM_Zone_2N	PROJCS["NAD_1927_UTM_Zone_2N",GEOGCS["GCS_North_American_1927",DATUM["D_North_
26703	NAD_1927_UTM_Zone_3N	PROJCS["NAD_1927_UTM_Zone_3N",GEOGCS["GCS_North_American_1927",DATUM["D_North_
26704	NAD_1927_UTM_Zone_4N	PROJCS["NAD_1927_UTM_Zone_4N",GEOGCS["GCS_North_American_1927",DATUM["D_North_
26705	NAD_1927_UTM_Zone_5N	PROJCS["NAD_1927_UTM_Zone_5N",GEOGCS["GCS_North_American_1927",DATUM["D_North_
26706	NAD_1927_UTM_Zone_6N	PROJCS["NAD_1927_UTM_Zone_6N",GEOGCS["GCS_North_American_1927",DATUM["D_North_
26707	NAD_1927_UTM_Zone_7N	PROJCS["NAD_1927_UTM_Zone_7N",GEOGCS["GCS_North_American_1927",DATUM["D_North_
26708	NAD_1927_UTM_Zone_8N	PROJCS["NAD_1927_UTM_Zone_8N",GEOGCS["GCS_North_American_1927",DATUM["D_North_
26709	NAD_1927_UTM_Zone_9N	PROJCS["NAD_1927_UTM_Zone_9N",GEOGCS["GCS_North_American_1927",DATUM["D_North_
26710	NAD_1927_UTM_Zone_10N	PROJCS["NAD_1927_UTM_Zone_10N",GEOGCS["GCS_North_American_1927",DATUM["D_North
26711	NAD_1927_UTM_Zone_11N	PROJCS["NAD_1927_UTM_Zone_11N",GEOGCS["GCS_North_American_1927",DATUM["D_North_
26712	NAD_1927_UTM_Zone_12N	PROJCS["NAD_1927_UTM_Zone_12N",GEOGCS["GCS_North_American_1927",DATUM["D_North
26713	NAD_1927_UTM_Zone_13N	PROJCS["NAD_1927_UTM_Zone_13N",GEOGCS["GCS_North_American_1927",DATUM["D_North
26714	NAD_1927_UTM_Zone_14N	PROJCS["NAD_1927_UTM_Zone_14N",GEOGCS["GCS_North_American_1927",DATUM["D_North
26715	NAD_1927_UTM_Zone_15N	PROJCS["NAD_1927_UTM_Zone_15N",GEOGCS["GCS_North_American_1927",DATUM["D_North
26716	NAD_1927_UTM_Zone_16N	PROJCS["NAD_1927_UTM_Zone_16N",GEOGCS["GCS_North_American_1927",DATUM["D_North
26717	NAD_1927_UTM_Zone_17N	PROJCS["NAD_1927_UTM_Zone_17N",GEOGCS["GCS_North_American_1927",DATUM["D_North
26718	NAD_1927_UTM_Zone_18N	PROJCS["NAD_1927_UTM_Zone_18N",GEOGCS["GCS_North_American_1927",DATUM["D_North
26719	NAD_1927_UTM_Zone_19N	PROJCS["NAD_1927_UTM_Zone_19N",GEOGCS["GCS_North_American_1927",DATUM["D_North
26720	NAD_1927_UTM_Zone_20N	PROJCS["NAD_1927_UTM_Zone_20N",GEOGCS["GCS_North_American_1927",DATUM["D_North
26721	NAD_1927_UTM_Zone_21N	PROJCS["NAD_1927_UTM_Zone_21N",GEOGCS["GCS_North_American_1927",DATUM["D_North
26722	NAD_1927_UTM_Zone_22N	PROJCS["NAD_1927_UTM_Zone_22N",GEOGCS["GCS_North_American_1927",DATUM["D_North
26729	NAD_1927_StatePlane_Alabama_East_FIPS_0101	PROJCS["NAD_1927_StatePlane_Alabama_East_FIPS_0101",GEOGCS["GCS_North_American_1
26730	NAD_1927_StatePlane_Alabama_West_FIPS_0102	PROJCS["NAD_1927_StatePlane_Alabama_West_FIPS_0102",GEOGCS["GCS_North_American_1
26731	NAD_1927_StatePlane_Alaska_1_FIPS_5001	PROJCS["NAD_1927_StatePlane_Alaska_1_FIPS_5001",GEOGCS["GCS_North_American_1927",
26732	NAD_1927_StatePlane_Alaska_2_FIPS_5002	PROJCS["NAD_1927_StatePlane_Alaska_2_FIPS_5002",GEOGCS["GCS_North_American_1927",
26733	NAD_1927_StatePlane_Alaska_3_FIPS_5003	PROJCS["NAD_1927_StatePlane_Alaska_3_FIPS_5003",GEOGCS["GCS_North_American_1927",
26734	NAD_1927_StatePlane_Alaska_4_FIPS_5004	PROJCS["NAD_1927_StatePlane_Alaska_4_FIPS_5004",GEOGCS["GCS_North_American_1927",
26735	NAD_1927_StatePlane_Alaska_5_FIPS_5005	PROJCS["NAD_1927_StatePlane_Alaska_5_FIPS_5005",GEOGCS["GCS_North_American_1927",
26736	NAD_1927_StatePlane_Alaska_6_FIPS_5006	PROJCS["NAD_1927_StatePlane_Alaska_6_FIPS_5006",GEOGCS["GCS_North_American_1927",

Copyright © 1995-2016 Esri. All rights reserved.

26737	NAD_1927_StatePlane_Alaska_7_FIPS_5007	PROJCS["NAD_1927_StatePlane_Alaska_7_FIPS_5007",GEOGCS["GCS_North_American_1927",
26738	NAD_1927_StatePlane_Alaska_8_FIPS_5008	PROJCS["NAD_1927_StatePlane_Alaska_8_FIPS_5008",GEOGCS["GCS_North_American_1927",
26739	NAD_1927_StatePlane_Alaska_9_FIPS_5009	PROJCS["NAD_1927_StatePlane_Alaska_9_FIPS_5009",GEOGCS["GCS_North_American_1927",
26740	NAD_1927_StatePlane_Alaska_10_FIPS_5010	PROJCS["NAD_1927_StatePlane_Alaska_10_FIPS_5010",GEOGCS["GCS_North_American_1927"
26741	NAD_1927_StatePlane_California_I_FIPS_0401	PROJCS["NAD_1927_StatePlane_California_I_FIPS_0401",GEOGCS["GCS_North_American_1927
26742	NAD_1927_StatePlane_California_II_FIPS_0402	PROJCS["NAD_1927_StatePlane_California_II_FIPS_0402",GEOGCS["GCS_North_American_192
26743	NAD_1927_StatePlane_California_III_FIPS_0403	PROJCS["NAD_1927_StatePlane_California_III_FIPS_0403",GEOGCS["GCS_North_American_192
26744	NAD_1927_StatePlane_California_IV_FIPS_0404	PROJCS["NAD_1927_StatePlane_California_IV_FIPS_0404",GEOGCS["GCS_North_American_192
26745	NAD_1927_StatePlane_California_V_FIPS_0405	PROJCS["NAD_1927_StatePlane_California_V_FIPS_0405",GEOGCS["GCS_North_American_192
26746	NAD_1927_StatePlane_California_VI_FIPS_0406	PROJCS["NAD_1927_StatePlane_California_VI_FIPS_0406",GEOGCS["GCS_North_American_192
26748	NAD_1927_StatePlane_Arizona_East_FIPS_0201	PROJCS["NAD_1927_StatePlane_Arizona_East_FIPS_0201",GEOGCS["GCS_North_American_19
26749	NAD_1927_StatePlane_Arizona_Central_FIPS_0202	PROJCS["NAD_1927_StatePlane_Arizona_Central_FIPS_0202",GEOGCS["GCS_North_American_
26750	NAD_1927_StatePlane_Arizona_West_FIPS_0203	PROJCS["NAD_1927_StatePlane_Arizona_West_FIPS_0203",GEOGCS["GCS_North_American_19
26751	NAD_1927_StatePlane_Arkansas_North_FIPS_0301	PROJCS["NAD_1927_StatePlane_Arkansas_North_FIPS_0301",GEOGCS["GCS_North_American_
26752	NAD_1927_StatePlane_Arkansas_South_FIPS_0302	PROJCS["NAD_1927_StatePlane_Arkansas_South_FIPS_0302",GEOGCS["GCS_North_American_
26753	NAD_1927_StatePlane_Colorado_North_FIPS_0501	PROJCS["NAD_1927_StatePlane_Colorado_North_FIPS_0501",GEOGCS["GCS_North_American_
26754	NAD_1927_StatePlane_Colorado_Central_FIPS_0502	PROJCS["NAD_1927_StatePlane_Colorado_Central_FIPS_0502",GEOGCS["GCS_North_American
26755	NAD_1927_StatePlane_Colorado_South_FIPS_0503	PROJCS["NAD_1927_StatePlane_Colorado_South_FIPS_0503",GEOGCS["GCS_North_American_
26756	NAD_1927_StatePlane_Connecticut_FIPS_0600	PROJCS["NAD_1927_StatePlane_Connecticut_FIPS_0600",GEOGCS["GCS_North_American_192
26757	NAD_1927_StatePlane_Delaware_FIPS_0700	PROJCS["NAD_1927_StatePlane_Delaware_FIPS_0700",GEOGCS["GCS_North_American_1927",
26758	NAD_1927_StatePlane_Florida_East_FIPS_0901	PROJCS["NAD_1927_StatePlane_Florida_East_FIPS_0901",GEOGCS["GCS_North_American_192
26759	NAD_1927_StatePlane_Florida_West_FIPS_0902	PROJCS["NAD_1927_StatePlane_Florida_West_FIPS_0902",GEOGCS["GCS_North_American_19
26760	NAD_1927_StatePlane_Florida_North_FIPS_0903	PROJCS["NAD_1927_StatePlane_Florida_North_FIPS_0903",GEOGCS["GCS_North_American_19
26766	NAD_1927_StatePlane_Georgia_East_FIPS_1001	PROJCS["NAD_1927_StatePlane_Georgia_East_FIPS_1001",GEOGCS["GCS_North_American_19
26767	NAD_1927_StatePlane_Georgia_West_FIPS_1002	PROJCS["NAD_1927_StatePlane_Georgia_West_FIPS_1002",GEOGCS["GCS_North_American_1
26768	NAD_1927_StatePlane_Idaho_East_FIPS_1101	PROJCS["NAD_1927_StatePlane_Idaho_East_FIPS_1101",GEOGCS["GCS_North_American_1927
26769	NAD_1927_StatePlane_Idaho_Central_FIPS_1102	PROJCS["NAD_1927_StatePlane_Idaho_Central_FIPS_1102",GEOGCS["GCS_North_American_19
26770	NAD_1927_StatePlane_Idaho_West_FIPS_1103	PROJCS["NAD_1927_StatePlane_Idaho_West_FIPS_1103",GEOGCS["GCS_North_American_192
26771	NAD_1927_StatePlane_Illinois_East_FIPS_1201	PROJCS["NAD_1927_StatePlane_Illinois_East_FIPS_1201",GEOGCS["GCS_North_American_192
26772	NAD_1927_StatePlane_Illinois_West_FIPS_1202	PROJCS["NAD_1927_StatePlane_Illinois_West_FIPS_1202",GEOGCS["GCS_North_American_192
26773	NAD_1927_StatePlane_Indiana_East_FIPS_1301	PROJCS["NAD_1927_StatePlane_Indiana_East_FIPS_1301",GEOGCS["GCS_North_American_19
26774	NAD_1927_StatePlane_Indiana_West_FIPS_1302	PROJCS["NAD_1927_StatePlane_Indiana_West_FIPS_1302",GEOGCS["GCS_North_American_19
26775	NAD_1927_StatePlane_Iowa_North_FIPS_1401	PROJCS["NAD_1927_StatePlane_Iowa_North_FIPS_1401",GEOGCS["GCS_North_American_1927
26776	NAD_1927_StatePlane_Iowa_South_FIPS_1402	PROJCS["NAD_1927_StatePlane_Iowa_South_FIPS_1402",GEOGCS["GCS_North_American_192
26777	NAD_1927_StatePlane_Kansas_North_FIPS_1501	PROJCS["NAD_1927_StatePlane_Kansas_North_FIPS_1501",GEOGCS["GCS_North_American_19
26778	NAD_1927_StatePlane_Kansas_South_FIPS_1502	PROJCS["NAD_1927_StatePlane_Kansas_South_FIPS_1502",GEOGCS["GCS_North_American_1
26779	NAD_1927_StatePlane_Kentucky_North_FIPS_1601	PROJCS["NAD_1927_StatePlane_Kentucky_North_FIPS_1601",GEOGCS["GCS_North_American_
26780	NAD_1927_StatePlane_Kentucky_South_FIPS_1602	PROJCS["NAD_1927_StatePlane_Kentucky_South_FIPS_1602",GEOGCS["GCS_North_American_
26781	NAD_1927_StatePlane_Louisiana_North_FIPS_1701	PROJCS["NAD_1927_StatePlane_Louisiana_North_FIPS_1701",GEOGCS["GCS_North_American_
26782	NAD_1927_StatePlane_Louisiana_South_FIPS_1702	PROJCS["NAD_1927_StatePlane_Louisiana_South_FIPS_1702",GEOGCS["GCS_North_American_
26783	NAD_1927_StatePlane_Maine_East_FIPS_1801	PROJCS["NAD_1927_StatePlane_Maine_East_FIPS_1801",GEOGCS["GCS_North_American_192
26784	NAD_1927_StatePlane_Maine_West_FIPS_1802	PROJCS["NAD_1927_StatePlane_Maine_West_FIPS_1802",GEOGCS["GCS_North_American_192
26785	NAD_1927_StatePlane_Maryland_FIPS_1900	PROJCS["NAD_1927_StatePlane_Maryland_FIPS_1900",GEOGCS["GCS_North_American_1927",
26786	NAD_1927_StatePlane_Massachusetts_Mainland_FIPS_2001	PROJCS["NAD_1927_StatePlane_Massachusetts_Mainland_FIPS_2001",GEOGCS["GCS_North_A
26787	NAD_1927_StatePlane_Massachusetts_Island_FIPS_2002	PROJCS["NAD_1927_StatePlane_Massachusetts_Island_FIPS_2002",GEOGCS["GCS_North_Ame
26788	NAD_1927_StatePlane_Michigan_North_FIPS_2111	PROJCS["NAD_1927_StatePlane_Michigan_North_FIPS_2111",GEOGCS["GCS_North_American_
26789	NAD_1927_StatePlane_Michigan_Central_FIPS_2112	PROJCS["NAD_1927_StatePlane_Michigan_Central_FIPS_2112",GEOGCS["GCS_North_American
26790	NAD_1927_StatePlane_Michigan_South_FIPS_2113	PROJCS["NAD_1927_StatePlane_Michigan_South_FIPS_2113",GEOGCS["GCS_North_American_
26791	NAD_1927_StatePlane_Minnesota_North_FIPS_2201	PROJCS["NAD_1927_StatePlane_Minnesota_North_FIPS_2201",GEOGCS["GCS_North_American
26792	NAD_1927_StatePlane_Minnesota_Central_FIPS_2202	PROJCS["NAD_1927_StatePlane_Minnesota_Central_FIPS_2202",GEOGCS["GCS_North_America
26793	NAD_1927_StatePlane_Minnesota_South_FIPS_2203	PROJCS["NAD_1927_StatePlane_Minnesota_South_FIPS_2203",GEOGCS["GCS_North_American
26794	NAD_1927_StatePlane_Mississippi_East_FIPS_2301	PROJCS["NAD_1927_StatePlane_Mississippi_East_FIPS_2301",GEOGCS["GCS_North_American_
26795	NAD_1927_StatePlane_Mississippi_West_FIPS_2302	PROJCS["NAD_1927_StatePlane_Mississippi_West_FIPS_2302",GEOGCS["GCS_North_American
26796	NAD_1927_StatePlane_Missouri_East_FIPS_2401	PROJCS["NAD_1927_StatePlane_Missouri_East_FIPS_2401",GEOGCS["GCS_North_American_19

Copyright © 1995-2016 Esri. All rights reserved.

26797	NAD_1927_StatePlane_Missouri_Central_FIPS_2402	PROJCS["NAD_1927_StatePlane_Missouri_Central_FIPS_2402",GEOGCS["GCS_North_American_
26798	NAD_1927_StatePlane_Missouri_West_FIPS_2403	PROJCS["NAD_1927_StatePlane_Missouri_West_FIPS_2403",GEOGCS["GCS_North_American_1
26799	NAD_1927_StatePlane_California_VII_FIPS_0407	PROJCS["NAD_1927_StatePlane_California_VII_FIPS_0407",GEOGCS["GCS_North_American_19
26847	NAD_1983_StatePlane_Maine_East_FIPS_1801_Feet	PROJCS["NAD_1983_StatePlane_Maine_East_FIPS_1801_Feet",GEOGCS["GCS_North_American
26848	NAD_1983_StatePlane_Maine_West_FIPS_1802_Feet	PROJCS["NAD_1983_StatePlane_Maine_West_FIPS_1802_Feet",GEOGCS["GCS_North_America
26849	NAD_1983_StatePlane_Minnesota_North_FIPS_2201_Feet	PROJCS["NAD_1983_StatePlane_Minnesota_North_FIPS_2201_Feet",GEOGCS["GCS_North_Ame
26850	NAD_1983_StatePlane_Minnesota_Central_FIPS_2202_Feet	PROJCS["NAD_1983_StatePlane_Minnesota_Central_FIPS_2202_Feet",GEOGCS["GCS_North_Ar
26851	NAD_1983_StatePlane_Minnesota_South_FIPS_2203_Feet	PROJCS["NAD_1983_StatePlane_Minnesota_South_FIPS_2203_Feet",GEOGCS["GCS_North_Am
26852	NAD_1983_StatePlane_Nebraska_FIPS_2600_Feet	PROJCS["NAD_1983_StatePlane_Nebraska_FIPS_2600_Feet",GEOGCS["GCS_North_American_
26853	NAD_1983_StatePlane_West_Virginia_North_FIPS_4701_Feet	PROJCS["NAD_1983_StatePlane_West_Virginia_North_FIPS_4701_Feet",GEOGCS["GCS_North_
26854	NAD_1983_StatePlane_West_Virginia_South_FIPS_4702_Feet	PROJCS["NAD_1983_StatePlane_West_Virginia_South_FIPS_4702_Feet",GEOGCS["GCS_North_
26855	NAD_1983_HARN_StatePlane_Maine_East_FIPS_1801_Feet	PROJCS["NAD_1983_HARN_StatePlane_Maine_East_FIPS_1801_Feet",GEOGCS["GCS_North_A
26856	NAD_1983_HARN_StatePlane_Maine_West_FIPS_1802_Feet	PROJCS["NAD_1983_HARN_StatePlane_Maine_West_FIPS_1802_Feet",GEOGCS["GCS_North_A
26857	NAD_1983_HARN_StatePlane_Minnesota_North_FIPS_2201_Feet	PROJCS["NAD_1983_HARN_StatePlane_Minnesota_North_FIPS_2201_Feet",GEOGCS["GCS_No
26858	NAD_1983_HARN_StatePlane_Minnesota_Central_FIPS_2202_Feet	PROJCS["NAD_1983_HARN_StatePlane_Minnesota_Central_FIPS_2202_Feet",GEOGCS["GCS_N
26859	NAD_1983_HARN_StatePlane_Minnesota_South_FIPS_2203_Feet	PROJCS["NAD_1983_HARN_StatePlane_Minnesota_South_FIPS_2203_Feet",GEOGCS["GCS_No
26860	NAD_1983_HARN_StatePlane_Nebraska_FIPS_2600_Feet	PROJCS["NAD_1983_HARN_StatePlane_Nebraska_FIPS_2600_Feet",GEOGCS["GCS_North_Am
26861	NAD_1983_HARN_StatePlane_West_Virginia_North_FIPS_4701_Feet	PROJCS["NAD_1983_HARN_StatePlane_West_Virginia_North_FIPS_4701_Feet",GEOGCS["GCS_
26862	NAD_1983_HARN_StatePlane_West_Virginia_South_FIPS_4702_Feet	PROJCS["NAD_1983_HARN_StatePlane_West_Virginia_South_FIPS_4702_Feet",GEOGCS["GCS_
26863	NAD_1983_NSRS2007_StatePlane_Maine_East_FIPS_1801_Ft_US	PROJCS["NAD_1983_NSRS2007_StatePlane_Maine_East_FIPS_1801_Ft_US",GEOGCS["GCS_N
26864	NAD_1983_NSRS2007_StatePlane_Maine_West_FIPS_1802_Ft_US	PROJCS["NAD_1983_NSRS2007_StatePlane_Maine_West_FIPS_1802_Ft_US",GEOGCS["GCS_N
26865	NAD_1983_NSRS2007_StatePlane_Minnesota_North_FIPS_2201_Ft_US	PROJCS["NAD_1983_NSRS2007_StatePlane_Minnesota_North_FIPS_2201_Ft_US",GEOGCS["G
26866	NAD_1983_NSRS2007_StatePlane_Minnesota_Central_FIPS_2202_Ft_US	PROJCS["NAD_1983_NSRS2007_StatePlane_Minnesota_Central_FIPS_2202_Ft_US",GEOGCS["G
26867	NAD_1983_NSRS2007_StatePlane_Minnesota_South_FIPS_2203_Ft_US	PROJCS["NAD_1983_NSRS2007_StatePlane_Minnesota_South_FIPS_2203_Ft_US",GEOGCS["G
26868	NAD_1983_NSRS2007_StatePlane_Nebraska_FIPS_2600_Ft_US	PROJCS["NAD_1983_NSRS2007_StatePlane_Nebraska_FIPS_2600_Ft_US",GEOGCS["GCS_NAD
26869	NAD_1983_NSRS2007_StatePlane_West_Virginia_North_FIPS_4701_FtUS	PROJCS["NAD_1983_NSRS2007_StatePlane_West_Virginia_North_FIPS_4701_FtUS",GEOGCS[""
26870	NAD_1983_NSRS2007_StatePlane_West_Virginia_South_FIPS_4702_FtUS	PROJCS["NAD_1983_NSRS2007_StatePlane_West_Virginia_South_FIPS_4702_FtUS",GEOGCS[""
26891	NAD_1983_CSRS_MTM_11	PROJCS["NAD_1983_CSRS_MTM_11",GEOGCS["GCS_North_American_1983_CSRS",DATUM["D
26892	NAD_1983_CSRS_MTM_12	PROJCS["NAD_1983_CSRS_MTM_12",GEOGCS["GCS_North_American_1983_CSRS",DATUM["D
26893	NAD_1983_CSRS_MTM_13	PROJCS["NAD_1983_CSRS_MTM_13",GEOGCS["GCS_North_American_1983_CSRS",DATUM["D
26894	NAD_1983_CSRS_MTM_14	PROJCS["NAD_1983_CSRS_MTM_14",GEOGCS["GCS_North_American_1983_CSRS",DATUM["D
26895	NAD_1983_CSRS_MTM_15	PROJCS["NAD_1983_CSRS_MTM_15",GEOGCS["GCS_North_American_1983_CSRS",DATUM["D
26896	NAD_1983_CSRS_MTM_16	PROJCS["NAD_1983_CSRS_MTM_16",GEOGCS["GCS_North_American_1983_CSRS",DATUM["D
26897	NAD_1983_CSRS_MTM_17	PROJCS["NAD_1983_CSRS_MTM_17",GEOGCS["GCS_North_American_1983_CSRS",DATUM["D
26898	NAD_1983_CSRS_MTM_1	PROJCS["NAD_1983_CSRS_MTM_1",GEOGCS["GCS_North_American_1983_CSRS",DATUM["D_
26899	NAD_1983_CSRS_MTM_2	PROJCS["NAD_1983_CSRS_MTM_2",GEOGCS["GCS_North_American_1983_CSRS",DATUM["D_
26901	NAD_1983_UTM_Zone_1N	PROJCS["NAD_1983_UTM_Zone_1N",GEOGCS["GCS_North_American_1983",DATUM["D_North_
26902	NAD_1983_UTM_Zone_2N	PROJCS["NAD_1983_UTM_Zone_2N",GEOGCS["GCS_North_American_1983",DATUM["D_North_
26903	NAD_1983_UTM_Zone_3N	PROJCS["NAD_1983_UTM_Zone_3N",GEOGCS["GCS_North_American_1983",DATUM["D_North_
26904	NAD_1983_UTM_Zone_4N	PROJCS["NAD_1983_UTM_Zone_4N",GEOGCS["GCS_North_American_1983",DATUM["D_North_
26905	NAD_1983_UTM_Zone_5N	PROJCS["NAD_1983_UTM_Zone_5N",GEOGCS["GCS_North_American_1983",DATUM["D_North_
26906	NAD_1983_UTM_Zone_6N	PROJCS["NAD_1983_UTM_Zone_6N",GEOGCS["GCS_North_American_1983",DATUM["D_North_
26907	NAD_1983_UTM_Zone_7N	PROJCS["NAD_1983_UTM_Zone_7N",GEOGCS["GCS_North_American_1983",DATUM["D_North_
26908	NAD_1983_UTM_Zone_8N	PROJCS["NAD_1983_UTM_Zone_8N",GEOGCS["GCS_North_American_1983",DATUM["D_North_
26909	NAD_1983_UTM_Zone_9N	PROJCS["NAD_1983_UTM_Zone_9N",GEOGCS["GCS_North_American_1983",DATUM["D_North_
26910	NAD_1983_UTM_Zone_10N	PROJCS["NAD_1983_UTM_Zone_10N",GEOGCS["GCS_North_American_1983",DATUM["D_North
26911	NAD_1983_UTM_Zone_11N	PROJCS["NAD_1983_UTM_Zone_11N",GEOGCS["GCS_North_American_1983",DATUM["D_North
26912	NAD_1983_UTM_Zone_12N	PROJCS["NAD_1983_UTM_Zone_12N",GEOGCS["GCS_North_American_1983",DATUM["D_North
26913	NAD_1983_UTM_Zone_13N	PROJCS["NAD_1983_UTM_Zone_13N",GEOGCS["GCS_North_American_1983",DATUM["D_North
26914	NAD_1983_UTM_Zone_14N	PROJCS["NAD_1983_UTM_Zone_14N",GEOGCS["GCS_North_American_1983",DATUM["D_North
26915	NAD_1983_UTM_Zone_15N	PROJCS["NAD_1983_UTM_Zone_15N",GEOGCS["GCS_North_American_1983",DATUM["D_North
26916	NAD_1983_UTM_Zone_16N	PROJCS["NAD_1983_UTM_Zone_16N",GEOGCS["GCS_North_American_1983",DATUM["D_North
26917	NAD_1983_UTM_Zone_17N	PROJCS["NAD_1983_UTM_Zone_17N",GEOGCS["GCS_North_American_1983",DATUM["D_North
26918	NAD_1983_UTM_Zone_18N	PROJCS["NAD_1983_UTM_Zone_18N",GEOGCS["GCS_North_American_1983",DATUM["D_North

Copyright © 1995-2016 Esri. All rights reserved.

26919	NAD_1983_UTM_Zone_19N	PROJCS["NAD_1983_UTM_Zone_19N",GEOGCS["GCS_North_American_1983",DATUM["D_North
26920	NAD_1983_UTM_Zone_20N	PROJCS["NAD_1983_UTM_Zone_20N",GEOGCS["GCS_North_American_1983",DATUM["D_North
26921	NAD_1983_UTM_Zone_21N	PROJCS["NAD_1983_UTM_Zone_21N",GEOGCS["GCS_North_American_1983",DATUM["D_North
26922	NAD_1983_UTM_Zone_22N	PROJCS["NAD_1983_UTM_Zone_22N",GEOGCS["GCS_North_American_1983",DATUM["D_North
26923	NAD_1983_UTM_Zone_23N	PROJCS["NAD_1983_UTM_Zone_23N",GEOGCS["GCS_North_American_1983",DATUM["D_North
26929	NAD_1983_StatePlane_Alabama_East_FIPS_0101	PROJCS["NAD_1983_StatePlane_Alabama_East_FIPS_0101",GEOGCS["GCS_North_American_1
26930	NAD_1983_StatePlane_Alabama_West_FIPS_0102	PROJCS["NAD_1983_StatePlane_Alabama_West_FIPS_0102",GEOGCS["GCS_North_American_1
26931	NAD_1983_StatePlane_Alaska_1_FIPS_5001	PROJCS["NAD_1983_StatePlane_Alaska_1_FIPS_5001",GEOGCS["GCS_North_American_1983",
26932	NAD_1983_StatePlane_Alaska_2_FIPS_5002	PROJCS["NAD_1983_StatePlane_Alaska_2_FIPS_5002",GEOGCS["GCS_North_American_1983",
26933	NAD_1983_StatePlane_Alaska_3_FIPS_5003	PROJCS["NAD_1983_StatePlane_Alaska_3_FIPS_5003",GEOGCS["GCS_North_American_1983",
26934	NAD_1983_StatePlane_Alaska_4_FIPS_5004	PROJCS["NAD_1983_StatePlane_Alaska_4_FIPS_5004",GEOGCS["GCS_North_American_1983",
26935	NAD_1983_StatePlane_Alaska_5_FIPS_5005	PROJCS["NAD_1983_StatePlane_Alaska_5_FIPS_5005",GEOGCS["GCS_North_American_1983",
26936	NAD_1983_StatePlane_Alaska_6_FIPS_5006	PROJCS["NAD_1983_StatePlane_Alaska_6_FIPS_5006",GEOGCS["GCS_North_American_1983",
26937	NAD_1983_StatePlane_Alaska_7_FIPS_5007	PROJCS["NAD_1983_StatePlane_Alaska_7_FIPS_5007",GEOGCS["GCS_North_American_1983",
26938	NAD_1983_StatePlane_Alaska_8_FIPS_5008	PROJCS["NAD_1983_StatePlane_Alaska_8_FIPS_5008",GEOGCS["GCS_North_American_1983",
26939	NAD_1983_StatePlane_Alaska_9_FIPS_5009	PROJCS["NAD_1983_StatePlane_Alaska_9_FIPS_5009",GEOGCS["GCS_North_American_1983",
26940	NAD_1983_StatePlane_Alaska_10_FIPS_5010	PROJCS["NAD_1983_StatePlane_Alaska_10_FIPS_5010",GEOGCS["GCS_North_American_1983"
26941	NAD_1983_StatePlane_California_I_FIPS_0401	PROJCS["NAD_1983_StatePlane_California_I_FIPS_0401",GEOGCS["GCS_North_American_1983
26942	NAD_1983_StatePlane_California_II_FIPS_0402	PROJCS["NAD_1983_StatePlane_California_II_FIPS_0402",GEOGCS["GCS_North_American_198
26943	NAD_1983_StatePlane_California_III_FIPS_0403	PROJCS["NAD_1983_StatePlane_California_III_FIPS_0403",GEOGCS["GCS_North_American_198
26944	NAD_1983_StatePlane_California_IV_FIPS_0404	PROJCS["NAD_1983_StatePlane_California_IV_FIPS_0404",GEOGCS["GCS_North_American_198
26945	NAD_1983_StatePlane_California_V_FIPS_0405	PROJCS["NAD_1983_StatePlane_California_V_FIPS_0405",GEOGCS["GCS_North_American_198
26946	NAD_1983_StatePlane_California_VI_FIPS_0406	PROJCS["NAD_1983_StatePlane_California_VI_FIPS_0406",GEOGCS["GCS_North_American_198
26948	NAD_1983_StatePlane_Arizona_East_FIPS_0201	PROJCS["NAD_1983_StatePlane_Arizona_East_FIPS_0201",GEOGCS["GCS_North_American_19
26949	NAD_1983_StatePlane_Arizona_Central_FIPS_0202	PROJCS["NAD_1983_StatePlane_Arizona_Central_FIPS_0202",GEOGCS["GCS_North_American_
26950	NAD_1983_StatePlane_Arizona_West_FIPS_0203	PROJCS["NAD_1983_StatePlane_Arizona_West_FIPS_0203",GEOGCS["GCS_North_American_19
26951	NAD_1983_StatePlane_Arkansas_North_FIPS_0301	PROJCS["NAD_1983_StatePlane_Arkansas_North_FIPS_0301",GEOGCS["GCS_North_American_
26952	NAD_1983_StatePlane_Arkansas_South_FIPS_0302	PROJCS["NAD_1983_StatePlane_Arkansas_South_FIPS_0302",GEOGCS["GCS_North_American_
26953	NAD_1983_StatePlane_Colorado_North_FIPS_0501	PROJCS["NAD_1983_StatePlane_Colorado_North_FIPS_0501",GEOGCS["GCS_North_American_
26954	NAD_1983_StatePlane_Colorado_Central_FIPS_0502	PROJCS["NAD_1983_StatePlane_Colorado_Central_FIPS_0502",GEOGCS["GCS_North_American
26955	NAD_1983_StatePlane_Colorado_South_FIPS_0503	PROJCS["NAD_1983_StatePlane_Colorado_South_FIPS_0503",GEOGCS["GCS_North_American_
26956	NAD_1983_StatePlane_Connecticut_FIPS_0600	PROJCS["NAD_1983_StatePlane_Connecticut_FIPS_0600",GEOGCS["GCS_North_American_198
26957	NAD_1983_StatePlane_Delaware_FIPS_0700	PROJCS["NAD_1983_StatePlane_Delaware_FIPS_0700",GEOGCS["GCS_North_American_1983",
26958	NAD_1983_StatePlane_Florida_East_FIPS_0901	PROJCS["NAD_1983_StatePlane_Florida_East_FIPS_0901",GEOGCS["GCS_North_American_198
26959	NAD_1983_StatePlane_Florida_West_FIPS_0902	PROJCS["NAD_1983_StatePlane_Florida_West_FIPS_0902",GEOGCS["GCS_North_American_19
26960	NAD_1983_StatePlane_Florida_North_FIPS_0903	PROJCS["NAD_1983_StatePlane_Florida_North_FIPS_0903",GEOGCS["GCS_North_American_19
26961	NAD_1983_StatePlane_Hawaii_1_FIPS_5101	PROJCS["NAD_1983_StatePlane_Hawaii_1_FIPS_5101",GEOGCS["GCS_North_American_1983",
26962	NAD_1983_StatePlane_Hawaii_2_FIPS_5102	PROJCS["NAD_1983_StatePlane_Hawaii_2_FIPS_5102",GEOGCS["GCS_North_American_1983",
26963	NAD_1983_StatePlane_Hawaii_3_FIPS_5103	PROJCS["NAD_1983_StatePlane_Hawaii_3_FIPS_5103",GEOGCS["GCS_North_American_1983",
26964	NAD_1983_StatePlane_Hawaii_4_FIPS_5104	PROJCS["NAD_1983_StatePlane_Hawaii_4_FIPS_5104",GEOGCS["GCS_North_American_1983",
26965	NAD_1983_StatePlane_Hawaii_5_FIPS_5105	PROJCS["NAD_1983_StatePlane_Hawaii_5_FIPS_5105",GEOGCS["GCS_North_American_1983",
26966	NAD_1983_StatePlane_Georgia_East_FIPS_1001	PROJCS["NAD_1983_StatePlane_Georgia_East_FIPS_1001",GEOGCS["GCS_North_American_19
26967	NAD_1983_StatePlane_Georgia_West_FIPS_1002	PROJCS["NAD_1983_StatePlane_Georgia_West_FIPS_1002",GEOGCS["GCS_North_American_19
26968	NAD_1983_StatePlane_Idaho_East_FIPS_1101	PROJCS["NAD_1983_StatePlane_Idaho_East_FIPS_1101",GEOGCS["GCS_North_American_1983
26969	NAD_1983_StatePlane_Idaho_Central_FIPS_1102	PROJCS["NAD_1983_StatePlane_Idaho_Central_FIPS_1102",GEOGCS["GCS_North_American_19
26970	NAD_1983_StatePlane_Idaho_West_FIPS_1103	PROJCS["NAD_1983_StatePlane_Idaho_West_FIPS_1103",GEOGCS["GCS_North_American_1983
26971	NAD_1983_StatePlane_Illinois_East_FIPS_1201	PROJCS["NAD_1983_StatePlane_Illinois_East_FIPS_1201",GEOGCS["GCS_North_American_198
26972	NAD_1983_StatePlane_Illinois_West_FIPS_1202	PROJCS["NAD_1983_StatePlane_Illinois_West_FIPS_1202",GEOGCS["GCS_North_American_198
26973	NAD_1983_StatePlane_Indiana_East_FIPS_1301	PROJCS["NAD_1983_StatePlane_Indiana_East_FIPS_1301",GEOGCS["GCS_North_American_198
26974	NAD_1983_StatePlane_Indiana_West_FIPS_1302	PROJCS["NAD_1983_StatePlane_Indiana_West_FIPS_1302",GEOGCS["GCS_North_American_19
26975	NAD_1983_StatePlane_Iowa_North_FIPS_1401	PROJCS["NAD_1983_StatePlane_Iowa_North_FIPS_1401",GEOGCS["GCS_North_American_1983
26976	NAD_1983_StatePlane_Iowa_South_FIPS_1402	PROJCS["NAD_1983_StatePlane_Iowa_South_FIPS_1402",GEOGCS["GCS_North_American_1983
26977	NAD_1983_StatePlane_Kansas_North_FIPS_1501	PROJCS["NAD_1983_StatePlane_Kansas_North_FIPS_1501",GEOGCS["GCS_North_American_19
26978	NAD_1983_StatePlane_Kansas_South_FIPS_1502	PROJCS["NAD_1983_StatePlane_Kansas_South_FIPS_1502",GEOGCS["GCS_North_American_1

Copyright © 1995-2016 Esri. All rights reserved.

26980	NAD_1983_StatePlane_Kentucky_South_FIPS_1602	PROJCS["NAD_1983_StatePlane_Kentucky_South_FIPS_1602",GEOGCS["GCS_North_American_
26981	NAD_1983_StatePlane_Louisiana_North_FIPS_1701	PROJCS["NAD_1983_StatePlane_Louisiana_North_FIPS_1701",GEOGCS["GCS_North_American_
26982	NAD_1983_StatePlane_Louisiana_South_FIPS_1702	PROJCS["NAD_1983_StatePlane_Louisiana_South_FIPS_1702",GEOGCS["GCS_North_American_
26983	NAD_1983_StatePlane_Maine_East_FIPS_1801	PROJCS["NAD_1983_StatePlane_Maine_East_FIPS_1801",GEOGCS["GCS_North_American_198
26984	NAD_1983_StatePlane_Maine_West_FIPS_1802	PROJCS["NAD_1983_StatePlane_Maine_West_FIPS_1802",GEOGCS["GCS_North_American_198
26985	NAD_1983_StatePlane_Maryland_FIPS_1900	PROJCS["NAD_1983_StatePlane_Maryland_FIPS_1900",GEOGCS["GCS_North_American_1983",
26986	NAD_1983_StatePlane_Massachusetts_Mainland_FIPS_2001	PROJCS["NAD_1983_StatePlane_Massachusetts_Mainland_FIPS_2001",GEOGCS["GCS_North_A
26987	NAD_1983_StatePlane_Massachusetts_Island_FIPS_2002	PROJCS["NAD_1983_StatePlane_Massachusetts_Island_FIPS_2002",GEOGCS["GCS_North_Ame
26988	NAD_1983_StatePlane_Michigan_North_FIPS_2111	PROJCS["NAD_1983_StatePlane_Michigan_North_FIPS_2111",GEOGCS["GCS_North_American_
26989	NAD_1983_StatePlane_Michigan_Central_FIPS_2112	PROJCS["NAD_1983_StatePlane_Michigan_Central_FIPS_2112",GEOGCS["GCS_North_American
26990	NAD_1983_StatePlane_Michigan_South_FIPS_2113	PROJCS["NAD_1983_StatePlane_Michigan_South_FIPS_2113",GEOGCS["GCS_North_American_
26991	NAD_1983_StatePlane_Minnesota_North_FIPS_2201	PROJCS["NAD_1983_StatePlane_Minnesota_North_FIPS_2201",GEOGCS["GCS_North_American
26992	NAD_1983_StatePlane_Minnesota_Central_FIPS_2202	PROJCS["NAD_1983_StatePlane_Minnesota_Central_FIPS_2202",GEOGCS["GCS_North_America
26993	NAD_1983_StatePlane_Minnesota_South_FIPS_2203	PROJCS["NAD_1983_StatePlane_Minnesota_South_FIPS_2203",GEOGCS["GCS_North_American
26994	NAD_1983_StatePlane_Mississippi_East_FIPS_2301	PROJCS["NAD_1983_StatePlane_Mississippi_East_FIPS_2301",GEOGCS["GCS_North_American_
26995	NAD_1983_StatePlane_Mississippi_West_FIPS_2302	PROJCS["NAD_1983_StatePlane_Mississippi_West_FIPS_2302",GEOGCS["GCS_North_American
26996	NAD_1983_StatePlane_Missouri_East_FIPS_2401	PROJCS["NAD_1983_StatePlane_Missouri_East_FIPS_2401",GEOGCS["GCS_North_American_19
26997	NAD_1983_StatePlane_Missouri_Central_FIPS_2402	PROJCS["NAD_1983_StatePlane_Missouri_Central_FIPS_2402",GEOGCS["GCS_North_American_
26998	NAD_1983_StatePlane_Missouri_West_FIPS_2403	PROJCS["NAD_1983_StatePlane_Missouri_West_FIPS_2403",GEOGCS["GCS_North_American_1
27037	Nahrwan_1967_UTM_Zone_37N	PROJCS["Nahrwan_1967_UTM_Zone_37N",GEOGCS["GCS_Nahrwan_1967",DATUM["D_Nahrwan
27038	Nahrwan_1967_UTM_Zone_38N	PROJCS["Nahrwan_1967_UTM_Zone_38N",GEOGCS["GCS_Nahrwan_1967",DATUM["D_Nahrwan
27039	Nahrwan_1967_UTM_Zone_39N	PROJCS["Nahrwan_1967_UTM_Zone_39N",GEOGCS["GCS_Nahrwan_1967",DATUM["D_Nahrwan
27040	Nahrwan_1967_UTM_Zone_40N	PROJCS["Nahrwan_1967_UTM_Zone_40N",GEOGCS["GCS_Nahrwan_1967",DATUM["D_Nahrwan
27120	Naparima_1972_UTM_Zone_20N	PROJCS["Naparima_1972_UTM_Zone_20N",GEOGCS["GCS_Naparima_1972",DATUM["D_Naparim
27200	GD_1949_New_Zealand_Map_Grid	PROJCS["GD_1949_New_Zealand_Map_Grid",GEOGCS["GCS_New_Zealand_1949",DATUM["D_N
27205	NZGD_1949_Mount_Eden_Circuit	PROJCS["NZGD_1949_Mount_Eden_Circuit",GEOGCS["GCS_New_Zealand_1949",DATUM["D_Ne
27206	NZGD_1949_Bay_of_Plenty_Circuit	PROJCS["NZGD_1949_Bay_of_Plenty_Circuit",GEOGCS["GCS_New_Zealand_1949",DATUM["D_N
27207	NZGD_1949_Poverty_Bay_Circuit	PROJCS["NZGD_1949_Poverty_Bay_Circuit",GEOGCS["GCS_New_Zealand_1949",DATUM["D_Ne
27208	NZGD_1949_Hawkes_Bay_Circuit	PROJCS["NZGD_1949_Hawkes_Bay_Circuit",GEOGCS["GCS_New_Zealand_1949",DATUM["D_Ne
27209	NZGD_1949_Taranaki_Circuit	PROJCS["NZGD_1949_Taranaki_Circuit",GEOGCS["GCS_New_Zealand_1949",DATUM["D_New_Z
27210	NZGD_1949_Tuhirangi_Circuit	PROJCS["NZGD_1949_Tuhirangi_Circuit",GEOGCS["GCS_New_Zealand_1949",DATUM["D_New_
27211	NZGD_1949_Wanganui_Circuit	PROJCS["NZGD_1949_Wanganui_Circuit",GEOGCS["GCS_New_Zealand_1949",DATUM["D_New_
27212	NZGD_1949_Wairarapa_Circuit	PROJCS["NZGD_1949_Wairarapa_Circuit",GEOGCS["GCS_New_Zealand_1949",DATUM["D_New_
27213	NZGD_1949_Wellington_Circuit	PROJCS["NZGD_1949_Wellington_Circuit",GEOGCS["GCS_New_Zealand_1949",DATUM["D_New_
27214	NZGD_1949_Collingwood_Circuit	PROJCS["NZGD_1949_Collingwood_Circuit",GEOGCS["GCS_New_Zealand_1949",DATUM["D_Ne
27215	NZGD_1949_Nelson_Circuit	PROJCS["NZGD_1949_Nelson_Circuit",GEOGCS["GCS_New_Zealand_1949",DATUM["D_New_Ze
27216	NZGD_1949_Karamea_Circuit	PROJCS["NZGD_1949_Karamea_Circuit",GEOGCS["GCS_New_Zealand_1949",DATUM["D_New_Z
27217	NZGD_1949_Buller_Circuit	PROJCS["NZGD_1949_Buller_Circuit",GEOGCS["GCS_New_Zealand_1949",DATUM["D_New_Zea
27218	NZGD_1949_Grey_Circuit	PROJCS["NZGD_1949_Grey_Circuit",GEOGCS["GCS_New_Zealand_1949",DATUM["D_New_Zeal
27219	NZGD_1949_Amuri_Circuit	PROJCS["NZGD_1949_Amuri_Circuit",GEOGCS["GCS_New_Zealand_1949",DATUM["D_New_Zea
27220	NZGD_1949_Marlborough_Circuit	PROJCS["NZGD_1949_Marlborough_Circuit",GEOGCS["GCS_New_Zealand_1949",DATUM["D_Ne
27221	NZGD_1949_Hokitika_Circuit	PROJCS["NZGD_1949_Hokitika_Circuit",GEOGCS["GCS_New_Zealand_1949",DATUM["D_New_Z
27222	NZGD_1949_Okarito_Circuit	PROJCS["NZGD_1949_Okarito_Circuit",GEOGCS["GCS_New_Zealand_1949",DATUM["D_New_Ze
27223	NZGD_1949_Jacksons_Bay_Circuit	PROJCS["NZGD_1949_Jacksons_Bay_Circuit",GEOGCS["GCS_New_Zealand_1949",DATUM["D_N
27224	NZGD_1949_Mount_Pleasant_Circuit	PROJCS["NZGD_1949_Mount_Pleasant_Circuit",GEOGCS["GCS_New_Zealand_1949",DATUM["D_
27225	NZGD_1949_Gawler_Circuit	PROJCS["NZGD_1949_Gawler_Circuit",GEOGCS["GCS_New_Zealand_1949",DATUM["D_New_Ze
27226	NZGD_1949_Timaru_Circuit	PROJCS["NZGD_1949_Timaru_Circuit",GEOGCS["GCS_New_Zealand_1949",DATUM["D_New_Ze
27227	NZGD_1949_Lindis_Peak_Circuit	PROJCS["NZGD_1949_Lindis_Peak_Circuit",GEOGCS["GCS_New_Zealand_1949",DATUM["D_Ne
27228	NZGD_1949_Mount_Nicholas_Circuit	PROJCS["NZGD_1949_Mount_Nicholas_Circuit",GEOGCS["GCS_New_Zealand_1949",DATUM["D_
27229	NZGD_1949_Mount_York_Circuit	PROJCS["NZGD_1949_Mount_York_Circuit",GEOGCS["GCS_New_Zealand_1949",DATUM["D_Ne
27230	NZGD_1949_Observation_Point_Circuit	PROJCS["NZGD_1949_Observation_Point_Circuit",GEOGCS["GCS_New_Zealand_1949",DATUM["
27231	NZGD_1949_North_Taieri_Circuit	PROJCS["NZGD_1949_North_Taieri_Circuit",GEOGCS["GCS_New_Zealand_1949",DATUM["D_Ne
27232	NZGD_1949_Bluff_Circuit	PROJCS["NZGD_1949_Bluff_Circuit",GEOGCS["GCS_New_Zealand_1949",DATUM["D_New_Zeala
27258	NZGD_1949_UTM_Zone_58S	PROJCS["NZGD_1949_UTM_Zone_58S",GEOGCS["GCS_New_Zealand_1949",DATUM["D_New_Z

Copyright © 1995-2016 Esri. All rights reserved.

27259	NZGD_1949_UTM_Zone_59S	PROJCS["NZGD_1949_UTM_Zone_59S",GEOGCS["GCS_New_Zealand_1949",DATUM["D_New_Z
27260	NZGD_1949_UTM_Zone_60S	PROJCS["NZGD_1949_UTM_Zone_60S",GEOGCS["GCS_New_Zealand_1949",DATUM["D_New_Z
27291	New_Zealand_North_Island	PROJCS["New_Zealand_North_Island",GEOGCS["GCS_New_Zealand_1949",DATUM["D_New_Zea
27292	New_Zealand_South_Island	PROJCS["New_Zealand_South_Island",GEOGCS["GCS_New_Zealand_1949",DATUM["D_New_Ze
27391	NGO_1948_Oslo_Norway_Zone_1	PROJCS["NGO_1948_Oslo_Norway_Zone_1",GEOGCS["GCS_NGO_1948_Oslo",DATUM["D_NGO
27392	NGO_1948_Oslo_Norway_Zone_2	PROJCS["NGO_1948_Oslo_Norway_Zone_2",GEOGCS["GCS_NGO_1948_Oslo",DATUM["D_NGO
27393	NGO_1948_Oslo_Norway_Zone_3	PROJCS["NGO_1948_Oslo_Norway_Zone_3",GEOGCS["GCS_NGO_1948_Oslo",DATUM["D_NGO
27394	NGO_1948_Oslo_Norway_Zone_4	PROJCS["NGO_1948_Oslo_Norway_Zone_4",GEOGCS["GCS_NGO_1948_Oslo",DATUM["D_NGO
27395	NGO_1948_Oslo_Norway_Zone_5	PROJCS["NGO_1948_Oslo_Norway_Zone_5",GEOGCS["GCS_NGO_1948_Oslo",DATUM["D_NGO
27396	NGO_1948_Oslo_Norway_Zone_6	PROJCS["NGO_1948_Oslo_Norway_Zone_6",GEOGCS["GCS_NGO_1948_Oslo",DATUM["D_NGO
27397	NGO_1948_Oslo_Norway_Zone_7	PROJCS["NGO_1948_Oslo_Norway_Zone_7",GEOGCS["GCS_NGO_1948_Oslo",DATUM["D_NGO
27398	NGO_1948_Oslo_Norway_Zone_8	PROJCS["NGO_1948_Oslo_Norway_Zone_8",GEOGCS["GCS_NGO_1948_Oslo",DATUM["D_NGO
27429	Datum_73_UTM_Zone_29N	PROJCS["Datum_73_UTM_Zone_29N",GEOGCS["GCS_Datum_73",DATUM["D_Datum_73",SPHE
27493	Datum_73_Modified_Portuguese_Grid	PROJCS["Datum_73_Modified_Portuguese_Grid",GEOGCS["GCS_Datum_73",DATUM["D_Datum_
27500	Nord_de_Guerre	PROJCS["Nord_de_Guerre",GEOGCS["GCS_ATF_Paris",DATUM["D_ATF",SPHEROID["Plessis_18
27561	NTF_Paris_Lambert_Nord_France	PROJCS["NTF_Paris_Lambert_Nord_France",GEOGCS["GCS_NTF_Paris",DATUM["D_NTF",SPHE
27562	NTF_Paris_Lambert_Centre_France	PROJCS["NTF_Paris_Lambert_Centre_France",GEOGCS["GCS_NTF_Paris",DATUM["D_NTF",SPH
27563	NTF_Paris_Lambert_Sud_France	PROJCS["NTF_Paris_Lambert_Sud_France",GEOGCS["GCS_NTF_Paris",DATUM["D_NTF",SPHE
27564	NTF_Paris_Lambert_Corse	PROJCS["NTF_Paris_Lambert_Corse",GEOGCS["GCS_NTF_Paris",DATUM["D_NTF",SPHEROID["
27571	NTF_Paris_Lambert_Zone_I	PROJCS["NTF_Paris_Lambert_Zone_I",GEOGCS["GCS_NTF_Paris",DATUM["D_NTF",SPHEROID
27572	NTF_Paris_Lambert_Zone_II	PROJCS["NTF_Paris_Lambert_Zone_II",GEOGCS["GCS_NTF_Paris",DATUM["D_NTF",SPHEROID
27573	NTF_Paris_Lambert_Zone_III	PROJCS["NTF_Paris_Lambert_Zone_III",GEOGCS["GCS_NTF_Paris",DATUM["D_NTF",SPHEROI
27574	NTF_Paris_Lambert_Zone_IV	PROJCS["NTF_Paris_Lambert_Zone_IV",GEOGCS["GCS_NTF_Paris",DATUM["D_NTF",SPHEROI
27581	NTF_Paris_France_I	PROJCS["NTF_Paris_France_I",GEOGCS["GCS_NTF_Paris",DATUM["D_NTF",SPHEROID["Clarke
27582	NTF_Paris_France_II	PROJCS["NTF_Paris_France_II",GEOGCS["GCS_NTF_Paris",DATUM["D_NTF",SPHEROID["Clark
27583	NTF_Paris_France_III	PROJCS["NTF_Paris_France_III",GEOGCS["GCS_NTF_Paris",DATUM["D_NTF",SPHEROID["Clark
27584	NTF_Paris_France_IV	PROJCS["NTF_Paris_France_IV",GEOGCS["GCS_NTF_Paris",DATUM["D_NTF",SPHEROID["Clark
27591	NTF_Paris_Nord_France	PROJCS["NTF_Paris_Nord_France",GEOGCS["GCS_NTF_Paris",DATUM["D_NTF",SPHEROID["Cl
27592	NTF_Paris_Centre_France	PROJCS["NTF_Paris_Centre_France",GEOGCS["GCS_NTF_Paris",DATUM["D_NTF",SPHEROID[""
27593	NTF_Paris_Sud_France	PROJCS["NTF_Paris_Sud_France",GEOGCS["GCS_NTF_Paris",DATUM["D_NTF",SPHEROID["Cla
27594	NTF_Paris_Corse	PROJCS["NTF_Paris_Corse",GEOGCS["GCS_NTF_Paris",DATUM["D_NTF",SPHEROID["Clarke_1
27700	British_National_Grid	PROJCS["British_National_Grid",GEOGCS["GCS_OSGB_1936",DATUM["D_OSGB_1936",SPHERO
28191	Palestine_1923_Palestine_Grid	PROJCS["Palestine_1923_Palestine_Grid",GEOGCS["GCS_Palestine_1923",DATUM["D_Palestine_
28192	Palestine_1923_Palestine_Belt	PROJCS["Palestine_1923_Palestine_Belt",GEOGCS["GCS_Palestine_1923",DATUM["D_Palestine_
28193	Palestine_1923_Israel_CS_Grid	PROJCS["Palestine_1923_Israel_CS_Grid",GEOGCS["GCS_Palestine_1923",DATUM["D_Palestine
28232	Pointe_Noire_UTM_Zone_32S	PROJCS["Pointe_Noire_UTM_Zone_32S",GEOGCS["GCS_Pointe_Noire",DATUM["D_Pointe_Noire
28348	GDA_1994_MGA_Zone_48	PROJCS["GDA_1994_MGA_Zone_48",GEOGCS["GCS_GDA_1994",DATUM["D_GDA_1994",SPHE
28349	GDA_1994_MGA_Zone_49	PROJCS["GDA_1994_MGA_Zone_49",GEOGCS["GCS_GDA_1994",DATUM["D_GDA_1994",SPHE
28350	GDA_1994_MGA_Zone_50	PROJCS["GDA_1994_MGA_Zone_50",GEOGCS["GCS_GDA_1994",DATUM["D_GDA_1994",SPHE
28351	GDA_1994_MGA_Zone_51	PROJCS["GDA_1994_MGA_Zone_51",GEOGCS["GCS_GDA_1994",DATUM["D_GDA_1994",SPHE
28352	GDA_1994_MGA_Zone_52	PROJCS["GDA_1994_MGA_Zone_52",GEOGCS["GCS_GDA_1994",DATUM["D_GDA_1994",SPHE
28353	GDA_1994_MGA_Zone_53	PROJCS["GDA_1994_MGA_Zone_53",GEOGCS["GCS_GDA_1994",DATUM["D_GDA_1994",SPHE
28354	GDA_1994_MGA_Zone_54	PROJCS["GDA_1994_MGA_Zone_54",GEOGCS["GCS_GDA_1994",DATUM["D_GDA_1994",SPHE
28355	GDA_1994_MGA_Zone_55	PROJCS["GDA_1994_MGA_Zone_55",GEOGCS["GCS_GDA_1994",DATUM["D_GDA_1994",SPHE
28356	GDA_1994_MGA_Zone_56	PROJCS["GDA_1994_MGA_Zone_56",GEOGCS["GCS_GDA_1994",DATUM["D_GDA_1994",SPHE
28357	GDA_1994_MGA_Zone_57	PROJCS["GDA_1994_MGA_Zone_57",GEOGCS["GCS_GDA_1994",DATUM["D_GDA_1994",SPHE
28358	GDA_1994_MGA_Zone_58	PROJCS["GDA_1994_MGA_Zone_58",GEOGCS["GCS_GDA_1994",DATUM["D_GDA_1994",SPHE
28402	Pulkovo_1942_GK_Zone_2	PROJCS["Pulkovo_1942_GK_Zone_2",GEOGCS["GCS_Pulkovo_1942",DATUM["D_Pulkovo_1942"
28403	Pulkovo_1942_GK_Zone_3	PROJCS["Pulkovo_1942_GK_Zone_3",GEOGCS["GCS_Pulkovo_1942",DATUM["D_Pulkovo_1942"
28404	Pulkovo_1942_GK_Zone_4	PROJCS["Pulkovo_1942_GK_Zone_4",GEOGCS["GCS_Pulkovo_1942",DATUM["D_Pulkovo_1942"
28405	Pulkovo_1942_GK_Zone_5	PROJCS["Pulkovo_1942_GK_Zone_5",GEOGCS["GCS_Pulkovo_1942",DATUM["D_Pulkovo_1942"
28406	Pulkovo_1942_GK_Zone_6	PROJCS["Pulkovo_1942_GK_Zone_6",GEOGCS["GCS_Pulkovo_1942",DATUM["D_Pulkovo_1942"
28407	Pulkovo_1942_GK_Zone_7	PROJCS["Pulkovo_1942_GK_Zone_7",GEOGCS["GCS_Pulkovo_1942",DATUM["D_Pulkovo_1942"
28408	Pulkovo_1942_GK_Zone_8	PROJCS["Pulkovo_1942_GK_Zone_8",GEOGCS["GCS_Pulkovo_1942",DATUM["D_Pulkovo_1942"

Copyright © 1995-2016 Esri. All rights reserved.

28409	Pulkovo_1942_GK_Zone_9	PROJCS["Pulkovo_1942_GK_Zone_9",GEOGCS["GCS_Pulkovo_1942",DATUM["D_Pulkovo_1942"
28410	Pulkovo_1942_GK_Zone_10	PROJCS["Pulkovo_1942_GK_Zone_10",GEOGCS["GCS_Pulkovo_1942",DATUM["D_Pulkovo_1942
28411	Pulkovo_1942_GK_Zone_11	PROJCS["Pulkovo_1942_GK_Zone_11",GEOGCS["GCS_Pulkovo_1942",DATUM["D_Pulkovo_1942
28412	Pulkovo_1942_GK_Zone_12	PROJCS["Pulkovo_1942_GK_Zone_12",GEOGCS["GCS_Pulkovo_1942",DATUM["D_Pulkovo_1942
28413	Pulkovo_1942_GK_Zone_13	PROJCS["Pulkovo_1942_GK_Zone_13",GEOGCS["GCS_Pulkovo_1942",DATUM["D_Pulkovo_1942
28414	Pulkovo_1942_GK_Zone_14	PROJCS["Pulkovo_1942_GK_Zone_14",GEOGCS["GCS_Pulkovo_1942",DATUM["D_Pulkovo_1942
28415	Pulkovo_1942_GK_Zone_15	PROJCS["Pulkovo_1942_GK_Zone_15",GEOGCS["GCS_Pulkovo_1942",DATUM["D_Pulkovo_1942
28416	Pulkovo_1942_GK_Zone_16	PROJCS["Pulkovo_1942_GK_Zone_16",GEOGCS["GCS_Pulkovo_1942",DATUM["D_Pulkovo_1942
28417	Pulkovo_1942_GK_Zone_17	PROJCS["Pulkovo_1942_GK_Zone_17",GEOGCS["GCS_Pulkovo_1942",DATUM["D_Pulkovo_1942
28418	Pulkovo_1942_GK_Zone_18	PROJCS["Pulkovo_1942_GK_Zone_18",GEOGCS["GCS_Pulkovo_1942",DATUM["D_Pulkovo_1942
28419	Pulkovo_1942_GK_Zone_19	PROJCS["Pulkovo_1942_GK_Zone_19",GEOGCS["GCS_Pulkovo_1942",DATUM["D_Pulkovo_1942
28420	Pulkovo_1942_GK_Zone_20	PROJCS["Pulkovo_1942_GK_Zone_20",GEOGCS["GCS_Pulkovo_1942",DATUM["D_Pulkovo_1942
28421	Pulkovo_1942_GK_Zone_21	PROJCS["Pulkovo_1942_GK_Zone_21",GEOGCS["GCS_Pulkovo_1942",DATUM["D_Pulkovo_1942
28422	Pulkovo_1942_GK_Zone_22	PROJCS["Pulkovo_1942_GK_Zone_22",GEOGCS["GCS_Pulkovo_1942",DATUM["D_Pulkovo_1942
28423	Pulkovo_1942_GK_Zone_23	PROJCS["Pulkovo_1942_GK_Zone_23",GEOGCS["GCS_Pulkovo_1942",DATUM["D_Pulkovo_1942
28424	Pulkovo_1942_GK_Zone_24	PROJCS["Pulkovo_1942_GK_Zone_24",GEOGCS["GCS_Pulkovo_1942",DATUM["D_Pulkovo_1942
28425	Pulkovo_1942_GK_Zone_25	PROJCS["Pulkovo_1942_GK_Zone_25",GEOGCS["GCS_Pulkovo_1942",DATUM["D_Pulkovo_1942
28426	Pulkovo_1942_GK_Zone_26	PROJCS["Pulkovo_1942_GK_Zone_26",GEOGCS["GCS_Pulkovo_1942",DATUM["D_Pulkovo_1942
28427	Pulkovo_1942_GK_Zone_27	PROJCS["Pulkovo_1942_GK_Zone_27",GEOGCS["GCS_Pulkovo_1942",DATUM["D_Pulkovo_1942
28428	Pulkovo_1942_GK_Zone_28	PROJCS["Pulkovo_1942_GK_Zone_28",GEOGCS["GCS_Pulkovo_1942",DATUM["D_Pulkovo_1942
28429	Pulkovo_1942_GK_Zone_29	PROJCS["Pulkovo_1942_GK_Zone_29",GEOGCS["GCS_Pulkovo_1942",DATUM["D_Pulkovo_1942
28430	Pulkovo_1942_GK_Zone_30	PROJCS["Pulkovo_1942_GK_Zone_30",GEOGCS["GCS_Pulkovo_1942",DATUM["D_Pulkovo_1942
28431	Pulkovo_1942_GK_Zone_31	PROJCS["Pulkovo_1942_GK_Zone_31",GEOGCS["GCS_Pulkovo_1942",DATUM["D_Pulkovo_1942
28432	Pulkovo_1942_GK_Zone_32	PROJCS["Pulkovo_1942_GK_Zone_32",GEOGCS["GCS_Pulkovo_1942",DATUM["D_Pulkovo_1942
28462	Pulkovo_1942_GK_Zone_2N	PROJCS["Pulkovo_1942_GK_Zone_2N",GEOGCS["GCS_Pulkovo_1942",DATUM["D_Pulkovo_194
28463	Pulkovo_1942_GK_Zone_3N	PROJCS["Pulkovo_1942_GK_Zone_3N",GEOGCS["GCS_Pulkovo_1942",DATUM["D_Pulkovo_194
28464	Pulkovo_1942_GK_Zone_4N	PROJCS["Pulkovo_1942_GK_Zone_4N",GEOGCS["GCS_Pulkovo_1942",DATUM["D_Pulkovo_194
28465	Pulkovo_1942_GK_Zone_5N	PROJCS["Pulkovo_1942_GK_Zone_5N",GEOGCS["GCS_Pulkovo_1942",DATUM["D_Pulkovo_194
28466	Pulkovo_1942_GK_Zone_6N	PROJCS["Pulkovo_1942_GK_Zone_6N",GEOGCS["GCS_Pulkovo_1942",DATUM["D_Pulkovo_194
28467	Pulkovo_1942_GK_Zone_7N	PROJCS["Pulkovo_1942_GK_Zone_7N",GEOGCS["GCS_Pulkovo_1942",DATUM["D_Pulkovo_194
28468	Pulkovo_1942_GK_Zone_8N	PROJCS["Pulkovo_1942_GK_Zone_8N",GEOGCS["GCS_Pulkovo_1942",DATUM["D_Pulkovo_194
28469	Pulkovo_1942_GK_Zone_9N	PROJCS["Pulkovo_1942_GK_Zone_9N",GEOGCS["GCS_Pulkovo_1942",DATUM["D_Pulkovo_194
28470	Pulkovo_1942_GK_Zone_10N	PROJCS["Pulkovo_1942_GK_Zone_10N",GEOGCS["GCS_Pulkovo_1942",DATUM["D_Pulkovo_19
28471	Pulkovo_1942_GK_Zone_11N	PROJCS["Pulkovo_1942_GK_Zone_11N",GEOGCS["GCS_Pulkovo_1942",DATUM["D_Pulkovo_19
28472	Pulkovo_1942_GK_Zone_12N	PROJCS["Pulkovo_1942_GK_Zone_12N",GEOGCS["GCS_Pulkovo_1942",DATUM["D_Pulkovo_19
28473	Pulkovo_1942_GK_Zone_13N	PROJCS["Pulkovo_1942_GK_Zone_13N",GEOGCS["GCS_Pulkovo_1942",DATUM["D_Pulkovo_19
28474	Pulkovo_1942_GK_Zone_14N	PROJCS["Pulkovo_1942_GK_Zone_14N",GEOGCS["GCS_Pulkovo_1942",DATUM["D_Pulkovo_19
28475	Pulkovo_1942_GK_Zone_15N	PROJCS["Pulkovo_1942_GK_Zone_15N",GEOGCS["GCS_Pulkovo_1942",DATUM["D_Pulkovo_19
28476	Pulkovo_1942_GK_Zone_16N	PROJCS["Pulkovo_1942_GK_Zone_16N",GEOGCS["GCS_Pulkovo_1942",DATUM["D_Pulkovo_19
28477	Pulkovo_1942_GK_Zone_17N	PROJCS["Pulkovo_1942_GK_Zone_17N",GEOGCS["GCS_Pulkovo_1942",DATUM["D_Pulkovo_19
28478	Pulkovo_1942_GK_Zone_18N	PROJCS["Pulkovo_1942_GK_Zone_18N",GEOGCS["GCS_Pulkovo_1942",DATUM["D_Pulkovo_19
28479	Pulkovo_1942_GK_Zone_19N	PROJCS["Pulkovo_1942_GK_Zone_19N",GEOGCS["GCS_Pulkovo_1942",DATUM["D_Pulkovo_19
28480	Pulkovo_1942_GK_Zone_20N	PROJCS["Pulkovo_1942_GK_Zone_20N",GEOGCS["GCS_Pulkovo_1942",DATUM["D_Pulkovo_19
28481	Pulkovo_1942_GK_Zone_21N	PROJCS["Pulkovo_1942_GK_Zone_21N",GEOGCS["GCS_Pulkovo_1942",DATUM["D_Pulkovo_19
28482	Pulkovo_1942_GK_Zone_22N	PROJCS["Pulkovo_1942_GK_Zone_22N",GEOGCS["GCS_Pulkovo_1942",DATUM["D_Pulkovo_19
28483	Pulkovo_1942_GK_Zone_23N	PROJCS["Pulkovo_1942_GK_Zone_23N",GEOGCS["GCS_Pulkovo_1942",DATUM["D_Pulkovo_19
28484	Pulkovo_1942_GK_Zone_24N	PROJCS["Pulkovo_1942_GK_Zone_24N",GEOGCS["GCS_Pulkovo_1942",DATUM["D_Pulkovo_19
28485	Pulkovo_1942_GK_Zone_25N	PROJCS["Pulkovo_1942_GK_Zone_25N",GEOGCS["GCS_Pulkovo_1942",DATUM["D_Pulkovo_19
28486	Pulkovo_1942_GK_Zone_26N	PROJCS["Pulkovo_1942_GK_Zone_26N",GEOGCS["GCS_Pulkovo_1942",DATUM["D_Pulkovo_19
28487	Pulkovo_1942_GK_Zone_27N	PROJCS["Pulkovo_1942_GK_Zone_27N",GEOGCS["GCS_Pulkovo_1942",DATUM["D_Pulkovo_19
28488	Pulkovo_1942_GK_Zone_28N	PROJCS["Pulkovo_1942_GK_Zone_28N",GEOGCS["GCS_Pulkovo_1942",DATUM["D_Pulkovo_19
28489	Pulkovo_1942_GK_Zone_29N	PROJCS["Pulkovo_1942_GK_Zone_29N",GEOGCS["GCS_Pulkovo_1942",DATUM["D_Pulkovo_19
28490	Pulkovo_1942_GK_Zone_30N	PROJCS["Pulkovo_1942_GK_Zone_30N",GEOGCS["GCS_Pulkovo_1942",DATUM["D_Pulkovo_19
28491	Pulkovo_1942_GK_Zone_31N	PROJCS["Pulkovo_1942_GK_Zone_31N",GEOGCS["GCS_Pulkovo_1942",DATUM["D_Pulkovo_19

Copyright © 1995-2016 Esri. All rights reserved.

28492	Pulkovo_1942_GK_Zone_32N	PROJCS["Pulkovo_1942_GK_Zone_32N",GEOGCS["GCS_Pulkovo_1942",DATUM["D_Pulkovo_194
28600	Qatar_National_Grid	PROJCS["Qatar_National_Grid",GEOGCS["GCS_Qatar_1974",DATUM["D_Qatar",SPHEROID["Inter
28991	RD_Old	PROJCS["RD_Old",GEOGCS["GCS_Amersfoort",DATUM["D_Amersfoort",SPHEROID["Bessel_1841
28992	RD_New	PROJCS["RD_New",GEOGCS["GCS_Amersfoort",DATUM["D_Amersfoort",SPHEROID["Bessel_184
29101	SAD_1969_Brazil_Polyconic	PROJCS["SAD_1969_Brazil_Polyconic",GEOGCS["GCS_South_American_1969",DATUM["D_South
29168	SAD_1969_UTM_Zone_18N	PROJCS["SAD_1969_UTM_Zone_18N",GEOGCS["GCS_South_American_1969",DATUM["D_South
29169	SAD_1969_UTM_Zone_19N	PROJCS["SAD_1969_UTM_Zone_19N",GEOGCS["GCS_South_American_1969",DATUM["D_South
29170	SAD_1969_UTM_Zone_20N	PROJCS["SAD_1969_UTM_Zone_20N",GEOGCS["GCS_South_American_1969",DATUM["D_South
29171	SAD_1969_UTM_Zone_21N	PROJCS["SAD_1969_UTM_Zone_21N",GEOGCS["GCS_South_American_1969",DATUM["D_South
29172	SAD_1969_UTM_Zone_22N	PROJCS["SAD_1969_UTM_Zone_22N",GEOGCS["GCS_South_American_1969",DATUM["D_South
29187	SAD_1969_UTM_Zone_17S	PROJCS["SAD_1969_UTM_Zone_17S",GEOGCS["GCS_South_American_1969",DATUM["D_South
29188	SAD_1969_UTM_Zone_18S	PROJCS["SAD_1969_UTM_Zone_18S",GEOGCS["GCS_South_American_1969",DATUM["D_South
29189	SAD_1969_UTM_Zone_19S	PROJCS["SAD_1969_UTM_Zone_19S",GEOGCS["GCS_South_American_1969",DATUM["D_South
29190	SAD_1969_UTM_Zone_20S	PROJCS["SAD_1969_UTM_Zone_20S",GEOGCS["GCS_South_American_1969",DATUM["D_South
29191	SAD_1969_UTM_Zone_21S	PROJCS["SAD_1969_UTM_Zone_21S",GEOGCS["GCS_South_American_1969",DATUM["D_South
29192	SAD_1969_UTM_Zone_22S	PROJCS["SAD_1969_UTM_Zone_22S",GEOGCS["GCS_South_American_1969",DATUM["D_South
29193	SAD_1969_UTM_Zone_23S	PROJCS["SAD_1969_UTM_Zone_23S",GEOGCS["GCS_South_American_1969",DATUM["D_South
29194	SAD_1969_UTM_Zone_24S	PROJCS["SAD_1969_UTM_Zone_24S",GEOGCS["GCS_South_American_1969",DATUM["D_South
29195	SAD_1969_UTM_Zone_25S	PROJCS["SAD_1969_UTM_Zone_25S",GEOGCS["GCS_South_American_1969",DATUM["D_South
29220	Sapper_Hill_1943_UTM_Zone_20S	PROJCS["Sapper_Hill_1943_UTM_Zone_20S",GEOGCS["GCS_Sapper_Hill_1943",DATUM["D_Sap
29221	Sapper_Hill_1943_UTM_Zone_21S	PROJCS["Sapper_Hill_1943_UTM_Zone_21S",GEOGCS["GCS_Sapper_Hill_1943",DATUM["D_Sap
29333	Schwarzeck_UTM_Zone_33S	PROJCS["Schwarzeck_UTM_Zone_33S",GEOGCS["GCS_Schwarzeck",DATUM["D_Schwarzeck",S
29635	Sudan_UTM_Zone_35N	PROJCS["Sudan_UTM_Zone_35N",GEOGCS["GCS_Sudan",DATUM["D_Sudan",SPHEROID["Clark
29636	Sudan_UTM_Zone_36N	PROJCS["Sudan_UTM_Zone_36N",GEOGCS["GCS_Sudan",DATUM["D_Sudan",SPHEROID["Clark
29701	Tananarive_1925_Paris_Laborde_Grid	PROJCS["Tananarive_1925_Paris_Laborde_Grid",GEOGCS["GCS_Tananarive_1925_Paris",DATUM
29738	Tananarive_1925_UTM_Zone_38S	PROJCS["Tananarive_1925_UTM_Zone_38S",GEOGCS["GCS_Tananarive_1925",DATUM["D_Tana
29739	Tananarive_1925_UTM_Zone_39S	PROJCS["Tananarive_1925_UTM_Zone_39S",GEOGCS["GCS_Tananarive_1925",DATUM["D_Tana
29849	Timbalai_1948_UTM_Zone_49N	PROJCS["Timbalai_1948_UTM_Zone_49N",GEOGCS["GCS_Timbalai_1948",DATUM["D_Timbalai_
29850	Timbalai_1948_UTM_Zone_50N	PROJCS["Timbalai_1948_UTM_Zone_50N",GEOGCS["GCS_Timbalai_1948",DATUM["D_Timbalai_
29871	Timbalai_1948_RSO_Borneo_Chains	PROJCS["Timbalai_1948_RSO_Borneo_Chains",GEOGCS["GCS_Timbalai_1948",DATUM["D_Timb
29872	Timbalai_1948_RSO_Borneo_Feet	PROJCS["Timbalai_1948_RSO_Borneo_Feet",GEOGCS["GCS_Timbalai_1948",DATUM["D_Timbala
29873	Timbalai_1948_RSO_Borneo_Meters	PROJCS["Timbalai_1948_RSO_Borneo_Meters",GEOGCS["GCS_Timbalai_1948",DATUM["D_Timb
29901	OSNI_1952_Irish_National_Grid	PROJCS["OSNI_1952_Irish_National_Grid",GEOGCS["GCS_OSNI_1952",DATUM["D_OSNI_1952",
29902	TM65_Irish_Grid	PROJCS["TM65_Irish_Grid",GEOGCS["GCS_TM65",DATUM["D_TM65",SPHEROID["Airy_Modified"
29903	TM75_Irish_Grid	PROJCS["TM75_Irish_Grid",GEOGCS["GCS_TM75",DATUM["D_TM75",SPHEROID["Airy_Modified"
30161	Japan_Zone_1	PROJCS["Japan_Zone_1",GEOGCS["GCS_Tokyo",DATUM["D_Tokyo",SPHEROID["Bessel_1841",6
30162	Japan_Zone_2	PROJCS["Japan_Zone_2",GEOGCS["GCS_Tokyo",DATUM["D_Tokyo",SPHEROID["Bessel_1841",6
30163	Japan_Zone_3	PROJCS["Japan_Zone_3",GEOGCS["GCS_Tokyo",DATUM["D_Tokyo",SPHEROID["Bessel_1841",6
30164	Japan_Zone_4	PROJCS["Japan_Zone_4",GEOGCS["GCS_Tokyo",DATUM["D_Tokyo",SPHEROID["Bessel_1841",6
30165	Japan_Zone_5	PROJCS["Japan_Zone_5",GEOGCS["GCS_Tokyo",DATUM["D_Tokyo",SPHEROID["Bessel_1841",6
30166	Japan_Zone_6	PROJCS["Japan_Zone_6",GEOGCS["GCS_Tokyo",DATUM["D_Tokyo",SPHEROID["Bessel_1841",6
30167	Japan_Zone_7	PROJCS["Japan_Zone_7",GEOGCS["GCS_Tokyo",DATUM["D_Tokyo",SPHEROID["Bessel_1841",6
30168	Japan_Zone_8	PROJCS["Japan_Zone_8",GEOGCS["GCS_Tokyo",DATUM["D_Tokyo",SPHEROID["Bessel_1841",6
30169	Japan_Zone_9	PROJCS["Japan_Zone_9",GEOGCS["GCS_Tokyo",DATUM["D_Tokyo",SPHEROID["Bessel_1841",6
30170	Japan_Zone_10	PROJCS["Japan_Zone_10",GEOGCS["GCS_Tokyo",DATUM["D_Tokyo",SPHEROID["Bessel_1841",
30171	Japan_Zone_11	PROJCS["Japan_Zone_11",GEOGCS["GCS_Tokyo",DATUM["D_Tokyo",SPHEROID["Bessel_1841",
30172	Japan_Zone_12	PROJCS["Japan_Zone_12",GEOGCS["GCS_Tokyo",DATUM["D_Tokyo",SPHEROID["Bessel_1841",
30173	Japan_Zone_13	PROJCS["Japan_Zone_13",GEOGCS["GCS_Tokyo",DATUM["D_Tokyo",SPHEROID["Bessel_1841",
30174	Japan_Zone_14	PROJCS["Japan_Zone_14",GEOGCS["GCS_Tokyo",DATUM["D_Tokyo",SPHEROID["Bessel_1841",
30175	Japan_Zone_15	PROJCS["Japan_Zone_15",GEOGCS["GCS_Tokyo",DATUM["D_Tokyo",SPHEROID["Bessel_1841",
30176	Japan_Zone_16	PROJCS["Japan_Zone_16",GEOGCS["GCS_Tokyo",DATUM["D_Tokyo",SPHEROID["Bessel_1841",
30177	Japan_Zone_17	PROJCS["Japan_Zone_17",GEOGCS["GCS_Tokyo",DATUM["D_Tokyo",SPHEROID["Bessel_1841",
30178	Japan_Zone_18	PROJCS["Japan_Zone_18",GEOGCS["GCS_Tokyo",DATUM["D_Tokyo",SPHEROID["Bessel_1841",
30179	Japan_Zone_19	PROJCS["Japan_Zone_19",GEOGCS["GCS_Tokyo",DATUM["D_Tokyo",SPHEROID["Bessel_1841",

Copyright © 1995-2016 Esri. All rights reserved.

30200	Trinidad_1903_Trinidad_Grid	PROJCS["Trinidad_1903_Trinidad_Grid",GEOGCS["GCS_Trinidad_1903",DATUM["D_Trinidad_190
30339	TC_1948_UTM_Zone_39N	PROJCS["TC_1948_UTM_Zone_39N",GEOGCS["GCS_Trucial_Coast_1948",DATUM["D_Trucial_C
30340	TC_1948_UTM_Zone_40N	PROJCS["TC_1948_UTM_Zone_40N",GEOGCS["GCS_Trucial_Coast_1948",DATUM["D_Trucial_C
30491	Nord_Algerie_Ancienne	PROJCS["Nord_Algerie_Ancienne",GEOGCS["GCS_Voirol_1875",DATUM["D_Voirol_1875",SPHER
30492	Sud_Algerie_Ancienne	PROJCS["Sud_Algerie_Ancienne",GEOGCS["GCS_Voirol_1875",DATUM["D_Voirol_1875",SPHERO
30493	Voirol_1879_Nord_Algerie_Ancienne	PROJCS["Voirol_1879_Nord_Algerie_Ancienne",GEOGCS["GCS_Voirol_1879",DATUM["D_Voirol_1
30494	Voirol_1879_Sud_Algerie_Ancienne	PROJCS["Voirol_1879_Sud_Algerie_Ancienne",GEOGCS["GCS_Voirol_1879",DATUM["D_Voirol_18
30591	Nord_Algerie	PROJCS["Nord_Algerie",GEOGCS["GCS_Voirol_Unifie_1960",DATUM["D_Voirol_Unifie_1960",SPH
30592	Sud_Algerie	PROJCS["Sud_Algerie",GEOGCS["GCS_Voirol_Unifie_1960",DATUM["D_Voirol_Unifie_1960",SPHE
30729	Nord_Sahara_1959_UTM_Zone_29N	PROJCS["Nord_Sahara_1959_UTM_Zone_29N",GEOGCS["GCS_Nord_Sahara_1959",DATUM["D_
30730	Nord_Sahara_1959_UTM_Zone_30N	PROJCS["Nord_Sahara_1959_UTM_Zone_30N",GEOGCS["GCS_Nord_Sahara_1959",DATUM["D_
30731	Nord_Sahara_1959_UTM_Zone_31N	PROJCS["Nord_Sahara_1959_UTM_Zone_31N",GEOGCS["GCS_Nord_Sahara_1959",DATUM["D_
30732	Nord_Sahara_1959_UTM_Zone_32N	PROJCS["Nord_Sahara_1959_UTM_Zone_32N",GEOGCS["GCS_Nord_Sahara_1959",DATUM["D_
30791	Nord_Sahara_1959_Voirol_Unifie_Nord	PROJCS["Nord_Sahara_1959_Voirol_Unifie_Nord",GEOGCS["GCS_Nord_Sahara_1959",DATUM["I
30792	Nord_Sahara_1959_Voirol_Unifie_Sud	PROJCS["Nord_Sahara_1959_Voirol_Unifie_Sud",GEOGCS["GCS_Nord_Sahara_1959",DATUM["D
31028	Yoff_1972_UTM_Zone_28N	PROJCS["Yoff_1972_UTM_Zone_28N",GEOGCS["GCS_Yoff",DATUM["D_Yoff",SPHEROID["Clarke_
31121	Zanderij_1972_UTM_Zone_21N	PROJCS["Zanderij_1972_UTM_Zone_21N",GEOGCS["GCS_Zanderij",DATUM["D_Zanderij",SPHER
31154	Zanderij_TM_54_NW	PROJCS["Zanderij_TM_54_NW",GEOGCS["GCS_Zanderij",DATUM["D_Zanderij",SPHEROID["Inter
31170	Zanderij_Suriname_Old_TM	PROJCS["Zanderij_Suriname_Old_TM",GEOGCS["GCS_Zanderij",DATUM["D_Zanderij",SPHEROID
31171	Zanderij_Suriname_TM	PROJCS["Zanderij_Suriname_TM",GEOGCS["GCS_Zanderij",DATUM["D_Zanderij",SPHEROID["Int
31251	MGI_Ferro_Austria_GK_West	PROJCS["MGI_Ferro_Austria_GK_West",GEOGCS["GCS_MGI_Ferro",DATUM["D_MGI",SPHEROI
31252	MGI_Ferro_Austria_GK_Central	PROJCS["MGI_Ferro_Austria_GK_Central",GEOGCS["GCS_MGI_Ferro",DATUM["D_MGI",SPHER
31253	MGI_Ferro_Austria_GK_East	PROJCS["MGI_Ferro_Austria_GK_East",GEOGCS["GCS_MGI_Ferro",DATUM["D_MGI",SPHEROID
31254	MGI_Austria_GK_West	PROJCS["MGI_Austria_GK_West",GEOGCS["GCS_MGI",DATUM["D_MGI",SPHEROID["Bessel_18
31255	MGI_Austria_GK_Central	PROJCS["MGI_Austria_GK_Central",GEOGCS["GCS_MGI",DATUM["D_MGI",SPHEROID["Bessel_
31256	MGI_Austria_GK_East	PROJCS["MGI_Austria_GK_East",GEOGCS["GCS_MGI",DATUM["D_MGI",SPHEROID["Bessel_184
31257	MGI_Austria_GK_M28	PROJCS["MGI_Austria_GK_M28",GEOGCS["GCS_MGI",DATUM["D_MGI",SPHEROID["Bessel_184
31258	MGI_Austria_GK_M31	PROJCS["MGI_Austria_GK_M31",GEOGCS["GCS_MGI",DATUM["D_MGI",SPHEROID["Bessel_184
31259	MGI_Austria_GK_M34	PROJCS["MGI_Austria_GK_M34",GEOGCS["GCS_MGI",DATUM["D_MGI",SPHEROID["Bessel_184
31265	MGI_3_Degree_Gauss_Zone_5	PROJCS["MGI_3_Degree_Gauss_Zone_5",GEOGCS["GCS_MGI",DATUM["D_MGI",SPHEROID["B
31266	MGI_3_Degree_Gauss_Zone_6	PROJCS["MGI_3_Degree_Gauss_Zone_6",GEOGCS["GCS_MGI",DATUM["D_MGI",SPHEROID["B
31267	MGI_3_Degree_Gauss_Zone_7	PROJCS["MGI_3_Degree_Gauss_Zone_7",GEOGCS["GCS_MGI",DATUM["D_MGI",SPHEROID["B
31268	MGI_3_Degree_Gauss_Zone_8	PROJCS["MGI_3_Degree_Gauss_Zone_8",GEOGCS["GCS_MGI",DATUM["D_MGI",SPHEROID["B
31275	MGI_Balkans_5	PROJCS["MGI_Balkans_5",GEOGCS["GCS_MGI",DATUM["D_MGI",SPHEROID["Bessel_1841",637
31276	MGI_Balkans_6	PROJCS["MGI_Balkans_6",GEOGCS["GCS_MGI",DATUM["D_MGI",SPHEROID["Bessel_1841",637
31277	MGI_Balkans_7	PROJCS["MGI_Balkans_7",GEOGCS["GCS_MGI",DATUM["D_MGI",SPHEROID["Bessel_1841",637
31279	MGI_Balkans_8	PROJCS["MGI_Balkans_8",GEOGCS["GCS_MGI",DATUM["D_MGI",SPHEROID["Bessel_1841",637
31281	Austria_West_Zone	PROJCS["Austria_West_Zone",GEOGCS["GCS_MGI_Ferro",DATUM["D_MGI",SPHEROID["Bessel_
31282	Austria_Central_Zone	PROJCS["Austria_Central_Zone",GEOGCS["GCS_MGI_Ferro",DATUM["D_MGI",SPHEROID["Bess
31283	Austria_East_Zone	PROJCS["Austria_East_Zone",GEOGCS["GCS_MGI_Ferro",DATUM["D_MGI",SPHEROID["Bessel_
31284	MGI_M28	PROJCS["MGI_M28",GEOGCS["GCS_MGI",DATUM["D_MGI",SPHEROID["Bessel_1841",6377397.
31285	MGI_M31	PROJCS["MGI_M31",GEOGCS["GCS_MGI",DATUM["D_MGI",SPHEROID["Bessel_1841",6377397.
31286	MGI_M34	PROJCS["MGI_M34",GEOGCS["GCS_MGI",DATUM["D_MGI",SPHEROID["Bessel_1841",6377397.
31287	MGI_Austria_Lambert	PROJCS["MGI_Austria_Lambert",GEOGCS["GCS_MGI",DATUM["D_MGI",SPHEROID["Bessel_184
31288	MGI_Ferro_M28	PROJCS["MGI_Ferro_M28",GEOGCS["GCS_MGI_Ferro",DATUM["D_MGI",SPHEROID["Bessel_18
31289	MGI_Ferro_M31	PROJCS["MGI_Ferro_M31",GEOGCS["GCS_MGI_Ferro",DATUM["D_MGI",SPHEROID["Bessel_18
31290	MGI_Ferro_M34	PROJCS["MGI_Ferro_M34",GEOGCS["GCS_MGI_Ferro",DATUM["D_MGI",SPHEROID["Bessel_18
31370	Belge_Lambert_1972	PROJCS["Belge_Lambert_1972",GEOGCS["GCS_Belge_1972",DATUM["D_Belge_1972",SPHEROI
31466	DHDN_3_Degree_Gauss_Zone_2	PROJCS["DHDN_3_Degree_Gauss_Zone_2",GEOGCS["GCS_Deutsches_Hauptdreiecksnetz",DAT
31467	DHDN_3_Degree_Gauss_Zone_3	PROJCS["DHDN_3_Degree_Gauss_Zone_3",GEOGCS["GCS_Deutsches_Hauptdreiecksnetz",DAT
31468	DHDN_3_Degree_Gauss_Zone_4	PROJCS["DHDN_3_Degree_Gauss_Zone_4",GEOGCS["GCS_Deutsches_Hauptdreiecksnetz",DAT
31469	DHDN_3_Degree_Gauss_Zone_5	PROJCS["DHDN_3_Degree_Gauss_Zone_5",GEOGCS["GCS_Deutsches_Hauptdreiecksnetz",DAT
31491	Germany_Zone_1	PROJCS["Germany_Zone_1",GEOGCS["GCS_Deutsches_Hauptdreiecksnetz",DATUM["D_Deutsch
31492	Germany_Zone_2	PROJCS["Germany_Zone_2",GEOGCS["GCS_Deutsches_Hauptdreiecksnetz",DATUM["D_Deutsch

Copyright © 1995-2016 Esri. All rights reserved.

31493	Germany_Zone_3	PROJCS["Germany_Zone_3",GEOGCS["GCS_Deutsches_Hauptdreiecksnetz",DATUM["D_Deutsch
31494	Germany_Zone_4	PROJCS["Germany_Zone_4",GEOGCS["GCS_Deutsches_Hauptdreiecksnetz",DATUM["D_Deutsch
31495	Germany_Zone_5	PROJCS["Germany_Zone_5",GEOGCS["GCS_Deutsches_Hauptdreiecksnetz",DATUM["D_Deutsch
31528	Conakry_1905_UTM_Zone_28N	PROJCS["Conakry_1905_UTM_Zone_28N",GEOGCS["GCS_Conakry_1905",DATUM["D_Conakry_
31529	Conakry_1905_UTM_Zone_29N	PROJCS["Conakry_1905_UTM_Zone_29N",GEOGCS["GCS_Conakry_1905",DATUM["D_Conakry_
31600	Stereo_33	PROJCS["Stereo_33",GEOGCS["GCS_Dealul_Piscului_1933",DATUM["D_Dealul_Piscului_1933",S
31700	Stereo_70	PROJCS["Stereo_70",GEOGCS["GCS_Dealul_Piscului_1970",DATUM["D_Dealul_Piscului_1970",S
31838	NGN_UTM_Zone_38N	PROJCS["NGN_UTM_Zone_38N",GEOGCS["GCS_NGN",DATUM["D_NGN",SPHEROID["WGS_19
31839	NGN_UTM_Zone_39N	PROJCS["NGN_UTM_Zone_39N",GEOGCS["GCS_NGN",DATUM["D_NGN",SPHEROID["WGS_19
31901	KUDAMS_KTM	PROJCS["KUDAMS_KTM",GEOGCS["GCS_KUDAMS",DATUM["D_Kuwait_Utility",SPHEROID["GR
31965	SIRGAS_2000_UTM_Zone_11N	PROJCS["SIRGAS_2000_UTM_Zone_11N",GEOGCS["GCS_SIRGAS_2000",DATUM["D_SIRGAS_
31966	SIRGAS_2000_UTM_Zone_12N	PROJCS["SIRGAS_2000_UTM_Zone_12N",GEOGCS["GCS_SIRGAS_2000",DATUM["D_SIRGAS_
31967	SIRGAS_2000_UTM_Zone_13N	PROJCS["SIRGAS_2000_UTM_Zone_13N",GEOGCS["GCS_SIRGAS_2000",DATUM["D_SIRGAS_
31968	SIRGAS_2000_UTM_Zone_14N	PROJCS["SIRGAS_2000_UTM_Zone_14N",GEOGCS["GCS_SIRGAS_2000",DATUM["D_SIRGAS_
31969	SIRGAS_2000_UTM_Zone_15N	PROJCS["SIRGAS_2000_UTM_Zone_15N",GEOGCS["GCS_SIRGAS_2000",DATUM["D_SIRGAS_
31970	SIRGAS_2000_UTM_Zone_16N	PROJCS["SIRGAS_2000_UTM_Zone_16N",GEOGCS["GCS_SIRGAS_2000",DATUM["D_SIRGAS_
31971	SIRGAS_2000_UTM_Zone_17N	PROJCS["SIRGAS_2000_UTM_Zone_17N",GEOGCS["GCS_SIRGAS_2000",DATUM["D_SIRGAS_
31972	SIRGAS_2000_UTM_Zone_18N	PROJCS["SIRGAS_2000_UTM_Zone_18N",GEOGCS["GCS_SIRGAS_2000",DATUM["D_SIRGAS_
31973	SIRGAS_2000_UTM_Zone_19N	PROJCS["SIRGAS_2000_UTM_Zone_19N",GEOGCS["GCS_SIRGAS_2000",DATUM["D_SIRGAS_
31974	SIRGAS_2000_UTM_Zone_20N	PROJCS["SIRGAS_2000_UTM_Zone_20N",GEOGCS["GCS_SIRGAS_2000",DATUM["D_SIRGAS_
31975	SIRGAS_2000_UTM_Zone_21N	PROJCS["SIRGAS_2000_UTM_Zone_21N",GEOGCS["GCS_SIRGAS_2000",DATUM["D_SIRGAS_
31976	SIRGAS_2000_UTM_Zone_22N	PROJCS["SIRGAS_2000_UTM_Zone_22N",GEOGCS["GCS_SIRGAS_2000",DATUM["D_SIRGAS_
31977	SIRGAS_2000_UTM_Zone_17S	PROJCS["SIRGAS_2000_UTM_Zone_17S",GEOGCS["GCS_SIRGAS_2000",DATUM["D_SIRGAS_
31978	SIRGAS_2000_UTM_Zone_18S	PROJCS["SIRGAS_2000_UTM_Zone_18S",GEOGCS["GCS_SIRGAS_2000",DATUM["D_SIRGAS_
31979	SIRGAS_2000_UTM_Zone_19S	PROJCS["SIRGAS_2000_UTM_Zone_19S",GEOGCS["GCS_SIRGAS_2000",DATUM["D_SIRGAS_
31980	SIRGAS_2000_UTM_Zone_20S	PROJCS["SIRGAS_2000_UTM_Zone_20S",GEOGCS["GCS_SIRGAS_2000",DATUM["D_SIRGAS_
31981	SIRGAS_2000_UTM_Zone_21S	PROJCS["SIRGAS_2000_UTM_Zone_21S",GEOGCS["GCS_SIRGAS_2000",DATUM["D_SIRGAS_
31982	SIRGAS_2000_UTM_Zone_22S	PROJCS["SIRGAS_2000_UTM_Zone_22S",GEOGCS["GCS_SIRGAS_2000",DATUM["D_SIRGAS_
31983	SIRGAS_2000_UTM_Zone_23S	PROJCS["SIRGAS_2000_UTM_Zone_23S",GEOGCS["GCS_SIRGAS_2000",DATUM["D_SIRGAS_
31984	SIRGAS_2000_UTM_Zone_24S	PROJCS["SIRGAS_2000_UTM_Zone_24S",GEOGCS["GCS_SIRGAS_2000",DATUM["D_SIRGAS_
31985	SIRGAS_2000_UTM_Zone_25S	PROJCS["SIRGAS_2000_UTM_Zone_25S",GEOGCS["GCS_SIRGAS_2000",DATUM["D_SIRGAS_
31986	SIRGAS_UTM_Zone_17N	PROJCS["SIRGAS_UTM_Zone_17N",GEOGCS["GCS_SIRGAS",DATUM["D_SIRGAS",SPHEROID[
31987	SIRGAS_UTM_Zone_18N	PROJCS["SIRGAS_UTM_Zone_18N",GEOGCS["GCS_SIRGAS",DATUM["D_SIRGAS",SPHEROID[
31988	SIRGAS_UTM_Zone_19N	PROJCS["SIRGAS_UTM_Zone_19N",GEOGCS["GCS_SIRGAS",DATUM["D_SIRGAS",SPHEROID[
31989	SIRGAS_UTM_Zone_20N	PROJCS["SIRGAS_UTM_Zone_20N",GEOGCS["GCS_SIRGAS",DATUM["D_SIRGAS",SPHEROID[
31990	SIRGAS_UTM_Zone_21N	PROJCS["SIRGAS_UTM_Zone_21N",GEOGCS["GCS_SIRGAS",DATUM["D_SIRGAS",SPHEROID[
31991	SIRGAS_UTM_Zone_22N	PROJCS["SIRGAS_UTM_Zone_22N",GEOGCS["GCS_SIRGAS",DATUM["D_SIRGAS",SPHEROID[
31992	SIRGAS_UTM_Zone_17S	PROJCS["SIRGAS_UTM_Zone_17S",GEOGCS["GCS_SIRGAS",DATUM["D_SIRGAS",SPHEROID[
31993	SIRGAS_UTM_Zone_18S	PROJCS["SIRGAS_UTM_Zone_18S",GEOGCS["GCS_SIRGAS",DATUM["D_SIRGAS",SPHEROID[
31994	SIRGAS_UTM_Zone_19S	PROJCS["SIRGAS_UTM_Zone_19S",GEOGCS["GCS_SIRGAS",DATUM["D_SIRGAS",SPHEROID[
31995	SIRGAS_UTM_Zone_20S	PROJCS["SIRGAS_UTM_Zone_20S",GEOGCS["GCS_SIRGAS",DATUM["D_SIRGAS",SPHEROID[
31996	SIRGAS_UTM_Zone_21S	PROJCS["SIRGAS_UTM_Zone_21S",GEOGCS["GCS_SIRGAS",DATUM["D_SIRGAS",SPHEROID[
31997	SIRGAS_UTM_Zone_22S	PROJCS["SIRGAS_UTM_Zone_22S",GEOGCS["GCS_SIRGAS",DATUM["D_SIRGAS",SPHEROID[
31998	SIRGAS_UTM_Zone_23S	PROJCS["SIRGAS_UTM_Zone_23S",GEOGCS["GCS_SIRGAS",DATUM["D_SIRGAS",SPHEROID[
31999	SIRGAS_UTM_Zone_24S	PROJCS["SIRGAS_UTM_Zone_24S",GEOGCS["GCS_SIRGAS",DATUM["D_SIRGAS",SPHEROID[
32000	SIRGAS_UTM_Zone_25S	PROJCS["SIRGAS_UTM_Zone_25S",GEOGCS["GCS_SIRGAS",DATUM["D_SIRGAS",SPHEROID[
32001	NAD_1927_StatePlane_Montana_North_FIPS_2501	PROJCS["NAD_1927_StatePlane_Montana_North_FIPS_2501",GEOGCS["GCS_North_American_
32002	NAD_1927_StatePlane_Montana_Central_FIPS_2502	PROJCS["NAD_1927_StatePlane_Montana_Central_FIPS_2502",GEOGCS["GCS_North_American
32003	NAD_1927_StatePlane_Montana_South_FIPS_2503	PROJCS["NAD_1927_StatePlane_Montana_South_FIPS_2503",GEOGCS["GCS_North_American_
32005	NAD_1927_StatePlane_Nebraska_North_FIPS_2601	PROJCS["NAD_1927_StatePlane_Nebraska_North_FIPS_2601",GEOGCS["GCS_North_American_
32006	NAD_1927_StatePlane_Nebraska_South_FIPS_2602	PROJCS["NAD_1927_StatePlane_Nebraska_South_FIPS_2602",GEOGCS["GCS_North_American_
32007	NAD_1927_StatePlane_Nevada_East_FIPS_2701	PROJCS["NAD_1927_StatePlane_Nevada_East_FIPS_2701",GEOGCS["GCS_North_American_19
32008	NAD_1927_StatePlane_Nevada_Central_FIPS_2702	PROJCS["NAD_1927_StatePlane_Nevada_Central_FIPS_2702",GEOGCS["GCS_North_American_
32009	NAD_1927_StatePlane_Nevada_West_FIPS_2703	PROJCS["NAD_1927_StatePlane_Nevada_West_FIPS_2703",GEOGCS["GCS_North_American_19

Copyright © 1995-2016 Esri. All rights reserved.

32010	NAD_1927_StatePlane_New_Hampshire_FIPS_2800	PROJCS["NAD_1927_StatePlane_New_Hampshire_FIPS_2800",GEOGCS["GCS_North_American_
32011	NAD_1927_StatePlane_New_Jersey_FIPS_2900	PROJCS["NAD_1927_StatePlane_New_Jersey_FIPS_2900",GEOGCS["GCS_North_American_192
32012	NAD_1927_StatePlane_New_Mexico_East_FIPS_3001	PROJCS["NAD_1927_StatePlane_New_Mexico_East_FIPS_3001",GEOGCS["GCS_North_America
32013	NAD_1927_StatePlane_New_Mexico_Central_FIPS_3002	PROJCS["NAD_1927_StatePlane_New_Mexico_Central_FIPS_3002",GEOGCS["GCS_North_Amer
32014	NAD_1927_StatePlane_New_Mexico_West_FIPS_3003	PROJCS["NAD_1927_StatePlane_New_Mexico_West_FIPS_3003",GEOGCS["GCS_North_America
32015	NAD_1927_StatePlane_New_York_East_FIPS_3101	PROJCS["NAD_1927_StatePlane_New_York_East_FIPS_3101",GEOGCS["GCS_North_American_
32016	NAD_1927_StatePlane_New_York_Central_FIPS_3102	PROJCS["NAD_1927_StatePlane_New_York_Central_FIPS_3102",GEOGCS["GCS_North_America
32017	NAD_1927_StatePlane_New_York_West_FIPS_3103	PROJCS["NAD_1927_StatePlane_New_York_West_FIPS_3103",GEOGCS["GCS_North_American_
32019	NAD_1927_StatePlane_North_Carolina_FIPS_3200	PROJCS["NAD_1927_StatePlane_North_Carolina_FIPS_3200",GEOGCS["GCS_North_American_1
32020	NAD_1927_StatePlane_North_Dakota_North_FIPS_3301	PROJCS["NAD_1927_StatePlane_North_Dakota_North_FIPS_3301",GEOGCS["GCS_North_Ameri
32021	NAD_1927_StatePlane_North_Dakota_South_FIPS_3302	PROJCS["NAD_1927_StatePlane_North_Dakota_South_FIPS_3302",GEOGCS["GCS_North_Ameri
32022	NAD_1927_StatePlane_Ohio_North_FIPS_3401	PROJCS["NAD_1927_StatePlane_Ohio_North_FIPS_3401",GEOGCS["GCS_North_American_1927
32023	NAD_1927_StatePlane_Ohio_South_FIPS_3402	PROJCS["NAD_1927_StatePlane_Ohio_South_FIPS_3402",GEOGCS["GCS_North_American_192
32024	NAD_1927_StatePlane_Oklahoma_North_FIPS_3501	PROJCS["NAD_1927_StatePlane_Oklahoma_North_FIPS_3501",GEOGCS["GCS_North_American_
32025	NAD_1927_StatePlane_Oklahoma_South_FIPS_3502	PROJCS["NAD_1927_StatePlane_Oklahoma_South_FIPS_3502",GEOGCS["GCS_North_American
32026	NAD_1927_StatePlane_Oregon_North_FIPS_3601	PROJCS["NAD_1927_StatePlane_Oregon_North_FIPS_3601",GEOGCS["GCS_North_American_19
32027	NAD_1927_StatePlane_Oregon_South_FIPS_3602	PROJCS["NAD_1927_StatePlane_Oregon_South_FIPS_3602",GEOGCS["GCS_North_American_1
32028	NAD_1927_StatePlane_Pennsylvania_North_FIPS_3701	PROJCS["NAD_1927_StatePlane_Pennsylvania_North_FIPS_3701",GEOGCS["GCS_North_Americ
32030	NAD_1927_StatePlane_Rhode_Island_FIPS_3800	PROJCS["NAD_1927_StatePlane_Rhode_Island_FIPS_3800",GEOGCS["GCS_North_American_19
32031	NAD_1927_StatePlane_South_Carolina_North_FIPS_3901	PROJCS["NAD_1927_StatePlane_South_Carolina_North_FIPS_3901",GEOGCS["GCS_North_Ame
32033	NAD_1927_StatePlane_South_Carolina_South_FIPS_3902	PROJCS["NAD_1927_StatePlane_South_Carolina_South_FIPS_3902",GEOGCS["GCS_North_Ame
32034	NAD_1927_StatePlane_South_Dakota_North_FIPS_4001	PROJCS["NAD_1927_StatePlane_South_Dakota_North_FIPS_4001",GEOGCS["GCS_North_Ameri
32035	NAD_1927_StatePlane_South_Dakota_South_FIPS_4002	PROJCS["NAD_1927_StatePlane_South_Dakota_South_FIPS_4002",GEOGCS["GCS_North_Amer
32037	NAD_1927_StatePlane_Texas_North_FIPS_4201	PROJCS["NAD_1927_StatePlane_Texas_North_FIPS_4201",GEOGCS["GCS_North_American_192
32038	NAD_1927_StatePlane_Texas_North_Central_FIPS_4202	PROJCS["NAD_1927_StatePlane_Texas_North_Central_FIPS_4202",GEOGCS["GCS_North_Amer
32039	NAD_1927_StatePlane_Texas_Central_FIPS_4203	PROJCS["NAD_1927_StatePlane_Texas_Central_FIPS_4203",GEOGCS["GCS_North_American_19
32040	NAD_1927_StatePlane_Texas_South_Central_FIPS_4204	PROJCS["NAD_1927_StatePlane_Texas_South_Central_FIPS_4204",GEOGCS["GCS_North_Amer
32041	NAD_1927_StatePlane_Texas_South_FIPS_4205	PROJCS["NAD_1927_StatePlane_Texas_South_FIPS_4205",GEOGCS["GCS_North_American_192
32042	NAD_1927_StatePlane_Utah_North_FIPS_4301	PROJCS["NAD_1927_StatePlane_Utah_North_FIPS_4301",GEOGCS["GCS_North_American_1927
32043	NAD_1927_StatePlane_Utah_Central_FIPS_4302	PROJCS["NAD_1927_StatePlane_Utah_Central_FIPS_4302",GEOGCS["GCS_North_American_19
32044	NAD_1927_StatePlane_Utah_South_FIPS_4303	PROJCS["NAD_1927_StatePlane_Utah_South_FIPS_4303",GEOGCS["GCS_North_American_192
32045	NAD_1927_StatePlane_Vermont_FIPS_4400	PROJCS["NAD_1927_StatePlane_Vermont_FIPS_4400",GEOGCS["GCS_North_American_1927",D
32046	NAD_1927_StatePlane_Virginia_North_FIPS_4501	PROJCS["NAD_1927_StatePlane_Virginia_North_FIPS_4501",GEOGCS["GCS_North_American_19
32047	NAD_1927_StatePlane_Virginia_South_FIPS_4502	PROJCS["NAD_1927_StatePlane_Virginia_South_FIPS_4502",GEOGCS["GCS_North_American_1
32048	NAD_1927_StatePlane_Washington_North_FIPS_4601	PROJCS["NAD_1927_StatePlane_Washington_North_FIPS_4601",GEOGCS["GCS_North_America
32049	NAD_1927_StatePlane_Washington_South_FIPS_4602	PROJCS["NAD_1927_StatePlane_Washington_South_FIPS_4602",GEOGCS["GCS_North_America
32050	NAD_1927_StatePlane_West_Virginia_North_FIPS_4701	PROJCS["NAD_1927_StatePlane_West_Virginia_North_FIPS_4701",GEOGCS["GCS_North_Ameri
32051	NAD_1927_StatePlane_West_Virginia_South_FIPS_4702	PROJCS["NAD_1927_StatePlane_West_Virginia_South_FIPS_4702",GEOGCS["GCS_North_Ameri
32052	NAD_1927_StatePlane_Wisconsin_North_FIPS_4801	PROJCS["NAD_1927_StatePlane_Wisconsin_North_FIPS_4801",GEOGCS["GCS_North_American_
32053	NAD_1927_StatePlane_Wisconsin_Central_FIPS_4802	PROJCS["NAD_1927_StatePlane_Wisconsin_Central_FIPS_4802",GEOGCS["GCS_North_America
32054	NAD_1927_StatePlane_Wisconsin_South_FIPS_4803	PROJCS["NAD_1927_StatePlane_Wisconsin_South_FIPS_4803",GEOGCS["GCS_North_American
32055	NAD_1927_StatePlane_Wyoming_East_FIPS_4901	PROJCS["NAD_1927_StatePlane_Wyoming_East_FIPS_4901",GEOGCS["GCS_North_American_1
32056	NAD_1927_StatePlane_Wyoming_East_Central_FIPS_4902	PROJCS["NAD_1927_StatePlane_Wyoming_East_Central_FIPS_4902",GEOGCS["GCS_North_Am
32057	NAD_1927_StatePlane_Wyoming_West_Central_FIPS_4903	PROJCS["NAD_1927_StatePlane_Wyoming_West_Central_FIPS_4903",GEOGCS["GCS_North_An
32058	NAD_1927_StatePlane_Wyoming_West_FIPS_4904	PROJCS["NAD_1927_StatePlane_Wyoming_West_FIPS_4904",GEOGCS["GCS_North_American_
32059	NAD_1927_StatePlane_Puerto_Rico_FIPS_5201	PROJCS["NAD_1927_StatePlane_Puerto_Rico_FIPS_5201",GEOGCS["GCS_North_American_192
32060	NAD_1927_StatePlane_Virgin_Islands_St_Croix_FIPS_5202	PROJCS["NAD_1927_StatePlane_Virgin_Islands_St_Croix_FIPS_5202",GEOGCS["GCS_North_Am
32061	NAD_1927_Guatemala_Norte	PROJCS["NAD_1927_Guatemala_Norte",GEOGCS["GCS_North_American_1927",DATUM["D_Nort
32062	NAD_1927_Guatemala_Sur	PROJCS["NAD_1927_Guatemala_Sur",GEOGCS["GCS_North_American_1927",DATUM["D_North_
32064	NAD_1927_BLM_Zone_14N	PROJCS["NAD_1927_BLM_Zone_14N",GEOGCS["GCS_North_American_1927",DATUM["D_North_
32065	NAD_1927_BLM_Zone_15N	PROJCS["NAD_1927_BLM_Zone_15N",GEOGCS["GCS_North_American_1927",DATUM["D_North_
32066	NAD_1927_BLM_Zone_16N	PROJCS["NAD_1927_BLM_Zone_16N",GEOGCS["GCS_North_American_1927",DATUM["D_North_
32067	NAD_1927_BLM_Zone_17N	PROJCS["NAD_1927_BLM_Zone_17N",GEOGCS["GCS_North_American_1927",DATUM["D_North_
32081	NAD_1927_MTM_1	PROJCS["NAD_1927_MTM_1",GEOGCS["GCS_North_American_1927",DATUM["D_North_America

Copyright © 1995-2016 Esri. All rights reserved.

32082	NAD_1927_MTM_2	PROJCS["NAD_1927_MTM_2",GEOGCS["GCS_North_American_1927",DATUM["D_North_America
32083	NAD_1927_MTM_3	PROJCS["NAD_1927_MTM_3",GEOGCS["GCS_North_American_1927",DATUM["D_North_America
32084	NAD_1927_MTM_4	PROJCS["NAD_1927_MTM_4",GEOGCS["GCS_North_American_1927",DATUM["D_North_America
32085	NAD_1927_MTM_5	PROJCS["NAD_1927_MTM_5",GEOGCS["GCS_North_American_1927",DATUM["D_North_America
32086	NAD_1927_MTM_6	PROJCS["NAD_1927_MTM_6",GEOGCS["GCS_North_American_1927",DATUM["D_North_America
32098	NAD_1927_Quebec_Lambert	PROJCS["NAD_1927_Quebec_Lambert",GEOGCS["GCS_North_American_1927",DATUM["D_North
32099	NAD_1927_StatePlane_Louisiana_Offshore_FIPS_1703	PROJCS["NAD_1927_StatePlane_Louisiana_Offshore_FIPS_1703",GEOGCS["GCS_North_America
32100	NAD_1983_StatePlane_Montana_FIPS_2500	PROJCS["NAD_1983_StatePlane_Montana_FIPS_2500",GEOGCS["GCS_North_American_1983",D
32104	NAD_1983_StatePlane_Nebraska_FIPS_2600	PROJCS["NAD_1983_StatePlane_Nebraska_FIPS_2600",GEOGCS["GCS_North_American_1983",
32107	NAD_1983_StatePlane_Nevada_East_FIPS_2701	PROJCS["NAD_1983_StatePlane_Nevada_East_FIPS_2701",GEOGCS["GCS_North_American_19
32108	NAD_1983_StatePlane_Nevada_Central_FIPS_2702	PROJCS["NAD_1983_StatePlane_Nevada_Central_FIPS_2702",GEOGCS["GCS_North_American_
32109	NAD_1983_StatePlane_Nevada_West_FIPS_2703	PROJCS["NAD_1983_StatePlane_Nevada_West_FIPS_2703",GEOGCS["GCS_North_American_19
32110	NAD_1983_StatePlane_New_Hampshire_FIPS_2800	PROJCS["NAD_1983_StatePlane_New_Hampshire_FIPS_2800",GEOGCS["GCS_North_American_
32111	NAD_1983_StatePlane_New_Jersey_FIPS_2900	PROJCS["NAD_1983_StatePlane_New_Jersey_FIPS_2900",GEOGCS["GCS_North_American_198
32112	NAD_1983_StatePlane_New_Mexico_East_FIPS_3001	PROJCS["NAD_1983_StatePlane_New_Mexico_East_FIPS_3001",GEOGCS["GCS_North_America
32113	NAD_1983_StatePlane_New_Mexico_Central_FIPS_3002	PROJCS["NAD_1983_StatePlane_New_Mexico_Central_FIPS_3002",GEOGCS["GCS_North_Amer
32114	NAD_1983_StatePlane_New_Mexico_West_FIPS_3003	PROJCS["NAD_1983_StatePlane_New_Mexico_West_FIPS_3003",GEOGCS["GCS_North_America
32115	NAD_1983_StatePlane_New_York_East_FIPS_3101	PROJCS["NAD_1983_StatePlane_New_York_East_FIPS_3101",GEOGCS["GCS_North_American_
32116	NAD_1983_StatePlane_New_York_Central_FIPS_3102	PROJCS["NAD_1983_StatePlane_New_York_Central_FIPS_3102",GEOGCS["GCS_North_America
32117	NAD_1983_StatePlane_New_York_West_FIPS_3103	PROJCS["NAD_1983_StatePlane_New_York_West_FIPS_3103",GEOGCS["GCS_North_American_
32118	NAD_1983_StatePlane_New_York_Long_Island_FIPS_3104	PROJCS["NAD_1983_StatePlane_New_York_Long_Island_FIPS_3104",GEOGCS["GCS_North_Am
32119	NAD_1983_StatePlane_North_Carolina_FIPS_3200	PROJCS["NAD_1983_StatePlane_North_Carolina_FIPS_3200",GEOGCS["GCS_North_American_1
32120	NAD_1983_StatePlane_North_Dakota_North_FIPS_3301	PROJCS["NAD_1983_StatePlane_North_Dakota_North_FIPS_3301",GEOGCS["GCS_North_Ameri
32121	NAD_1983_StatePlane_North_Dakota_South_FIPS_3302	PROJCS["NAD_1983_StatePlane_North_Dakota_South_FIPS_3302",GEOGCS["GCS_North_Ameri
32122	NAD_1983_StatePlane_Ohio_North_FIPS_3401	PROJCS["NAD_1983_StatePlane_Ohio_North_FIPS_3401",GEOGCS["GCS_North_American_1983
32123	NAD_1983_StatePlane_Ohio_South_FIPS_3402	PROJCS["NAD_1983_StatePlane_Ohio_South_FIPS_3402",GEOGCS["GCS_North_American_1983
32124	NAD_1983_StatePlane_Oklahoma_North_FIPS_3501	PROJCS["NAD_1983_StatePlane_Oklahoma_North_FIPS_3501",GEOGCS["GCS_North_American_
32125	NAD_1983_StatePlane_Oklahoma_South_FIPS_3502	PROJCS["NAD_1983_StatePlane_Oklahoma_South_FIPS_3502",GEOGCS["GCS_North_American
32126	NAD_1983_StatePlane_Oregon_North_FIPS_3601	PROJCS["NAD_1983_StatePlane_Oregon_North_FIPS_3601",GEOGCS["GCS_North_American_19
32127	NAD_1983_StatePlane_Oregon_South_FIPS_3602	PROJCS["NAD_1983_StatePlane_Oregon_South_FIPS_3602",GEOGCS["GCS_North_American_1
32128	NAD_1983_StatePlane_Pennsylvania_North_FIPS_3701	PROJCS["NAD_1983_StatePlane_Pennsylvania_North_FIPS_3701",GEOGCS["GCS_North_Americ
32129	NAD_1983_StatePlane_Pennsylvania_South_FIPS_3702	PROJCS["NAD_1983_StatePlane_Pennsylvania_South_FIPS_3702",GEOGCS["GCS_North_Ameri
32130	NAD_1983_StatePlane_Rhode_Island_FIPS_3800	PROJCS["NAD_1983_StatePlane_Rhode_Island_FIPS_3800",GEOGCS["GCS_North_American_19
32133	NAD_1983_StatePlane_South_Carolina_FIPS_3900	PROJCS["NAD_1983_StatePlane_South_Carolina_FIPS_3900",GEOGCS["GCS_North_American_
32134	NAD_1983_StatePlane_South_Dakota_North_FIPS_4001	PROJCS["NAD_1983_StatePlane_South_Dakota_North_FIPS_4001",GEOGCS["GCS_North_Ameri
32135	NAD_1983_StatePlane_South_Dakota_South_FIPS_4002	PROJCS["NAD_1983_StatePlane_South_Dakota_South_FIPS_4002",GEOGCS["GCS_North_Amer
32136	NAD_1983_StatePlane_Tennessee_FIPS_4100	PROJCS["NAD_1983_StatePlane_Tennessee_FIPS_4100",GEOGCS["GCS_North_American_1983
32137	NAD_1983_StatePlane_Texas_North_FIPS_4201	PROJCS["NAD_1983_StatePlane_Texas_North_FIPS_4201",GEOGCS["GCS_North_American_198
32138	NAD_1983_StatePlane_Texas_North_Central_FIPS_4202	PROJCS["NAD_1983_StatePlane_Texas_North_Central_FIPS_4202",GEOGCS["GCS_North_Amer
32139	NAD_1983_StatePlane_Texas_Central_FIPS_4203	PROJCS["NAD_1983_StatePlane_Texas_Central_FIPS_4203",GEOGCS["GCS_North_American_19
32140	NAD_1983_StatePlane_Texas_South_Central_FIPS_4204	PROJCS["NAD_1983_StatePlane_Texas_South_Central_FIPS_4204",GEOGCS["GCS_North_Amer
32141	NAD_1983_StatePlane_Texas_South_FIPS_4205	PROJCS["NAD_1983_StatePlane_Texas_South_FIPS_4205",GEOGCS["GCS_North_American_198
32142	NAD_1983_StatePlane_Utah_North_FIPS_4301	PROJCS["NAD_1983_StatePlane_Utah_North_FIPS_4301",GEOGCS["GCS_North_American_1983
32143	NAD_1983_StatePlane_Utah_Central_FIPS_4302	PROJCS["NAD_1983_StatePlane_Utah_Central_FIPS_4302",GEOGCS["GCS_North_American_19
32144	NAD_1983_StatePlane_Utah_South_FIPS_4303	PROJCS["NAD_1983_StatePlane_Utah_South_FIPS_4303",GEOGCS["GCS_North_American_1983
32145	NAD_1983_StatePlane_Vermont_FIPS_4400	PROJCS["NAD_1983_StatePlane_Vermont_FIPS_4400",GEOGCS["GCS_North_American_1983",D
32146	NAD_1983_StatePlane_Virginia_North_FIPS_4501	PROJCS["NAD_1983_StatePlane_Virginia_North_FIPS_4501",GEOGCS["GCS_North_American_19
32147	NAD_1983_StatePlane_Virginia_South_FIPS_4502	PROJCS["NAD_1983_StatePlane_Virginia_South_FIPS_4502",GEOGCS["GCS_North_American_1
32148	NAD_1983_StatePlane_Washington_North_FIPS_4601	PROJCS["NAD_1983_StatePlane_Washington_North_FIPS_4601",GEOGCS["GCS_North_America
32149	NAD_1983_StatePlane_Washington_South_FIPS_4602	PROJCS["NAD_1983_StatePlane_Washington_South_FIPS_4602",GEOGCS["GCS_North_America
32150	NAD_1983_StatePlane_West_Virginia_North_FIPS_4701	PROJCS["NAD_1983_StatePlane_West_Virginia_North_FIPS_4701",GEOGCS["GCS_North_Ameri
32151	NAD_1983_StatePlane_West_Virginia_South_FIPS_4702	PROJCS["NAD_1983_StatePlane_West_Virginia_South_FIPS_4702",GEOGCS["GCS_North_Ameri
32152	NAD_1983_StatePlane_Wisconsin_North_FIPS_4801	PROJCS["NAD_1983_StatePlane_Wisconsin_North_FIPS_4801",GEOGCS["GCS_North_American_
32153	NAD_1983_StatePlane_Wisconsin_Central_FIPS_4802	PROJCS["NAD_1983_StatePlane_Wisconsin_Central_FIPS_4802",GEOGCS["GCS_North_America

Copyright © 1995-2016 Esri. All rights reserved.

32154	NAD_1983_StatePlane_Wisconsin_South_FIPS_4803	PROJCS["NAD_1983_StatePlane_Wisconsin_South_FIPS_4803",GEOGCS["GCS_North_American
32155	NAD_1983_StatePlane_Wyoming_East_FIPS_4901	PROJCS["NAD_1983_StatePlane_Wyoming_East_FIPS_4901",GEOGCS["GCS_North_American_1
32156	NAD_1983_StatePlane_Wyoming_East_Central_FIPS_4902	PROJCS["NAD_1983_StatePlane_Wyoming_East_Central_FIPS_4902",GEOGCS["GCS_North_Am
32157	NAD_1983_StatePlane_Wyoming_West_Central_FIPS_4903	PROJCS["NAD_1983_StatePlane_Wyoming_West_Central_FIPS_4903",GEOGCS["GCS_North_An
32158	NAD_1983_StatePlane_Wyoming_West_FIPS_4904	PROJCS["NAD_1983_StatePlane_Wyoming_West_FIPS_4904",GEOGCS["GCS_North_American_
32161	NAD_1983_StatePlane_Puerto_Rico_Virgin_Islands_FIPS_5200	PROJCS["NAD_1983_StatePlane_Puerto_Rico_Virgin_Islands_FIPS_5200",GEOGCS["GCS_North
32164	NAD_1983_BLM_Zone_14N_ftUS	PROJCS["NAD_1983_BLM_Zone_14N_ftUS",GEOGCS["GCS_North_American_1983",DATUM["D_
32165	NAD_1983_BLM_Zone_15N_ftUS	PROJCS["NAD_1983_BLM_Zone_15N_ftUS",GEOGCS["GCS_North_American_1983",DATUM["D_
32166	NAD_1983_BLM_Zone_16N_ftUS	PROJCS["NAD_1983_BLM_Zone_16N_ftUS",GEOGCS["GCS_North_American_1983",DATUM["D_
32167	NAD_1983_BLM_Zone_17N_ftUS	PROJCS["NAD_1983_BLM_Zone_17N_ftUS",GEOGCS["GCS_North_American_1983",DATUM["D_
32180	NAD_1983_MTM_2_SCoPQ	PROJCS["NAD_1983_MTM_2_SCoPQ",GEOGCS["GCS_North_American_1983",DATUM["D_North
32181	NAD_1983_MTM_1	PROJCS["NAD_1983_MTM_1",GEOGCS["GCS_North_American_1983",DATUM["D_North_America
32182	NAD_1983_MTM_2	PROJCS["NAD_1983_MTM_2",GEOGCS["GCS_North_American_1983",DATUM["D_North_America
32183	NAD_1983_MTM_3	PROJCS["NAD_1983_MTM_3",GEOGCS["GCS_North_American_1983",DATUM["D_North_America
32184	NAD_1983_MTM_4	PROJCS["NAD_1983_MTM_4",GEOGCS["GCS_North_American_1983",DATUM["D_North_America
32185	NAD_1983_MTM_5	PROJCS["NAD_1983_MTM_5",GEOGCS["GCS_North_American_1983",DATUM["D_North_America
32186	NAD_1983_MTM_6	PROJCS["NAD_1983_MTM_6",GEOGCS["GCS_North_American_1983",DATUM["D_North_America
32187	NAD_1983_MTM_7	PROJCS["NAD_1983_MTM_7",GEOGCS["GCS_North_American_1983",DATUM["D_North_America
32188	NAD_1983_MTM_8	PROJCS["NAD_1983_MTM_8",GEOGCS["GCS_North_American_1983",DATUM["D_North_America
32189	NAD_1983_MTM_9	PROJCS["NAD_1983_MTM_9",GEOGCS["GCS_North_American_1983",DATUM["D_North_America
32190	NAD_1983_MTM_10	PROJCS["NAD_1983_MTM_10",GEOGCS["GCS_North_American_1983",DATUM["D_North_Americ
32191	NAD_1983_MTM_11	PROJCS["NAD_1983_MTM_11",GEOGCS["GCS_North_American_1983",DATUM["D_North_Americ
32192	NAD_1983_MTM_12	PROJCS["NAD_1983_MTM_12",GEOGCS["GCS_North_American_1983",DATUM["D_North_Americ
32193	NAD_1983_MTM_13	PROJCS["NAD_1983_MTM_13",GEOGCS["GCS_North_American_1983",DATUM["D_North_Americ
32194	NAD_1983_MTM_14	PROJCS["NAD_1983_MTM_14",GEOGCS["GCS_North_American_1983",DATUM["D_North_Americ
32195	NAD_1983_MTM_15	PROJCS["NAD_1983_MTM_15",GEOGCS["GCS_North_American_1983",DATUM["D_North_Americ
32196	NAD_1983_MTM_16	PROJCS["NAD_1983_MTM_16",GEOGCS["GCS_North_American_1983",DATUM["D_North_Americ
32197	NAD_1983_MTM_17	PROJCS["NAD_1983_MTM_17",GEOGCS["GCS_North_American_1983",DATUM["D_North_Americ
32198	NAD_1983_Quebec_Lambert	PROJCS["NAD_1983_Quebec_Lambert",GEOGCS["GCS_North_American_1983",DATUM["D_North
32199	NAD_1983_StatePlane_Louisiana_Offshore_FIPS_1703	PROJCS["NAD_1983_StatePlane_Louisiana_Offshore_FIPS_1703",GEOGCS["GCS_North_Americ
32201	WGS_1972_UTM_Zone_1N	PROJCS["WGS_1972_UTM_Zone_1N",GEOGCS["GCS_WGS_1972",DATUM["D_WGS_1972",SPH
32202	WGS_1972_UTM_Zone_2N	PROJCS["WGS_1972_UTM_Zone_2N",GEOGCS["GCS_WGS_1972",DATUM["D_WGS_1972",SPH
32203	WGS_1972_UTM_Zone_3N	PROJCS["WGS_1972_UTM_Zone_3N",GEOGCS["GCS_WGS_1972",DATUM["D_WGS_1972",SPH
32204	WGS_1972_UTM_Zone_4N	PROJCS["WGS_1972_UTM_Zone_4N",GEOGCS["GCS_WGS_1972",DATUM["D_WGS_1972",SPH
32205	WGS_1972_UTM_Zone_5N	PROJCS["WGS_1972_UTM_Zone_5N",GEOGCS["GCS_WGS_1972",DATUM["D_WGS_1972",SPH
32206	WGS_1972_UTM_Zone_6N	PROJCS["WGS_1972_UTM_Zone_6N",GEOGCS["GCS_WGS_1972",DATUM["D_WGS_1972",SPH
32207	WGS_1972_UTM_Zone_7N	PROJCS["WGS_1972_UTM_Zone_7N",GEOGCS["GCS_WGS_1972",DATUM["D_WGS_1972",SPH
32208	WGS_1972_UTM_Zone_8N	PROJCS["WGS_1972_UTM_Zone_8N",GEOGCS["GCS_WGS_1972",DATUM["D_WGS_1972",SPH
32209	WGS_1972_UTM_Zone_9N	PROJCS["WGS_1972_UTM_Zone_9N",GEOGCS["GCS_WGS_1972",DATUM["D_WGS_1972",SPH
32210	WGS_1972_UTM_Zone_10N	PROJCS["WGS_1972_UTM_Zone_10N",GEOGCS["GCS_WGS_1972",DATUM["D_WGS_1972",SP
32211	WGS_1972_UTM_Zone_11N	PROJCS["WGS_1972_UTM_Zone_11N",GEOGCS["GCS_WGS_1972",DATUM["D_WGS_1972",SP
32212	WGS_1972_UTM_Zone_12N	PROJCS["WGS_1972_UTM_Zone_12N",GEOGCS["GCS_WGS_1972",DATUM["D_WGS_1972",SP
32213	WGS_1972_UTM_Zone_13N	PROJCS["WGS_1972_UTM_Zone_13N",GEOGCS["GCS_WGS_1972",DATUM["D_WGS_1972",SP
32214	WGS_1972_UTM_Zone_14N	PROJCS["WGS_1972_UTM_Zone_14N",GEOGCS["GCS_WGS_1972",DATUM["D_WGS_1972",SP
32215	WGS_1972_UTM_Zone_15N	PROJCS["WGS_1972_UTM_Zone_15N",GEOGCS["GCS_WGS_1972",DATUM["D_WGS_1972",SP
32216	WGS_1972_UTM_Zone_16N	PROJCS["WGS_1972_UTM_Zone_16N",GEOGCS["GCS_WGS_1972",DATUM["D_WGS_1972",SP
32217	WGS_1972_UTM_Zone_17N	PROJCS["WGS_1972_UTM_Zone_17N",GEOGCS["GCS_WGS_1972",DATUM["D_WGS_1972",SP
32218	WGS_1972_UTM_Zone_18N	PROJCS["WGS_1972_UTM_Zone_18N",GEOGCS["GCS_WGS_1972",DATUM["D_WGS_1972",SP
32219	WGS_1972_UTM_Zone_19N	PROJCS["WGS_1972_UTM_Zone_19N",GEOGCS["GCS_WGS_1972",DATUM["D_WGS_1972",SP
32220	WGS_1972_UTM_Zone_20N	PROJCS["WGS_1972_UTM_Zone_20N",GEOGCS["GCS_WGS_1972",DATUM["D_WGS_1972",SP
32221	WGS_1972_UTM_Zone_21N	PROJCS["WGS_1972_UTM_Zone_21N",GEOGCS["GCS_WGS_1972",DATUM["D_WGS_1972",SP
32222	WGS_1972_UTM_Zone_22N	PROJCS["WGS_1972_UTM_Zone_22N",GEOGCS["GCS_WGS_1972",DATUM["D_WGS_1972",SP
32223	WGS_1972_UTM_Zone_23N	PROJCS["WGS_1972_UTM_Zone_23N",GEOGCS["GCS_WGS_1972",DATUM["D_WGS_1972",SP
32224	WGS_1972_UTM_Zone_24N	PROJCS["WGS_1972_UTM_Zone_24N",GEOGCS["GCS_WGS_1972",DATUM["D_WGS_1972",SP

Copyright © 1995-2016 Esri. All rights reserved.

32225	WGS_1972_UTM_Zone_25N	PROJCS["WGS_1972_UTM_Zone_25N",GEOGCS["GCS_WGS_1972",DATUM["D_WGS_1972",SP
32226	WGS_1972_UTM_Zone_26N	PROJCS["WGS_1972_UTM_Zone_26N",GEOGCS["GCS_WGS_1972",DATUM["D_WGS_1972",SP
32227	WGS_1972_UTM_Zone_27N	PROJCS["WGS_1972_UTM_Zone_27N",GEOGCS["GCS_WGS_1972",DATUM["D_WGS_1972",SP
32228	WGS_1972_UTM_Zone_28N	PROJCS["WGS_1972_UTM_Zone_28N",GEOGCS["GCS_WGS_1972",DATUM["D_WGS_1972",SP
32229	WGS_1972_UTM_Zone_29N	PROJCS["WGS_1972_UTM_Zone_29N",GEOGCS["GCS_WGS_1972",DATUM["D_WGS_1972",SP
32230	WGS_1972_UTM_Zone_30N	PROJCS["WGS_1972_UTM_Zone_30N",GEOGCS["GCS_WGS_1972",DATUM["D_WGS_1972",SP
32231	WGS_1972_UTM_Zone_31N	PROJCS["WGS_1972_UTM_Zone_31N",GEOGCS["GCS_WGS_1972",DATUM["D_WGS_1972",SP
32232	WGS_1972_UTM_Zone_32N	PROJCS["WGS_1972_UTM_Zone_32N",GEOGCS["GCS_WGS_1972",DATUM["D_WGS_1972",SP
32233	WGS_1972_UTM_Zone_33N	PROJCS["WGS_1972_UTM_Zone_33N",GEOGCS["GCS_WGS_1972",DATUM["D_WGS_1972",SP
32234	WGS_1972_UTM_Zone_34N	PROJCS["WGS_1972_UTM_Zone_34N",GEOGCS["GCS_WGS_1972",DATUM["D_WGS_1972",SP
32235	WGS_1972_UTM_Zone_35N	PROJCS["WGS_1972_UTM_Zone_35N",GEOGCS["GCS_WGS_1972",DATUM["D_WGS_1972",SP
32236	WGS_1972_UTM_Zone_36N	PROJCS["WGS_1972_UTM_Zone_36N",GEOGCS["GCS_WGS_1972",DATUM["D_WGS_1972",SP
32237	WGS_1972_UTM_Zone_37N	PROJCS["WGS_1972_UTM_Zone_37N",GEOGCS["GCS_WGS_1972",DATUM["D_WGS_1972",SP
32238	WGS_1972_UTM_Zone_38N	PROJCS["WGS_1972_UTM_Zone_38N",GEOGCS["GCS_WGS_1972",DATUM["D_WGS_1972",SP
32239	WGS_1972_UTM_Zone_39N	PROJCS["WGS_1972_UTM_Zone_39N",GEOGCS["GCS_WGS_1972",DATUM["D_WGS_1972",SP
32240	WGS_1972_UTM_Zone_40N	PROJCS["WGS_1972_UTM_Zone_40N",GEOGCS["GCS_WGS_1972",DATUM["D_WGS_1972",SP
32241	WGS_1972_UTM_Zone_41N	PROJCS["WGS_1972_UTM_Zone_41N",GEOGCS["GCS_WGS_1972",DATUM["D_WGS_1972",SP
32242	WGS_1972_UTM_Zone_42N	PROJCS["WGS_1972_UTM_Zone_42N",GEOGCS["GCS_WGS_1972",DATUM["D_WGS_1972",SP
32243	WGS_1972_UTM_Zone_43N	PROJCS["WGS_1972_UTM_Zone_43N",GEOGCS["GCS_WGS_1972",DATUM["D_WGS_1972",SP
32244	WGS_1972_UTM_Zone_44N	PROJCS["WGS_1972_UTM_Zone_44N",GEOGCS["GCS_WGS_1972",DATUM["D_WGS_1972",SP
32245	WGS_1972_UTM_Zone_45N	PROJCS["WGS_1972_UTM_Zone_45N",GEOGCS["GCS_WGS_1972",DATUM["D_WGS_1972",SP
32246	WGS_1972_UTM_Zone_46N	PROJCS["WGS_1972_UTM_Zone_46N",GEOGCS["GCS_WGS_1972",DATUM["D_WGS_1972",SP
32247	WGS_1972_UTM_Zone_47N	PROJCS["WGS_1972_UTM_Zone_47N",GEOGCS["GCS_WGS_1972",DATUM["D_WGS_1972",SP
32248	WGS_1972_UTM_Zone_48N	PROJCS["WGS_1972_UTM_Zone_48N",GEOGCS["GCS_WGS_1972",DATUM["D_WGS_1972",SP
32249	WGS_1972_UTM_Zone_49N	PROJCS["WGS_1972_UTM_Zone_49N",GEOGCS["GCS_WGS_1972",DATUM["D_WGS_1972",SP
32250	WGS_1972_UTM_Zone_50N	PROJCS["WGS_1972_UTM_Zone_50N",GEOGCS["GCS_WGS_1972",DATUM["D_WGS_1972",SP
32251	WGS_1972_UTM_Zone_51N	PROJCS["WGS_1972_UTM_Zone_51N",GEOGCS["GCS_WGS_1972",DATUM["D_WGS_1972",SP
32252	WGS_1972_UTM_Zone_52N	PROJCS["WGS_1972_UTM_Zone_52N",GEOGCS["GCS_WGS_1972",DATUM["D_WGS_1972",SP
32253	WGS_1972_UTM_Zone_53N	PROJCS["WGS_1972_UTM_Zone_53N",GEOGCS["GCS_WGS_1972",DATUM["D_WGS_1972",SP
32254	WGS_1972_UTM_Zone_54N	PROJCS["WGS_1972_UTM_Zone_54N",GEOGCS["GCS_WGS_1972",DATUM["D_WGS_1972",SP
32255	WGS_1972_UTM_Zone_55N	PROJCS["WGS_1972_UTM_Zone_55N",GEOGCS["GCS_WGS_1972",DATUM["D_WGS_1972",SP
32256	WGS_1972_UTM_Zone_56N	PROJCS["WGS_1972_UTM_Zone_56N",GEOGCS["GCS_WGS_1972",DATUM["D_WGS_1972",SP
32257	WGS_1972_UTM_Zone_57N	PROJCS["WGS_1972_UTM_Zone_57N",GEOGCS["GCS_WGS_1972",DATUM["D_WGS_1972",SP
32258	WGS_1972_UTM_Zone_58N	PROJCS["WGS_1972_UTM_Zone_58N",GEOGCS["GCS_WGS_1972",DATUM["D_WGS_1972",SP
32259	WGS_1972_UTM_Zone_59N	PROJCS["WGS_1972_UTM_Zone_59N",GEOGCS["GCS_WGS_1972",DATUM["D_WGS_1972",SP
32260	WGS_1972_UTM_Zone_60N	PROJCS["WGS_1972_UTM_Zone_60N",GEOGCS["GCS_WGS_1972",DATUM["D_WGS_1972",SP
32301	WGS_1972_UTM_Zone_1S	PROJCS["WGS_1972_UTM_Zone_1S",GEOGCS["GCS_WGS_1972",DATUM["D_WGS_1972",SPH
32302	WGS_1972_UTM_Zone_2S	PROJCS["WGS_1972_UTM_Zone_2S",GEOGCS["GCS_WGS_1972",DATUM["D_WGS_1972",SPH
32303	WGS_1972_UTM_Zone_3S	PROJCS["WGS_1972_UTM_Zone_3S",GEOGCS["GCS_WGS_1972",DATUM["D_WGS_1972",SPH
32304	WGS_1972_UTM_Zone_4S	PROJCS["WGS_1972_UTM_Zone_4S",GEOGCS["GCS_WGS_1972",DATUM["D_WGS_1972",SPH
32305	WGS_1972_UTM_Zone_5S	PROJCS["WGS_1972_UTM_Zone_5S",GEOGCS["GCS_WGS_1972",DATUM["D_WGS_1972",SPH
32306	WGS_1972_UTM_Zone_6S	PROJCS["WGS_1972_UTM_Zone_6S",GEOGCS["GCS_WGS_1972",DATUM["D_WGS_1972",SPH
32307	WGS_1972_UTM_Zone_7S	PROJCS["WGS_1972_UTM_Zone_7S",GEOGCS["GCS_WGS_1972",DATUM["D_WGS_1972",SPH
32308	WGS_1972_UTM_Zone_8S	PROJCS["WGS_1972_UTM_Zone_8S",GEOGCS["GCS_WGS_1972",DATUM["D_WGS_1972",SPH
32309	WGS_1972_UTM_Zone_9S	PROJCS["WGS_1972_UTM_Zone_9S",GEOGCS["GCS_WGS_1972",DATUM["D_WGS_1972",SPH
32310	WGS_1972_UTM_Zone_10S	PROJCS["WGS_1972_UTM_Zone_10S",GEOGCS["GCS_WGS_1972",DATUM["D_WGS_1972",SP
32311	WGS_1972_UTM_Zone_11S	PROJCS["WGS_1972_UTM_Zone_11S",GEOGCS["GCS_WGS_1972",DATUM["D_WGS_1972",SP
32312	WGS_1972_UTM_Zone_12S	PROJCS["WGS_1972_UTM_Zone_12S",GEOGCS["GCS_WGS_1972",DATUM["D_WGS_1972",SP
32313	WGS_1972_UTM_Zone_13S	PROJCS["WGS_1972_UTM_Zone_13S",GEOGCS["GCS_WGS_1972",DATUM["D_WGS_1972",SP
32314	WGS_1972_UTM_Zone_14S	PROJCS["WGS_1972_UTM_Zone_14S",GEOGCS["GCS_WGS_1972",DATUM["D_WGS_1972",SP
32315	WGS_1972_UTM_Zone_15S	PROJCS["WGS_1972_UTM_Zone_15S",GEOGCS["GCS_WGS_1972",DATUM["D_WGS_1972",SP
32316	WGS_1972_UTM_Zone_16S	PROJCS["WGS_1972_UTM_Zone_16S",GEOGCS["GCS_WGS_1972",DATUM["D_WGS_1972",SP
32317	WGS_1972_UTM_Zone_17S	PROJCS["WGS_1972_UTM_Zone_17S",GEOGCS["GCS_WGS_1972",DATUM["D_WGS_1972",SP
32318	WGS_1972_UTM_Zone_18S	PROJCS["WGS_1972_UTM_Zone_18S",GEOGCS["GCS_WGS_1972",DATUM["D_WGS_1972",SP

Copyright © 1995-2016 Esri. All rights reserved.

32319	WGS_1972_UTM_Zone_19S	PROJCS["WGS_1972_UTM_Zone_19S",GEOGCS["GCS_WGS_1972",DATUM["D_WGS_1972",SP
32320	WGS_1972_UTM_Zone_20S	PROJCS["WGS_1972_UTM_Zone_20S",GEOGCS["GCS_WGS_1972",DATUM["D_WGS_1972",SP
32321	WGS_1972_UTM_Zone_21S	PROJCS["WGS_1972_UTM_Zone_21S",GEOGCS["GCS_WGS_1972",DATUM["D_WGS_1972",SP
32322	WGS_1972_UTM_Zone_22S	PROJCS["WGS_1972_UTM_Zone_22S",GEOGCS["GCS_WGS_1972",DATUM["D_WGS_1972",SP
32323	WGS_1972_UTM_Zone_23S	PROJCS["WGS_1972_UTM_Zone_23S",GEOGCS["GCS_WGS_1972",DATUM["D_WGS_1972",SP
32324	WGS_1972_UTM_Zone_24S	PROJCS["WGS_1972_UTM_Zone_24S",GEOGCS["GCS_WGS_1972",DATUM["D_WGS_1972",SP
32325	WGS_1972_UTM_Zone_25S	PROJCS["WGS_1972_UTM_Zone_25S",GEOGCS["GCS_WGS_1972",DATUM["D_WGS_1972",SP
32326	WGS_1972_UTM_Zone_26S	PROJCS["WGS_1972_UTM_Zone_26S",GEOGCS["GCS_WGS_1972",DATUM["D_WGS_1972",SP
32327	WGS_1972_UTM_Zone_27S	PROJCS["WGS_1972_UTM_Zone_27S",GEOGCS["GCS_WGS_1972",DATUM["D_WGS_1972",SP
32328	WGS_1972_UTM_Zone_28S	PROJCS["WGS_1972_UTM_Zone_28S",GEOGCS["GCS_WGS_1972",DATUM["D_WGS_1972",SP
32329	WGS_1972_UTM_Zone_29S	PROJCS["WGS_1972_UTM_Zone_29S",GEOGCS["GCS_WGS_1972",DATUM["D_WGS_1972",SP
32330	WGS_1972_UTM_Zone_30S	PROJCS["WGS_1972_UTM_Zone_30S",GEOGCS["GCS_WGS_1972",DATUM["D_WGS_1972",SP
32331	WGS_1972_UTM_Zone_31S	PROJCS["WGS_1972_UTM_Zone_31S",GEOGCS["GCS_WGS_1972",DATUM["D_WGS_1972",SP
32332	WGS_1972_UTM_Zone_32S	PROJCS["WGS_1972_UTM_Zone_32S",GEOGCS["GCS_WGS_1972",DATUM["D_WGS_1972",SP
32333	WGS_1972_UTM_Zone_33S	PROJCS["WGS_1972_UTM_Zone_33S",GEOGCS["GCS_WGS_1972",DATUM["D_WGS_1972",SP
32334	WGS_1972_UTM_Zone_34S	PROJCS["WGS_1972_UTM_Zone_34S",GEOGCS["GCS_WGS_1972",DATUM["D_WGS_1972",SP
32335	WGS_1972_UTM_Zone_35S	PROJCS["WGS_1972_UTM_Zone_35S",GEOGCS["GCS_WGS_1972",DATUM["D_WGS_1972",SP
32336	WGS_1972_UTM_Zone_36S	PROJCS["WGS_1972_UTM_Zone_36S",GEOGCS["GCS_WGS_1972",DATUM["D_WGS_1972",SP
32337	WGS_1972_UTM_Zone_37S	PROJCS["WGS_1972_UTM_Zone_37S",GEOGCS["GCS_WGS_1972",DATUM["D_WGS_1972",SP
32338	WGS_1972_UTM_Zone_38S	PROJCS["WGS_1972_UTM_Zone_38S",GEOGCS["GCS_WGS_1972",DATUM["D_WGS_1972",SP
32339	WGS_1972_UTM_Zone_39S	PROJCS["WGS_1972_UTM_Zone_39S",GEOGCS["GCS_WGS_1972",DATUM["D_WGS_1972",SP
32340	WGS_1972_UTM_Zone_40S	PROJCS["WGS_1972_UTM_Zone_40S",GEOGCS["GCS_WGS_1972",DATUM["D_WGS_1972",SP
32341	WGS_1972_UTM_Zone_41S	PROJCS["WGS_1972_UTM_Zone_41S",GEOGCS["GCS_WGS_1972",DATUM["D_WGS_1972",SP
32342	WGS_1972_UTM_Zone_42S	PROJCS["WGS_1972_UTM_Zone_42S",GEOGCS["GCS_WGS_1972",DATUM["D_WGS_1972",SP
32343	WGS_1972_UTM_Zone_43S	PROJCS["WGS_1972_UTM_Zone_43S",GEOGCS["GCS_WGS_1972",DATUM["D_WGS_1972",SP
32344	WGS_1972_UTM_Zone_44S	PROJCS["WGS_1972_UTM_Zone_44S",GEOGCS["GCS_WGS_1972",DATUM["D_WGS_1972",SP
32345	WGS_1972_UTM_Zone_45S	PROJCS["WGS_1972_UTM_Zone_45S",GEOGCS["GCS_WGS_1972",DATUM["D_WGS_1972",SP
32346	WGS_1972_UTM_Zone_46S	PROJCS["WGS_1972_UTM_Zone_46S",GEOGCS["GCS_WGS_1972",DATUM["D_WGS_1972",SP
32347	WGS_1972_UTM_Zone_47S	PROJCS["WGS_1972_UTM_Zone_47S",GEOGCS["GCS_WGS_1972",DATUM["D_WGS_1972",SP
32348	WGS_1972_UTM_Zone_48S	PROJCS["WGS_1972_UTM_Zone_48S",GEOGCS["GCS_WGS_1972",DATUM["D_WGS_1972",SP
32349	WGS_1972_UTM_Zone_49S	PROJCS["WGS_1972_UTM_Zone_49S",GEOGCS["GCS_WGS_1972",DATUM["D_WGS_1972",SP
32350	WGS_1972_UTM_Zone_50S	PROJCS["WGS_1972_UTM_Zone_50S",GEOGCS["GCS_WGS_1972",DATUM["D_WGS_1972",SP
32351	WGS_1972_UTM_Zone_51S	PROJCS["WGS_1972_UTM_Zone_51S",GEOGCS["GCS_WGS_1972",DATUM["D_WGS_1972",SP
32352	WGS_1972_UTM_Zone_52S	PROJCS["WGS_1972_UTM_Zone_52S",GEOGCS["GCS_WGS_1972",DATUM["D_WGS_1972",SP
32353	WGS_1972_UTM_Zone_53S	PROJCS["WGS_1972_UTM_Zone_53S",GEOGCS["GCS_WGS_1972",DATUM["D_WGS_1972",SP
32354	WGS_1972_UTM_Zone_54S	PROJCS["WGS_1972_UTM_Zone_54S",GEOGCS["GCS_WGS_1972",DATUM["D_WGS_1972",SP
32355	WGS_1972_UTM_Zone_55S	PROJCS["WGS_1972_UTM_Zone_55S",GEOGCS["GCS_WGS_1972",DATUM["D_WGS_1972",SP
32356	WGS_1972_UTM_Zone_56S	PROJCS["WGS_1972_UTM_Zone_56S",GEOGCS["GCS_WGS_1972",DATUM["D_WGS_1972",SP
32357	WGS_1972_UTM_Zone_57S	PROJCS["WGS_1972_UTM_Zone_57S",GEOGCS["GCS_WGS_1972",DATUM["D_WGS_1972",SP
32358	WGS_1972_UTM_Zone_58S	PROJCS["WGS_1972_UTM_Zone_58S",GEOGCS["GCS_WGS_1972",DATUM["D_WGS_1972",SP
32359	WGS_1972_UTM_Zone_59S	PROJCS["WGS_1972_UTM_Zone_59S",GEOGCS["GCS_WGS_1972",DATUM["D_WGS_1972",SP
32360	WGS_1972_UTM_Zone_60S	PROJCS["WGS_1972_UTM_Zone_60S",GEOGCS["GCS_WGS_1972",DATUM["D_WGS_1972",SP
32601	WGS_1984_UTM_Zone_1N	PROJCS["WGS_1984_UTM_Zone_1N",GEOGCS["GCS_WGS_1984",DATUM["D_WGS_1984",SPH
32602	WGS_1984_UTM_Zone_2N	PROJCS["WGS_1984_UTM_Zone_2N",GEOGCS["GCS_WGS_1984",DATUM["D_WGS_1984",SPH
32603	WGS_1984_UTM_Zone_3N	PROJCS["WGS_1984_UTM_Zone_3N",GEOGCS["GCS_WGS_1984",DATUM["D_WGS_1984",SPH
32604	WGS_1984_UTM_Zone_4N	PROJCS["WGS_1984_UTM_Zone_4N",GEOGCS["GCS_WGS_1984",DATUM["D_WGS_1984",SPH
32605	WGS_1984_UTM_Zone_5N	PROJCS["WGS_1984_UTM_Zone_5N",GEOGCS["GCS_WGS_1984",DATUM["D_WGS_1984",SPH
32606	WGS_1984_UTM_Zone_6N	PROJCS["WGS_1984_UTM_Zone_6N",GEOGCS["GCS_WGS_1984",DATUM["D_WGS_1984",SPH
32607	WGS_1984_UTM_Zone_7N	PROJCS["WGS_1984_UTM_Zone_7N",GEOGCS["GCS_WGS_1984",DATUM["D_WGS_1984",SPH
32608	WGS_1984_UTM_Zone_8N	PROJCS["WGS_1984_UTM_Zone_8N",GEOGCS["GCS_WGS_1984",DATUM["D_WGS_1984",SPH
32609	WGS_1984_UTM_Zone_9N	PROJCS["WGS_1984_UTM_Zone_9N",GEOGCS["GCS_WGS_1984",DATUM["D_WGS_1984",SPH
32610	WGS_1984_UTM_Zone_10N	PROJCS["WGS_1984_UTM_Zone_10N",GEOGCS["GCS_WGS_1984",DATUM["D_WGS_1984",SP
32611	WGS_1984_UTM_Zone_11N	PROJCS["WGS_1984_UTM_Zone_11N",GEOGCS["GCS_WGS_1984",DATUM["D_WGS_1984",SP
32612	WGS_1984_UTM_Zone_12N	PROJCS["WGS_1984_UTM_Zone_12N",GEOGCS["GCS_WGS_1984",DATUM["D_WGS_1984",SP

Copyright © 1995-2016 Esri. All rights reserved.

32613	WGS_1984_UTM_Zone_13N	PROJCS["WGS_1984_UTM_Zone_13N",GEOGCS["GCS_WGS_1984",DATUM["D_WGS_1984",SP
32614	WGS_1984_UTM_Zone_14N	PROJCS["WGS_1984_UTM_Zone_14N",GEOGCS["GCS_WGS_1984",DATUM["D_WGS_1984",SP
32615	WGS_1984_UTM_Zone_15N	PROJCS["WGS_1984_UTM_Zone_15N",GEOGCS["GCS_WGS_1984",DATUM["D_WGS_1984",SP
32616	WGS_1984_UTM_Zone_16N	PROJCS["WGS_1984_UTM_Zone_16N",GEOGCS["GCS_WGS_1984",DATUM["D_WGS_1984",SP
32617	WGS_1984_UTM_Zone_17N	PROJCS["WGS_1984_UTM_Zone_17N",GEOGCS["GCS_WGS_1984",DATUM["D_WGS_1984",SP
32618	WGS_1984_UTM_Zone_18N	PROJCS["WGS_1984_UTM_Zone_18N",GEOGCS["GCS_WGS_1984",DATUM["D_WGS_1984",SP
32619	WGS_1984_UTM_Zone_19N	PROJCS["WGS_1984_UTM_Zone_19N",GEOGCS["GCS_WGS_1984",DATUM["D_WGS_1984",SP
32620	WGS_1984_UTM_Zone_20N	PROJCS["WGS_1984_UTM_Zone_20N",GEOGCS["GCS_WGS_1984",DATUM["D_WGS_1984",SP
32621	WGS_1984_UTM_Zone_21N	PROJCS["WGS_1984_UTM_Zone_21N",GEOGCS["GCS_WGS_1984",DATUM["D_WGS_1984",SP
32622	WGS_1984_UTM_Zone_22N	PROJCS["WGS_1984_UTM_Zone_22N",GEOGCS["GCS_WGS_1984",DATUM["D_WGS_1984",SP
32623	WGS_1984_UTM_Zone_23N	PROJCS["WGS_1984_UTM_Zone_23N",GEOGCS["GCS_WGS_1984",DATUM["D_WGS_1984",SP
32624	WGS_1984_UTM_Zone_24N	PROJCS["WGS_1984_UTM_Zone_24N",GEOGCS["GCS_WGS_1984",DATUM["D_WGS_1984",SP
32625	WGS_1984_UTM_Zone_25N	PROJCS["WGS_1984_UTM_Zone_25N",GEOGCS["GCS_WGS_1984",DATUM["D_WGS_1984",SP
32626	WGS_1984_UTM_Zone_26N	PROJCS["WGS_1984_UTM_Zone_26N",GEOGCS["GCS_WGS_1984",DATUM["D_WGS_1984",SP
32627	WGS_1984_UTM_Zone_27N	PROJCS["WGS_1984_UTM_Zone_27N",GEOGCS["GCS_WGS_1984",DATUM["D_WGS_1984",SP
32628	WGS_1984_UTM_Zone_28N	PROJCS["WGS_1984_UTM_Zone_28N",GEOGCS["GCS_WGS_1984",DATUM["D_WGS_1984",SP
32629	WGS_1984_UTM_Zone_29N	PROJCS["WGS_1984_UTM_Zone_29N",GEOGCS["GCS_WGS_1984",DATUM["D_WGS_1984",SP
32630	WGS_1984_UTM_Zone_30N	PROJCS["WGS_1984_UTM_Zone_30N",GEOGCS["GCS_WGS_1984",DATUM["D_WGS_1984",SP
32631	WGS_1984_UTM_Zone_31N	PROJCS["WGS_1984_UTM_Zone_31N",GEOGCS["GCS_WGS_1984",DATUM["D_WGS_1984",SP
32632	WGS_1984_UTM_Zone_32N	PROJCS["WGS_1984_UTM_Zone_32N",GEOGCS["GCS_WGS_1984",DATUM["D_WGS_1984",SP
32633	WGS_1984_UTM_Zone_33N	PROJCS["WGS_1984_UTM_Zone_33N",GEOGCS["GCS_WGS_1984",DATUM["D_WGS_1984",SP
32634	WGS_1984_UTM_Zone_34N	PROJCS["WGS_1984_UTM_Zone_34N",GEOGCS["GCS_WGS_1984",DATUM["D_WGS_1984",SP
32635	WGS_1984_UTM_Zone_35N	PROJCS["WGS_1984_UTM_Zone_35N",GEOGCS["GCS_WGS_1984",DATUM["D_WGS_1984",SP
32636	WGS_1984_UTM_Zone_36N	PROJCS["WGS_1984_UTM_Zone_36N",GEOGCS["GCS_WGS_1984",DATUM["D_WGS_1984",SP
32637	WGS_1984_UTM_Zone_37N	PROJCS["WGS_1984_UTM_Zone_37N",GEOGCS["GCS_WGS_1984",DATUM["D_WGS_1984",SP
32638	WGS_1984_UTM_Zone_38N	PROJCS["WGS_1984_UTM_Zone_38N",GEOGCS["GCS_WGS_1984",DATUM["D_WGS_1984",SP
32639	WGS_1984_UTM_Zone_39N	PROJCS["WGS_1984_UTM_Zone_39N",GEOGCS["GCS_WGS_1984",DATUM["D_WGS_1984",SP
32640	WGS_1984_UTM_Zone_40N	PROJCS["WGS_1984_UTM_Zone_40N",GEOGCS["GCS_WGS_1984",DATUM["D_WGS_1984",SP
32641	WGS_1984_UTM_Zone_41N	PROJCS["WGS_1984_UTM_Zone_41N",GEOGCS["GCS_WGS_1984",DATUM["D_WGS_1984",SP
32642	WGS_1984_UTM_Zone_42N	PROJCS["WGS_1984_UTM_Zone_42N",GEOGCS["GCS_WGS_1984",DATUM["D_WGS_1984",SP
32643	WGS_1984_UTM_Zone_43N	PROJCS["WGS_1984_UTM_Zone_43N",GEOGCS["GCS_WGS_1984",DATUM["D_WGS_1984",SP
32644	WGS_1984_UTM_Zone_44N	PROJCS["WGS_1984_UTM_Zone_44N",GEOGCS["GCS_WGS_1984",DATUM["D_WGS_1984",SP
32645	WGS_1984_UTM_Zone_45N	PROJCS["WGS_1984_UTM_Zone_45N",GEOGCS["GCS_WGS_1984",DATUM["D_WGS_1984",SP
32646	WGS_1984_UTM_Zone_46N	PROJCS["WGS_1984_UTM_Zone_46N",GEOGCS["GCS_WGS_1984",DATUM["D_WGS_1984",SP
32647	WGS_1984_UTM_Zone_47N	PROJCS["WGS_1984_UTM_Zone_47N",GEOGCS["GCS_WGS_1984",DATUM["D_WGS_1984",SP
32648	WGS_1984_UTM_Zone_48N	PROJCS["WGS_1984_UTM_Zone_48N",GEOGCS["GCS_WGS_1984",DATUM["D_WGS_1984",SP
32649	WGS_1984_UTM_Zone_49N	PROJCS["WGS_1984_UTM_Zone_49N",GEOGCS["GCS_WGS_1984",DATUM["D_WGS_1984",SP
32650	WGS_1984_UTM_Zone_50N	PROJCS["WGS_1984_UTM_Zone_50N",GEOGCS["GCS_WGS_1984",DATUM["D_WGS_1984",SP
32651	WGS_1984_UTM_Zone_51N	PROJCS["WGS_1984_UTM_Zone_51N",GEOGCS["GCS_WGS_1984",DATUM["D_WGS_1984",SP
32652	WGS_1984_UTM_Zone_52N	PROJCS["WGS_1984_UTM_Zone_52N",GEOGCS["GCS_WGS_1984",DATUM["D_WGS_1984",SP
32653	WGS_1984_UTM_Zone_53N	PROJCS["WGS_1984_UTM_Zone_53N",GEOGCS["GCS_WGS_1984",DATUM["D_WGS_1984",SP
32654	WGS_1984_UTM_Zone_54N	PROJCS["WGS_1984_UTM_Zone_54N",GEOGCS["GCS_WGS_1984",DATUM["D_WGS_1984",SP
32655	WGS_1984_UTM_Zone_55N	PROJCS["WGS_1984_UTM_Zone_55N",GEOGCS["GCS_WGS_1984",DATUM["D_WGS_1984",SP
32656	WGS_1984_UTM_Zone_56N	PROJCS["WGS_1984_UTM_Zone_56N",GEOGCS["GCS_WGS_1984",DATUM["D_WGS_1984",SP
32657	WGS_1984_UTM_Zone_57N	PROJCS["WGS_1984_UTM_Zone_57N",GEOGCS["GCS_WGS_1984",DATUM["D_WGS_1984",SP
32658	WGS_1984_UTM_Zone_58N	PROJCS["WGS_1984_UTM_Zone_58N",GEOGCS["GCS_WGS_1984",DATUM["D_WGS_1984",SP
32659	WGS_1984_UTM_Zone_59N	PROJCS["WGS_1984_UTM_Zone_59N",GEOGCS["GCS_WGS_1984",DATUM["D_WGS_1984",SP
32660	WGS_1984_UTM_Zone_60N	PROJCS["WGS_1984_UTM_Zone_60N",GEOGCS["GCS_WGS_1984",DATUM["D_WGS_1984",SP
32661	UPS_North	PROJCS["UPS_North",GEOGCS["GCS_WGS_1984",DATUM["D_WGS_1984",SPHEROID["WGS_1
32662	WGS_1984_Plate_Carree	PROJCS["WGS_1984_Plate_Carree",GEOGCS["GCS_WGS_1984",DATUM["D_WGS_1984",SPHE
32664	WGS_1984_BLM_Zone_14N_ftUS	PROJCS["WGS_1984_BLM_Zone_14N_ftUS",GEOGCS["GCS_WGS_1984",DATUM["D_WGS_198
32665	WGS_1984_BLM_Zone_15N_ftUS	PROJCS["WGS_1984_BLM_Zone_15N_ftUS",GEOGCS["GCS_WGS_1984",DATUM["D_WGS_198
32666	WGS_1984_BLM_Zone_16N_ftUS	PROJCS["WGS_1984_BLM_Zone_16N_ftUS",GEOGCS["GCS_WGS_1984",DATUM["D_WGS_198
32667	WGS_1984_BLM_Zone_17N_ftUS	PROJCS["WGS_1984_BLM_Zone_17N_ftUS",GEOGCS["GCS_WGS_1984",DATUM["D_WGS_198

Copyright © 1995-2016 Esri. All rights reserved.

32701	WGS_1984_UTM_Zone_1S	PROJCS["WGS_1984_UTM_Zone_1S",GEOGCS["GCS_WGS_1984",DATUM["D_WGS_1984",SPH
32702	WGS_1984_UTM_Zone_2S	PROJCS["WGS_1984_UTM_Zone_2S",GEOGCS["GCS_WGS_1984",DATUM["D_WGS_1984",SPH
32703	WGS_1984_UTM_Zone_3S	PROJCS["WGS_1984_UTM_Zone_3S",GEOGCS["GCS_WGS_1984",DATUM["D_WGS_1984",SPH
32704	WGS_1984_UTM_Zone_4S	PROJCS["WGS_1984_UTM_Zone_4S",GEOGCS["GCS_WGS_1984",DATUM["D_WGS_1984",SPH
32705	WGS_1984_UTM_Zone_5S	PROJCS["WGS_1984_UTM_Zone_5S",GEOGCS["GCS_WGS_1984",DATUM["D_WGS_1984",SPH
32706	WGS_1984_UTM_Zone_6S	PROJCS["WGS_1984_UTM_Zone_6S",GEOGCS["GCS_WGS_1984",DATUM["D_WGS_1984",SPH
32707	WGS_1984_UTM_Zone_7S	PROJCS["WGS_1984_UTM_Zone_7S",GEOGCS["GCS_WGS_1984",DATUM["D_WGS_1984",SPH
32708	WGS_1984_UTM_Zone_8S	PROJCS["WGS_1984_UTM_Zone_8S",GEOGCS["GCS_WGS_1984",DATUM["D_WGS_1984",SPH
32709	WGS_1984_UTM_Zone_9S	PROJCS["WGS_1984_UTM_Zone_9S",GEOGCS["GCS_WGS_1984",DATUM["D_WGS_1984",SPH
32710	WGS_1984_UTM_Zone_10S	PROJCS["WGS_1984_UTM_Zone_10S",GEOGCS["GCS_WGS_1984",DATUM["D_WGS_1984",SP
32711	WGS_1984_UTM_Zone_11S	PROJCS["WGS_1984_UTM_Zone_11S",GEOGCS["GCS_WGS_1984",DATUM["D_WGS_1984",SP
32712	WGS_1984_UTM_Zone_12S	PROJCS["WGS_1984_UTM_Zone_12S",GEOGCS["GCS_WGS_1984",DATUM["D_WGS_1984",SP
32713	WGS_1984_UTM_Zone_13S	PROJCS["WGS_1984_UTM_Zone_13S",GEOGCS["GCS_WGS_1984",DATUM["D_WGS_1984",SP
32714	WGS_1984_UTM_Zone_14S	PROJCS["WGS_1984_UTM_Zone_14S",GEOGCS["GCS_WGS_1984",DATUM["D_WGS_1984",SP
32715	WGS_1984_UTM_Zone_15S	PROJCS["WGS_1984_UTM_Zone_15S",GEOGCS["GCS_WGS_1984",DATUM["D_WGS_1984",SP
32716	WGS_1984_UTM_Zone_16S	PROJCS["WGS_1984_UTM_Zone_16S",GEOGCS["GCS_WGS_1984",DATUM["D_WGS_1984",SP
32717	WGS_1984_UTM_Zone_17S	PROJCS["WGS_1984_UTM_Zone_17S",GEOGCS["GCS_WGS_1984",DATUM["D_WGS_1984",SP
32718	WGS_1984_UTM_Zone_18S	PROJCS["WGS_1984_UTM_Zone_18S",GEOGCS["GCS_WGS_1984",DATUM["D_WGS_1984",SP
32719	WGS_1984_UTM_Zone_19S	PROJCS["WGS_1984_UTM_Zone_19S",GEOGCS["GCS_WGS_1984",DATUM["D_WGS_1984",SP
32720	WGS_1984_UTM_Zone_20S	PROJCS["WGS_1984_UTM_Zone_20S",GEOGCS["GCS_WGS_1984",DATUM["D_WGS_1984",SP
32721	WGS_1984_UTM_Zone_21S	PROJCS["WGS_1984_UTM_Zone_21S",GEOGCS["GCS_WGS_1984",DATUM["D_WGS_1984",SP
32722	WGS_1984_UTM_Zone_22S	PROJCS["WGS_1984_UTM_Zone_22S",GEOGCS["GCS_WGS_1984",DATUM["D_WGS_1984",SP
32723	WGS_1984_UTM_Zone_23S	PROJCS["WGS_1984_UTM_Zone_23S",GEOGCS["GCS_WGS_1984",DATUM["D_WGS_1984",SP
32724	WGS_1984_UTM_Zone_24S	PROJCS["WGS_1984_UTM_Zone_24S",GEOGCS["GCS_WGS_1984",DATUM["D_WGS_1984",SP
32725	WGS_1984_UTM_Zone_25S	PROJCS["WGS_1984_UTM_Zone_25S",GEOGCS["GCS_WGS_1984",DATUM["D_WGS_1984",SP
32726	WGS_1984_UTM_Zone_26S	PROJCS["WGS_1984_UTM_Zone_26S",GEOGCS["GCS_WGS_1984",DATUM["D_WGS_1984",SP
32727	WGS_1984_UTM_Zone_27S	PROJCS["WGS_1984_UTM_Zone_27S",GEOGCS["GCS_WGS_1984",DATUM["D_WGS_1984",SP
32728	WGS_1984_UTM_Zone_28S	PROJCS["WGS_1984_UTM_Zone_28S",GEOGCS["GCS_WGS_1984",DATUM["D_WGS_1984",SP
32729	WGS_1984_UTM_Zone_29S	PROJCS["WGS_1984_UTM_Zone_29S",GEOGCS["GCS_WGS_1984",DATUM["D_WGS_1984",SP
32730	WGS_1984_UTM_Zone_30S	PROJCS["WGS_1984_UTM_Zone_30S",GEOGCS["GCS_WGS_1984",DATUM["D_WGS_1984",SP
32731	WGS_1984_UTM_Zone_31S	PROJCS["WGS_1984_UTM_Zone_31S",GEOGCS["GCS_WGS_1984",DATUM["D_WGS_1984",SP
32732	WGS_1984_UTM_Zone_32S	PROJCS["WGS_1984_UTM_Zone_32S",GEOGCS["GCS_WGS_1984",DATUM["D_WGS_1984",SP
32733	WGS_1984_UTM_Zone_33S	PROJCS["WGS_1984_UTM_Zone_33S",GEOGCS["GCS_WGS_1984",DATUM["D_WGS_1984",SP
32734	WGS_1984_UTM_Zone_34S	PROJCS["WGS_1984_UTM_Zone_34S",GEOGCS["GCS_WGS_1984",DATUM["D_WGS_1984",SP
32735	WGS_1984_UTM_Zone_35S	PROJCS["WGS_1984_UTM_Zone_35S",GEOGCS["GCS_WGS_1984",DATUM["D_WGS_1984",SP
32736	WGS_1984_UTM_Zone_36S	PROJCS["WGS_1984_UTM_Zone_36S",GEOGCS["GCS_WGS_1984",DATUM["D_WGS_1984",SP
32737	WGS_1984_UTM_Zone_37S	PROJCS["WGS_1984_UTM_Zone_37S",GEOGCS["GCS_WGS_1984",DATUM["D_WGS_1984",SP
32738	WGS_1984_UTM_Zone_38S	PROJCS["WGS_1984_UTM_Zone_38S",GEOGCS["GCS_WGS_1984",DATUM["D_WGS_1984",SP
32739	WGS_1984_UTM_Zone_39S	PROJCS["WGS_1984_UTM_Zone_39S",GEOGCS["GCS_WGS_1984",DATUM["D_WGS_1984",SP
32740	WGS_1984_UTM_Zone_40S	PROJCS["WGS_1984_UTM_Zone_40S",GEOGCS["GCS_WGS_1984",DATUM["D_WGS_1984",SP
32741	WGS_1984_UTM_Zone_41S	PROJCS["WGS_1984_UTM_Zone_41S",GEOGCS["GCS_WGS_1984",DATUM["D_WGS_1984",SP
32742	WGS_1984_UTM_Zone_42S	PROJCS["WGS_1984_UTM_Zone_42S",GEOGCS["GCS_WGS_1984",DATUM["D_WGS_1984",SP
32743	WGS_1984_UTM_Zone_43S	PROJCS["WGS_1984_UTM_Zone_43S",GEOGCS["GCS_WGS_1984",DATUM["D_WGS_1984",SP
32744	WGS_1984_UTM_Zone_44S	PROJCS["WGS_1984_UTM_Zone_44S",GEOGCS["GCS_WGS_1984",DATUM["D_WGS_1984",SP
32745	WGS_1984_UTM_Zone_45S	PROJCS["WGS_1984_UTM_Zone_45S",GEOGCS["GCS_WGS_1984",DATUM["D_WGS_1984",SP
32746	WGS_1984_UTM_Zone_46S	PROJCS["WGS_1984_UTM_Zone_46S",GEOGCS["GCS_WGS_1984",DATUM["D_WGS_1984",SP
32747	WGS_1984_UTM_Zone_47S	PROJCS["WGS_1984_UTM_Zone_47S",GEOGCS["GCS_WGS_1984",DATUM["D_WGS_1984",SP
32748	WGS_1984_UTM_Zone_48S	PROJCS["WGS_1984_UTM_Zone_48S",GEOGCS["GCS_WGS_1984",DATUM["D_WGS_1984",SP
32749	WGS_1984_UTM_Zone_49S	PROJCS["WGS_1984_UTM_Zone_49S",GEOGCS["GCS_WGS_1984",DATUM["D_WGS_1984",SP
32750	WGS_1984_UTM_Zone_50S	PROJCS["WGS_1984_UTM_Zone_50S",GEOGCS["GCS_WGS_1984",DATUM["D_WGS_1984",SP
32751	WGS_1984_UTM_Zone_51S	PROJCS["WGS_1984_UTM_Zone_51S",GEOGCS["GCS_WGS_1984",DATUM["D_WGS_1984",SP
32752	WGS_1984_UTM_Zone_52S	PROJCS["WGS_1984_UTM_Zone_52S",GEOGCS["GCS_WGS_1984",DATUM["D_WGS_1984",SP
32753	WGS_1984_UTM_Zone_53S	PROJCS["WGS_1984_UTM_Zone_53S",GEOGCS["GCS_WGS_1984",DATUM["D_WGS_1984",SP
32754	WGS_1984_UTM_Zone_54S	PROJCS["WGS_1984_UTM_Zone_54S",GEOGCS["GCS_WGS_1984",DATUM["D_WGS_1984",SP

Copyright © 1995-2016 Esri. All rights reserved.

32755	WGS_1984_UTM_Zone_55S	PROJCS["WGS_1984_UTM_Zone_55S",GEOGCS["GCS_WGS_1984",DATUM["D_WGS_1984",SP
32756	WGS_1984_UTM_Zone_56S	PROJCS["WGS_1984_UTM_Zone_56S",GEOGCS["GCS_WGS_1984",DATUM["D_WGS_1984",SP
32757	WGS_1984_UTM_Zone_57S	PROJCS["WGS_1984_UTM_Zone_57S",GEOGCS["GCS_WGS_1984",DATUM["D_WGS_1984",SP
32758	WGS_1984_UTM_Zone_58S	PROJCS["WGS_1984_UTM_Zone_58S",GEOGCS["GCS_WGS_1984",DATUM["D_WGS_1984",SP
32759	WGS_1984_UTM_Zone_59S	PROJCS["WGS_1984_UTM_Zone_59S",GEOGCS["GCS_WGS_1984",DATUM["D_WGS_1984",SP
32760	WGS_1984_UTM_Zone_60S	PROJCS["WGS_1984_UTM_Zone_60S",GEOGCS["GCS_WGS_1984",DATUM["D_WGS_1984",SP
32761	UPS_South	PROJCS["UPS_South",GEOGCS["GCS_WGS_1984",DATUM["D_WGS_1984",SPHEROID["WGS_1
32766	WGS_1984_TM_36_SE	PROJCS["WGS_1984_TM_36_SE",GEOGCS["GCS_WGS_1984",DATUM["D_WGS_1984",SPHER
53001	Sphere_Plate_Carree	PROJCS["Sphere_Plate_Carree",GEOGCS["GCS_Sphere",DATUM["D_Sphere",SPHEROID["Spher
53002	Sphere_Equidistant_Cylindrical	PROJCS["Sphere_Equidistant_Cylindrical",GEOGCS["GCS_Sphere",DATUM["D_Sphere",SPHERO
53003	Sphere_Miller_Cylindrical	PROJCS["Sphere_Miller_Cylindrical",GEOGCS["GCS_Sphere",DATUM["D_Sphere",SPHEROID["Sp
53004	Sphere_Mercator	PROJCS["Sphere_Mercator",GEOGCS["GCS_Sphere",DATUM["D_Sphere",SPHEROID["Sphere",63
53008	Sphere_Sinusoidal	PROJCS["Sphere_Sinusoidal",GEOGCS["GCS_Sphere",DATUM["D_Sphere",SPHEROID["Sphere",
53009	Sphere_Mollweide	PROJCS["Sphere_Mollweide",GEOGCS["GCS_Sphere",DATUM["D_Sphere",SPHEROID["Sphere",6
53010	Sphere_Eckert_VI	PROJCS["Sphere_Eckert_VI",GEOGCS["GCS_Sphere",DATUM["D_Sphere",SPHEROID["Sphere",6
53011	Sphere_Eckert_V	PROJCS["Sphere_Eckert_V",GEOGCS["GCS_Sphere",DATUM["D_Sphere",SPHEROID["Sphere",63
53012	Sphere_Eckert_IV	PROJCS["Sphere_Eckert_IV",GEOGCS["GCS_Sphere",DATUM["D_Sphere",SPHEROID["Sphere",6
53013	Sphere_Eckert_III	PROJCS["Sphere_Eckert_III",GEOGCS["GCS_Sphere",DATUM["D_Sphere",SPHEROID["Sphere",6
53014	Sphere_Eckert_II	PROJCS["Sphere_Eckert_II",GEOGCS["GCS_Sphere",DATUM["D_Sphere",SPHEROID["Sphere",63
53015	Sphere_Eckert_I	PROJCS["Sphere_Eckert_I",GEOGCS["GCS_Sphere",DATUM["D_Sphere",SPHEROID["Sphere",63
53016	Sphere_Gall_Stereographic	PROJCS["Sphere_Gall_Stereographic",GEOGCS["GCS_Sphere",DATUM["D_Sphere",SPHEROID[""
53017	Sphere_Behrmann	PROJCS["Sphere_Behrmann",GEOGCS["GCS_Sphere",DATUM["D_Sphere",SPHEROID["Sphere",
53018	Sphere_Winkel_I	PROJCS["Sphere_Winkel_I",GEOGCS["GCS_Sphere",DATUM["D_Sphere",SPHEROID["Sphere",63
53019	Sphere_Winkel_II	PROJCS["Sphere_Winkel_II",GEOGCS["GCS_Sphere",DATUM["D_Sphere",SPHEROID["Sphere",6
53021	Sphere_Polyconic	PROJCS["Sphere_Polyconic",GEOGCS["GCS_Sphere",DATUM["D_Sphere",SPHEROID["Sphere",6
53022	Sphere_Quartic_Authalic	PROJCS["Sphere_Quartic_Authalic",GEOGCS["GCS_Sphere",DATUM["D_Sphere",SPHEROID["Sp
53023	Sphere_Loximuthal	PROJCS["Sphere_Loximuthal",GEOGCS["GCS_Sphere",DATUM["D_Sphere",SPHEROID["Sphere",
53024	Sphere_Bonne	PROJCS["Sphere_Bonne",GEOGCS["GCS_Sphere",DATUM["D_Sphere",SPHEROID["Sphere",637
53025	Sphere_Hotine	PROJCS["Sphere_Hotine",GEOGCS["GCS_Sphere",DATUM["D_Sphere",SPHEROID["Sphere",637
53026	Sphere_Stereographic	PROJCS["Sphere_Stereographic",GEOGCS["GCS_Sphere",DATUM["D_Sphere",SPHEROID["Sphe
53027	Sphere_Equidistant_Conic	PROJCS["Sphere_Equidistant_Conic",GEOGCS["GCS_Sphere",DATUM["D_Sphere",SPHEROID["S
53028	Sphere_Cassini	PROJCS["Sphere_Cassini",GEOGCS["GCS_Sphere",DATUM["D_Sphere",SPHEROID["Sphere",637
53029	Sphere_Van_der_Grinten_I	PROJCS["Sphere_Van_der_Grinten_I",GEOGCS["GCS_Sphere",DATUM["D_Sphere",SPHEROID["S
53030	Sphere_Robinson	PROJCS["Sphere_Robinson",GEOGCS["GCS_Sphere",DATUM["D_Sphere",SPHEROID["Sphere",6
53031	Sphere_Two_Point_Equidistant	PROJCS["Sphere_Two_Point_Equidistant",GEOGCS["GCS_Sphere",DATUM["D_Sphere",SPHERO
53032	Sphere_Azimuthal_Equidistant	PROJCS["Sphere_Azimuthal_Equidistant",GEOGCS["GCS_Sphere",DATUM["D_Sphere",SPHEROI
53034	Sphere_Cylindrical_Equal_Area	PROJCS["Sphere_Cylindrical_Equal_Area",GEOGCS["GCS_Sphere",DATUM["D_Sphere",SPHERO
53042	Sphere_Winkel_Tripel_NGS	PROJCS["Sphere_Winkel_Tripel_NGS",GEOGCS["GCS_Sphere",DATUM["D_Sphere",SPHEROID["
53043	Sphere_Aitoff	PROJCS["Sphere_Aitoff",GEOGCS["GCS_Sphere",DATUM["D_Sphere",SPHEROID["Sphere",6371
53044	Sphere_Hammer_Aitoff	PROJCS["Sphere_Hammer_Aitoff",GEOGCS["GCS_Sphere",DATUM["D_Sphere",SPHEROID["Sph
53045	Sphere_Flat_Polar_Quartic	PROJCS["Sphere_Flat_Polar_Quartic",GEOGCS["GCS_Sphere",DATUM["D_Sphere",SPHEROID["S
53046	Sphere_Craster_Parabolic	PROJCS["Sphere_Craster_Parabolic",GEOGCS["GCS_Sphere",DATUM["D_Sphere",SPHEROID["S
53048	Sphere_Times	PROJCS["Sphere_Times",GEOGCS["GCS_Sphere",DATUM["D_Sphere",SPHEROID["Sphere",6371
53049	Sphere_Vertical_Perspective	PROJCS["Sphere_Vertical_Perspective",GEOGCS["GCS_WGS_1984",DATUM["D_WGS_1984",SP
54001	World_Plate_Carree	PROJCS["World_Plate_Carree",GEOGCS["GCS_WGS_1984",DATUM["D_WGS_1984",SPHEROID
54002	World_Equidistant_Cylindrical	PROJCS["World_Equidistant_Cylindrical",GEOGCS["GCS_WGS_1984",DATUM["D_WGS_1984",SP
54003	World_Miller_Cylindrical	PROJCS["World_Miller_Cylindrical",GEOGCS["GCS_WGS_1984",DATUM["D_WGS_1984",SPHER
54004	World_Mercator	PROJCS["World_Mercator",GEOGCS["GCS_WGS_1984",DATUM["D_WGS_1984",SPHEROID["WG
54008	World_Sinusoidal	PROJCS["World_Sinusoidal",GEOGCS["GCS_WGS_1984",DATUM["D_WGS_1984",SPHEROID["W
54009	World_Mollweide	PROJCS["World_Mollweide",GEOGCS["GCS_WGS_1984",DATUM["D_WGS_1984",SPHEROID["W
54010	World_Eckert_VI	PROJCS["World_Eckert_VI",GEOGCS["GCS_WGS_1984",DATUM["D_WGS_1984",SPHEROID["W
54011	World_Eckert_V	PROJCS["World_Eckert_V",GEOGCS["GCS_WGS_1984",DATUM["D_WGS_1984",SPHEROID["WG
54012	World_Eckert_IV	PROJCS["World_Eckert_IV",GEOGCS["GCS_WGS_1984",DATUM["D_WGS_1984",SPHEROID["W
54013	World_Eckert_III	PROJCS["World_Eckert_III",GEOGCS["GCS_WGS_1984",DATUM["D_WGS_1984",SPHEROID["W

Copyright © 1995-2016 Esri. All rights reserved.

54014	World_Eckert_II	PROJCS["World_Eckert_II",GEOGCS["GCS_WGS_1984",DATUM["D_WGS_1984",SPHEROID["WG
54015	World_Eckert_I	PROJCS["World_Eckert_I",GEOGCS["GCS_WGS_1984",DATUM["D_WGS_1984",SPHEROID["WG
54016	World_Gall_Stereographic	PROJCS["World_Gall_Stereographic",GEOGCS["GCS_WGS_1984",DATUM["D_WGS_1984",SPHE
54017	World_Behrmann	PROJCS["World_Behrmann",GEOGCS["GCS_WGS_1984",DATUM["D_WGS_1984",SPHEROID["W
54018	World_Winkel_I	PROJCS["World_Winkel_I",GEOGCS["GCS_WGS_1984",DATUM["D_WGS_1984",SPHEROID["WG
54019	World_Winkel_II	PROJCS["World_Winkel_II",GEOGCS["GCS_WGS_1984",DATUM["D_WGS_1984",SPHEROID["WG
54021	World_Polyconic	PROJCS["World_Polyconic",GEOGCS["GCS_WGS_1984",DATUM["D_WGS_1984",SPHEROID["W
54022	World_Quartic_Authalic	PROJCS["World_Quartic_Authalic",GEOGCS["GCS_WGS_1984",DATUM["D_WGS_1984",SPHERO
54023	World_Loximuthal	PROJCS["World_Loximuthal",GEOGCS["GCS_WGS_1984",DATUM["D_WGS_1984",SPHEROID["W
54024	World_Bonne	PROJCS["World_Bonne",GEOGCS["GCS_WGS_1984",DATUM["D_WGS_1984",SPHEROID["WGS_
54025	World_Hotine	PROJCS["World_Hotine",GEOGCS["GCS_WGS_1984",DATUM["D_WGS_1984",SPHEROID["WGS_
54026	World_Stereographic	PROJCS["World_Stereographic",GEOGCS["GCS_WGS_1984",DATUM["D_WGS_1984",SPHEROID
54027	World_Equidistant_Conic	PROJCS["World_Equidistant_Conic",GEOGCS["GCS_WGS_1984",DATUM["D_WGS_1984",SPHER
54028	World_Cassini	PROJCS["World_Cassini",GEOGCS["GCS_WGS_1984",DATUM["D_WGS_1984",SPHEROID["WGS
54029	World_Van_der_Grinten_I	PROJCS["World_Van_der_Grinten_I",GEOGCS["GCS_WGS_1984",DATUM["D_WGS_1984",SPHE
54030	World_Robinson	PROJCS["World_Robinson",GEOGCS["GCS_WGS_1984",DATUM["D_WGS_1984",SPHEROID["W
54031	World_Two_Point_Equidistant	PROJCS["World_Two_Point_Equidistant",GEOGCS["GCS_WGS_1984",DATUM["D_WGS_1984",SP
54032	World_Azimuthal_Equidistant	PROJCS["World_Azimuthal_Equidistant",GEOGCS["GCS_WGS_1984",DATUM["D_WGS_1984",SP
54034	World_Cylindrical_Equal_Area	PROJCS["World_Cylindrical_Equal_Area",GEOGCS["GCS_WGS_1984",DATUM["D_WGS_1984",S
54042	World_Winkel_Tripel_NGS	PROJCS["World_Winkel_Tripel_NGS",GEOGCS["GCS_WGS_1984",DATUM["D_WGS_1984",SPHE
54043	World_Aitoff	PROJCS["World_Aitoff",GEOGCS["GCS_WGS_1984",DATUM["D_WGS_1984",SPHEROID["WGS_
54044	World_Hammer_Aitoff	PROJCS["World_Hammer_Aitoff",GEOGCS["GCS_WGS_1984",DATUM["D_WGS_1984",SPHEROI
54045	World_Flat_Polar_Quartic	PROJCS["World_Flat_Polar_Quartic",GEOGCS["GCS_WGS_1984",DATUM["D_WGS_1984",SPHE
54046	World_Craster_Parabolic	PROJCS["World_Craster_Parabolic",GEOGCS["GCS_WGS_1984",DATUM["D_WGS_1984",SPHER
54048	World_Times	PROJCS["World_Times",GEOGCS["GCS_WGS_1984",DATUM["D_WGS_1984",SPHEROID["WGS_
54049	World_Vertical_Perspective	PROJCS["World_Vertical_Perspective",GEOGCS["GCS_WGS_1984",DATUM["D_WGS_1984",SPH
54050	World_Fuller	PROJCS["World_Fuller",GEOGCS["GCS_WGS_1984",DATUM["D_WGS_1984",SPHEROID["WGS_
54051	World_Cube	PROJCS["World_Cube",GEOGCS["GCS_WGS_1984",DATUM["D_WGS_1984",SPHEROID["WGS_
54052	World_Goode_Homolosine_Land	PROJCS["World_Goode_Homolosine_Land",GEOGCS["GCS_WGS_1984",DATUM["D_WGS_1984
54053	World_Goode_Homolosine_Ocean	PROJCS["World_Goode_Homolosine_Ocean",GEOGCS["GCS_WGS_1984",DATUM["D_WGS_198
65061	NAD_1927_StatePlane_Guam_FIPS_5400	PROJCS["NAD_1927_StatePlane_Guam_FIPS_5400",GEOGCS["GCS_North_American_1927",DA
65062	American_Samoa_1962_StatePlane_American_Samoa_FIPS_5300	PROJCS["American_Samoa_1962_StatePlane_American_Samoa_FIPS_5300",GEOGCS["GCS_Am
65161	NAD_1983_StatePlane_Guam_FIPS_5400	PROJCS["NAD_1983_StatePlane_Guam_FIPS_5400",GEOGCS["GCS_North_American_1983",DA
102001	Canada_Albers_Equal_Area_Conic	PROJCS["Canada_Albers_Equal_Area_Conic",GEOGCS["GCS_North_American_1983",DATUM["D
102002	Canada_Lambert_Conformal_Conic	PROJCS["Canada_Lambert_Conformal_Conic",GEOGCS["GCS_North_American_1983",DATUM["D
102003	USA_Contiguous_Albers_Equal_Area_Conic	PROJCS["USA_Contiguous_Albers_Equal_Area_Conic",GEOGCS["GCS_North_American_1983",D
102004	USA_Contiguous_Lambert_Conformal_Conic	PROJCS["USA_Contiguous_Lambert_Conformal_Conic",GEOGCS["GCS_North_American_1983",D
102005	USA_Contiguous_Equidistant_Conic	PROJCS["USA_Contiguous_Equidistant_Conic",GEOGCS["GCS_North_American_1983",DATUM["D
102007	Hawaii_Albers_Equal_Area_Conic	PROJCS["Hawaii_Albers_Equal_Area_Conic",GEOGCS["GCS_North_American_1983",DATUM["D_
102008	North_America_Albers_Equal_Area_Conic	PROJCS["North_America_Albers_Equal_Area_Conic",GEOGCS["GCS_North_American_1983",DA
102009	North_America_Lambert_Conformal_Conic	PROJCS["North_America_Lambert_Conformal_Conic",GEOGCS["GCS_North_American_1983",DA
102010	North_America_Equidistant_Conic	PROJCS["North_America_Equidistant_Conic",GEOGCS["GCS_North_American_1983",DATUM["D_
102011	Africa_Sinusoidal	PROJCS["Africa_Sinusoidal",GEOGCS["GCS_WGS_1984",DATUM["D_WGS_1984",SPHEROID["W
102012	Asia_Lambert_Conformal_Conic	PROJCS["Asia_Lambert_Conformal_Conic",GEOGCS["GCS_WGS_1984",DATUM["D_WGS_1984",
102013	Europe_Albers_Equal_Area_Conic	PROJCS["Europe_Albers_Equal_Area_Conic",GEOGCS["GCS_European_1950",DATUM["D_Europ
102014	Europe_Lambert_Conformal_Conic	PROJCS["Europe_Lambert_Conformal_Conic",GEOGCS["GCS_European_1950",DATUM["D_Europ
102015	South_America_Lambert_Conformal_Conic	PROJCS["South_America_Lambert_Conformal_Conic",GEOGCS["GCS_South_American_1969",DA
102016	North_Pole_Azimuthal_Equidistant	PROJCS["North_Pole_Azimuthal_Equidistant",GEOGCS["GCS_WGS_1984",DATUM["D_WGS_198
102017	North_Pole_Lambert_Azimuthal_Equal_Area	PROJCS["North_Pole_Lambert_Azimuthal_Equal_Area",GEOGCS["GCS_WGS_1984",DATUM["D_
102018	North_Pole_Stereographic	PROJCS["North_Pole_Stereographic",GEOGCS["GCS_WGS_1984",DATUM["D_WGS_1984",SPHE
102019	South_Pole_Azimuthal_Equidistant	PROJCS["South_Pole_Azimuthal_Equidistant",GEOGCS["GCS_WGS_1984",DATUM["D_WGS_198
102020	South_Pole_Lambert_Azimuthal_Equal_Area	PROJCS["South_Pole_Lambert_Azimuthal_Equal_Area",GEOGCS["GCS_WGS_1984",DATUM["D_
102021	South_Pole_Stereographic	PROJCS["South_Pole_Stereographic",GEOGCS["GCS_WGS_1984",DATUM["D_WGS_1984",SPHE
102022	Africa_Albers_Equal_Area_Conic	PROJCS["Africa_Albers_Equal_Area_Conic",GEOGCS["GCS_WGS_1984",DATUM["D_WGS_1984

Copyright © 1995-2016 Esri. All rights reserved.

102023	Africa_Equidistant_Conic	PROJCS["Africa_Equidistant_Conic",GEOGCS["GCS_WGS_1984",DATUM["D_WGS_1984",SPHER
102024	Africa_Lambert_Conformal_Conic	PROJCS["Africa_Lambert_Conformal_Conic",GEOGCS["GCS_WGS_1984",DATUM["D_WGS_1984
102025	Asia_North_Albers_Equal_Area_Conic	PROJCS["Asia_North_Albers_Equal_Area_Conic",GEOGCS["GCS_WGS_1984",DATUM["D_WGS_
102026	Asia_North_Equidistant_Conic	PROJCS["Asia_North_Equidistant_Conic",GEOGCS["GCS_WGS_1984",DATUM["D_WGS_1984",S
102027	Asia_North_Lambert_Conformal_Conic	PROJCS["Asia_North_Lambert_Conformal_Conic",GEOGCS["GCS_WGS_1984",DATUM["D_WGS_
102028	Asia_South_Albers_Equal_Area_Conic	PROJCS["Asia_South_Albers_Equal_Area_Conic",GEOGCS["GCS_WGS_1984",DATUM["D_WGS_
102029	Asia_South_Equidistant_Conic	PROJCS["Asia_South_Equidistant_Conic",GEOGCS["GCS_WGS_1984",DATUM["D_WGS_1984",S
102030	Asia_South_Lambert_Conformal_Conic	PROJCS["Asia_South_Lambert_Conformal_Conic",GEOGCS["GCS_WGS_1984",DATUM["D_WGS_
102031	Europe_Equidistant_Conic	PROJCS["Europe_Equidistant_Conic",GEOGCS["GCS_European_1950",DATUM["D_European_195
102032	South_America_Equidistant_Conic	PROJCS["South_America_Equidistant_Conic",GEOGCS["GCS_South_American_1969",DATUM["D_
102033	South_America_Albers_Equal_Area_Conic	PROJCS["South_America_Albers_Equal_Area_Conic",GEOGCS["GCS_South_American_1969",DA
102034	North_Pole_Gnomonic	PROJCS["North_Pole_Gnomonic",GEOGCS["GCS_WGS_1984",DATUM["D_WGS_1984",SPHERO
102035	North_Pole_Orthographic	PROJCS["North_Pole_Orthographic",GEOGCS["GCS_WGS_1984",DATUM["D_WGS_1984",SPHER
102036	South_Pole_Gnomonic	PROJCS["South_Pole_Gnomonic",GEOGCS["GCS_WGS_1984",DATUM["D_WGS_1984",SPHERO
102037	South_Pole_Orthographic	PROJCS["South_Pole_Orthographic",GEOGCS["GCS_WGS_1984",DATUM["D_WGS_1984",SPHE
102038	The_World_From_Space	PROJCS["The_World_From_Space",GEOGCS["GCS_Sphere_ARC_INFO",DATUM["D_Sphere_AR
102039	USA_Contiguous_Albers_Equal_Area_Conic_USGS_version	PROJCS["USA_Contiguous_Albers_Equal_Area_Conic_USGS_version",GEOGCS["GCS_North_Am
102041	COB_NAD83_2007	PROJCS["COB_NAD83_2007",GEOGCS["GCS_North_American_1983_HARN",DATUM["D_North_
102042	NAD_1983_USFS_R9_Albers	PROJCS["NAD_1983_USFS_R9_Albers",GEOGCS["GCS_North_American_1983",DATUM["D_Nort
102043	NAD_1983_CORS96_UTM_Zone_20N	PROJCS["NAD_1983_CORS96_UTM_Zone_20N",GEOGCS["GCS_NAD_1983_CORS96",DATUM[
102044	NAD_1983_NSRS2007_UTM_Zone_20N	PROJCS["NAD_1983_NSRS2007_UTM_Zone_20N",GEOGCS["GCS_NAD_1983_NSRS2007",DAT
102045	NAD_1983_2011_UTM_Zone_20N	PROJCS["NAD_1983_2011_UTM_Zone_20N",GEOGCS["GCS_NAD_1983_2011",DATUM["D_NAD
102060	D48_Slovenia_TM	PROJCS["D48_Slovenia_TM",GEOGCS["GCS_D48",DATUM["D_D48",SPHEROID["Bessel_1841",6
102061	Everest_Modified_1969_RSO_Malaya_Meters	PROJCS["Everest_Modified_1969_RSO_Malaya_Meters",GEOGCS["GCS_Everest_Modified_1969
102062	Kertau_RSO_Malaya_Meters	PROJCS["Kertau_RSO_Malaya_Meters",GEOGCS["GCS_Kertau",DATUM["D_Kertau",SPHEROID[
102063	Kandawala_Ceylon_Belt_Meters	PROJCS["Kandawala_Ceylon_Belt_Meters",GEOGCS["GCS_Kandawala",DATUM["D_Kandawala",
102064	Kandawala_Ceylon_Belt_Indian_Yards_1937	PROJCS["Kandawala_Ceylon_Belt_Indian_Yards_1937",GEOGCS["GCS_Kandawala",DATUM["D_
102068	EMEP_50_Kilometer_Grid	PROJCS["EMEP_50_Kilometer_Grid",GEOGCS["GCS_Sphere_EMEP",DATUM["D_Sphere_EMEP"
102069	EMEP_150_Kilometer_Grid	PROJCS["EMEP_150_Kilometer_Grid",GEOGCS["GCS_Sphere_EMEP",DATUM["D_Sphere_EMEP
102070	Guernsey_Grid	PROJCS["Guernsey_Grid",GEOGCS["GCS_WGS_1984",DATUM["D_WGS_1984",SPHEROID["WG
102071	AGD_1966_ACT_Grid_AGC_Zone	PROJCS["AGD_1966_ACT_Grid_AGC_Zone",GEOGCS["GCS_Australian_1966",DATUM["D_Austra
102072	AGD_1966_ISG_54_2	PROJCS["AGD_1966_ISG_54_2",GEOGCS["GCS_Australian_1966",DATUM["D_Australian_1966",
102073	AGD_1966_ISG_54_3	PROJCS["AGD_1966_ISG_54_3",GEOGCS["GCS_Australian_1966",DATUM["D_Australian_1966",
102074	AGD_1966_ISG_55_1	PROJCS["AGD_1966_ISG_55_1",GEOGCS["GCS_Australian_1966",DATUM["D_Australian_1966",
102075	AGD_1966_ISG_55_2	PROJCS["AGD_1966_ISG_55_2",GEOGCS["GCS_Australian_1966",DATUM["D_Australian_1966",
102076	AGD_1966_ISG_55_3	PROJCS["AGD_1966_ISG_55_3",GEOGCS["GCS_Australian_1966",DATUM["D_Australian_1966",
102077	AGD_1966_ISG_56_1	PROJCS["AGD_1966_ISG_56_1",GEOGCS["GCS_Australian_1966",DATUM["D_Australian_1966",
102078	AGD_1966_ISG_56_2	PROJCS["AGD_1966_ISG_56_2",GEOGCS["GCS_Australian_1966",DATUM["D_Australian_1966",
102079	AGD_1966_ISG_56_3	PROJCS["AGD_1966_ISG_56_3",GEOGCS["GCS_Australian_1966",DATUM["D_Australian_1966",
102093	Roma_1940_Gauss_Boaga_Est	PROJCS["Roma_1940_Gauss_Boaga_Est",GEOGCS["GCS_Roma_1940",DATUM["D_Roma_1940
102094	Roma_1940_Gauss_Boaga_Ovest	PROJCS["Roma_1940_Gauss_Boaga_Ovest",GEOGCS["GCS_Roma_1940",DATUM["D_Roma_19
102096	Bab_South_Palau_Azimuthal_Equidistant	PROJCS["Bab_South_Palau_Azimuthal_Equidistant",GEOGCS["GCS_Bab_South",DATUM["D_Bab
102097	ETRS_1989_UTM_Zone_26N	PROJCS["ETRS_1989_UTM_Zone_26N",GEOGCS["GCS_ETRS_1989",DATUM["D_ETRS_1989",S
102098	ETRS_1989_UTM_Zone_27N	PROJCS["ETRS_1989_UTM_Zone_27N",GEOGCS["GCS_ETRS_1989",DATUM["D_ETRS_1989",S
102099	ETRS_1989_UTM_Zone_39N	PROJCS["ETRS_1989_UTM_Zone_39N",GEOGCS["GCS_ETRS_1989",DATUM["D_ETRS_1989",S
102101	NGO_1948_Norway_Zone_1	PROJCS["NGO_1948_Norway_Zone_1",GEOGCS["GCS_NGO_1948",DATUM["D_NGO_1948",SPH
102102	NGO_1948_Norway_Zone_2	PROJCS["NGO_1948_Norway_Zone_2",GEOGCS["GCS_NGO_1948",DATUM["D_NGO_1948",SPH
102103	NGO_1948_Norway_Zone_3	PROJCS["NGO_1948_Norway_Zone_3",GEOGCS["GCS_NGO_1948",DATUM["D_NGO_1948",SPH
102104	NGO_1948_Norway_Zone_4	PROJCS["NGO_1948_Norway_Zone_4",GEOGCS["GCS_NGO_1948",DATUM["D_NGO_1948",SPH
102105	NGO_1948_Norway_Zone_5	PROJCS["NGO_1948_Norway_Zone_5",GEOGCS["GCS_NGO_1948",DATUM["D_NGO_1948",SPH
102106	NGO_1948_Norway_Zone_6	PROJCS["NGO_1948_Norway_Zone_6",GEOGCS["GCS_NGO_1948",DATUM["D_NGO_1948",SPH
102107	NGO_1948_Norway_Zone_7	PROJCS["NGO_1948_Norway_Zone_7",GEOGCS["GCS_NGO_1948",DATUM["D_NGO_1948",SPH
102108	NGO_1948_Norway_Zone_8	PROJCS["NGO_1948_Norway_Zone_8",GEOGCS["GCS_NGO_1948",DATUM["D_NGO_1948",SPH
102109	ETRS_1989_Slovenia_TM	PROJCS["ETRS_1989_Slovenia_TM",GEOGCS["GCS_ETRS_1989",DATUM["D_ETRS_1989",SPH

Copyright © 1995-2016 Esri. All rights reserved.

102114	Old_Hawaiian_UTM_Zone_4N	PROJCS["Old_Hawaiian_UTM_Zone_4N",GEOGCS["GCS_Old_Hawaiian",DATUM["D_Old_Hawaiia
102115	Old_Hawaiian_UTM_Zone_5N	PROJCS["Old_Hawaiian_UTM_Zone_5N",GEOGCS["GCS_Old_Hawaiian",DATUM["D_Old_Hawaiia
102116	American_Samoa_1962_UTM_Zone_2S	PROJCS["American_Samoa_1962_UTM_Zone_2S",GEOGCS["GCS_American_Samoa_1962",DAT
102117	NAD_1927_Alaska_Albers_Meters	PROJCS["NAD_1927_Alaska_Albers_Meters",GEOGCS["GCS_North_American_1927",DATUM["D_
102118	NAD_1927_Georgia_Statewide_Albers	PROJCS["NAD_1927_Georgia_Statewide_Albers",GEOGCS["GCS_North_American_1927",DATUM
102120	NAD_1927_Michigan_GeoRef_Feet_US	PROJCS["NAD_1927_Michigan_GeoRef_Feet_US",GEOGCS["GCS_North_American_1927",DATU
102121	NAD_1983_Michigan_GeoRef_Feet_US	PROJCS["NAD_1983_Michigan_GeoRef_Feet_US",GEOGCS["GCS_North_American_1983",DATU
102122	NAD_1927_Michigan_GeoRef_Meters	PROJCS["NAD_1927_Michigan_GeoRef_Meters",GEOGCS["GCS_North_American_1927",DATUM[
102132	NGO_1948_UTM_Zone_32N	PROJCS["NGO_1948_UTM_Zone_32N",GEOGCS["GCS_NGO_1948",DATUM["D_NGO_1948",SPI
102133	NGO_1948_UTM_Zone_33N	PROJCS["NGO_1948_UTM_Zone_33N",GEOGCS["GCS_NGO_1948",DATUM["D_NGO_1948",SPI
102134	NGO_1948_UTM_Zone_34N	PROJCS["NGO_1948_UTM_Zone_34N",GEOGCS["GCS_NGO_1948",DATUM["D_NGO_1948",SPI
102135	NGO_1948_UTM_Zone_35N	PROJCS["NGO_1948_UTM_Zone_35N",GEOGCS["GCS_NGO_1948",DATUM["D_NGO_1948",SPI
102136	NGO_1948_Baerum_Kommune	PROJCS["NGO_1948_Baerum_Kommune",GEOGCS["GCS_NGO_1948",DATUM["D_NGO_1948",S
102137	NGO_1948_Bergenhalvoen	PROJCS["NGO_1948_Bergenhalvoen",GEOGCS["GCS_NGO_1948",DATUM["D_NGO_1948",SPHI
102138	NGO_1948_Oslo_Kommune	PROJCS["NGO_1948_Oslo_Kommune",GEOGCS["GCS_NGO_1948",DATUM["D_NGO_1948",SPH
102141	Hong_Kong_1980_UTM_Zone_49N	PROJCS["Hong_Kong_1980_UTM_Zone_49N",GEOGCS["GCS_Hong_Kong_1980",DATUM["D_Ho
102142	Hong_Kong_1980_UTM_Zone_50N	PROJCS["Hong_Kong_1980_UTM_Zone_50N",GEOGCS["GCS_Hong_Kong_1980",DATUM["D_Ho
102143	QND_1995_UTM_39N	PROJCS["QND_1995_UTM_39N",GEOGCS["GCS_QND_1995",DATUM["D_QND_1995",SPHEROI
102144	Merchich_Degree_UTM_Zone_28N	PROJCS["Merchich_Degree_UTM_Zone_28N",GEOGCS["GCS_Merchich_Degree",DATUM["D_Mer
102150	JGD_2000_UTM_Zone_56N	PROJCS["JGD_2000_UTM_Zone_56N",GEOGCS["GCS_JGD_2000",DATUM["D_JGD_2000",SPHE
102156	Tokyo_UTM_Zone_56N	PROJCS["Tokyo_UTM_Zone_56N",GEOGCS["GCS_Tokyo",DATUM["D_Tokyo",SPHEROID["Bessel
102157	ETRS_1989_Kosovo_Grid	PROJCS["ETRS_1989_Kosovo_Grid",GEOGCS["GCS_ETRS_1989",DATUM["D_ETRS_1989",SPH
102158	Jordan_JTM	PROJCS["Jordan_JTM",GEOGCS["GCS_Jordan",DATUM["D_Jordan",SPHEROID["International_19
102159	Observatorio_Meteorologico_1965_Macau_Grid	PROJCS["Observatorio_Meteorologico_1965_Macau_Grid",GEOGCS["GCS_Observatorio_Meteoro
102160	Datum_73_Hayford_Gauss_IGeoE	PROJCS["Datum_73_Hayford_Gauss_IGeoE",GEOGCS["GCS_Datum_73",DATUM["D_Datum_73",
102161	Datum_73_Hayford_Gauss_IPCC	PROJCS["Datum_73_Hayford_Gauss_IPCC",GEOGCS["GCS_Datum_73",DATUM["D_Datum_73",S
102162	Graciosa_Base_SW_1948_UTM_Zone_26N	PROJCS["Graciosa_Base_SW_1948_UTM_Zone_26N",GEOGCS["GCS_Graciosa_Base_SW_1948
102163	Lisboa_Bessel_Bonne	PROJCS["Lisboa_Bessel_Bonne",GEOGCS["GCS_Datum_Lisboa_Bessel",DATUM["D_Datum_Lisb
102164	Lisboa_Hayford_Gauss_IGeoE	PROJCS["Lisboa_Hayford_Gauss_IGeoE",GEOGCS["GCS_Datum_Lisboa_Hayford",DATUM["D_Da
102165	Lisboa_Hayford_Gauss_IPCC	PROJCS["Lisboa_Hayford_Gauss_IPCC",GEOGCS["GCS_Datum_Lisboa_Hayford",DATUM["D_Dat
102166	Observatorio_Meteorologico_1939_UTM_Zone_25N	PROJCS["Observatorio_Meteorologico_1939_UTM_Zone_25N",GEOGCS["GCS_Observatorio_Met
102168	Sao_Braz_UTM_Zone_26N	PROJCS["Sao_Braz_UTM_Zone_26N",GEOGCS["GCS_Sao_Braz",DATUM["D_Sao_Braz",SPHER
102173	ETRS_1989_UWPP_1992	PROJCS["ETRS_1989_UWPP_1992",GEOGCS["GCS_ETRS_1989",DATUM["D_ETRS_1989",SPH
102174	ETRS_1989_UWPP_2000_PAS_5	PROJCS["ETRS_1989_UWPP_2000_PAS_5",GEOGCS["GCS_ETRS_1989",DATUM["D_ETRS_198
102175	ETRS_1989_UWPP_2000_PAS_6	PROJCS["ETRS_1989_UWPP_2000_PAS_6",GEOGCS["GCS_ETRS_1989",DATUM["D_ETRS_198
102176	ETRS_1989_UWPP_2000_PAS_7	PROJCS["ETRS_1989_UWPP_2000_PAS_7",GEOGCS["GCS_ETRS_1989",DATUM["D_ETRS_198
102177	ETRS_1989_UWPP_2000_PAS_8	PROJCS["ETRS_1989_UWPP_2000_PAS_8",GEOGCS["GCS_ETRS_1989",DATUM["D_ETRS_198
102178	NAD_1927_10TM_AEP_Forest	PROJCS["NAD_1927_10TM_AEP_Forest",GEOGCS["GCS_North_American_1927",DATUM["D_No
102179	NAD_1927_10TM_AEP_Resource	PROJCS["NAD_1927_10TM_AEP_Resource",GEOGCS["GCS_North_American_1927",DATUM["D_
102191	Nord_Maroc_Degree	PROJCS["Nord_Maroc_Degree",GEOGCS["GCS_Merchich_Degree",DATUM["D_Merchich",SPHER
102192	Sud_Maroc_Degree	PROJCS["Sud_Maroc_Degree",GEOGCS["GCS_Merchich_Degree",DATUM["D_Merchich",SPHERO
102193	Sahara_Degree	PROJCS["Sahara_Degree",GEOGCS["GCS_Merchich_Degree",DATUM["D_Merchich",SPHEROID["'
102194	UWPP_1992	PROJCS["UWPP_1992",GEOGCS["GCS_ETRF_1989",DATUM["D_ETRF_1989",SPHEROID["WGS
102195	UWPP_2000_PAS_5	PROJCS["UWPP_2000_PAS_5",GEOGCS["GCS_ETRF_1989",DATUM["D_ETRF_1989",SPHEROI
102196	UWPP_2000_PAS_6	PROJCS["UWPP_2000_PAS_6",GEOGCS["GCS_ETRF_1989",DATUM["D_ETRF_1989",SPHEROI
102197	UWPP_2000_PAS_7	PROJCS["UWPP_2000_PAS_7",GEOGCS["GCS_ETRF_1989",DATUM["D_ETRF_1989",SPHEROI
102198	UWPP_2000_PAS_8	PROJCS["UWPP_2000_PAS_8",GEOGCS["GCS_ETRF_1989",DATUM["D_ETRF_1989",SPHEROI
102204	Ain_el_Abd_1970_Aramco_Lambert_2	PROJCS["Ain_el_Abd_1970_Aramco_Lambert_2",GEOGCS["GCS_Ain_el_Abd_1970",DATUM["D_
102212	NAD_1983_WyLAM	PROJCS["NAD_1983_WyLAM",GEOGCS["GCS_North_American_1983",DATUM["D_North_America
102213	NAD_1983_UTM_Zone_58N	PROJCS["NAD_1983_UTM_Zone_58N",GEOGCS["GCS_North_American_1983",DATUM["D_North
102215	WGS_1984_Canada_Atlas_LCC	PROJCS["WGS_1984_Canada_Atlas_LCC",GEOGCS["GCS_WGS_1984",DATUM["D_WGS_1984"
102216	GDA_1994_Perth_Coastal_Grid_1994	PROJCS["GDA_1994_Perth_Coastal_Grid_1994",GEOGCS["GCS_GDA_1994",DATUM["D_GDA_1
102217	NAD_1983_NSRS2007_Wisconsin_TM_US_Ft	PROJCS["NAD_1983_NSRS2007_Wisconsin_TM_US_Ft",GEOGCS["GCS_NAD_1983_NSRS2007
102218	NAD_1983_USFS_R6_Albers	PROJCS["NAD_1983_USFS_R6_Albers",GEOGCS["GCS_North_American_1983",DATUM["D_Nort

Copyright © 1995-2016 Esri. All rights reserved.

102219	NAD_1983_Wisconsin_TM_US_Ft	PROJCS["NAD_1983_Wisconsin_TM_US_Ft",GEOGCS["GCS_North_American_1983",DATUM["D_
102220	NAD_1983_HARN_Wisconsin_TM_US_Ft	PROJCS["NAD_1983_HARN_Wisconsin_TM_US_Ft",GEOGCS["GCS_North_American_1983_HAR
102221	Ocotepeque_1935_Costa_Rica_Lambert_Norte	PROJCS["Ocotepeque_1935_Costa_Rica_Lambert_Norte",GEOGCS["GCS_Ocotepeque_1935",DA
102222	Ocotepeque_1935_Costa_Rica_Lambert_Sur	PROJCS["Ocotepeque_1935_Costa_Rica_Lambert_Sur",GEOGCS["GCS_Ocotepeque_1935",DATU
102223	WGS_1984_Costa_Rica_TM_90	PROJCS["WGS_1984_Costa_Rica_TM_90",GEOGCS["GCS_WGS_1984",DATUM["D_WGS_1984"
102224	MONREF_1997_UTM_Zone_46N	PROJCS["MONREF_1997_UTM_Zone_46N",GEOGCS["GCS_MONREF_1997",DATUM["D_ITRF_2
102225	MONREF_1997_UTM_Zone_47N	PROJCS["MONREF_1997_UTM_Zone_47N",GEOGCS["GCS_MONREF_1997",DATUM["D_ITRF_2
102226	MONREF_1997_UTM_Zone_48N	PROJCS["MONREF_1997_UTM_Zone_48N",GEOGCS["GCS_MONREF_1997",DATUM["D_ITRF_2
102227	MONREF_1997_UTM_Zone_49N	PROJCS["MONREF_1997_UTM_Zone_49N",GEOGCS["GCS_MONREF_1997",DATUM["D_ITRF_2
102228	MONREF_1997_UTM_Zone_50N	PROJCS["MONREF_1997_UTM_Zone_50N",GEOGCS["GCS_MONREF_1997",DATUM["D_ITRF_2
102231	Colombia_West_West_Zone	PROJCS["Colombia_West_West_Zone",GEOGCS["GCS_Bogota",DATUM["D_Bogota",SPHEROID["
102232	Bogota_Ciudad_Bogota	PROJCS["Bogota_Ciudad_Bogota",GEOGCS["GCS_Bogota",DATUM["D_Bogota",SPHEROID["Inter
102233	MAGNA_Ciudad_Bogota	PROJCS["MAGNA_Ciudad_Bogota",GEOGCS["GCS_MAGNA",DATUM["D_MAGNA",SPHEROID["G
102237	Pohnpei_Az_Eq_1971	PROJCS["Pohnpei_Az_Eq_1971",GEOGCS["GCS_Pohnpei",DATUM["D_Pohnpei",SPHEROID["Cla
102238	Saipan_Az_Eq_1969	PROJCS["Saipan_Az_Eq_1969",GEOGCS["GCS_Guam_1963",DATUM["D_Guam_1963",SPHERO
102239	Guam_Geodetic_Triangulation_Network_1963	PROJCS["Guam_Geodetic_Triangulation_Network_1963",GEOGCS["GCS_Guam_1963",DATUM["D
102240	Guam_Geodetic_Network_1993	PROJCS["Guam_Geodetic_Network_1993",GEOGCS["GCS_North_American_1983_HARN",DATUM
102247	NAD_1983_CORS96_Alaska_Albers	PROJCS["NAD_1983_CORS96_Alaska_Albers",GEOGCS["GCS_NAD_1983_CORS96",DATUM["D
102299	Berghaus_Star_AAG	PROJCS["Berghaus_Star_AAG",GEOGCS["GCS_WGS_1984",DATUM["D_WGS_1984",SPHEROID
102306	Nepal_Nagarkot_TM	PROJCS["Nepal_Nagarkot_TM",GEOGCS["GCS_Nepal_Nagarkot",DATUM["D_Nepal_Nagarkot",SP
102319	CGRS_1993_LTM	PROJCS["CGRS_1993_LTM",GEOGCS["GCS_CGRS_1993",DATUM["D_Cyprus_Geodetic_Referen
102328	ETRS_1989_UTM_Zone_32N_7stellen	PROJCS["ETRS_1989_UTM_Zone_32N_7stellen",GEOGCS["GCS_ETRS_1989",DATUM["D_ETRS
102329	ETRS_1989_UTM_Zone_32N_8stellen	PROJCS["ETRS_1989_UTM_Zone_32N_8stellen",GEOGCS["GCS_ETRS_1989",DATUM["D_ETRS
102359	ETRS_1989_UTM_Zone_33N_7stellen	PROJCS["ETRS_1989_UTM_Zone_33N_7stellen",GEOGCS["GCS_ETRS_1989",DATUM["D_ETRS
102360	ETRS_1989_UTM_Zone_33N_8stellen	PROJCS["ETRS_1989_UTM_Zone_33N_8stellen",GEOGCS["GCS_ETRS_1989",DATUM["D_ETRS
102364	NAD_1983_CORS96_UTM_Zone_59N	PROJCS["NAD_1983_CORS96_UTM_Zone_59N",GEOGCS["GCS_NAD_1983_CORS96",DATUM[
102365	NAD_1983_CORS96_UTM_Zone_60N	PROJCS["NAD_1983_CORS96_UTM_Zone_60N",GEOGCS["GCS_NAD_1983_CORS96",DATUM[
102366	NAD_1983_CORS96_StatePlane_Alaska_1_FIPS_5001	PROJCS["NAD_1983_CORS96_StatePlane_Alaska_1_FIPS_5001",GEOGCS["GCS_NAD_1983_C
102367	NAD_1983_CORS96_StatePlane_Alaska_2_FIPS_5002	PROJCS["NAD_1983_CORS96_StatePlane_Alaska_2_FIPS_5002",GEOGCS["GCS_NAD_1983_C
102368	NAD_1983_CORS96_StatePlane_Alaska_3_FIPS_5003	PROJCS["NAD_1983_CORS96_StatePlane_Alaska_3_FIPS_5003",GEOGCS["GCS_NAD_1983_C
102369	NAD_1983_CORS96_StatePlane_Alaska_4_FIPS_5004	PROJCS["NAD_1983_CORS96_StatePlane_Alaska_4_FIPS_5004",GEOGCS["GCS_NAD_1983_C
102370	NAD_1983_CORS96_StatePlane_Alaska_5_FIPS_5005	PROJCS["NAD_1983_CORS96_StatePlane_Alaska_5_FIPS_5005",GEOGCS["GCS_NAD_1983_C
102371	NAD_1983_CORS96_StatePlane_Alaska_6_FIPS_5006	PROJCS["NAD_1983_CORS96_StatePlane_Alaska_6_FIPS_5006",GEOGCS["GCS_NAD_1983_C
102372	NAD_1983_CORS96_StatePlane_Alaska_7_FIPS_5007	PROJCS["NAD_1983_CORS96_StatePlane_Alaska_7_FIPS_5007",GEOGCS["GCS_NAD_1983_C
102373	NAD_1983_CORS96_StatePlane_Alaska_8_FIPS_5008	PROJCS["NAD_1983_CORS96_StatePlane_Alaska_8_FIPS_5008",GEOGCS["GCS_NAD_1983_C
102374	NAD_1983_CORS96_StatePlane_Alaska_9_FIPS_5009	PROJCS["NAD_1983_CORS96_StatePlane_Alaska_9_FIPS_5009",GEOGCS["GCS_NAD_1983_C
102375	NAD_1983_CORS96_StatePlane_Alaska_10_FIPS_5010	PROJCS["NAD_1983_CORS96_StatePlane_Alaska_10_FIPS_5010",GEOGCS["GCS_NAD_1983_
102376	NAD_1983_CORS96_StatePlane_Oregon_North_FIPS_3601	PROJCS["NAD_1983_CORS96_StatePlane_Oregon_North_FIPS_3601",GEOGCS["GCS_NAD_198
102377	NAD_1983_CORS96_StatePlane_Oregon_South_FIPS_3602	PROJCS["NAD_1983_CORS96_StatePlane_Oregon_South_FIPS_3602",GEOGCS["GCS_NAD_19
102378	NAD_1983_CORS96_StatePlane_Oregon_North_FIPS_3601_Ft_Intl	PROJCS["NAD_1983_CORS96_StatePlane_Oregon_North_FIPS_3601_Ft_Intl",GEOGCS["GCS_N
102379	NAD_1983_CORS96_StatePlane_Oregon_South_FIPS_3602_Ft_Intl	PROJCS["NAD_1983_CORS96_StatePlane_Oregon_South_FIPS_3602_Ft_Intl",GEOGCS["GCS_N
102380	NAD_1983_CORS96_Oregon_Statewide_Lambert	PROJCS["NAD_1983_CORS96_Oregon_Statewide_Lambert",GEOGCS["GCS_NAD_1983_CORS9
102381	NAD_1983_CORS96_Oregon_Statewide_Lambert_Ft_Intl	PROJCS["NAD_1983_CORS96_Oregon_Statewide_Lambert_Ft_Intl",GEOGCS["GCS_NAD_1983_
102389	NAD_1983_Fargo_Ground_Coordinate_System	PROJCS["NAD_1983_Fargo_Ground_Coordinate_System",GEOGCS["GCS_North_American_1983
102390	NAD_1983_HARN_Fargo_Ground_Coordinate_System	PROJCS["NAD_1983_HARN_Fargo_Ground_Coordinate_System",GEOGCS["GCS_North_America
102391	NAD_1983_2011_Fargo_Ground_Coordinate_System	PROJCS["NAD_1983_2011_Fargo_Ground_Coordinate_System",GEOGCS["GCS_NAD_1983_201
102392	NAD_1983_2011_StatePlane_Alaska_4_FIPS_5004_Feet	PROJCS["NAD_1983_2011_StatePlane_Alaska_4_FIPS_5004_Feet",GEOGCS["GCS_NAD_1983_
102393	NAD_1983_2011_StatePlane_Alaska_5_FIPS_5005_Feet	PROJCS["NAD_1983_2011_StatePlane_Alaska_5_FIPS_5005_Feet",GEOGCS["GCS_NAD_1983_
102394	NAD_1983_2011_StatePlane_Alaska_6_FIPS_5006_Feet	PROJCS["NAD_1983_2011_StatePlane_Alaska_6_FIPS_5006_Feet",GEOGCS["GCS_NAD_1983_
102395	NAD_1983_2011_StatePlane_Alaska_7_FIPS_5007_Feet	PROJCS["NAD_1983_2011_StatePlane_Alaska_7_FIPS_5007_Feet",GEOGCS["GCS_NAD_1983_
102396	NAD_1983_2011_StatePlane_Alaska_8_FIPS_5008_Feet	PROJCS["NAD_1983_2011_StatePlane_Alaska_8_FIPS_5008_Feet",GEOGCS["GCS_NAD_1983_
102397	NAD_1983_2011_StatePlane_Alaska_9_FIPS_5009_Feet	PROJCS["NAD_1983_2011_StatePlane_Alaska_9_FIPS_5009_Feet",GEOGCS["GCS_NAD_1983_
102398	NAD_1983_2011_StatePlane_Alaska_10_FIPS_5010_Feet	PROJCS["NAD_1983_2011_StatePlane_Alaska_10_FIPS_5010_Feet",GEOGCS["GCS_NAD_1983
102401	NAD_1983_CORS96_UTM_Zone_1N	PROJCS["NAD_1983_CORS96_UTM_Zone_1N",GEOGCS["GCS_NAD_1983_CORS96",DATUM["D

Copyright © 1995-2016 Esri. All rights reserved.

102402	NAD_1983_CORS96_UTM_Zone_2N	PROJCS["NAD_1983_CORS96_UTM_Zone_2N",GEOGCS["GCS_NAD_1983_CORS96",DATUM["D
102403	NAD_1983_CORS96_UTM_Zone_3N	PROJCS["NAD_1983_CORS96_UTM_Zone_3N",GEOGCS["GCS_NAD_1983_CORS96",DATUM["D
102404	NAD_1983_CORS96_UTM_Zone_4N	PROJCS["NAD_1983_CORS96_UTM_Zone_4N",GEOGCS["GCS_NAD_1983_CORS96",DATUM["D
102405	NAD_1983_CORS96_UTM_Zone_5N	PROJCS["NAD_1983_CORS96_UTM_Zone_5N",GEOGCS["GCS_NAD_1983_CORS96",DATUM["D
102406	NAD_1983_CORS96_UTM_Zone_6N	PROJCS["NAD_1983_CORS96_UTM_Zone_6N",GEOGCS["GCS_NAD_1983_CORS96",DATUM["D
102407	NAD_1983_CORS96_UTM_Zone_7N	PROJCS["NAD_1983_CORS96_UTM_Zone_7N",GEOGCS["GCS_NAD_1983_CORS96",DATUM["D
102408	NAD_1983_CORS96_UTM_Zone_8N	PROJCS["NAD_1983_CORS96_UTM_Zone_8N",GEOGCS["GCS_NAD_1983_CORS96",DATUM["D
102409	NAD_1983_CORS96_UTM_Zone_9N	PROJCS["NAD_1983_CORS96_UTM_Zone_9N",GEOGCS["GCS_NAD_1983_CORS96",DATUM["D
102410	NAD_1983_CORS96_UTM_Zone_10N	PROJCS["NAD_1983_CORS96_UTM_Zone_10N",GEOGCS["GCS_NAD_1983_CORS96",DATUM[
102411	NAD_1983_CORS96_UTM_Zone_11N	PROJCS["NAD_1983_CORS96_UTM_Zone_11N",GEOGCS["GCS_NAD_1983_CORS96",DATUM[
102412	NAD_1983_CORS96_UTM_Zone_12N	PROJCS["NAD_1983_CORS96_UTM_Zone_12N",GEOGCS["GCS_NAD_1983_CORS96",DATUM[
102413	NAD_1983_CORS96_UTM_Zone_13N	PROJCS["NAD_1983_CORS96_UTM_Zone_13N",GEOGCS["GCS_NAD_1983_CORS96",DATUM[
102414	NAD_1983_CORS96_UTM_Zone_14N	PROJCS["NAD_1983_CORS96_UTM_Zone_14N",GEOGCS["GCS_NAD_1983_CORS96",DATUM[
102415	NAD_1983_CORS96_UTM_Zone_15N	PROJCS["NAD_1983_CORS96_UTM_Zone_15N",GEOGCS["GCS_NAD_1983_CORS96",DATUM[
102416	NAD_1983_CORS96_UTM_Zone_16N	PROJCS["NAD_1983_CORS96_UTM_Zone_16N",GEOGCS["GCS_NAD_1983_CORS96",DATUM[
102417	NAD_1983_CORS96_UTM_Zone_17N	PROJCS["NAD_1983_CORS96_UTM_Zone_17N",GEOGCS["GCS_NAD_1983_CORS96",DATUM[
102418	NAD_1983_CORS96_UTM_Zone_18N	PROJCS["NAD_1983_CORS96_UTM_Zone_18N",GEOGCS["GCS_NAD_1983_CORS96",DATUM[
102419	NAD_1983_CORS96_UTM_Zone_19N	PROJCS["NAD_1983_CORS96_UTM_Zone_19N",GEOGCS["GCS_NAD_1983_CORS96",DATUM[
102421	WGS_1984_ARC_System_Zone_01	PROJCS["WGS_1984_ARC_System_Zone_01",GEOGCS["GCS_WGS_1984",DATUM["D_WGS_19
102422	WGS_1984_ARC_System_Zone_02	PROJCS["WGS_1984_ARC_System_Zone_02",GEOGCS["GCS_WGS_1984",DATUM["D_WGS_19
102423	WGS_1984_ARC_System_Zone_03	PROJCS["WGS_1984_ARC_System_Zone_03",GEOGCS["GCS_WGS_1984",DATUM["D_WGS_19
102424	WGS_1984_ARC_System_Zone_04	PROJCS["WGS_1984_ARC_System_Zone_04",GEOGCS["GCS_WGS_1984",DATUM["D_WGS_19
102425	WGS_1984_ARC_System_Zone_05	PROJCS["WGS_1984_ARC_System_Zone_05",GEOGCS["GCS_WGS_1984",DATUM["D_WGS_19
102426	WGS_1984_ARC_System_Zone_06	PROJCS["WGS_1984_ARC_System_Zone_06",GEOGCS["GCS_WGS_1984",DATUM["D_WGS_19
102427	WGS_1984_ARC_System_Zone_07	PROJCS["WGS_1984_ARC_System_Zone_07",GEOGCS["GCS_WGS_1984",DATUM["D_WGS_19
102428	WGS_1984_ARC_System_Zone_08	PROJCS["WGS_1984_ARC_System_Zone_08",GEOGCS["GCS_WGS_1984",DATUM["D_WGS_19
102429	WGS_1984_ARC_System_Zone_09	PROJCS["WGS_1984_ARC_System_Zone_09",GEOGCS["GCS_WGS_1984",DATUM["D_WGS_19
102430	WGS_1984_ARC_System_Zone_10	PROJCS["WGS_1984_ARC_System_Zone_10",GEOGCS["GCS_WGS_1984",DATUM["D_WGS_19
102431	WGS_1984_ARC_System_Zone_11	PROJCS["WGS_1984_ARC_System_Zone_11",GEOGCS["GCS_WGS_1984",DATUM["D_WGS_19
102432	WGS_1984_ARC_System_Zone_12	PROJCS["WGS_1984_ARC_System_Zone_12",GEOGCS["GCS_WGS_1984",DATUM["D_WGS_19
102433	WGS_1984_ARC_System_Zone_13	PROJCS["WGS_1984_ARC_System_Zone_13",GEOGCS["GCS_WGS_1984",DATUM["D_WGS_19
102434	WGS_1984_ARC_System_Zone_14	PROJCS["WGS_1984_ARC_System_Zone_14",GEOGCS["GCS_WGS_1984",DATUM["D_WGS_19
102435	WGS_1984_ARC_System_Zone_15	PROJCS["WGS_1984_ARC_System_Zone_15",GEOGCS["GCS_WGS_1984",DATUM["D_WGS_19
102436	WGS_1984_ARC_System_Zone_16	PROJCS["WGS_1984_ARC_System_Zone_16",GEOGCS["GCS_WGS_1984",DATUM["D_WGS_19
102437	WGS_1984_ARC_System_Zone_17	PROJCS["WGS_1984_ARC_System_Zone_17",GEOGCS["GCS_WGS_1984",DATUM["D_WGS_19
102438	WGS_1984_ARC_System_Zone_18	PROJCS["WGS_1984_ARC_System_Zone_18",GEOGCS["GCS_WGS_1984",DATUM["D_WGS_19
102440	LKS_1992_Latvia_TM_0	PROJCS["LKS_1992_Latvia_TM_0",GEOGCS["GCS_LKS_1992",DATUM["D_Latvia_1992",SPHER
102445	NAD_1983_2011_StatePlane_Alaska_1_FIPS_5001_Feet	PROJCS["NAD_1983_2011_StatePlane_Alaska_1_FIPS_5001_Feet",GEOGCS["GCS_NAD_1983_
102446	NAD_1983_2011_StatePlane_Alaska_2_FIPS_5002_Feet	PROJCS["NAD_1983_2011_StatePlane_Alaska_2_FIPS_5002_Feet",GEOGCS["GCS_NAD_1983_
102447	NAD_1983_2011_StatePlane_Alaska_3_FIPS_5003_Feet	PROJCS["NAD_1983_2011_StatePlane_Alaska_3_FIPS_5003_Feet",GEOGCS["GCS_NAD_1983_
102448	Macao_2008_Macau_Grid	PROJCS["Macao_2008_Macau_Grid",GEOGCS["GCS_MACAO_2008",DATUM["D_MACAO_2008",
102450	NGO_1948_Oslo_Baerum_Kommune	PROJCS["NGO_1948_Oslo_Baerum_Kommune",GEOGCS["GCS_NGO_1948_Oslo",DATUM["D_N
102451	NGO_1948_Oslo_Bergenhalvoen	PROJCS["NGO_1948_Oslo_Bergenhalvoen",GEOGCS["GCS_NGO_1948_Oslo",DATUM["D_NGO_
102452	NGO_1948_Oslo_Oslo_Kommune	PROJCS["NGO_1948_Oslo_Oslo_Kommune",GEOGCS["GCS_NGO_1948_Oslo",DATUM["D_NGO
102461	NAD_1983_HARN_StatePlane_Hawaii_1_FIPS_5101_Feet	PROJCS["NAD_1983_HARN_StatePlane_Hawaii_1_FIPS_5101_Feet",GEOGCS["GCS_North_Ame
102462	NAD_1983_HARN_StatePlane_Hawaii_2_FIPS_5102_Feet	PROJCS["NAD_1983_HARN_StatePlane_Hawaii_2_FIPS_5102_Feet",GEOGCS["GCS_North_Ame
102464	NAD_1983_HARN_StatePlane_Hawaii_4_FIPS_5104_Feet	PROJCS["NAD_1983_HARN_StatePlane_Hawaii_4_FIPS_5104_Feet",GEOGCS["GCS_North_Ame
102465	NAD_1983_HARN_StatePlane_Hawaii_5_FIPS_5105_Feet	PROJCS["NAD_1983_HARN_StatePlane_Hawaii_5_FIPS_5105_Feet",GEOGCS["GCS_North_Ame
102470	Cape_Lo15	PROJCS["Cape_Lo15",GEOGCS["GCS_Cape",DATUM["D_Cape",SPHEROID["Clarke_1880_Arc",6
102471	Cape_Lo17	PROJCS["Cape_Lo17",GEOGCS["GCS_Cape",DATUM["D_Cape",SPHEROID["Clarke_1880_Arc",6
102472	Cape_Lo19	PROJCS["Cape_Lo19",GEOGCS["GCS_Cape",DATUM["D_Cape",SPHEROID["Clarke_1880_Arc",6
102473	Cape_Lo21	PROJCS["Cape_Lo21",GEOGCS["GCS_Cape",DATUM["D_Cape",SPHEROID["Clarke_1880_Arc",6
102474	Cape_Lo23	PROJCS["Cape_Lo23",GEOGCS["GCS_Cape",DATUM["D_Cape",SPHEROID["Clarke_1880_Arc",6
102475	Cape_Lo25	PROJCS["Cape_Lo25",GEOGCS["GCS_Cape",DATUM["D_Cape",SPHEROID["Clarke_1880_Arc",6

Copyright © 1995-2016 Esri. All rights reserved.

102476	Cape_Lo27	PROJCS["Cape_Lo27",GEOGCS["GCS_Cape",DATUM["D_Cape",SPHEROID["Clarke_1880_Arc",6
102477	Cape_Lo29	PROJCS["Cape_Lo29",GEOGCS["GCS_Cape",DATUM["D_Cape",SPHEROID["Clarke_1880_Arc",6
102478	Cape_Lo31	PROJCS["Cape_Lo31",GEOGCS["GCS_Cape",DATUM["D_Cape",SPHEROID["Clarke_1880_Arc",6
102479	Cape_Lo33	PROJCS["Cape_Lo33",GEOGCS["GCS_Cape",DATUM["D_Cape",SPHEROID["Clarke_1880_Arc",6
102480	Hartebeesthoek94_Lo15	PROJCS["Hartebeesthoek94_Lo15",GEOGCS["GCS_Hartebeesthoek_1994",DATUM["D_Hartebees
102481	Hartebeesthoek94_Lo17	PROJCS["Hartebeesthoek94_Lo17",GEOGCS["GCS_Hartebeesthoek_1994",DATUM["D_Hartebees
102482	Hartebeesthoek94_Lo19	PROJCS["Hartebeesthoek94_Lo19",GEOGCS["GCS_Hartebeesthoek_1994",DATUM["D_Hartebees
102483	Hartebeesthoek94_Lo21	PROJCS["Hartebeesthoek94_Lo21",GEOGCS["GCS_Hartebeesthoek_1994",DATUM["D_Hartebees
102484	Hartebeesthoek94_Lo23	PROJCS["Hartebeesthoek94_Lo23",GEOGCS["GCS_Hartebeesthoek_1994",DATUM["D_Hartebees
102485	Hartebeesthoek94_Lo25	PROJCS["Hartebeesthoek94_Lo25",GEOGCS["GCS_Hartebeesthoek_1994",DATUM["D_Hartebees
102486	Hartebeesthoek94_Lo27	PROJCS["Hartebeesthoek94_Lo27",GEOGCS["GCS_Hartebeesthoek_1994",DATUM["D_Hartebees
102487	Hartebeesthoek94_Lo29	PROJCS["Hartebeesthoek94_Lo29",GEOGCS["GCS_Hartebeesthoek_1994",DATUM["D_Hartebees
102488	Hartebeesthoek94_Lo31	PROJCS["Hartebeesthoek94_Lo31",GEOGCS["GCS_Hartebeesthoek_1994",DATUM["D_Hartebees
102489	Hartebeesthoek94_Lo33	PROJCS["Hartebeesthoek94_Lo33",GEOGCS["GCS_Hartebeesthoek_1994",DATUM["D_Hartebees
102491	Nord_Algerie_Ancienne_Degree	PROJCS["Nord_Algerie_Ancienne_Degree",GEOGCS["GCS_Voirol_1875",DATUM["D_Voirol_1875"
102492	Sud_Algerie_Ancienne_Degree	PROJCS["Sud_Algerie_Ancienne_Degree",GEOGCS["GCS_Voirol_1875",DATUM["D_Voirol_1875",
102500	OCRS_Baker_NAD_1983_CORS96_TM_Feet_Intl	PROJCS["OCRS_Baker_NAD_1983_CORS96_TM_Feet_Intl",GEOGCS["GCS_NAD_1983_CORS9
102501	OCRS_Bend-Burns_NAD_1983_CORS96_LCC_Feet_Intl	PROJCS["OCRS_Bend-Burns_NAD_1983_CORS96_LCC_Feet_Intl",GEOGCS["GCS_NAD_1983_
102502	OCRS_Bend-Klamath_Falls_NAD_1983_CORS96_TM_Feet_Intl	PROJCS["OCRS_Bend-Klamath_Falls_NAD_1983_CORS96_TM_Feet_Intl",GEOGCS["GCS_NAD_
102503	OCRS_Bend-Redmond-Prineville_NAD_1983_CORS96_LCC_Feet_Intl	PROJCS["OCRS_Bend-Redmond-Prineville_NAD_1983_CORS96_LCC_Feet_Intl",GEOGCS["GCS
102504	OCRS_Canyonville-Grants_Pass_NAD_1983_CORS96_TM_Feet_Intl	PROJCS["OCRS_Canyonville-Grants_Pass_NAD_1983_CORS96_TM_Feet_Intl",GEOGCS["GCS_
102505	OCRS_Columbia_River_East_NAD_1983_CORS96_LCC_Feet_Intl	PROJCS["OCRS_Columbia_River_East_NAD_1983_CORS96_LCC_Feet_Intl",GEOGCS["GCS_NA
102506	OCRS_Columbia_River_West_NAD_1983_CORS96_OM_Feet_Intl	PROJCS["OCRS_Columbia_River_West_NAD_1983_CORS96_OM_Feet_Intl",GEOGCS["GCS_NA
102507	OCRS_Cottage_Grove-Canyonville_NAD_1983_CORS96_TM_Feet_Intl	PROJCS["OCRS_Cottage_Grove-Canyonville_NAD_1983_CORS96_TM_Feet_Intl",GEOGCS["GCS
102508	OCRS_Dufur-Madras_NAD_1983_CORS96_TM_Feet_Intl	PROJCS["OCRS_Dufur-Madras_NAD_1983_CORS96_TM_Feet_Intl",GEOGCS["GCS_NAD_1983_
102509	OCRS_Eugene_NAD_1983_CORS96_TM_Feet_Intl	PROJCS["OCRS_Eugene_NAD_1983_CORS96_TM_Feet_Intl",GEOGCS["GCS_NAD_1983_CORS
102510	OCRS_Grants_Pass-Ashland_NAD_1983_CORS96_TM_Feet_Intl	PROJCS["OCRS_Grants_Pass-Ashland_NAD_1983_CORS96_TM_Feet_Intl",GEOGCS["GCS_NAD
102511	OCRS_Gresham-Warm_Springs_NAD_1983_CORS96_TM_Feet_Intl	PROJCS["OCRS_Gresham-Warm_Springs_NAD_1983_CORS96_TM_Feet_Intl",GEOGCS["GCS_N
102512	OCRS_La_Grande_NAD_1983_CORS96_TM_Feet_Intl	PROJCS["OCRS_La_Grande_NAD_1983_CORS96_TM_Feet_Intl",GEOGCS["GCS_NAD_1983_C
102513	OCRS_Ontario_NAD_1983_CORS96_TM_Feet_Intl	PROJCS["OCRS_Ontario_NAD_1983_CORS96_TM_Feet_Intl",GEOGCS["GCS_NAD_1983_CORS
102514	OCRS_Oregon_Coast_NAD_1983_CORS96_OM_Feet_Intl	PROJCS["OCRS_Oregon_Coast_NAD_1983_CORS96_OM_Feet_Intl",GEOGCS["GCS_NAD_1983
102515	OCRS_Pendleton-La_Grande_NAD_1983_CORS96_TM_Feet_Intl	PROJCS["OCRS_Pendleton-La_Grande_NAD_1983_CORS96_TM_Feet_Intl",GEOGCS["GCS_NA
102516	OCRS_Pendleton_NAD_1983_CORS96_TM_Feet_Intl	PROJCS["OCRS_Pendleton_NAD_1983_CORS96_TM_Feet_Intl",GEOGCS["GCS_NAD_1983_CO
102517	OCRS_Portland_NAD_1983_CORS96_LCC_Feet_Intl	PROJCS["OCRS_Portland_NAD_1983_CORS96_LCC_Feet_Intl",GEOGCS["GCS_NAD_1983_CO
102518	OCRS_Salem_NAD_1983_CORS96_TM_Feet_Intl	PROJCS["OCRS_Salem_NAD_1983_CORS96_TM_Feet_Intl",GEOGCS["GCS_NAD_1983_CORS9
102519	OCRS_Santiam_Pass_NAD_1983_CORS96_TM_Feet_Intl	PROJCS["OCRS_Santiam_Pass_NAD_1983_CORS96_TM_Feet_Intl",GEOGCS["GCS_NAD_1983
102525	NAD_1983_PA11_StatePlane_Hawaii_1_FIPS_5101_Feet	PROJCS["NAD_1983_PA11_StatePlane_Hawaii_1_FIPS_5101_Feet",GEOGCS["GCS_NAD_1983_
102526	NAD_1983_PA11_StatePlane_Hawaii_2_FIPS_5102_Feet	PROJCS["NAD_1983_PA11_StatePlane_Hawaii_2_FIPS_5102_Feet",GEOGCS["GCS_NAD_1983_
102528	NAD_1983_PA11_StatePlane_Hawaii_4_FIPS_5104_Feet	PROJCS["NAD_1983_PA11_StatePlane_Hawaii_4_FIPS_5104_Feet",GEOGCS["GCS_NAD_1983_
102529	NAD_1983_PA11_StatePlane_Hawaii_5_FIPS_5105_Feet	PROJCS["NAD_1983_PA11_StatePlane_Hawaii_5_FIPS_5105_Feet",GEOGCS["GCS_NAD_1983_
102530	OCRS_Baker_NAD_1983_CORS96_TM_Meters	PROJCS["OCRS_Baker_NAD_1983_CORS96_TM_Meters",GEOGCS["GCS_NAD_1983_CORS96"
102531	OCRS_Bend-Burns_NAD_1983_CORS96_LCC_Meters	PROJCS["OCRS_Bend-Burns_NAD_1983_CORS96_LCC_Meters",GEOGCS["GCS_NAD_1983_C
102532	OCRS_Bend-Klamath_Falls_NAD_1983_CORS96_TM_Meters	PROJCS["OCRS_Bend-Klamath_Falls_NAD_1983_CORS96_TM_Meters",GEOGCS["GCS_NAD_1
102533	OCRS_Bend-Redmond-Prineville_NAD_1983_CORS96_LCC_Meters	PROJCS["OCRS_Bend-Redmond-Prineville_NAD_1983_CORS96_LCC_Meters",GEOGCS["GCS_
102534	OCRS_Canyonville-Grants_Pass_NAD_1983_CORS96_TM_Meters	PROJCS["OCRS_Canyonville-Grants_Pass_NAD_1983_CORS96_TM_Meters",GEOGCS["GCS_NA
102535	OCRS_Columbia_River_East_NAD_1983_CORS96_LCC_Meters	PROJCS["OCRS_Columbia_River_East_NAD_1983_CORS96_LCC_Meters",GEOGCS["GCS_NAD
102536	OCRS_Columbia_River_West_NAD_1983_CORS96_OM_Meters	PROJCS["OCRS_Columbia_River_West_NAD_1983_CORS96_OM_Meters",GEOGCS["GCS_NAD
102537	OCRS_Cottage_Grove-Canyonville_NAD_1983_CORS96_TM_Meters	PROJCS["OCRS_Cottage_Grove-Canyonville_NAD_1983_CORS96_TM_Meters",GEOGCS["GCS_
102538	OCRS_Dufur-Madras_NAD_1983_CORS96_TM_Meters	PROJCS["OCRS_Dufur-Madras_NAD_1983_CORS96_TM_Meters",GEOGCS["GCS_NAD_1983_C
102539	OCRS_Eugene_NAD_1983_CORS96_TM_Meters	PROJCS["OCRS_Eugene_NAD_1983_CORS96_TM_Meters",GEOGCS["GCS_NAD_1983_CORS9
102540	OCRS_Grants_Pass-Ashland_NAD_1983_CORS96_TM_Meters	PROJCS["OCRS_Grants_Pass-Ashland_NAD_1983_CORS96_TM_Meters",GEOGCS["GCS_NAD_
102541	OCRS_Gresham-Warm_Springs_NAD_1983_CORS96_TM_Meters	PROJCS["OCRS_Gresham-Warm_Springs_NAD_1983_CORS96_TM_Meters",GEOGCS["GCS_NA
102542	OCRS_La_Grande_NAD_1983_CORS96_TM_Meters	PROJCS["OCRS_La_Grande_NAD_1983_CORS96_TM_Meters",GEOGCS["GCS_NAD_1983_COR
102543	OCRS_Ontario_NAD_1983_CORS96_TM_Meters	PROJCS["OCRS_Ontario_NAD_1983_CORS96_TM_Meters",GEOGCS["GCS_NAD_1983_CORS9

Copyright © 1995-2016 Esri. All rights reserved.

102544	OCRS_Oregon_Coast_NAD_1983_CORS96_OM_Meters	PROJCS["OCRS_Oregon_Coast_NAD_1983_CORS96_OM_Meters",GEOGCS["GCS_NAD_1983_
102545	OCRS_Pendleton-La_Grande_NAD_1983_CORS96_TM_Meters	PROJCS["OCRS_Pendleton-La_Grande_NAD_1983_CORS96_TM_Meters",GEOGCS["GCS_NAD_
102546	OCRS_Pendleton_NAD_1983_CORS96_TM_Meters	PROJCS["OCRS_Pendleton_NAD_1983_CORS96_TM_Meters",GEOGCS["GCS_NAD_1983_COR
102547	OCRS_Portland_NAD_1983_CORS96_LCC_Meters	PROJCS["OCRS_Portland_NAD_1983_CORS96_LCC_Meters",GEOGCS["GCS_NAD_1983_CORS
102548	OCRS_Salem_NAD_1983_CORS96_TM_Meters	PROJCS["OCRS_Salem_NAD_1983_CORS96_TM_Meters",GEOGCS["GCS_NAD_1983_CORS96
102549	OCRS_Santiam_Pass_NAD_1983_CORS96_TM_Meters	PROJCS["OCRS_Santiam_Pass_NAD_1983_CORS96_TM_Meters",GEOGCS["GCS_NAD_1983_
102550	ED_1950_Turkey_9	PROJCS["ED_1950_Turkey_9",GEOGCS["GCS_European_1950",DATUM["D_European_1950",SP
102551	ED_1950_Turkey_10	PROJCS["ED_1950_Turkey_10",GEOGCS["GCS_European_1950",DATUM["D_European_1950",S
102552	ED_1950_Turkey_11	PROJCS["ED_1950_Turkey_11",GEOGCS["GCS_European_1950",DATUM["D_European_1950",S
102553	ED_1950_Turkey_12	PROJCS["ED_1950_Turkey_12",GEOGCS["GCS_European_1950",DATUM["D_European_1950",S
102554	ED_1950_Turkey_13	PROJCS["ED_1950_Turkey_13",GEOGCS["GCS_European_1950",DATUM["D_European_1950",S
102555	ED_1950_Turkey_14	PROJCS["ED_1950_Turkey_14",GEOGCS["GCS_European_1950",DATUM["D_European_1950",S
102556	ED_1950_Turkey_15	PROJCS["ED_1950_Turkey_15",GEOGCS["GCS_European_1950",DATUM["D_European_1950",S
102570	WGS_1984_Complex_UTM_Zone_20N	PROJCS["WGS_1984_Complex_UTM_Zone_20N",GEOGCS["GCS_WGS_1984",DATUM["D_WGS_
102571	WGS_1984_Complex_UTM_Zone_21N	PROJCS["WGS_1984_Complex_UTM_Zone_21N",GEOGCS["GCS_WGS_1984",DATUM["D_WGS_
102572	WGS_1984_Complex_UTM_Zone_22N	PROJCS["WGS_1984_Complex_UTM_Zone_22N",GEOGCS["GCS_WGS_1984",DATUM["D_WGS_
102573	WGS_1984_Complex_UTM_Zone_23N	PROJCS["WGS_1984_Complex_UTM_Zone_23N",GEOGCS["GCS_WGS_1984",DATUM["D_WGS_
102574	WGS_1984_Complex_UTM_Zone_24N	PROJCS["WGS_1984_Complex_UTM_Zone_24N",GEOGCS["GCS_WGS_1984",DATUM["D_WGS_
102575	WGS_1984_Complex_UTM_Zone_25N	PROJCS["WGS_1984_Complex_UTM_Zone_25N",GEOGCS["GCS_WGS_1984",DATUM["D_WGS_
102576	WGS_1984_Complex_UTM_Zone_26N	PROJCS["WGS_1984_Complex_UTM_Zone_26N",GEOGCS["GCS_WGS_1984",DATUM["D_WGS_
102577	WGS_1984_Complex_UTM_Zone_27N	PROJCS["WGS_1984_Complex_UTM_Zone_27N",GEOGCS["GCS_WGS_1984",DATUM["D_WGS_
102578	WGS_1984_Complex_UTM_Zone_28N	PROJCS["WGS_1984_Complex_UTM_Zone_28N",GEOGCS["GCS_WGS_1984",DATUM["D_WGS_
102579	WGS_1984_Complex_UTM_Zone_29N	PROJCS["WGS_1984_Complex_UTM_Zone_29N",GEOGCS["GCS_WGS_1984",DATUM["D_WGS_
102580	WGS_1984_Complex_UTM_Zone_30N	PROJCS["WGS_1984_Complex_UTM_Zone_30N",GEOGCS["GCS_WGS_1984",DATUM["D_WGS_
102581	NTF_France_I_degrees	PROJCS["NTF_France_I_degrees",GEOGCS["GCS_NTF",DATUM["D_NTF",SPHEROID["Clarke_18
102582	NTF_France_II_degrees	PROJCS["NTF_France_II_degrees",GEOGCS["GCS_NTF",DATUM["D_NTF",SPHEROID["Clarke_1
102583	NTF_France_III_degrees	PROJCS["NTF_France_III_degrees",GEOGCS["GCS_NTF",DATUM["D_NTF",SPHEROID["Clarke_
102584	NTF_France_IV_degrees	PROJCS["NTF_France_IV_degrees",GEOGCS["GCS_NTF",DATUM["D_NTF",SPHEROID["Clarke_
102585	NTF_Lambert_Zone_I	PROJCS["NTF_Lambert_Zone_I",GEOGCS["GCS_NTF",DATUM["D_NTF",SPHEROID["Clarke_188
102586	NTF_Lambert_Zone_II	PROJCS["NTF_Lambert_Zone_II",GEOGCS["GCS_NTF",DATUM["D_NTF",SPHEROID["Clarke_188
102587	NTF_Lambert_Zone_III	PROJCS["NTF_Lambert_Zone_III",GEOGCS["GCS_NTF",DATUM["D_NTF",SPHEROID["Clarke_18
102588	NTF_Lambert_Zone_IV	PROJCS["NTF_Lambert_Zone_IV",GEOGCS["GCS_NTF",DATUM["D_NTF",SPHEROID["Clarke_18
102589	Panhandle_Energy_Albers	PROJCS["Panhandle_Energy_Albers",GEOGCS["GCS_North_American_1983",DATUM["D_North_A
102590	Tananarive_1925_Laborde_Grid	PROJCS["Tananarive_1925_Laborde_Grid",GEOGCS["GCS_Tananarive_1925",DATUM["D_Tanana
102591	Nord_Algerie_Degree	PROJCS["Nord_Algerie_Degree",GEOGCS["GCS_Voirol_Unifie_1960_Degree",DATUM["D_Voirol_U
102592	Sud_Algerie_Degree	PROJCS["Sud_Algerie_Degree",GEOGCS["GCS_Voirol_Unifie_1960_Degree",DATUM["D_Voirol_U
102598	JGD_2011_UTM_Zone_56N	PROJCS["JGD_2011_UTM_Zone_56N",GEOGCS["GCS_JGD_2011",DATUM["D_JGD_2011",SPHE
102599	WGS_1984_California_Teale_Albers_FtUS	PROJCS["WGS_1984_California_Teale_Albers_FtUS",GEOGCS["GCS_WGS_1984",DATUM["D_W
102600	NAD_1983_California_Teale_Albers_FtUS	PROJCS["NAD_1983_California_Teale_Albers_FtUS",GEOGCS["GCS_North_American_1983",DAT
102604	NAD_1983_Georgia_Statewide_Lambert	PROJCS["NAD_1983_Georgia_Statewide_Lambert",GEOGCS["GCS_North_American_1983",DATU
102605	NAD_1983_Idaho_TM	PROJCS["NAD_1983_Idaho_TM",GEOGCS["GCS_North_American_1983",DATUM["D_North_Amer
102629	NAD_1983_StatePlane_Alabama_East_FIPS_0101_Feet	PROJCS["NAD_1983_StatePlane_Alabama_East_FIPS_0101_Feet",GEOGCS["GCS_North_Americ
102630	NAD_1983_StatePlane_Alabama_West_FIPS_0102_Feet	PROJCS["NAD_1983_StatePlane_Alabama_West_FIPS_0102_Feet",GEOGCS["GCS_North_Ameri
102631	NAD_1983_StatePlane_Alaska_1_FIPS_5001_Feet	PROJCS["NAD_1983_StatePlane_Alaska_1_FIPS_5001_Feet",GEOGCS["GCS_North_American_1
102632	NAD_1983_StatePlane_Alaska_2_FIPS_5002_Feet	PROJCS["NAD_1983_StatePlane_Alaska_2_FIPS_5002_Feet",GEOGCS["GCS_North_American_1
102633	NAD_1983_StatePlane_Alaska_3_FIPS_5003_Feet	PROJCS["NAD_1983_StatePlane_Alaska_3_FIPS_5003_Feet",GEOGCS["GCS_North_American_1
102634	NAD_1983_StatePlane_Alaska_4_FIPS_5004_Feet	PROJCS["NAD_1983_StatePlane_Alaska_4_FIPS_5004_Feet",GEOGCS["GCS_North_American_1
102635	NAD_1983_StatePlane_Alaska_5_FIPS_5005_Feet	PROJCS["NAD_1983_StatePlane_Alaska_5_FIPS_5005_Feet",GEOGCS["GCS_North_American_1
102636	NAD_1983_StatePlane_Alaska_6_FIPS_5006_Feet	PROJCS["NAD_1983_StatePlane_Alaska_6_FIPS_5006_Feet",GEOGCS["GCS_North_American_1
102637	NAD_1983_StatePlane_Alaska_7_FIPS_5007_Feet	PROJCS["NAD_1983_StatePlane_Alaska_7_FIPS_5007_Feet",GEOGCS["GCS_North_American_1
102638	NAD_1983_StatePlane_Alaska_8_FIPS_5008_Feet	PROJCS["NAD_1983_StatePlane_Alaska_8_FIPS_5008_Feet",GEOGCS["GCS_North_American_1
102639	NAD_1983_StatePlane_Alaska_9_FIPS_5009_Feet	PROJCS["NAD_1983_StatePlane_Alaska_9_FIPS_5009_Feet",GEOGCS["GCS_North_American_1
102640	NAD_1983_StatePlane_Alaska_10_FIPS_5010_Feet	PROJCS["NAD_1983_StatePlane_Alaska_10_FIPS_5010_Feet",GEOGCS["GCS_North_American_
102648	NAD_1983_StatePlane_Arizona_East_FIPS_0201_Feet	PROJCS["NAD_1983_StatePlane_Arizona_East_FIPS_0201_Feet",GEOGCS["GCS_North_America

Copyright © 1995-2016 Esri. All rights reserved.

102649	NAD_1983_StatePlane_Arizona_Central_FIPS_0202_Feet	PROJCS["NAD_1983_StatePlane_Arizona_Central_FIPS_0202_Feet",GEOGCS["GCS_North_Amer
102650	NAD_1983_StatePlane_Arizona_West_FIPS_0203_Feet	PROJCS["NAD_1983_StatePlane_Arizona_West_FIPS_0203_Feet",GEOGCS["GCS_North_Americ
102661	NAD_1983_StatePlane_Hawaii_1_FIPS_5101_Feet	PROJCS["NAD_1983_StatePlane_Hawaii_1_FIPS_5101_Feet",GEOGCS["GCS_North_American_1
102662	NAD_1983_StatePlane_Hawaii_2_FIPS_5102_Feet	PROJCS["NAD_1983_StatePlane_Hawaii_2_FIPS_5102_Feet",GEOGCS["GCS_North_American_1
102664	NAD_1983_StatePlane_Hawaii_4_FIPS_5104_Feet	PROJCS["NAD_1983_StatePlane_Hawaii_4_FIPS_5104_Feet",GEOGCS["GCS_North_American_1
102665	NAD_1983_StatePlane_Hawaii_5_FIPS_5105_Feet	PROJCS["NAD_1983_StatePlane_Hawaii_5_FIPS_5105_Feet",GEOGCS["GCS_North_American_1
102688	NAD_1983_StatePlane_Michigan_North_FIPS_2111_Feet	PROJCS["NAD_1983_StatePlane_Michigan_North_FIPS_2111_Feet",GEOGCS["GCS_North_Amer
102689	NAD_1983_StatePlane_Michigan_Central_FIPS_2112_Feet	PROJCS["NAD_1983_StatePlane_Michigan_Central_FIPS_2112_Feet",GEOGCS["GCS_North_Am
102690	NAD_1983_StatePlane_Michigan_South_FIPS_2113_Feet	PROJCS["NAD_1983_StatePlane_Michigan_South_FIPS_2113_Feet",GEOGCS["GCS_North_Amer
102696	NAD_1983_StatePlane_Missouri_East_FIPS_2401_Feet	PROJCS["NAD_1983_StatePlane_Missouri_East_FIPS_2401_Feet",GEOGCS["GCS_North_Americ
102697	NAD_1983_StatePlane_Missouri_Central_FIPS_2402_Feet	PROJCS["NAD_1983_StatePlane_Missouri_Central_FIPS_2402_Feet",GEOGCS["GCS_North_Ame
102698	NAD_1983_StatePlane_Missouri_West_FIPS_2403_Feet	PROJCS["NAD_1983_StatePlane_Missouri_West_FIPS_2403_Feet",GEOGCS["GCS_North_Americ
102699	NAD_1927_StatePlane_California_V_Ventura	PROJCS["NAD_1927_StatePlane_California_V_Ventura",GEOGCS["GCS_North_American_1927",D
102700	NAD_1983_StatePlane_Montana_FIPS_2500_Feet	PROJCS["NAD_1983_StatePlane_Montana_FIPS_2500_Feet",GEOGCS["GCS_North_American_19
102701	NAD_1983_PACP00_UTM_Zone_4N	PROJCS["NAD_1983_PACP00_UTM_Zone_4N",GEOGCS["GCS_NAD_1983_PACP00",DATUM["D
102702	NAD_1983_PACP00_UTM_Zone_5N	PROJCS["NAD_1983_PACP00_UTM_Zone_5N",GEOGCS["GCS_NAD_1983_PACP00",DATUM["D
102703	NAD_1983_PACP00_UTM_Zone_2S	PROJCS["NAD_1983_PACP00_UTM_Zone_2S",GEOGCS["GCS_NAD_1983_PACP00",DATUM["D
102705	NAD_1983_Nebraska_Lancaster_County_FtUS	PROJCS["NAD_1983_Nebraska_Lancaster_County_FtUS",GEOGCS["GCS_North_American_1983
102720	NAD_1983_StatePlane_North_Dakota_North_FIPS_3301_Feet	PROJCS["NAD_1983_StatePlane_North_Dakota_North_FIPS_3301_Feet",GEOGCS["GCS_North_
102721	NAD_1983_StatePlane_North_Dakota_South_FIPS_3302_Feet	PROJCS["NAD_1983_StatePlane_North_Dakota_South_FIPS_3302_Feet",GEOGCS["GCS_North_
102726	NAD_1983_StatePlane_Oregon_North_FIPS_3601_Feet	PROJCS["NAD_1983_StatePlane_Oregon_North_FIPS_3601_Feet",GEOGCS["GCS_North_Americ
102727	NAD_1983_StatePlane_Oregon_South_FIPS_3602_Feet	PROJCS["NAD_1983_StatePlane_Oregon_South_FIPS_3602_Feet",GEOGCS["GCS_North_Americ
102733	NAD_1983_StatePlane_South_Carolina_FIPS_3900_Feet	PROJCS["NAD_1983_StatePlane_South_Carolina_FIPS_3900_Feet",GEOGCS["GCS_North_Amer
102761	NAD_1983_StatePlane_Puerto_Rico_Virgin_Islands_FIPS_5200_Feet	PROJCS["NAD_1983_StatePlane_Puerto_Rico_Virgin_Islands_FIPS_5200_Feet",GEOGCS["GCS_
102766	NAD_1983_StatePlane_Guam_FIPS_5400_Feet	PROJCS["NAD_1983_StatePlane_Guam_FIPS_5400_Feet",GEOGCS["GCS_North_American_1983
102974	NAD_1983_2011_Wisconsin_TM_US_Ft	PROJCS["NAD_1983_2011_Wisconsin_TM_US_Ft",GEOGCS["GCS_NAD_1983_2011",DATUM["D_
103166	NAD_1983_2011_StatePlane_Utah_North_FIPS_4301_Ft_Intl	PROJCS["NAD_1983_2011_StatePlane_Utah_North_FIPS_4301_Ft_Intl",GEOGCS["GCS_NAD_19
103167	NAD_1983_2011_StatePlane_Utah_Central_FIPS_4302_Ft_Intl	PROJCS["NAD_1983_2011_StatePlane_Utah_Central_FIPS_4302_Ft_Intl",GEOGCS["GCS_NAD_
103168	NAD_1983_2011_StatePlane_Utah_South_FIPS_4303_Ft_Intl	PROJCS["NAD_1983_2011_StatePlane_Utah_South_FIPS_4303_Ft_Intl",GEOGCS["GCS_NAD_19
103220	NAD_1983_CORS96_StatePlane_Alabama_East_FIPS_0101	PROJCS["NAD_1983_CORS96_StatePlane_Alabama_East_FIPS_0101",GEOGCS["GCS_NAD_19
103221	NAD_1983_CORS96_StatePlane_Alabama_West_FIPS_0102	PROJCS["NAD_1983_CORS96_StatePlane_Alabama_West_FIPS_0102",GEOGCS["GCS_NAD_19
103222	NAD_1983_CORS96_StatePlane_Arizona_East_FIPS_0201	PROJCS["NAD_1983_CORS96_StatePlane_Arizona_East_FIPS_0201",GEOGCS["GCS_NAD_198
103223	NAD_1983_CORS96_StatePlane_Arizona_Central_FIPS_0202	PROJCS["NAD_1983_CORS96_StatePlane_Arizona_Central_FIPS_0202",GEOGCS["GCS_NAD_1
103224	NAD_1983_CORS96_StatePlane_Arizona_West_FIPS_0203	PROJCS["NAD_1983_CORS96_StatePlane_Arizona_West_FIPS_0203",GEOGCS["GCS_NAD_198
103225	NAD_1983_CORS96_StatePlane_Arizona_East_FIPS_0201_Ft_Intl	PROJCS["NAD_1983_CORS96_StatePlane_Arizona_East_FIPS_0201_Ft_Intl",GEOGCS["GCS_NA
103226	NAD_1983_CORS96_StatePlane_Arizona_Central_FIPS_0202_Ft_Intl	PROJCS["NAD_1983_CORS96_StatePlane_Arizona_Central_FIPS_0202_Ft_Intl",GEOGCS["GCS_
103227	NAD_1983_CORS96_StatePlane_Arizona_West_FIPS_0203_Ft_Intl	PROJCS["NAD_1983_CORS96_StatePlane_Arizona_West_FIPS_0203_Ft_Intl",GEOGCS["GCS_N
103228	NAD_1983_CORS96_StatePlane_Arkansas_North_FIPS_0301	PROJCS["NAD_1983_CORS96_StatePlane_Arkansas_North_FIPS_0301",GEOGCS["GCS_NAD_1
103229	NAD_1983_CORS96_StatePlane_Arkansas_South_FIPS_0302	PROJCS["NAD_1983_CORS96_StatePlane_Arkansas_South_FIPS_0302",GEOGCS["GCS_NAD_1
103230	NAD_1983_CORS96_StatePlane_Arkansas_North_FIPS_0301_Ft_US	PROJCS["NAD_1983_CORS96_StatePlane_Arkansas_North_FIPS_0301_Ft_US",GEOGCS["GCS_
103231	NAD_1983_CORS96_StatePlane_Arkansas_South_FIPS_0302_Ft_US	PROJCS["NAD_1983_CORS96_StatePlane_Arkansas_South_FIPS_0302_Ft_US",GEOGCS["GCS_
103232	NAD_1983_CORS96_StatePlane_California_I_FIPS_0401	PROJCS["NAD_1983_CORS96_StatePlane_California_I_FIPS_0401",GEOGCS["GCS_NAD_1983_
103233	NAD_1983_CORS96_StatePlane_California_II_FIPS_0402	PROJCS["NAD_1983_CORS96_StatePlane_California_II_FIPS_0402",GEOGCS["GCS_NAD_1983_
103234	NAD_1983_CORS96_StatePlane_California_III_FIPS_0403	PROJCS["NAD_1983_CORS96_StatePlane_California_III_FIPS_0403",GEOGCS["GCS_NAD_1983
103235	NAD_1983_CORS96_StatePlane_California_IV_FIPS_0404	PROJCS["NAD_1983_CORS96_StatePlane_California_IV_FIPS_0404",GEOGCS["GCS_NAD_1983
103236	NAD_1983_CORS96_StatePlane_California_V_FIPS_0405	PROJCS["NAD_1983_CORS96_StatePlane_California_V_FIPS_0405",GEOGCS["GCS_NAD_1983
103237	NAD_1983_CORS96_StatePlane_California_VI_FIPS_0406	PROJCS["NAD_1983_CORS96_StatePlane_California_VI_FIPS_0406",GEOGCS["GCS_NAD_1983
103238	NAD_1983_CORS96_StatePlane_California_I_FIPS_0401_Ft_US	PROJCS["NAD_1983_CORS96_StatePlane_California_I_FIPS_0401_Ft_US",GEOGCS["GCS_NAD
103239	NAD_1983_CORS96_StatePlane_California_II_FIPS_0402_Ft_US	PROJCS["NAD_1983_CORS96_StatePlane_California_II_FIPS_0402_Ft_US",GEOGCS["GCS_NA
103240	NAD_1983_CORS96_StatePlane_California_III_FIPS_0403_Ft_US	PROJCS["NAD_1983_CORS96_StatePlane_California_III_FIPS_0403_Ft_US",GEOGCS["GCS_NA
103241	NAD_1983_CORS96_StatePlane_California_IV_FIPS_0404_Ft_US	PROJCS["NAD_1983_CORS96_StatePlane_California_IV_FIPS_0404_Ft_US",GEOGCS["GCS_NA
103242	NAD_1983_CORS96_StatePlane_California_V_FIPS_0405_Ft_US	PROJCS["NAD_1983_CORS96_StatePlane_California_V_FIPS_0405_Ft_US",GEOGCS["GCS_NA
103243	NAD_1983_CORS96_StatePlane_California_VI_FIPS_0406_Ft_US	PROJCS["NAD_1983_CORS96_StatePlane_California_VI_FIPS_0406_Ft_US",GEOGCS["GCS_NA
103244	NAD_1983_CORS96_StatePlane_Colorado_North_FIPS_0501	PROJCS["NAD_1983_CORS96_StatePlane_Colorado_North_FIPS_0501",GEOGCS["GCS_NAD_1

Copyright © 1995-2016 Esri. All rights reserved.

103245	NAD_1983_CORS96_StatePlane_Colorado_Central_FIPS_0502	PROJCS["NAD_1983_CORS96_StatePlane_Colorado_Central_FIPS_0502",GEOGCS["GCS_NAD_
103246	NAD_1983_CORS96_StatePlane_Colorado_South_FIPS_0503	PROJCS["NAD_1983_CORS96_StatePlane_Colorado_South_FIPS_0503",GEOGCS["GCS_NAD_1
103247	NAD_1983_CORS96_StatePlane_Colorado_North_FIPS_0501_Ft_US	PROJCS["NAD_1983_CORS96_StatePlane_Colorado_North_FIPS_0501_Ft_US",GEOGCS["GCS_
103248	NAD_1983_CORS96_StatePlane_Colorado_Central_FIPS_0502_Ft_US	PROJCS["NAD_1983_CORS96_StatePlane_Colorado_Central_FIPS_0502_Ft_US",GEOGCS["GCS
103249	NAD_1983_CORS96_StatePlane_Colorado_South_FIPS_0503_Ft_US	PROJCS["NAD_1983_CORS96_StatePlane_Colorado_South_FIPS_0503_Ft_US",GEOGCS["GCS_
103250	NAD_1983_CORS96_StatePlane_Connecticut_FIPS_0600	PROJCS["NAD_1983_CORS96_StatePlane_Connecticut_FIPS_0600",GEOGCS["GCS_NAD_1983_
103251	NAD_1983_CORS96_StatePlane_Connecticut_FIPS_0600_Ft_US	PROJCS["NAD_1983_CORS96_StatePlane_Connecticut_FIPS_0600_Ft_US",GEOGCS["GCS_NAD
103252	NAD_1983_CORS96_StatePlane_Delaware_FIPS_0700	PROJCS["NAD_1983_CORS96_StatePlane_Delaware_FIPS_0700",GEOGCS["GCS_NAD_1983_C
103253	NAD_1983_CORS96_StatePlane_Delaware_FIPS_0700_Ft_US	PROJCS["NAD_1983_CORS96_StatePlane_Delaware_FIPS_0700_Ft_US",GEOGCS["GCS_NAD_
103254	NAD_1983_CORS96_StatePlane_Florida_East_FIPS_0901	PROJCS["NAD_1983_CORS96_StatePlane_Florida_East_FIPS_0901",GEOGCS["GCS_NAD_1983
103255	NAD_1983_CORS96_StatePlane_Florida_West_FIPS_0902	PROJCS["NAD_1983_CORS96_StatePlane_Florida_West_FIPS_0902",GEOGCS["GCS_NAD_198
103256	NAD_1983_CORS96_StatePlane_Florida_North_FIPS_0903	PROJCS["NAD_1983_CORS96_StatePlane_Florida_North_FIPS_0903",GEOGCS["GCS_NAD_198
103257	NAD_1983_CORS96_StatePlane_Florida_East_FIPS_0901_Ft_US	PROJCS["NAD_1983_CORS96_StatePlane_Florida_East_FIPS_0901_Ft_US",GEOGCS["GCS_NA
103258	NAD_1983_CORS96_StatePlane_Florida_West_FIPS_0902_Ft_US	PROJCS["NAD_1983_CORS96_StatePlane_Florida_West_FIPS_0902_Ft_US",GEOGCS["GCS_NA
103259	NAD_1983_CORS96_StatePlane_Florida_North_FIPS_0903_Ft_US	PROJCS["NAD_1983_CORS96_StatePlane_Florida_North_FIPS_0903_Ft_US",GEOGCS["GCS_N
103260	NAD_1983_CORS96_StatePlane_Georgia_East_FIPS_1001	PROJCS["NAD_1983_CORS96_StatePlane_Georgia_East_FIPS_1001",GEOGCS["GCS_NAD_198
103261	NAD_1983_CORS96_StatePlane_Georgia_West_FIPS_1002	PROJCS["NAD_1983_CORS96_StatePlane_Georgia_West_FIPS_1002",GEOGCS["GCS_NAD_19
103262	NAD_1983_CORS96_StatePlane_Georgia_East_FIPS_1001_Ft_US	PROJCS["NAD_1983_CORS96_StatePlane_Georgia_East_FIPS_1001_Ft_US",GEOGCS["GCS_N
103263	NAD_1983_CORS96_StatePlane_Georgia_West_FIPS_1002_Ft_US	PROJCS["NAD_1983_CORS96_StatePlane_Georgia_West_FIPS_1002_Ft_US",GEOGCS["GCS_N
103264	NAD_1983_CORS96_StatePlane_Idaho_East_FIPS_1101	PROJCS["NAD_1983_CORS96_StatePlane_Idaho_East_FIPS_1101",GEOGCS["GCS_NAD_1983_
103265	NAD_1983_CORS96_StatePlane_Idaho_Central_FIPS_1102	PROJCS["NAD_1983_CORS96_StatePlane_Idaho_Central_FIPS_1102",GEOGCS["GCS_NAD_198
103266	NAD_1983_CORS96_StatePlane_Idaho_West_FIPS_1103	PROJCS["NAD_1983_CORS96_StatePlane_Idaho_West_FIPS_1103",GEOGCS["GCS_NAD_1983_
103267	NAD_1983_CORS96_StatePlane_Idaho_East_FIPS_1101_Ft_US	PROJCS["NAD_1983_CORS96_StatePlane_Idaho_East_FIPS_1101_Ft_US",GEOGCS["GCS_NAD
103268	NAD_1983_CORS96_StatePlane_Idaho_Central_FIPS_1102_Ft_US	PROJCS["NAD_1983_CORS96_StatePlane_Idaho_Central_FIPS_1102_Ft_US",GEOGCS["GCS_N
103269	NAD_1983_CORS96_StatePlane_Idaho_West_FIPS_1103_Ft_US	PROJCS["NAD_1983_CORS96_StatePlane_Idaho_West_FIPS_1103_Ft_US",GEOGCS["GCS_NAD
103270	NAD_1983_CORS96_StatePlane_Illinois_East_FIPS_1201	PROJCS["NAD_1983_CORS96_StatePlane_Illinois_East_FIPS_1201",GEOGCS["GCS_NAD_1983_
103271	NAD_1983_CORS96_StatePlane_Illinois_West_FIPS_1202	PROJCS["NAD_1983_CORS96_StatePlane_Illinois_West_FIPS_1202",GEOGCS["GCS_NAD_1983
103272	NAD_1983_CORS96_StatePlane_Illinois_East_FIPS_1201_Ft_US	PROJCS["NAD_1983_CORS96_StatePlane_Illinois_East_FIPS_1201_Ft_US",GEOGCS["GCS_NAD
103273	NAD_1983_CORS96_StatePlane_Illinois_West_FIPS_1202_Ft_US	PROJCS["NAD_1983_CORS96_StatePlane_Illinois_West_FIPS_1202_Ft_US",GEOGCS["GCS_NA
103274	NAD_1983_CORS96_StatePlane_Indiana_East_FIPS_1301	PROJCS["NAD_1983_CORS96_StatePlane_Indiana_East_FIPS_1301",GEOGCS["GCS_NAD_1983
103275	NAD_1983_CORS96_StatePlane_Indiana_West_FIPS_1302	PROJCS["NAD_1983_CORS96_StatePlane_Indiana_West_FIPS_1302",GEOGCS["GCS_NAD_198
103276	NAD_1983_CORS96_StatePlane_Indiana_East_FIPS_1301_Ft_US	PROJCS["NAD_1983_CORS96_StatePlane_Indiana_East_FIPS_1301_Ft_US",GEOGCS["GCS_NA
103277	NAD_1983_CORS96_StatePlane_Indiana_West_FIPS_1302_Ft_US	PROJCS["NAD_1983_CORS96_StatePlane_Indiana_West_FIPS_1302_Ft_US",GEOGCS["GCS_N
103278	NAD_1983_CORS96_StatePlane_Iowa_North_FIPS_1401	PROJCS["NAD_1983_CORS96_StatePlane_Iowa_North_FIPS_1401",GEOGCS["GCS_NAD_1983_
103279	NAD_1983_CORS96_StatePlane_Iowa_South_FIPS_1402	PROJCS["NAD_1983_CORS96_StatePlane_Iowa_South_FIPS_1402",GEOGCS["GCS_NAD_1983_
103280	NAD_1983_CORS96_StatePlane_Iowa_North_FIPS_1401_Ft_US	PROJCS["NAD_1983_CORS96_StatePlane_Iowa_North_FIPS_1401_Ft_US",GEOGCS["GCS_NAD
103281	NAD_1983_CORS96_StatePlane_Iowa_South_FIPS_1402_Ft_US	PROJCS["NAD_1983_CORS96_StatePlane_Iowa_South_FIPS_1402_Ft_US",GEOGCS["GCS_NAD
103282	NAD_1983_CORS96_StatePlane_Kansas_North_FIPS_1501	PROJCS["NAD_1983_CORS96_StatePlane_Kansas_North_FIPS_1501",GEOGCS["GCS_NAD_198
103283	NAD_1983_CORS96_StatePlane_Kansas_South_FIPS_1502	PROJCS["NAD_1983_CORS96_StatePlane_Kansas_South_FIPS_1502",GEOGCS["GCS_NAD_19
103284	NAD_1983_CORS96_StatePlane_Kansas_North_FIPS_1501_Ft_US	PROJCS["NAD_1983_CORS96_StatePlane_Kansas_North_FIPS_1501_Ft_US",GEOGCS["GCS_N
103285	NAD_1983_CORS96_StatePlane_Kansas_South_FIPS_1502_Ft_US	PROJCS["NAD_1983_CORS96_StatePlane_Kansas_South_FIPS_1502_Ft_US",GEOGCS["GCS_N
103286	NAD_1983_CORS96_StatePlane_Kentucky_North_FIPS_1601	PROJCS["NAD_1983_CORS96_StatePlane_Kentucky_North_FIPS_1601",GEOGCS["GCS_NAD_1
103287	NAD_1983_CORS96_StatePlane_Kentucky_North_FIPS_1601_Ft_US	PROJCS["NAD_1983_CORS96_StatePlane_Kentucky_North_FIPS_1601_Ft_US",GEOGCS["GCS_
103288	NAD_1983_CORS96_StatePlane_Kentucky_FIPS_1600	PROJCS["NAD_1983_CORS96_StatePlane_Kentucky_FIPS_1600",GEOGCS["GCS_NAD_1983_C
103289	NAD_1983_CORS96_StatePlane_Kentucky_FIPS_1600_Ft_US	PROJCS["NAD_1983_CORS96_StatePlane_Kentucky_FIPS_1600_Ft_US",GEOGCS["GCS_NAD_
103290	NAD_1983_CORS96_StatePlane_Kentucky_South_FIPS_1602	PROJCS["NAD_1983_CORS96_StatePlane_Kentucky_South_FIPS_1602",GEOGCS["GCS_NAD_1
103291	NAD_1983_CORS96_StatePlane_Kentucky_South_FIPS_1602_Ft_US	PROJCS["NAD_1983_CORS96_StatePlane_Kentucky_South_FIPS_1602_Ft_US",GEOGCS["GCS_
103292	NAD_1983_CORS96_StatePlane_Louisiana_North_FIPS_1701	PROJCS["NAD_1983_CORS96_StatePlane_Louisiana_North_FIPS_1701",GEOGCS["GCS_NAD_1
103293	NAD_1983_CORS96_StatePlane_Louisiana_South_FIPS_1702	PROJCS["NAD_1983_CORS96_StatePlane_Louisiana_South_FIPS_1702",GEOGCS["GCS_NAD_
103294	NAD_1983_CORS96_StatePlane_Louisiana_North_FIPS_1701_Ft_US	PROJCS["NAD_1983_CORS96_StatePlane_Louisiana_North_FIPS_1701_Ft_US",GEOGCS["GCS_
103295	NAD_1983_CORS96_StatePlane_Louisiana_South_FIPS_1702_Ft_US	PROJCS["NAD_1983_CORS96_StatePlane_Louisiana_South_FIPS_1702_Ft_US",GEOGCS["GCS_
103296	NAD_1983_CORS96_StatePlane_Maine_East_FIPS_1801	PROJCS["NAD_1983_CORS96_StatePlane_Maine_East_FIPS_1801",GEOGCS["GCS_NAD_1983_
103297	NAD_1983_CORS96_StatePlane_Maine_West_FIPS_1802	PROJCS["NAD_1983_CORS96_StatePlane_Maine_West_FIPS_1802",GEOGCS["GCS_NAD_1983
103298	NAD_1983_CORS96_StatePlane_Maine_East_FIPS_1801_Ft_US	PROJCS["NAD_1983_CORS96_StatePlane_Maine_East_FIPS_1801_Ft_US",GEOGCS["GCS_NAD

Copyright © 1995-2016 Esri. All rights reserved.

103299	NAD_1983_CORS96_StatePlane_Maine_West_FIPS_1802_Ft_US	PROJCS["NAD_1983_CORS96_StatePlane_Maine_West_FIPS_1802_Ft_US",GEOGCS["GCS_NA
103300	NAD_1983_HARN_WISCRS_Adams_County_Meters	PROJCS["NAD_1983_HARN_WISCRS_Adams_County_Meters",GEOGCS["GCS_North_American_
103301	NAD_1983_HARN_WISCRS_Ashland_County_Meters	PROJCS["NAD_1983_HARN_WISCRS_Ashland_County_Meters",GEOGCS["GCS_North_Americar
103302	NAD_1983_HARN_WISCRS_Barron_County_Meters	PROJCS["NAD_1983_HARN_WISCRS_Barron_County_Meters",GEOGCS["GCS_North_American_
103303	NAD_1983_HARN_WISCRS_Bayfield_County_Meters	PROJCS["NAD_1983_HARN_WISCRS_Bayfield_County_Meters",GEOGCS["GCS_North_Americar
103304	NAD_1983_HARN_WISCRS_Brown_County_Meters	PROJCS["NAD_1983_HARN_WISCRS_Brown_County_Meters",GEOGCS["GCS_North_American_
103305	NAD_1983_HARN_WISCRS_Buffalo_County_Meters	PROJCS["NAD_1983_HARN_WISCRS_Buffalo_County_Meters",GEOGCS["GCS_North_American_
103306	NAD_1983_HARN_WISCRS_Burnett_County_Meters	PROJCS["NAD_1983_HARN_WISCRS_Burnett_County_Meters",GEOGCS["GCS_North_American_
103307	NAD_1983_HARN_WISCRS_Calumet_County_Meters	PROJCS["NAD_1983_HARN_WISCRS_Calumet_County_Meters",GEOGCS["GCS_North_Americar
103308	NAD_1983_HARN_WISCRS_Chippewa_County_Meters	PROJCS["NAD_1983_HARN_WISCRS_Chippewa_County_Meters",GEOGCS["GCS_North_Americ
103309	NAD_1983_HARN_WISCRS_Clark_County_Meters	PROJCS["NAD_1983_HARN_WISCRS_Clark_County_Meters",GEOGCS["GCS_North_American_1
103310	NAD_1983_HARN_WISCRS_Columbia_County_Meters	PROJCS["NAD_1983_HARN_WISCRS_Columbia_County_Meters",GEOGCS["GCS_North_America
103311	NAD_1983_HARN_WISCRS_Crawford_County_Meters	PROJCS["NAD_1983_HARN_WISCRS_Crawford_County_Meters",GEOGCS["GCS_North_America
103312	NAD_1983_HARN_WISCRS_Dane_County_Meters	PROJCS["NAD_1983_HARN_WISCRS_Dane_County_Meters",GEOGCS["GCS_North_American_1
103313	NAD_1983_HARN_WISCRS_Dodge_County_Meters	PROJCS["NAD_1983_HARN_WISCRS_Dodge_County_Meters",GEOGCS["GCS_North_American_
103314	NAD_1983_HARN_WISCRS_Door_County_Meters	PROJCS["NAD_1983_HARN_WISCRS_Door_County_Meters",GEOGCS["GCS_North_American_1
103315	NAD_1983_HARN_WISCRS_Douglas_County_Meters	PROJCS["NAD_1983_HARN_WISCRS_Douglas_County_Meters",GEOGCS["GCS_North_Americar
103316	NAD_1983_HARN_WISCRS_Dunn_County_Meters	PROJCS["NAD_1983_HARN_WISCRS_Dunn_County_Meters",GEOGCS["GCS_North_American_1
103317	NAD_1983_HARN_WISCRS_EauClaire_County_Meters	PROJCS["NAD_1983_HARN_WISCRS_EauClaire_County_Meters",GEOGCS["GCS_North_Americ
103318	NAD_1983_HARN_WISCRS_Florence_County_Meters	PROJCS["NAD_1983_HARN_WISCRS_Florence_County_Meters",GEOGCS["GCS_North_America
103319	NAD_1983_HARN_WISCRS_Fond_du_Lac_County_Meters	PROJCS["NAD_1983_HARN_WISCRS_Fond_du_Lac_County_Meters",GEOGCS["GCS_North_Am
103320	NAD_1983_HARN_WISCRS_Forest_County_Meters	PROJCS["NAD_1983_HARN_WISCRS_Forest_County_Meters",GEOGCS["GCS_North_American_
103321	NAD_1983_HARN_WISCRS_Grant_County_Meters	PROJCS["NAD_1983_HARN_WISCRS_Grant_County_Meters",GEOGCS["GCS_North_American_1
103322	NAD_1983_HARN_WISCRS_Green_County_Meters	PROJCS["NAD_1983_HARN_WISCRS_Green_County_Meters",GEOGCS["GCS_North_American_
103323	NAD_1983_HARN_WISCRS_GreenLake_County_Meters	PROJCS["NAD_1983_HARN_WISCRS_GreenLake_County_Meters",GEOGCS["GCS_North_Ameri
103324	NAD_1983_HARN_WISCRS_Iowa_County_Meters	PROJCS["NAD_1983_HARN_WISCRS_Iowa_County_Meters",GEOGCS["GCS_North_American_19
103325	NAD_1983_HARN_WISCRS_Iron_County_Meters	PROJCS["NAD_1983_HARN_WISCRS_Iron_County_Meters",GEOGCS["GCS_North_American_19
103326	NAD_1983_HARN_WISCRS_Jackson_County_Meters	PROJCS["NAD_1983_HARN_WISCRS_Jackson_County_Meters",GEOGCS["GCS_North_Americar
103327	NAD_1983_HARN_WISCRS_Jefferson_County_Meters	PROJCS["NAD_1983_HARN_WISCRS_Jefferson_County_Meters",GEOGCS["GCS_North_America
103328	NAD_1983_HARN_WISCRS_Juneau_County_Meters	PROJCS["NAD_1983_HARN_WISCRS_Juneau_County_Meters",GEOGCS["GCS_North_American_
103329	NAD_1983_HARN_WISCRS_Kenosha_County_Meters	PROJCS["NAD_1983_HARN_WISCRS_Kenosha_County_Meters",GEOGCS["GCS_North_America
103330	NAD_1983_HARN_WISCRS_Kewaunee_County_Meters	PROJCS["NAD_1983_HARN_WISCRS_Kewaunee_County_Meters",GEOGCS["GCS_North_Americ
103331	NAD_1983_HARN_WISCRS_LaCrosse_County_Meters	PROJCS["NAD_1983_HARN_WISCRS_LaCrosse_County_Meters",GEOGCS["GCS_North_America
103332	NAD_1983_HARN_WISCRS_Lafayette_County_Meters	PROJCS["NAD_1983_HARN_WISCRS_Lafayette_County_Meters",GEOGCS["GCS_North_America
103333	NAD_1983_HARN_WISCRS_Langlade_County_Meters	PROJCS["NAD_1983_HARN_WISCRS_Langlade_County_Meters",GEOGCS["GCS_North_America
103334	NAD_1983_HARN_WISCRS_Lincoln_County_Meters	PROJCS["NAD_1983_HARN_WISCRS_Lincoln_County_Meters",GEOGCS["GCS_North_American_
103335	NAD_1983_HARN_WISCRS_Manitowoc_County_Meters	PROJCS["NAD_1983_HARN_WISCRS_Manitowoc_County_Meters",GEOGCS["GCS_North_Americ
103336	NAD_1983_HARN_WISCRS_Marathon_County_Meters	PROJCS["NAD_1983_HARN_WISCRS_Marathon_County_Meters",GEOGCS["GCS_North_America
103337	NAD_1983_HARN_WISCRS_Marinette_County_Meters	PROJCS["NAD_1983_HARN_WISCRS_Marinette_County_Meters",GEOGCS["GCS_North_America
103338	NAD_1983_HARN_WISCRS_Marquette_County_Meters	PROJCS["NAD_1983_HARN_WISCRS_Marquette_County_Meters",GEOGCS["GCS_North_Americ
103339	NAD_1983_HARN_WISCRS_Menominee_County_Meters	PROJCS["NAD_1983_HARN_WISCRS_Menominee_County_Meters",GEOGCS["GCS_North_Amer
103340	NAD_1983_HARN_WISCRS_Milwaukee_County_Meters	PROJCS["NAD_1983_HARN_WISCRS_Milwaukee_County_Meters",GEOGCS["GCS_North_Americ
103341	NAD_1983_HARN_WISCRS_Monroe_County_Meters	PROJCS["NAD_1983_HARN_WISCRS_Monroe_County_Meters",GEOGCS["GCS_North_American
103342	NAD_1983_HARN_WISCRS_Oconto_County_Meters	PROJCS["NAD_1983_HARN_WISCRS_Oconto_County_Meters",GEOGCS["GCS_North_American_
103343	NAD_1983_HARN_WISCRS_Oneida_County_Meters	PROJCS["NAD_1983_HARN_WISCRS_Oneida_County_Meters",GEOGCS["GCS_North_American_
103344	NAD_1983_HARN_WISCRS_Outagamie_County_Meters	PROJCS["NAD_1983_HARN_WISCRS_Outagamie_County_Meters",GEOGCS["GCS_North_Ameri
103345	NAD_1983_HARN_WISCRS_Ozaukee_County_Meters	PROJCS["NAD_1983_HARN_WISCRS_Ozaukee_County_Meters",GEOGCS["GCS_North_America
103346	NAD_1983_HARN_WISCRS_Pepin_County_Meters	PROJCS["NAD_1983_HARN_WISCRS_Pepin_County_Meters",GEOGCS["GCS_North_American_1
103347	NAD_1983_HARN_WISCRS_Pierce_County_Meters	PROJCS["NAD_1983_HARN_WISCRS_Pierce_County_Meters",GEOGCS["GCS_North_American_
103348	NAD_1983_HARN_WISCRS_Polk_County_Meters	PROJCS["NAD_1983_HARN_WISCRS_Polk_County_Meters",GEOGCS["GCS_North_American_19
103349	NAD_1983_HARN_WISCRS_Portage_County_Meters	PROJCS["NAD_1983_HARN_WISCRS_Portage_County_Meters",GEOGCS["GCS_North_American
103350	NAD_1983_HARN_WISCRS_Price_County_Meters	PROJCS["NAD_1983_HARN_WISCRS_Price_County_Meters",GEOGCS["GCS_North_American_1
103351	NAD_1983_HARN_WISCRS_Racine_County_Meters	PROJCS["NAD_1983_HARN_WISCRS_Racine_County_Meters",GEOGCS["GCS_North_American_
103352	NAD_1983_HARN_WISCRS_Richland_County_Meters	PROJCS["NAD_1983_HARN_WISCRS_Richland_County_Meters",GEOGCS["GCS_North_America

Copyright © 1995-2016 Esri. All rights reserved.

103353	NAD_1983_HARN_WISCRS_Rock_County_Meters	PROJCS["NAD_1983_HARN_WISCRS_Rock_County_Meters",GEOGCS["GCS_North_American_1
103354	NAD_1983_HARN_WISCRS_Rusk_County_Meters	PROJCS["NAD_1983_HARN_WISCRS_Rusk_County_Meters",GEOGCS["GCS_North_American_1
103355	NAD_1983_HARN_WISCRS_Sauk_County_Meters	PROJCS["NAD_1983_HARN_WISCRS_Sauk_County_Meters",GEOGCS["GCS_North_American_1
103356	NAD_1983_HARN_WISCRS_Sawyer_County_Meters	PROJCS["NAD_1983_HARN_WISCRS_Sawyer_County_Meters",GEOGCS["GCS_North_American
103357	NAD_1983_HARN_WISCRS_Shawano_County_Meters	PROJCS["NAD_1983_HARN_WISCRS_Shawano_County_Meters",GEOGCS["GCS_North_America
103358	NAD_1983_HARN_WISCRS_Sheboygan_County_Meters	PROJCS["NAD_1983_HARN_WISCRS_Sheboygan_County_Meters",GEOGCS["GCS_North_Ameri
103359	NAD_1983_HARN_WISCRS_St_Croix_County_Meters	PROJCS["NAD_1983_HARN_WISCRS_St_Croix_County_Meters",GEOGCS["GCS_North_America
103360	NAD_1983_HARN_WISCRS_Taylor_County_Meters	PROJCS["NAD_1983_HARN_WISCRS_Taylor_County_Meters",GEOGCS["GCS_North_American_
103361	NAD_1983_HARN_WISCRS_Trempealeau_County_Meters	PROJCS["NAD_1983_HARN_WISCRS_Trempealeau_County_Meters",GEOGCS["GCS_North_Ame
103362	NAD_1983_HARN_WISCRS_Vernon_County_Meters	PROJCS["NAD_1983_HARN_WISCRS_Vernon_County_Meters",GEOGCS["GCS_North_American
103363	NAD_1983_HARN_WISCRS_Vilas_County_Meters	PROJCS["NAD_1983_HARN_WISCRS_Vilas_County_Meters",GEOGCS["GCS_North_American_1
103364	NAD_1983_HARN_WISCRS_Walworth_County_Meters	PROJCS["NAD_1983_HARN_WISCRS_Walworth_County_Meters",GEOGCS["GCS_North_America
103365	NAD_1983_HARN_WISCRS_Washburn_County_Meters	PROJCS["NAD_1983_HARN_WISCRS_Washburn_County_Meters",GEOGCS["GCS_North_Americ
103366	NAD_1983_HARN_WISCRS_Washington_County_Meters	PROJCS["NAD_1983_HARN_WISCRS_Washington_County_Meters",GEOGCS["GCS_North_Amer
103367	NAD_1983_HARN_WISCRS_Waukesha_County_Meters	PROJCS["NAD_1983_HARN_WISCRS_Waukesha_County_Meters",GEOGCS["GCS_North_Americ
103368	NAD_1983_HARN_WISCRS_Waupaca_County_Meters	PROJCS["NAD_1983_HARN_WISCRS_Waupaca_County_Meters",GEOGCS["GCS_North_America
103369	NAD_1983_HARN_WISCRS_Waushara_County_Meters	PROJCS["NAD_1983_HARN_WISCRS_Waushara_County_Meters",GEOGCS["GCS_North_Americ
103370	NAD_1983_HARN_WISCRS_Winnebago_County_Meters	PROJCS["NAD_1983_HARN_WISCRS_Winnebago_County_Meters",GEOGCS["GCS_North_Ameri
103371	NAD_1983_HARN_WISCRS_Wood_County_Meters	PROJCS["NAD_1983_HARN_WISCRS_Wood_County_Meters",GEOGCS["GCS_North_American_
103372	NAD_1983_CORS96_Maine_2000_East_Zone	PROJCS["NAD_1983_CORS96_Maine_2000_East_Zone",GEOGCS["GCS_NAD_1983_CORS96",D
103373	NAD_1983_CORS96_Maine_2000_Central_Zone	PROJCS["NAD_1983_CORS96_Maine_2000_Central_Zone",GEOGCS["GCS_NAD_1983_CORS96
103374	NAD_1983_CORS96_Maine_2000_West_Zone	PROJCS["NAD_1983_CORS96_Maine_2000_West_Zone",GEOGCS["GCS_NAD_1983_CORS96",
103375	NAD_1983_CORS96_StatePlane_Maryland_FIPS_1900	PROJCS["NAD_1983_CORS96_StatePlane_Maryland_FIPS_1900",GEOGCS["GCS_NAD_1983_C
103376	NAD_1983_CORS96_StatePlane_Maryland_FIPS_1900_Ft_US	PROJCS["NAD_1983_CORS96_StatePlane_Maryland_FIPS_1900_Ft_US",GEOGCS["GCS_NAD_
103377	NAD_1983_CORS96_StatePlane_Massachusetts_Mainland_FIPS_2001	PROJCS["NAD_1983_CORS96_StatePlane_Massachusetts_Mainland_FIPS_2001",GEOGCS["GCS
103378	NAD_1983_CORS96_StatePlane_Massachusetts_Island_FIPS_2002	PROJCS["NAD_1983_CORS96_StatePlane_Massachusetts_Island_FIPS_2002",GEOGCS["GCS_N
103379	NAD_1983_CORS96_StatePlane_Massachusetts_Mnld_FIPS_2001_FtUS	PROJCS["NAD_1983_CORS96_StatePlane_Massachusetts_Mnld_FIPS_2001_FtUS",GEOGCS["G
103380	NAD_1983_CORS96_StatePlane_Massachusetts_Isl_FIPS_2002_FtUS	PROJCS["NAD_1983_CORS96_StatePlane_Massachusetts_Isl_FIPS_2002_FtUS",GEOGCS["GCS
103381	NAD_1983_CORS96_StatePlane_Michigan_North_FIPS_2111	PROJCS["NAD_1983_CORS96_StatePlane_Michigan_North_FIPS_2111",GEOGCS["GCS_NAD_19
103382	NAD_1983_CORS96_StatePlane_Michigan_Central_FIPS_2112	PROJCS["NAD_1983_CORS96_StatePlane_Michigan_Central_FIPS_2112",GEOGCS["GCS_NAD_
103383	NAD_1983_CORS96_StatePlane_Michigan_South_FIPS_2113	PROJCS["NAD_1983_CORS96_StatePlane_Michigan_South_FIPS_2113",GEOGCS["GCS_NAD_1
103384	NAD_1983_CORS96_StatePlane_Michigan_North_FIPS_2111_Ft_Intl	PROJCS["NAD_1983_CORS96_StatePlane_Michigan_North_FIPS_2111_Ft_Intl",GEOGCS["GCS_
103385	NAD_1983_CORS96_StatePlane_Michigan_Central_FIPS_2112_Ft_Intl	PROJCS["NAD_1983_CORS96_StatePlane_Michigan_Central_FIPS_2112_Ft_Intl",GEOGCS["GCS
103386	NAD_1983_CORS96_StatePlane_Michigan_South_FIPS_2113_Ft_Intl	PROJCS["NAD_1983_CORS96_StatePlane_Michigan_South_FIPS_2113_Ft_Intl",GEOGCS["GCS_
103387	NAD_1983_CORS96_StatePlane_Minnesota_North_FIPS_2201	PROJCS["NAD_1983_CORS96_StatePlane_Minnesota_North_FIPS_2201",GEOGCS["GCS_NAD_
103388	NAD_1983_CORS96_StatePlane_Minnesota_Central_FIPS_2202	PROJCS["NAD_1983_CORS96_StatePlane_Minnesota_Central_FIPS_2202",GEOGCS["GCS_NAD
103389	NAD_1983_CORS96_StatePlane_Minnesota_South_FIPS_2203	PROJCS["NAD_1983_CORS96_StatePlane_Minnesota_South_FIPS_2203",GEOGCS["GCS_NAD_
103390	NAD_1983_CORS96_StatePlane_Minnesota_North_FIPS_2201_Ft_US	PROJCS["NAD_1983_CORS96_StatePlane_Minnesota_North_FIPS_2201_Ft_US",GEOGCS["GCS
103391	NAD_1983_CORS96_StatePlane_Minnesota_Central_FIPS_2202_Ft_US	PROJCS["NAD_1983_CORS96_StatePlane_Minnesota_Central_FIPS_2202_Ft_US",GEOGCS["GC
103392	NAD_1983_CORS96_StatePlane_Minnesota_South_FIPS_2203_Ft_US	PROJCS["NAD_1983_CORS96_StatePlane_Minnesota_South_FIPS_2203_Ft_US",GEOGCS["GCS
103393	NAD_1983_CORS96_StatePlane_Mississippi_East_FIPS_2301	PROJCS["NAD_1983_CORS96_StatePlane_Mississippi_East_FIPS_2301",GEOGCS["GCS_NAD_
103394	NAD_1983_CORS96_StatePlane_Mississippi_West_FIPS_2302	PROJCS["NAD_1983_CORS96_StatePlane_Mississippi_West_FIPS_2302",GEOGCS["GCS_NAD_
103395	NAD_1983_CORS96_StatePlane_Mississippi_East_FIPS_2301_Ft_US	PROJCS["NAD_1983_CORS96_StatePlane_Mississippi_East_FIPS_2301_Ft_US",GEOGCS["GCS_
103396	NAD_1983_CORS96_StatePlane_Mississippi_West_FIPS_2302_Ft_US	PROJCS["NAD_1983_CORS96_StatePlane_Mississippi_West_FIPS_2302_Ft_US",GEOGCS["GCS
103397	NAD_1983_CORS96_StatePlane_Missouri_East_FIPS_2401	PROJCS["NAD_1983_CORS96_StatePlane_Missouri_East_FIPS_2401",GEOGCS["GCS_NAD_198
103398	NAD_1983_CORS96_StatePlane_Missouri_Central_FIPS_2402	PROJCS["NAD_1983_CORS96_StatePlane_Missouri_Central_FIPS_2402",GEOGCS["GCS_NAD_
103399	NAD_1983_CORS96_StatePlane_Missouri_West_FIPS_2403	PROJCS["NAD_1983_CORS96_StatePlane_Missouri_West_FIPS_2403",GEOGCS["GCS_NAD_19
103400	NAD_1983_HARN_WISCRS_Adams_County_Feet	PROJCS["NAD_1983_HARN_WISCRS_Adams_County_Feet",GEOGCS["GCS_North_American_19
103401	NAD_1983_HARN_WISCRS_Ashland_County_Feet	PROJCS["NAD_1983_HARN_WISCRS_Ashland_County_Feet",GEOGCS["GCS_North_American_
103402	NAD_1983_HARN_WISCRS_Barron_County_Feet	PROJCS["NAD_1983_HARN_WISCRS_Barron_County_Feet",GEOGCS["GCS_North_American_19
103403	NAD_1983_HARN_WISCRS_Bayfield_County_Feet	PROJCS["NAD_1983_HARN_WISCRS_Bayfield_County_Feet",GEOGCS["GCS_North_American_
103404	NAD_1983_HARN_WISCRS_Brown_County_Feet	PROJCS["NAD_1983_HARN_WISCRS_Brown_County_Feet",GEOGCS["GCS_North_American_19
103405	NAD_1983_HARN_WISCRS_Buffalo_County_Feet	PROJCS["NAD_1983_HARN_WISCRS_Buffalo_County_Feet",GEOGCS["GCS_North_American_19
103406	NAD_1983_HARN_WISCRS_Burnett_County_Feet	PROJCS["NAD_1983_HARN_WISCRS_Burnett_County_Feet",GEOGCS["GCS_North_American_19

Copyright © 1995-2016 Esri. All rights reserved.

103407	NAD_1983_HARN_WISCRS_Calumet_County_Feet	PROJCS["NAD_1983_HARN_WISCRS_Calumet_County_Feet",GEOGCS["GCS_North_American_
103408	NAD_1983_HARN_WISCRS_Chippewa_County_Feet	PROJCS["NAD_1983_HARN_WISCRS_Chippewa_County_Feet",GEOGCS["GCS_North_American
103409	NAD_1983_HARN_WISCRS_Clark_County_Feet	PROJCS["NAD_1983_HARN_WISCRS_Clark_County_Feet",GEOGCS["GCS_North_American_198
103410	NAD_1983_HARN_WISCRS_Columbia_County_Feet	PROJCS["NAD_1983_HARN_WISCRS_Columbia_County_Feet",GEOGCS["GCS_North_American_
103411	NAD_1983_HARN_WISCRS_Crawford_County_Feet	PROJCS["NAD_1983_HARN_WISCRS_Crawford_County_Feet",GEOGCS["GCS_North_American_
103412	NAD_1983_HARN_WISCRS_Dane_County_Feet	PROJCS["NAD_1983_HARN_WISCRS_Dane_County_Feet",GEOGCS["GCS_North_American_198
103413	NAD_1983_HARN_WISCRS_Dodge_County_Feet	PROJCS["NAD_1983_HARN_WISCRS_Dodge_County_Feet",GEOGCS["GCS_North_American_19
103414	NAD_1983_HARN_WISCRS_Door_County_Feet	PROJCS["NAD_1983_HARN_WISCRS_Door_County_Feet",GEOGCS["GCS_North_American_198
103415	NAD_1983_HARN_WISCRS_Douglas_County_Feet	PROJCS["NAD_1983_HARN_WISCRS_Douglas_County_Feet",GEOGCS["GCS_North_American_
103416	NAD_1983_HARN_WISCRS_Dunn_County_Feet	PROJCS["NAD_1983_HARN_WISCRS_Dunn_County_Feet",GEOGCS["GCS_North_American_198
103417	NAD_1983_HARN_WISCRS_EauClaire_County_Feet	PROJCS["NAD_1983_HARN_WISCRS_EauClaire_County_Feet",GEOGCS["GCS_North_American
103418	NAD_1983_HARN_WISCRS_Florence_County_Feet	PROJCS["NAD_1983_HARN_WISCRS_Florence_County_Feet",GEOGCS["GCS_North_American_
103419	NAD_1983_HARN_WISCRS_Fond_du_Lac_County_Feet	PROJCS["NAD_1983_HARN_WISCRS_Fond_du_Lac_County_Feet",GEOGCS["GCS_North_Ameri
103420	NAD_1983_HARN_WISCRS_Forest_County_Feet	PROJCS["NAD_1983_HARN_WISCRS_Forest_County_Feet",GEOGCS["GCS_North_American_19
103421	NAD_1983_HARN_WISCRS_Grant_County_Feet	PROJCS["NAD_1983_HARN_WISCRS_Grant_County_Feet",GEOGCS["GCS_North_American_198
103422	NAD_1983_HARN_WISCRS_Green_County_Feet	PROJCS["NAD_1983_HARN_WISCRS_Green_County_Feet",GEOGCS["GCS_North_American_19
103423	NAD_1983_HARN_WISCRS_GreenLake_County_Feet	PROJCS["NAD_1983_HARN_WISCRS_GreenLake_County_Feet",GEOGCS["GCS_North_America
103424	NAD_1983_HARN_WISCRS_Iowa_County_Feet	PROJCS["NAD_1983_HARN_WISCRS_Iowa_County_Feet",GEOGCS["GCS_North_American_198
103425	NAD_1983_HARN_WISCRS_Iron_County_Feet	PROJCS["NAD_1983_HARN_WISCRS_Iron_County_Feet",GEOGCS["GCS_North_American_1983
103426	NAD_1983_HARN_WISCRS_Jackson_County_Feet	PROJCS["NAD_1983_HARN_WISCRS_Jackson_County_Feet",GEOGCS["GCS_North_American_
103427	NAD_1983_HARN_WISCRS_Jefferson_County_Feet	PROJCS["NAD_1983_HARN_WISCRS_Jefferson_County_Feet",GEOGCS["GCS_North_American_
103428	NAD_1983_HARN_WISCRS_Juneau_County_Feet	PROJCS["NAD_1983_HARN_WISCRS_Juneau_County_Feet",GEOGCS["GCS_North_American_1
103429	NAD_1983_HARN_WISCRS_Kenosha_County_Feet	PROJCS["NAD_1983_HARN_WISCRS_Kenosha_County_Feet",GEOGCS["GCS_North_American_
103430	NAD_1983_HARN_WISCRS_Kewaunee_County_Feet	PROJCS["NAD_1983_HARN_WISCRS_Kewaunee_County_Feet",GEOGCS["GCS_North_American
103431	NAD_1983_HARN_WISCRS_LaCrosse_County_Feet	PROJCS["NAD_1983_HARN_WISCRS_LaCrosse_County_Feet",GEOGCS["GCS_North_American_
103432	NAD_1983_HARN_WISCRS_Lafayette_County_Feet	PROJCS["NAD_1983_HARN_WISCRS_Lafayette_County_Feet",GEOGCS["GCS_North_American_
103433	NAD_1983_HARN_WISCRS_Langlade_County_Feet	PROJCS["NAD_1983_HARN_WISCRS_Langlade_County_Feet",GEOGCS["GCS_North_American_
103434	NAD_1983_HARN_WISCRS_Lincoln_County_Feet	PROJCS["NAD_1983_HARN_WISCRS_Lincoln_County_Feet",GEOGCS["GCS_North_American_1
103435	NAD_1983_HARN_WISCRS_Manitowoc_County_Feet	PROJCS["NAD_1983_HARN_WISCRS_Manitowoc_County_Feet",GEOGCS["GCS_North_American
103436	NAD_1983_HARN_WISCRS_Marathon_County_Feet	PROJCS["NAD_1983_HARN_WISCRS_Marathon_County_Feet",GEOGCS["GCS_North_American_
103437	NAD_1983_HARN_WISCRS_Marinette_County_Feet	PROJCS["NAD_1983_HARN_WISCRS_Marinette_County_Feet",GEOGCS["GCS_North_American_
103438	NAD_1983_HARN_WISCRS_Marquette_County_Feet	PROJCS["NAD_1983_HARN_WISCRS_Marquette_County_Feet",GEOGCS["GCS_North_American
103439	NAD_1983_HARN_WISCRS_Menominee_County_Feet	PROJCS["NAD_1983_HARN_WISCRS_Menominee_County_Feet",GEOGCS["GCS_North_America
103440	NAD_1983_HARN_WISCRS_Milwaukee_County_Feet	PROJCS["NAD_1983_HARN_WISCRS_Milwaukee_County_Feet",GEOGCS["GCS_North_American
103441	NAD_1983_HARN_WISCRS_Monroe_County_Feet	PROJCS["NAD_1983_HARN_WISCRS_Monroe_County_Feet",GEOGCS["GCS_North_American_1
103442	NAD_1983_HARN_WISCRS_Oconto_County_Feet	PROJCS["NAD_1983_HARN_WISCRS_Oconto_County_Feet",GEOGCS["GCS_North_American_1
103443	NAD_1983_HARN_WISCRS_Oneida_County_Feet	PROJCS["NAD_1983_HARN_WISCRS_Oneida_County_Feet",GEOGCS["GCS_North_American_1
103444	NAD_1983_HARN_WISCRS_Outagamie_County_Feet	PROJCS["NAD_1983_HARN_WISCRS_Outagamie_County_Feet",GEOGCS["GCS_North_America
103445	NAD_1983_HARN_WISCRS_Ozaukee_County_Feet	PROJCS["NAD_1983_HARN_WISCRS_Ozaukee_County_Feet",GEOGCS["GCS_North_American_
103446	NAD_1983_HARN_WISCRS_Pepin_County_Feet	PROJCS["NAD_1983_HARN_WISCRS_Pepin_County_Feet",GEOGCS["GCS_North_American_198
103447	NAD_1983_HARN_WISCRS_Pierce_County_Feet	PROJCS["NAD_1983_HARN_WISCRS_Pierce_County_Feet",GEOGCS["GCS_North_American_19
103448	NAD_1983_HARN_WISCRS_Polk_County_Feet	PROJCS["NAD_1983_HARN_WISCRS_Polk_County_Feet",GEOGCS["GCS_North_American_1983
103449	NAD_1983_HARN_WISCRS_Portage_County_Feet	PROJCS["NAD_1983_HARN_WISCRS_Portage_County_Feet",GEOGCS["GCS_North_American_1
103450	NAD_1983_HARN_WISCRS_Price_County_Feet	PROJCS["NAD_1983_HARN_WISCRS_Price_County_Feet",GEOGCS["GCS_North_American_198
103451	NAD_1983_HARN_WISCRS_Racine_County_Feet	PROJCS["NAD_1983_HARN_WISCRS_Racine_County_Feet",GEOGCS["GCS_North_American_19
103452	NAD_1983_HARN_WISCRS_Richland_County_Feet	PROJCS["NAD_1983_HARN_WISCRS_Richland_County_Feet",GEOGCS["GCS_North_American_
103453	NAD_1983_HARN_WISCRS_Rock_County_Feet	PROJCS["NAD_1983_HARN_WISCRS_Rock_County_Feet",GEOGCS["GCS_North_American_198
103454	NAD_1983_HARN_WISCRS_Rusk_County_Feet	PROJCS["NAD_1983_HARN_WISCRS_Rusk_County_Feet",GEOGCS["GCS_North_American_198
103455	NAD_1983_HARN_WISCRS_Sauk_County_Feet	PROJCS["NAD_1983_HARN_WISCRS_Sauk_County_Feet",GEOGCS["GCS_North_American_198
103456	NAD_1983_HARN_WISCRS_Sawyer_County_Feet	PROJCS["NAD_1983_HARN_WISCRS_Sawyer_County_Feet",GEOGCS["GCS_North_American_1
103457	NAD_1983_HARN_WISCRS_Shawano_County_Feet	PROJCS["NAD_1983_HARN_WISCRS_Shawano_County_Feet",GEOGCS["GCS_North_American_
103458	NAD_1983_HARN_WISCRS_Sheboygan_County_Feet	PROJCS["NAD_1983_HARN_WISCRS_Sheboygan_County_Feet",GEOGCS["GCS_North_America
103459	NAD_1983_HARN_WISCRS_St_Croix_County_Feet	PROJCS["NAD_1983_HARN_WISCRS_St_Croix_County_Feet",GEOGCS["GCS_North_American_
103460	NAD_1983_HARN_WISCRS_Taylor_County_Feet	PROJCS["NAD_1983_HARN_WISCRS_Taylor_County_Feet",GEOGCS["GCS_North_American_19

Copyright © 1995-2016 Esri. All rights reserved.

103461	NAD_1983_HARN_WISCRS_Trempealeau_County_Feet	PROJCS["NAD_1983_HARN_WISCRS_Trempealeau_County_Feet",GEOGCS["GCS_North_Americ
103462	NAD_1983_HARN_WISCRS_Vernon_County_Feet	PROJCS["NAD_1983_HARN_WISCRS_Vernon_County_Feet",GEOGCS["GCS_North_American_1
103463	NAD_1983_HARN_WISCRS_Vilas_County_Feet	PROJCS["NAD_1983_HARN_WISCRS_Vilas_County_Feet",GEOGCS["GCS_North_American_198
103464	NAD_1983_HARN_WISCRS_Walworth_County_Feet	PROJCS["NAD_1983_HARN_WISCRS_Walworth_County_Feet",GEOGCS["GCS_North_American_
103465	NAD_1983_HARN_WISCRS_Washburn_County_Feet	PROJCS["NAD_1983_HARN_WISCRS_Washburn_County_Feet",GEOGCS["GCS_North_American
103466	NAD_1983_HARN_WISCRS_Washington_County_Feet	PROJCS["NAD_1983_HARN_WISCRS_Washington_County_Feet",GEOGCS["GCS_North_America
103467	NAD_1983_HARN_WISCRS_Waukesha_County_Feet	PROJCS["NAD_1983_HARN_WISCRS_Waukesha_County_Feet",GEOGCS["GCS_North_American
103468	NAD_1983_HARN_WISCRS_Waupaca_County_Feet	PROJCS["NAD_1983_HARN_WISCRS_Waupaca_County_Feet",GEOGCS["GCS_North_American_
103469	NAD_1983_HARN_WISCRS_Waushara_County_Feet	PROJCS["NAD_1983_HARN_WISCRS_Waushara_County_Feet",GEOGCS["GCS_North_American
103470	NAD_1983_HARN_WISCRS_Winnebago_County_Feet	PROJCS["NAD_1983_HARN_WISCRS_Winnebago_County_Feet",GEOGCS["GCS_North_America
103471	NAD_1983_HARN_WISCRS_Wood_County_Feet	PROJCS["NAD_1983_HARN_WISCRS_Wood_County_Feet",GEOGCS["GCS_North_American_19
103472	NAD_1983_CORS96_StatePlane_Montana_FIPS_2500	PROJCS["NAD_1983_CORS96_StatePlane_Montana_FIPS_2500",GEOGCS["GCS_NAD_1983_C
103473	NAD_1983_CORS96_StatePlane_Montana_FIPS_2500_Ft_Intl	PROJCS["NAD_1983_CORS96_StatePlane_Montana_FIPS_2500_Ft_Intl",GEOGCS["GCS_NAD_1
103474	NAD_1983_CORS96_StatePlane_Nebraska_FIPS_2600	PROJCS["NAD_1983_CORS96_StatePlane_Nebraska_FIPS_2600",GEOGCS["GCS_NAD_1983_C
103475	NAD_1983_CORS96_StatePlane_Nebraska_FIPS_2600_Ft_US	PROJCS["NAD_1983_CORS96_StatePlane_Nebraska_FIPS_2600_Ft_US",GEOGCS["GCS_NAD_
103476	NAD_1983_CORS96_StatePlane_Nevada_East_FIPS_2701	PROJCS["NAD_1983_CORS96_StatePlane_Nevada_East_FIPS_2701",GEOGCS["GCS_NAD_198
103477	NAD_1983_CORS96_StatePlane_Nevada_Central_FIPS_2702	PROJCS["NAD_1983_CORS96_StatePlane_Nevada_Central_FIPS_2702",GEOGCS["GCS_NAD_1
103478	NAD_1983_CORS96_StatePlane_Nevada_West_FIPS_2703	PROJCS["NAD_1983_CORS96_StatePlane_Nevada_West_FIPS_2703",GEOGCS["GCS_NAD_198
103479	NAD_1983_CORS96_StatePlane_Nevada_East_FIPS_2701_Ft_US	PROJCS["NAD_1983_CORS96_StatePlane_Nevada_East_FIPS_2701_Ft_US",GEOGCS["GCS_N
103480	NAD_1983_CORS96_StatePlane_Nevada_Central_FIPS_2702_Ft_US	PROJCS["NAD_1983_CORS96_StatePlane_Nevada_Central_FIPS_2702_Ft_US",GEOGCS["GCS_
103481	NAD_1983_CORS96_StatePlane_Nevada_West_FIPS_2703_Ft_US	PROJCS["NAD_1983_CORS96_StatePlane_Nevada_West_FIPS_2703_Ft_US",GEOGCS["GCS_N
103482	NAD_1983_CORS96_StatePlane_New_Hampshire_FIPS_2800	PROJCS["NAD_1983_CORS96_StatePlane_New_Hampshire_FIPS_2800",GEOGCS["GCS_NAD_
103483	NAD_1983_CORS96_StatePlane_New_Hampshire_FIPS_2800_Ft_US	PROJCS["NAD_1983_CORS96_StatePlane_New_Hampshire_FIPS_2800_Ft_US",GEOGCS["GCS_
103484	NAD_1983_CORS96_StatePlane_New_Jersey_FIPS_2900	PROJCS["NAD_1983_CORS96_StatePlane_New_Jersey_FIPS_2900",GEOGCS["GCS_NAD_1983
103485	NAD_1983_CORS96_StatePlane_New_Jersey_FIPS_2900_Ft_US	PROJCS["NAD_1983_CORS96_StatePlane_New_Jersey_FIPS_2900_Ft_US",GEOGCS["GCS_NA
103486	NAD_1983_CORS96_StatePlane_New_Mexico_East_FIPS_3001	PROJCS["NAD_1983_CORS96_StatePlane_New_Mexico_East_FIPS_3001",GEOGCS["GCS_NAD
103487	NAD_1983_CORS96_StatePlane_New_Mexico_Central_FIPS_3002	PROJCS["NAD_1983_CORS96_StatePlane_New_Mexico_Central_FIPS_3002",GEOGCS["GCS_N
103488	NAD_1983_CORS96_StatePlane_New_Mexico_West_FIPS_3003	PROJCS["NAD_1983_CORS96_StatePlane_New_Mexico_West_FIPS_3003",GEOGCS["GCS_NAD
103489	NAD_1983_CORS96_StatePlane_New_Mexico_East_FIPS_3001_Ft_US	PROJCS["NAD_1983_CORS96_StatePlane_New_Mexico_East_FIPS_3001_Ft_US",GEOGCS["GC
103490	NAD_1983_CORS96_StatePlane_New_Mexico_Central_FIPS_3002_Ft_US	PROJCS["NAD_1983_CORS96_StatePlane_New_Mexico_Central_FIPS_3002_Ft_US",GEOGCS["(
103491	NAD_1983_CORS96_StatePlane_New_Mexico_West_FIPS_3003_Ft_US	PROJCS["NAD_1983_CORS96_StatePlane_New_Mexico_West_FIPS_3003_Ft_US",GEOGCS["GC
103492	NAD_1983_CORS96_StatePlane_New_York_East_FIPS_3101	PROJCS["NAD_1983_CORS96_StatePlane_New_York_East_FIPS_3101",GEOGCS["GCS_NAD_1
103493	NAD_1983_CORS96_StatePlane_New_York_Central_FIPS_3102	PROJCS["NAD_1983_CORS96_StatePlane_New_York_Central_FIPS_3102",GEOGCS["GCS_NAD
103494	NAD_1983_CORS96_StatePlane_New_York_West_FIPS_3103	PROJCS["NAD_1983_CORS96_StatePlane_New_York_West_FIPS_3103",GEOGCS["GCS_NAD_1
103495	NAD_1983_CORS96_StatePlane_New_York_Long_Island_FIPS_3104	PROJCS["NAD_1983_CORS96_StatePlane_New_York_Long_Island_FIPS_3104",GEOGCS["GCS_
103496	NAD_1983_CORS96_StatePlane_New_York_East_FIPS_3101_Ft_US	PROJCS["NAD_1983_CORS96_StatePlane_New_York_East_FIPS_3101_Ft_US",GEOGCS["GCS_
103497	NAD_1983_CORS96_StatePlane_New_York_Central_FIPS_3102_Ft_US	PROJCS["NAD_1983_CORS96_StatePlane_New_York_Central_FIPS_3102_Ft_US",GEOGCS["GC
103498	NAD_1983_CORS96_StatePlane_New_York_West_FIPS_3103_Ft_US	PROJCS["NAD_1983_CORS96_StatePlane_New_York_West_FIPS_3103_Ft_US",GEOGCS["GCS_
103499	NAD_1983_CORS96_StatePlane_New_York_Long_Isl_FIPS_3104_Ft_US	PROJCS["NAD_1983_CORS96_StatePlane_New_York_Long_Isl_FIPS_3104_Ft_US",GEOGCS["G
103500	NAD_1983_CORS96_StatePlane_North_Carolina_FIPS_3200	PROJCS["NAD_1983_CORS96_StatePlane_North_Carolina_FIPS_3200",GEOGCS["GCS_NAD_19
103501	NAD_1983_CORS96_StatePlane_North_Carolina_FIPS_3200_Ft_US	PROJCS["NAD_1983_CORS96_StatePlane_North_Carolina_FIPS_3200_Ft_US",GEOGCS["GCS_
103502	NAD_1983_CORS96_StatePlane_North_Dakota_North_FIPS_3301	PROJCS["NAD_1983_CORS96_StatePlane_North_Dakota_North_FIPS_3301",GEOGCS["GCS_NA
103503	NAD_1983_CORS96_StatePlane_North_Dakota_South_FIPS_3302	PROJCS["NAD_1983_CORS96_StatePlane_North_Dakota_South_FIPS_3302",GEOGCS["GCS_N
103504	NAD_1983_CORS96_StatePlane_North_Dakota_North_FIPS_3301_Ftl	PROJCS["NAD_1983_CORS96_StatePlane_North_Dakota_North_FIPS_3301_Ftl",GEOGCS["GCS
103505	NAD_1983_CORS96_StatePlane_North_Dakota_South_FIPS_3302_Ftl	PROJCS["NAD_1983_CORS96_StatePlane_North_Dakota_South_FIPS_3302_Ftl",GEOGCS["GCS
103506	NAD_1983_CORS96_StatePlane_Ohio_North_FIPS_3401	PROJCS["NAD_1983_CORS96_StatePlane_Ohio_North_FIPS_3401",GEOGCS["GCS_NAD_1983_
103507	NAD_1983_CORS96_StatePlane_Ohio_South_FIPS_3402	PROJCS["NAD_1983_CORS96_StatePlane_Ohio_South_FIPS_3402",GEOGCS["GCS_NAD_1983_
103508	NAD_1983_CORS96_StatePlane_Ohio_North_FIPS_3401_Ft_US	PROJCS["NAD_1983_CORS96_StatePlane_Ohio_North_FIPS_3401_Ft_US",GEOGCS["GCS_NAD
103509	NAD_1983_CORS96_StatePlane_Ohio_South_FIPS_3402_Ft_US	PROJCS["NAD_1983_CORS96_StatePlane_Ohio_South_FIPS_3402_Ft_US",GEOGCS["GCS_NAD
103510	NAD_1983_CORS96_StatePlane_Oklahoma_North_FIPS_3501	PROJCS["NAD_1983_CORS96_StatePlane_Oklahoma_North_FIPS_3501",GEOGCS["GCS_NAD_
103511	NAD_1983_CORS96_StatePlane_Oklahoma_South_FIPS_3502	PROJCS["NAD_1983_CORS96_StatePlane_Oklahoma_South_FIPS_3502",GEOGCS["GCS_NAD_
103512	NAD_1983_CORS96_StatePlane_Oklahoma_North_FIPS_3501_Ft_US	PROJCS["NAD_1983_CORS96_StatePlane_Oklahoma_North_FIPS_3501_Ft_US",GEOGCS["GCS
103513	NAD_1983_CORS96_StatePlane_Oklahoma_South_FIPS_3502_Ft_US	PROJCS["NAD_1983_CORS96_StatePlane_Oklahoma_South_FIPS_3502_Ft_US",GEOGCS["GCS
103514	NAD_1983_CORS96_StatePlane_Pennsylvania_North_FIPS_3701	PROJCS["NAD_1983_CORS96_StatePlane_Pennsylvania_North_FIPS_3701",GEOGCS["GCS_NA

Copyright © 1995-2016 Esri. All rights reserved.

103515	NAD_1983_CORS96_StatePlane_Pennsylvania_North_FIPS_3701_Ft_US	PROJCS["NAD_1983_CORS96_StatePlane_Pennsylvania_North_FIPS_3701_Ft_US",GEOGCS["G
103516	NAD_1983_CORS96_StatePlane_Pennsylvania_South_FIPS_3702	PROJCS["NAD_1983_CORS96_StatePlane_Pennsylvania_South_FIPS_3702",GEOGCS["GCS_NA
103517	NAD_1983_CORS96_StatePlane_Pennsylvania_South_FIPS_3702_Ft_US	PROJCS["NAD_1983_CORS96_StatePlane_Pennsylvania_South_FIPS_3702_Ft_US",GEOGCS["G
103518	NAD_1983_CORS96_StatePlane_Rhode_Island_FIPS_3800	PROJCS["NAD_1983_CORS96_StatePlane_Rhode_Island_FIPS_3800",GEOGCS["GCS_NAD_198
103519	NAD_1983_CORS96_StatePlane_Rhode_Island_FIPS_3800_Ft_US	PROJCS["NAD_1983_CORS96_StatePlane_Rhode_Island_FIPS_3800_Ft_US",GEOGCS["GCS_N
103520	NAD_1983_CORS96_StatePlane_South_Carolina_FIPS_3900	PROJCS["NAD_1983_CORS96_StatePlane_South_Carolina_FIPS_3900",GEOGCS["GCS_NAD_19
103521	NAD_1983_CORS96_StatePlane_South_Carolina_FIPS_3900_Ft_Intl	PROJCS["NAD_1983_CORS96_StatePlane_South_Carolina_FIPS_3900_Ft_Intl",GEOGCS["GCS_
103522	NAD_1983_CORS96_StatePlane_South_Dakota_North_FIPS_4001	PROJCS["NAD_1983_CORS96_StatePlane_South_Dakota_North_FIPS_4001",GEOGCS["GCS_NA
103523	NAD_1983_CORS96_StatePlane_South_Dakota_South_FIPS_4002	PROJCS["NAD_1983_CORS96_StatePlane_South_Dakota_South_FIPS_4002",GEOGCS["GCS_N
103524	NAD_1983_CORS96_StatePlane_South_Dakota_North_FIPS_4001_Ft_US	PROJCS["NAD_1983_CORS96_StatePlane_South_Dakota_North_FIPS_4001_Ft_US",GEOGCS["G
103525	NAD_1983_CORS96_StatePlane_South_Dakota_South_FIPS_4002_Ft_US	PROJCS["NAD_1983_CORS96_StatePlane_South_Dakota_South_FIPS_4002_Ft_US",GEOGCS["G
103526	NAD_1983_CORS96_StatePlane_Tennessee_FIPS_4100	PROJCS["NAD_1983_CORS96_StatePlane_Tennessee_FIPS_4100",GEOGCS["GCS_NAD_1983_
103527	NAD_1983_CORS96_StatePlane_Tennessee_FIPS_4100_Ft_US	PROJCS["NAD_1983_CORS96_StatePlane_Tennessee_FIPS_4100_Ft_US",GEOGCS["GCS_NAD
103539	NAD_1983_CORS96_StatePlane_Texas_North_FIPS_4201	PROJCS["NAD_1983_CORS96_StatePlane_Texas_North_FIPS_4201",GEOGCS["GCS_NAD_1983
103540	NAD_1983_CORS96_StatePlane_Texas_North_Central_FIPS_4202	PROJCS["NAD_1983_CORS96_StatePlane_Texas_North_Central_FIPS_4202",GEOGCS["GCS_NA
103541	NAD_1983_CORS96_StatePlane_Texas_Central_FIPS_4203	PROJCS["NAD_1983_CORS96_StatePlane_Texas_Central_FIPS_4203",GEOGCS["GCS_NAD_198
103542	NAD_1983_CORS96_StatePlane_Texas_South_Central_FIPS_4204	PROJCS["NAD_1983_CORS96_StatePlane_Texas_South_Central_FIPS_4204",GEOGCS["GCS_N
103543	NAD_1983_CORS96_StatePlane_Texas_South_FIPS_4205	PROJCS["NAD_1983_CORS96_StatePlane_Texas_South_FIPS_4205",GEOGCS["GCS_NAD_1983
103544	NAD_1983_CORS96_StatePlane_Texas_North_FIPS_4201_Ft_US	PROJCS["NAD_1983_CORS96_StatePlane_Texas_North_FIPS_4201_Ft_US",GEOGCS["GCS_NA
103545	NAD_1983_CORS96_StatePlane_Texas_North_Central_FIPS_4202_FtUS	PROJCS["NAD_1983_CORS96_StatePlane_Texas_North_Central_FIPS_4202_FtUS",GEOGCS["G
103546	NAD_1983_CORS96_StatePlane_Texas_Central_FIPS_4203_Ft_US	PROJCS["NAD_1983_CORS96_StatePlane_Texas_Central_FIPS_4203_Ft_US",GEOGCS["GCS_N
103547	NAD_1983_CORS96_StatePlane_Texas_South_Central_FIPS_4204_FtUS	PROJCS["NAD_1983_CORS96_StatePlane_Texas_South_Central_FIPS_4204_FtUS",GEOGCS["G
103548	NAD_1983_CORS96_StatePlane_Texas_South_FIPS_4205_Ft_US	PROJCS["NAD_1983_CORS96_StatePlane_Texas_South_FIPS_4205_Ft_US",GEOGCS["GCS_NA
103549	NAD_1983_CORS96_StatePlane_Utah_North_FIPS_4301	PROJCS["NAD_1983_CORS96_StatePlane_Utah_North_FIPS_4301",GEOGCS["GCS_NAD_1983_
103550	NAD_1983_CORS96_StatePlane_Utah_Central_FIPS_4302	PROJCS["NAD_1983_CORS96_StatePlane_Utah_Central_FIPS_4302",GEOGCS["GCS_NAD_198
103551	NAD_1983_CORS96_StatePlane_Utah_South_FIPS_4303	PROJCS["NAD_1983_CORS96_StatePlane_Utah_South_FIPS_4303",GEOGCS["GCS_NAD_1983_
103552	NAD_1983_CORS96_StatePlane_Utah_North_FIPS_4301_Ft_Intl	PROJCS["NAD_1983_CORS96_StatePlane_Utah_North_FIPS_4301_Ft_Intl",GEOGCS["GCS_NAD
103553	NAD_1983_CORS96_StatePlane_Utah_Central_FIPS_4302_Ft_Intl	PROJCS["NAD_1983_CORS96_StatePlane_Utah_Central_FIPS_4302_Ft_Intl",GEOGCS["GCS_NA
103554	NAD_1983_CORS96_StatePlane_Utah_South_FIPS_4303_Ft_Intl	PROJCS["NAD_1983_CORS96_StatePlane_Utah_South_FIPS_4303_Ft_Intl",GEOGCS["GCS_NAD
103555	NAD_1983_CORS96_StatePlane_Utah_North_FIPS_4301_Ft_US	PROJCS["NAD_1983_CORS96_StatePlane_Utah_North_FIPS_4301_Ft_US",GEOGCS["GCS_NAD
103556	NAD_1983_CORS96_StatePlane_Utah_Central_FIPS_4302_Ft_US	PROJCS["NAD_1983_CORS96_StatePlane_Utah_Central_FIPS_4302_Ft_US",GEOGCS["GCS_NA
103557	NAD_1983_CORS96_StatePlane_Utah_South_FIPS_4303_Ft_US	PROJCS["NAD_1983_CORS96_StatePlane_Utah_South_FIPS_4303_Ft_US",GEOGCS["GCS_NAD
103558	NAD_1983_CORS96_StatePlane_Vermont_FIPS_4400	PROJCS["NAD_1983_CORS96_StatePlane_Vermont_FIPS_4400",GEOGCS["GCS_NAD_1983_CO
103559	NAD_1983_CORS96_StatePlane_Virginia_North_FIPS_4501	PROJCS["NAD_1983_CORS96_StatePlane_Virginia_North_FIPS_4501",GEOGCS["GCS_NAD_198
103560	NAD_1983_CORS96_StatePlane_Virginia_South_FIPS_4502	PROJCS["NAD_1983_CORS96_StatePlane_Virginia_South_FIPS_4502",GEOGCS["GCS_NAD_19
103561	NAD_1983_CORS96_StatePlane_Virginia_North_FIPS_4501_Ft_US	PROJCS["NAD_1983_CORS96_StatePlane_Virginia_North_FIPS_4501_Ft_US",GEOGCS["GCS_N
103562	NAD_1983_CORS96_StatePlane_Virginia_South_FIPS_4502_Ft_US	PROJCS["NAD_1983_CORS96_StatePlane_Virginia_South_FIPS_4502_Ft_US",GEOGCS["GCS_N
103563	NAD_1983_CORS96_StatePlane_Washington_North_FIPS_4601	PROJCS["NAD_1983_CORS96_StatePlane_Washington_North_FIPS_4601",GEOGCS["GCS_NAD
103564	NAD_1983_CORS96_StatePlane_Washington_South_FIPS_4602	PROJCS["NAD_1983_CORS96_StatePlane_Washington_South_FIPS_4602",GEOGCS["GCS_NAD
103565	NAD_1983_CORS96_StatePlane_Washington_North_FIPS_4601_Ft_US	PROJCS["NAD_1983_CORS96_StatePlane_Washington_North_FIPS_4601_Ft_US",GEOGCS["GC
103566	NAD_1983_CORS96_StatePlane_Washington_South_FIPS_4602_Ft_US	PROJCS["NAD_1983_CORS96_StatePlane_Washington_South_FIPS_4602_Ft_US",GEOGCS["GC
103567	NAD_1983_CORS96_StatePlane_West_Virginia_North_FIPS_4701	PROJCS["NAD_1983_CORS96_StatePlane_West_Virginia_North_FIPS_4701",GEOGCS["GCS_NA
103568	NAD_1983_CORS96_StatePlane_West_Virginia_South_FIPS_4702	PROJCS["NAD_1983_CORS96_StatePlane_West_Virginia_South_FIPS_4702",GEOGCS["GCS_NA
103569	NAD_1983_CORS96_StatePlane_West_Virginia_North_FIPS_4701_FtUS	PROJCS["NAD_1983_CORS96_StatePlane_West_Virginia_North_FIPS_4701_FtUS",GEOGCS["GC
103570	NAD_1983_CORS96_StatePlane_West_Virginia_South_FIPS_4702_FtUS	PROJCS["NAD_1983_CORS96_StatePlane_West_Virginia_South_FIPS_4702_FtUS",GEOGCS["G
103571	NAD_1983_CORS96_StatePlane_Wisconsin_North_FIPS_4801	PROJCS["NAD_1983_CORS96_StatePlane_Wisconsin_North_FIPS_4801",GEOGCS["GCS_NAD_
103572	NAD_1983_CORS96_StatePlane_Wisconsin_Central_FIPS_4802	PROJCS["NAD_1983_CORS96_StatePlane_Wisconsin_Central_FIPS_4802",GEOGCS["GCS_NAD
103573	NAD_1983_CORS96_StatePlane_Wisconsin_South_FIPS_4803	PROJCS["NAD_1983_CORS96_StatePlane_Wisconsin_South_FIPS_4803",GEOGCS["GCS_NAD_
103574	NAD_1983_CORS96_StatePlane_Wisconsin_North_FIPS_4801_Ft_US	PROJCS["NAD_1983_CORS96_StatePlane_Wisconsin_North_FIPS_4801_Ft_US",GEOGCS["GCS
103575	NAD_1983_CORS96_StatePlane_Wisconsin_Central_FIPS_4802_Ft_US	PROJCS["NAD_1983_CORS96_StatePlane_Wisconsin_Central_FIPS_4802_Ft_US",GEOGCS["GC
103576	NAD_1983_CORS96_StatePlane_Wisconsin_South_FIPS_4803_Ft_US	PROJCS["NAD_1983_CORS96_StatePlane_Wisconsin_South_FIPS_4803_Ft_US",GEOGCS["GCS
103577	NAD_1983_CORS96_StatePlane_Wyoming_East_FIPS_4901	PROJCS["NAD_1983_CORS96_StatePlane_Wyoming_East_FIPS_4901",GEOGCS["GCS_NAD_19
103578	NAD_1983_CORS96_StatePlane_Wyoming_East_Central_FIPS_4902	PROJCS["NAD_1983_CORS96_StatePlane_Wyoming_East_Central_FIPS_4902",GEOGCS["GCS_
103579	NAD_1983_CORS96_StatePlane_Wyoming_West_Central_FIPS_4903	PROJCS["NAD_1983_CORS96_StatePlane_Wyoming_West_Central_FIPS_4903",GEOGCS["GCS_

Copyright © 1995-2016 Esri. All rights reserved.

103580	NAD_1983_CORS96_StatePlane_Wyoming_West_FIPS_4904	PROJCS["NAD_1983_CORS96_StatePlane_Wyoming_West_FIPS_4904",GEOGCS["GCS_NAD_1
103581	NAD_1983_CORS96_StatePlane_Wyoming_East_FIPS_4901_Ft_US	PROJCS["NAD_1983_CORS96_StatePlane_Wyoming_East_FIPS_4901_Ft_US",GEOGCS["GCS_
103582	NAD_1983_CORS96_StatePlane_Wyoming_E_Central_FIPS_4902_Ft_US	PROJCS["NAD_1983_CORS96_StatePlane_Wyoming_E_Central_FIPS_4902_Ft_US",GEOGCS["G
103583	NAD_1983_CORS96_StatePlane_Wyoming_W_Central_FIPS_4903_Ft_US	PROJCS["NAD_1983_CORS96_StatePlane_Wyoming_W_Central_FIPS_4903_Ft_US",GEOGCS["G
103585	NAD_1983_CORS96_StatePlane_Wyoming_West_FIPS_4904_Ft_US	PROJCS["NAD_1983_CORS96_StatePlane_Wyoming_West_FIPS_4904_Ft_US",GEOGCS["GCS_
103600	NAD_1983_HARN_Adj_MN_Aitkin_Meters	PROJCS["NAD_1983_HARN_Adj_MN_Aitkin_Meters",GEOGCS["GCS_North_American_1983_HAR
103601	NAD_1983_HARN_Adj_MN_Clay_Meters	PROJCS["NAD_1983_HARN_Adj_MN_Clay_Meters",GEOGCS["GCS_North_American_1983_HAR
103602	NAD_1983_HARN_Adj_MN_Clearwater_Meters	PROJCS["NAD_1983_HARN_Adj_MN_Clearwater_Meters",GEOGCS["GCS_North_American_1983
103603	NAD_1983_HARN_Adj_MN_Hubbard_Meters	PROJCS["NAD_1983_HARN_Adj_MN_Hubbard_Meters",GEOGCS["GCS_North_American_1983_H
103604	NAD_1983_HARN_Adj_MN_Lake_Meters	PROJCS["NAD_1983_HARN_Adj_MN_Lake_Meters",GEOGCS["GCS_North_American_1983_HAR
103605	NAD_1983_HARN_Adj_MN_Mille_Lacs_Meters	PROJCS["NAD_1983_HARN_Adj_MN_Mille_Lacs_Meters",GEOGCS["GCS_North_American_1983
103606	NAD_1983_HARN_Adj_MN_Washington_Meters	PROJCS["NAD_1983_HARN_Adj_MN_Washington_Meters",GEOGCS["GCS_North_American_198
103607	NAD_1983_HARN_Adj_MN_Wilkin_Meters	PROJCS["NAD_1983_HARN_Adj_MN_Wilkin_Meters",GEOGCS["GCS_North_American_1983_HA
103608	NAD_1983_HARN_Adj_MN_Anoka_Meters	PROJCS["NAD_1983_HARN_Adj_MN_Anoka_Meters",GEOGCS["GCS_NAD_1983_HARN_Adj_M
103609	NAD_1983_HARN_Adj_MN_Becker_Meters	PROJCS["NAD_1983_HARN_Adj_MN_Becker_Meters",GEOGCS["GCS_NAD_1983_HARN_Adj_M
103610	NAD_1983_HARN_Adj_MN_Beltrami_North_Meters	PROJCS["NAD_1983_HARN_Adj_MN_Beltrami_North_Meters",GEOGCS["GCS_NAD_1983_HARN
103611	NAD_1983_HARN_Adj_MN_Beltrami_South_Meters	PROJCS["NAD_1983_HARN_Adj_MN_Beltrami_South_Meters",GEOGCS["GCS_NAD_1983_HARN
103612	NAD_1983_HARN_Adj_MN_Benton_Meters	PROJCS["NAD_1983_HARN_Adj_MN_Benton_Meters",GEOGCS["GCS_NAD_1983_HARN_Adj_M
103613	NAD_1983_HARN_Adj_MN_Big_Stone_Meters	PROJCS["NAD_1983_HARN_Adj_MN_Big_Stone_Meters",GEOGCS["GCS_NAD_1983_HARN_Adj
103614	NAD_1983_HARN_Adj_MN_Blue_Earth_Meters	PROJCS["NAD_1983_HARN_Adj_MN_Blue_Earth_Meters",GEOGCS["GCS_NAD_1983_HARN_Ad
103615	NAD_1983_HARN_Adj_MN_Brown_Meters	PROJCS["NAD_1983_HARN_Adj_MN_Brown_Meters",GEOGCS["GCS_NAD_1983_HARN_Adj_M
103616	NAD_1983_HARN_Adj_MN_Carlton_Meters	PROJCS["NAD_1983_HARN_Adj_MN_Carlton_Meters",GEOGCS["GCS_NAD_1983_HARN_Adj_M
103617	NAD_1983_HARN_Adj_MN_Carver_Meters	PROJCS["NAD_1983_HARN_Adj_MN_Carver_Meters",GEOGCS["GCS_NAD_1983_HARN_Adj_M
103618	NAD_1983_HARN_Adj_MN_Cass_North_Meters	PROJCS["NAD_1983_HARN_Adj_MN_Cass_North_Meters",GEOGCS["GCS_NAD_1983_HARN_A
103619	NAD_1983_HARN_Adj_MN_Cass_South_Meters	PROJCS["NAD_1983_HARN_Adj_MN_Cass_South_Meters",GEOGCS["GCS_NAD_1983_HARN_A
103620	NAD_1983_HARN_Adj_MN_Chippewa_Meters	PROJCS["NAD_1983_HARN_Adj_MN_Chippewa_Meters",GEOGCS["GCS_NAD_1983_HARN_Adj
103621	NAD_1983_HARN_Adj_MN_Chisago_Meters	PROJCS["NAD_1983_HARN_Adj_MN_Chisago_Meters",GEOGCS["GCS_NAD_1983_HARN_Adj_M
103622	NAD_1983_HARN_Adj_MN_Cook_North_Meters	PROJCS["NAD_1983_HARN_Adj_MN_Cook_North_Meters",GEOGCS["GCS_NAD_1983_HARN_A
103623	NAD_1983_HARN_Adj_MN_Cook_South_Meters	PROJCS["NAD_1983_HARN_Adj_MN_Cook_South_Meters",GEOGCS["GCS_NAD_1983_HARN_A
103624	NAD_1983_HARN_Adj_MN_Cottonwood_Meters	PROJCS["NAD_1983_HARN_Adj_MN_Cottonwood_Meters",GEOGCS["GCS_NAD_1983_HARN_A
103625	NAD_1983_HARN_Adj_MN_Crow_Wing_Meters	PROJCS["NAD_1983_HARN_Adj_MN_Crow_Wing_Meters",GEOGCS["GCS_NAD_1983_HARN_A
103626	NAD_1983_HARN_Adj_MN_Dakota_Meters	PROJCS["NAD_1983_HARN_Adj_MN_Dakota_Meters",GEOGCS["GCS_NAD_1983_HARN_Adj_M
103627	NAD_1983_HARN_Adj_MN_Dodge_Meters	PROJCS["NAD_1983_HARN_Adj_MN_Dodge_Meters",GEOGCS["GCS_NAD_1983_HARN_Adj_M
103628	NAD_1983_HARN_Adj_MN_Douglas_Meters	PROJCS["NAD_1983_HARN_Adj_MN_Douglas_Meters",GEOGCS["GCS_NAD_1983_HARN_Adj_M
103629	NAD_1983_HARN_Adj_MN_Faribault_Meters	PROJCS["NAD_1983_HARN_Adj_MN_Faribault_Meters",GEOGCS["GCS_NAD_1983_HARN_Adj_
103630	NAD_1983_HARN_Adj_MN_Fillmore_Meters	PROJCS["NAD_1983_HARN_Adj_MN_Fillmore_Meters",GEOGCS["GCS_NAD_1983_HARN_Adj_M
103631	NAD_1983_HARN_Adj_MN_Freeborn_Meters	PROJCS["NAD_1983_HARN_Adj_MN_Freeborn_Meters",GEOGCS["GCS_NAD_1983_HARN_Adj_
103632	NAD_1983_HARN_Adj_MN_Goodhue_Meters	PROJCS["NAD_1983_HARN_Adj_MN_Goodhue_Meters",GEOGCS["GCS_NAD_1983_HARN_Adj_
103633	NAD_1983_HARN_Adj_MN_Grant_Meters	PROJCS["NAD_1983_HARN_Adj_MN_Grant_Meters",GEOGCS["GCS_NAD_1983_HARN_Adj_MN
103634	NAD_1983_HARN_Adj_MN_Hennepin_Meters	PROJCS["NAD_1983_HARN_Adj_MN_Hennepin_Meters",GEOGCS["GCS_NAD_1983_HARN_Adj_
103635	NAD_1983_HARN_Adj_MN_Houston_Meters	PROJCS["NAD_1983_HARN_Adj_MN_Houston_Meters",GEOGCS["GCS_NAD_1983_HARN_Adj_M
103636	NAD_1983_HARN_Adj_MN_Isanti_Meters	PROJCS["NAD_1983_HARN_Adj_MN_Isanti_Meters",GEOGCS["GCS_NAD_1983_HARN_Adj_MN
103637	NAD_1983_HARN_Adj_MN_Itasca_North_Meters	PROJCS["NAD_1983_HARN_Adj_MN_Itasca_North_Meters",GEOGCS["GCS_NAD_1983_HARN_
103638	NAD_1983_HARN_Adj_MN_Itasca_South_Meters	PROJCS["NAD_1983_HARN_Adj_MN_Itasca_South_Meters",GEOGCS["GCS_NAD_1983_HARN_
103639	NAD_1983_HARN_Adj_MN_Jackson_Meters	PROJCS["NAD_1983_HARN_Adj_MN_Jackson_Meters",GEOGCS["GCS_NAD_1983_HARN_Adj_M
103640	NAD_1983_HARN_Adj_MN_Kanabec_Meters	PROJCS["NAD_1983_HARN_Adj_MN_Kanabec_Meters",GEOGCS["GCS_NAD_1983_HARN_Adj_
103641	NAD_1983_HARN_Adj_MN_Kandiyohi_Meters	PROJCS["NAD_1983_HARN_Adj_MN_Kandiyohi_Meters",GEOGCS["GCS_NAD_1983_HARN_Adj
103642	NAD_1983_HARN_Adj_MN_Kittson_Meters	PROJCS["NAD_1983_HARN_Adj_MN_Kittson_Meters",GEOGCS["GCS_NAD_1983_HARN_Adj_M
103643	NAD_1983_HARN_Adj_MN_Koochiching_Meters	PROJCS["NAD_1983_HARN_Adj_MN_Koochiching_Meters",GEOGCS["GCS_NAD_1983_HARN_A
103644	NAD_1983_HARN_Adj_MN_Lac_Qui_Parle_Meters	PROJCS["NAD_1983_HARN_Adj_MN_Lac_Qui_Parle_Meters",GEOGCS["GCS_NAD_1983_HARN
103645	NAD_1983_HARN_Adj_MN_Lake_of_the_Woods_North_Meters	PROJCS["NAD_1983_HARN_Adj_MN_Lake_of_the_Woods_North_Meters",GEOGCS["GCS_NAD_
103646	NAD_1983_HARN_Adj_MN_Lake_of_the_Woods_South_Meters	PROJCS["NAD_1983_HARN_Adj_MN_Lake_of_the_Woods_South_Meters",GEOGCS["GCS_NAD_
103647	NAD_1983_HARN_Adj_MN_Le_Sueur_Meters	PROJCS["NAD_1983_HARN_Adj_MN_Le_Sueur_Meters",GEOGCS["GCS_NAD_1983_HARN_Adj_
103648	NAD_1983_HARN_Adj_MN_Lincoln_Meters	PROJCS["NAD_1983_HARN_Adj_MN_Lincoln_Meters",GEOGCS["GCS_NAD_1983_HARN_Adj_M

Copyright © 1995-2016 Esri. All rights reserved.

103649	NAD_1983_HARN_Adj_MN_Lyon_Meters	PROJCS["NAD_1983_HARN_Adj_MN_Lyon_Meters",GEOGCS["GCS_NAD_1983_HARN_Adj_MN_
103650	NAD_1983_HARN_Adj_MN_McLeod_Meters	PROJCS["NAD_1983_HARN_Adj_MN_McLeod_Meters",GEOGCS["GCS_NAD_1983_HARN_Adj_M
103651	NAD_1983_HARN_Adj_MN_Mahnomen_Meters	PROJCS["NAD_1983_HARN_Adj_MN_Mahnomen_Meters",GEOGCS["GCS_NAD_1983_HARN_Ad
103652	NAD_1983_HARN_Adj_MN_Marshall_Meters	PROJCS["NAD_1983_HARN_Adj_MN_Marshall_Meters",GEOGCS["GCS_NAD_1983_HARN_Adj_
103653	NAD_1983_HARN_Adj_MN_Martin_Meters	PROJCS["NAD_1983_HARN_Adj_MN_Martin_Meters",GEOGCS["GCS_NAD_1983_HARN_Adj_MN
103654	NAD_1983_HARN_Adj_MN_Meeker_Meters	PROJCS["NAD_1983_HARN_Adj_MN_Meeker_Meters",GEOGCS["GCS_NAD_1983_HARN_Adj_M
103655	NAD_1983_HARN_Adj_MN_Morrison_Meters	PROJCS["NAD_1983_HARN_Adj_MN_Morrison_Meters",GEOGCS["GCS_NAD_1983_HARN_Adj_
103656	NAD_1983_HARN_Adj_MN_Mower_Meters	PROJCS["NAD_1983_HARN_Adj_MN_Mower_Meters",GEOGCS["GCS_NAD_1983_HARN_Adj_M
103657	NAD_1983_HARN_Adj_MN_Murray_Meters	PROJCS["NAD_1983_HARN_Adj_MN_Murray_Meters",GEOGCS["GCS_NAD_1983_HARN_Adj_M
103658	NAD_1983_HARN_Adj_MN_Nicollet_Meters	PROJCS["NAD_1983_HARN_Adj_MN_Nicollet_Meters",GEOGCS["GCS_NAD_1983_HARN_Adj_M
103659	NAD_1983_HARN_Adj_MN_Nobles_Meters	PROJCS["NAD_1983_HARN_Adj_MN_Nobles_Meters",GEOGCS["GCS_NAD_1983_HARN_Adj_M
103660	NAD_1983_HARN_Adj_MN_Norman_Meters	PROJCS["NAD_1983_HARN_Adj_MN_Norman_Meters",GEOGCS["GCS_NAD_1983_HARN_Adj_M
103661	NAD_1983_HARN_Adj_MN_Olmsted_Meters	PROJCS["NAD_1983_HARN_Adj_MN_Olmsted_Meters",GEOGCS["GCS_NAD_1983_HARN_Adj_
103662	NAD_1983_HARN_Adj_MN_Ottertail_Meters	PROJCS["NAD_1983_HARN_Adj_MN_Ottertail_Meters",GEOGCS["GCS_NAD_1983_HARN_Adj_M
103663	NAD_1983_HARN_Adj_MN_Pennington_Meters	PROJCS["NAD_1983_HARN_Adj_MN_Pennington_Meters",GEOGCS["GCS_NAD_1983_HARN_Ad
103664	NAD_1983_HARN_Adj_MN_Pine_Meters	PROJCS["NAD_1983_HARN_Adj_MN_Pine_Meters",GEOGCS["GCS_NAD_1983_HARN_Adj_MN_
103665	NAD_1983_HARN_Adj_MN_Pipestone_Meters	PROJCS["NAD_1983_HARN_Adj_MN_Pipestone_Meters",GEOGCS["GCS_NAD_1983_HARN_Adj
103666	NAD_1983_HARN_Adj_MN_Polk_Meters	PROJCS["NAD_1983_HARN_Adj_MN_Polk_Meters",GEOGCS["GCS_NAD_1983_HARN_Adj_MN_
103667	NAD_1983_HARN_Adj_MN_Pope_Meters	PROJCS["NAD_1983_HARN_Adj_MN_Pope_Meters",GEOGCS["GCS_NAD_1983_HARN_Adj_MN
103668	NAD_1983_HARN_Adj_MN_Ramsey_Meters	PROJCS["NAD_1983_HARN_Adj_MN_Ramsey_Meters",GEOGCS["GCS_NAD_1983_HARN_Adj_M
103669	NAD_1983_HARN_Adj_MN_Red_Lake_Meters	PROJCS["NAD_1983_HARN_Adj_MN_Red_Lake_Meters",GEOGCS["GCS_NAD_1983_HARN_Adj
103670	NAD_1983_HARN_Adj_MN_Redwood_Meters	PROJCS["NAD_1983_HARN_Adj_MN_Redwood_Meters",GEOGCS["GCS_NAD_1983_HARN_Adj_
103671	NAD_1983_HARN_Adj_MN_Renville_Meters	PROJCS["NAD_1983_HARN_Adj_MN_Renville_Meters",GEOGCS["GCS_NAD_1983_HARN_Adj_M
103672	NAD_1983_HARN_Adj_MN_Rice_Meters	PROJCS["NAD_1983_HARN_Adj_MN_Rice_Meters",GEOGCS["GCS_NAD_1983_HARN_Adj_MN_
103673	NAD_1983_HARN_Adj_MN_Rock_Meters	PROJCS["NAD_1983_HARN_Adj_MN_Rock_Meters",GEOGCS["GCS_NAD_1983_HARN_Adj_MN
103674	NAD_1983_HARN_Adj_MN_Roseau_Meters	PROJCS["NAD_1983_HARN_Adj_MN_Roseau_Meters",GEOGCS["GCS_NAD_1983_HARN_Adj_M
103675	NAD_1983_HARN_Adj_MN_St_Louis_North_Meters	PROJCS["NAD_1983_HARN_Adj_MN_St_Louis_North_Meters",GEOGCS["GCS_NAD_1983_HARN
103676	NAD_1983_HARN_Adj_MN_St_Louis_Central_Meters	PROJCS["NAD_1983_HARN_Adj_MN_St_Louis_Central_Meters",GEOGCS["GCS_NAD_1983_HAR
103677	NAD_1983_HARN_Adj_MN_St_Louis_South_Meters	PROJCS["NAD_1983_HARN_Adj_MN_St_Louis_South_Meters",GEOGCS["GCS_NAD_1983_HARN
103678	NAD_1983_HARN_Adj_MN_Scott_Meters	PROJCS["NAD_1983_HARN_Adj_MN_Scott_Meters",GEOGCS["GCS_NAD_1983_HARN_Adj_MN_
103679	NAD_1983_HARN_Adj_MN_Sherburne_Meters	PROJCS["NAD_1983_HARN_Adj_MN_Sherburne_Meters",GEOGCS["GCS_NAD_1983_HARN_Ad
103680	NAD_1983_HARN_Adj_MN_Sibley_Meters	PROJCS["NAD_1983_HARN_Adj_MN_Sibley_Meters",GEOGCS["GCS_NAD_1983_HARN_Adj_MN
103681	NAD_1983_HARN_Adj_MN_Stearns_Meters	PROJCS["NAD_1983_HARN_Adj_MN_Stearns_Meters",GEOGCS["GCS_NAD_1983_HARN_Adj_M
103682	NAD_1983_HARN_Adj_MN_Steele_Meters	PROJCS["NAD_1983_HARN_Adj_MN_Steele_Meters",GEOGCS["GCS_NAD_1983_HARN_Adj_MN
103683	NAD_1983_HARN_Adj_MN_Stevens_Meters	PROJCS["NAD_1983_HARN_Adj_MN_Stevens_Meters",GEOGCS["GCS_NAD_1983_HARN_Adj_M
103684	NAD_1983_HARN_Adj_MN_Swift_Meters	PROJCS["NAD_1983_HARN_Adj_MN_Swift_Meters",GEOGCS["GCS_NAD_1983_HARN_Adj_MN_
103685	NAD_1983_HARN_Adj_MN_Todd_Meters	PROJCS["NAD_1983_HARN_Adj_MN_Todd_Meters",GEOGCS["GCS_NAD_1983_HARN_Adj_MN_
103686	NAD_1983_HARN_Adj_MN_Traverse_Meters	PROJCS["NAD_1983_HARN_Adj_MN_Traverse_Meters",GEOGCS["GCS_NAD_1983_HARN_Adj_
103687	NAD_1983_HARN_Adj_MN_Wabasha_Meters	PROJCS["NAD_1983_HARN_Adj_MN_Wabasha_Meters",GEOGCS["GCS_NAD_1983_HARN_Adj_
103688	NAD_1983_HARN_Adj_MN_Wadena_Meters	PROJCS["NAD_1983_HARN_Adj_MN_Wadena_Meters",GEOGCS["GCS_NAD_1983_HARN_Adj_M
103689	NAD_1983_HARN_Adj_MN_Waseca_Meters	PROJCS["NAD_1983_HARN_Adj_MN_Waseca_Meters",GEOGCS["GCS_NAD_1983_HARN_Adj_M
103690	NAD_1983_HARN_Adj_MN_Watonwan_Meters	PROJCS["NAD_1983_HARN_Adj_MN_Watonwan_Meters",GEOGCS["GCS_NAD_1983_HARN_Ad
103691	NAD_1983_HARN_Adj_MN_Winona_Meters	PROJCS["NAD_1983_HARN_Adj_MN_Winona_Meters",GEOGCS["GCS_NAD_1983_HARN_Adj_M
103692	NAD_1983_HARN_Adj_MN_Wright_Meters	PROJCS["NAD_1983_HARN_Adj_MN_Wright_Meters",GEOGCS["GCS_NAD_1983_HARN_Adj_MN
103693	NAD_1983_HARN_Adj_MN_Yellow_Medicine_Meters	PROJCS["NAD_1983_HARN_Adj_MN_Yellow_Medicine_Meters",GEOGCS["GCS_NAD_1983_HAR
103694	NAD_1983_HARN_Adj_MN_St_Louis_CS96_Meters	PROJCS["NAD_1983_HARN_Adj_MN_St_Louis_CS96_Meters",GEOGCS["GCS_NAD_1983_HARN
103695	NAD_1983_HARN_Adj_MN_St_Louis_CS96_Feet	PROJCS["NAD_1983_HARN_Adj_MN_St_Louis_CS96_Feet",GEOGCS["GCS_NAD_1983_HARN_
103700	NAD_1983_HARN_Adj_MN_Aitkin_Feet	PROJCS["NAD_1983_HARN_Adj_MN_Aitkin_Feet",GEOGCS["GCS_North_American_1983_HARN
103701	NAD_1983_HARN_Adj_MN_Clay_Feet	PROJCS["NAD_1983_HARN_Adj_MN_Clay_Feet",GEOGCS["GCS_North_American_1983_HARN"
103702	NAD_1983_HARN_Adj_MN_Clearwater_Feet	PROJCS["NAD_1983_HARN_Adj_MN_Clearwater_Feet",GEOGCS["GCS_North_American_1983_H
103703	NAD_1983_HARN_Adj_MN_Hubbard_Feet	PROJCS["NAD_1983_HARN_Adj_MN_Hubbard_Feet",GEOGCS["GCS_North_American_1983_HA
103704	NAD_1983_HARN_Adj_MN_Lake_Feet	PROJCS["NAD_1983_HARN_Adj_MN_Lake_Feet",GEOGCS["GCS_North_American_1983_HARN"
103705	NAD_1983_HARN_Adj_MN_Mille_Lacs_Feet	PROJCS["NAD_1983_HARN_Adj_MN_Mille_Lacs_Feet",GEOGCS["GCS_North_American_1983_H
103706	NAD_1983_HARN_Adj_MN_Washington_Feet	PROJCS["NAD_1983_HARN_Adj_MN_Washington_Feet",GEOGCS["GCS_North_American_1983_

Copyright © 1995-2016 Esri. All rights reserved.

103707	NAD_1983_HARN_Adj_MN_Wilkin_Feet	PROJCS["NAD_1983_HARN_Adj_MN_Wilkin_Feet",GEOGCS["GCS_North_American_1983_HARN
103708	NAD_1983_HARN_Adj_MN_Anoka_Feet	PROJCS["NAD_1983_HARN_Adj_MN_Anoka_Feet",GEOGCS["GCS_NAD_1983_HARN_Adj_MN_
103709	NAD_1983_HARN_Adj_MN_Becker_Feet	PROJCS["NAD_1983_HARN_Adj_MN_Becker_Feet",GEOGCS["GCS_NAD_1983_HARN_Adj_MN_
103710	NAD_1983_HARN_Adj_MN_Beltrami_North_Feet	PROJCS["NAD_1983_HARN_Adj_MN_Beltrami_North_Feet",GEOGCS["GCS_NAD_1983_HARN_A
103711	NAD_1983_HARN_Adj_MN_Beltrami_South_Feet	PROJCS["NAD_1983_HARN_Adj_MN_Beltrami_South_Feet",GEOGCS["GCS_NAD_1983_HARN_
103712	NAD_1983_HARN_Adj_MN_Benton_Feet	PROJCS["NAD_1983_HARN_Adj_MN_Benton_Feet",GEOGCS["GCS_NAD_1983_HARN_Adj_MN_
103713	NAD_1983_HARN_Adj_MN_Big_Stone_Feet	PROJCS["NAD_1983_HARN_Adj_MN_Big_Stone_Feet",GEOGCS["GCS_NAD_1983_HARN_Adj_M
103714	NAD_1983_HARN_Adj_MN_Blue_Earth_Feet	PROJCS["NAD_1983_HARN_Adj_MN_Blue_Earth_Feet",GEOGCS["GCS_NAD_1983_HARN_Adj_
103715	NAD_1983_HARN_Adj_MN_Brown_Feet	PROJCS["NAD_1983_HARN_Adj_MN_Brown_Feet",GEOGCS["GCS_NAD_1983_HARN_Adj_MN_
103716	NAD_1983_HARN_Adj_MN_Carlton_Feet	PROJCS["NAD_1983_HARN_Adj_MN_Carlton_Feet",GEOGCS["GCS_NAD_1983_HARN_Adj_MN_
103717	NAD_1983_HARN_Adj_MN_Carver_Feet	PROJCS["NAD_1983_HARN_Adj_MN_Carver_Feet",GEOGCS["GCS_NAD_1983_HARN_Adj_MN_
103718	NAD_1983_HARN_Adj_MN_Cass_North_Feet	PROJCS["NAD_1983_HARN_Adj_MN_Cass_North_Feet",GEOGCS["GCS_NAD_1983_HARN_Adj_
103719	NAD_1983_HARN_Adj_MN_Cass_South_Feet	PROJCS["NAD_1983_HARN_Adj_MN_Cass_South_Feet",GEOGCS["GCS_NAD_1983_HARN_Adj
103720	NAD_1983_HARN_Adj_MN_Chippewa_Feet	PROJCS["NAD_1983_HARN_Adj_MN_Chippewa_Feet",GEOGCS["GCS_NAD_1983_HARN_Adj_M
103721	NAD_1983_HARN_Adj_MN_Chisago_Feet	PROJCS["NAD_1983_HARN_Adj_MN_Chisago_Feet",GEOGCS["GCS_NAD_1983_HARN_Adj_MN
103722	NAD_1983_HARN_Adj_MN_Cook_North_Feet	PROJCS["NAD_1983_HARN_Adj_MN_Cook_North_Feet",GEOGCS["GCS_NAD_1983_HARN_Adj_
103723	NAD_1983_HARN_Adj_MN_Cook_South_Feet	PROJCS["NAD_1983_HARN_Adj_MN_Cook_South_Feet",GEOGCS["GCS_NAD_1983_HARN_Adj
103724	NAD_1983_HARN_Adj_MN_Cottonwood_Feet	PROJCS["NAD_1983_HARN_Adj_MN_Cottonwood_Feet",GEOGCS["GCS_NAD_1983_HARN_Adj_
103725	NAD_1983_HARN_Adj_MN_Crow_Wing_Feet	PROJCS["NAD_1983_HARN_Adj_MN_Crow_Wing_Feet",GEOGCS["GCS_NAD_1983_HARN_Adj_
103726	NAD_1983_HARN_Adj_MN_Dakota_Feet	PROJCS["NAD_1983_HARN_Adj_MN_Dakota_Feet",GEOGCS["GCS_NAD_1983_HARN_Adj_MN_
103727	NAD_1983_HARN_Adj_MN_Dodge_Feet	PROJCS["NAD_1983_HARN_Adj_MN_Dodge_Feet",GEOGCS["GCS_NAD_1983_HARN_Adj_MN_
103728	NAD_1983_HARN_Adj_MN_Douglas_Feet	PROJCS["NAD_1983_HARN_Adj_MN_Douglas_Feet",GEOGCS["GCS_NAD_1983_HARN_Adj_MN
103729	NAD_1983_HARN_Adj_MN_Faribault_Feet	PROJCS["NAD_1983_HARN_Adj_MN_Faribault_Feet",GEOGCS["GCS_NAD_1983_HARN_Adj_M
103730	NAD_1983_HARN_Adj_MN_Fillmore_Feet	PROJCS["NAD_1983_HARN_Adj_MN_Fillmore_Feet",GEOGCS["GCS_NAD_1983_HARN_Adj_MN
103731	NAD_1983_HARN_Adj_MN_Freeborn_Feet	PROJCS["NAD_1983_HARN_Adj_MN_Freeborn_Feet",GEOGCS["GCS_NAD_1983_HARN_Adj_M
103732	NAD_1983_HARN_Adj_MN_Goodhue_Feet	PROJCS["NAD_1983_HARN_Adj_MN_Goodhue_Feet",GEOGCS["GCS_NAD_1983_HARN_Adj_M
103733	NAD_1983_HARN_Adj_MN_Grant_Feet	PROJCS["NAD_1983_HARN_Adj_MN_Grant_Feet",GEOGCS["GCS_NAD_1983_HARN_Adj_MN_G
103734	NAD_1983_HARN_Adj_MN_Hennepin_Feet	PROJCS["NAD_1983_HARN_Adj_MN_Hennepin_Feet",GEOGCS["GCS_NAD_1983_HARN_Adj_M
103735	NAD_1983_HARN_Adj_MN_Houston_Feet	PROJCS["NAD_1983_HARN_Adj_MN_Houston_Feet",GEOGCS["GCS_NAD_1983_HARN_Adj_MN
103736	NAD_1983_HARN_Adj_MN_Isanti_Feet	PROJCS["NAD_1983_HARN_Adj_MN_Isanti_Feet",GEOGCS["GCS_NAD_1983_HARN_Adj_MN_Is
103737	NAD_1983_HARN_Adj_MN_Itasca_North_Feet	PROJCS["NAD_1983_HARN_Adj_MN_Itasca_North_Feet",GEOGCS["GCS_NAD_1983_HARN_Adj
103738	NAD_1983_HARN_Adj_MN_Itasca_South_Feet	PROJCS["NAD_1983_HARN_Adj_MN_Itasca_South_Feet",GEOGCS["GCS_NAD_1983_HARN_Ad
103739	NAD_1983_HARN_Adj_MN_Jackson_Feet	PROJCS["NAD_1983_HARN_Adj_MN_Jackson_Feet",GEOGCS["GCS_NAD_1983_HARN_Adj_MN
103740	NAD_1983_HARN_Adj_MN_Kanabec_Feet	PROJCS["NAD_1983_HARN_Adj_MN_Kanabec_Feet",GEOGCS["GCS_NAD_1983_HARN_Adj_MN
103741	NAD_1983_HARN_Adj_MN_Kandiyohi_Feet	PROJCS["NAD_1983_HARN_Adj_MN_Kandiyohi_Feet",GEOGCS["GCS_NAD_1983_HARN_Adj_M
103742	NAD_1983_HARN_Adj_MN_Kittson_Feet	PROJCS["NAD_1983_HARN_Adj_MN_Kittson_Feet",GEOGCS["GCS_NAD_1983_HARN_Adj_MN_
103743	NAD_1983_HARN_Adj_MN_Koochiching_Feet	PROJCS["NAD_1983_HARN_Adj_MN_Koochiching_Feet",GEOGCS["GCS_NAD_1983_HARN_Adj
103744	NAD_1983_HARN_Adj_MN_Lac_Qui_Parle_Feet	PROJCS["NAD_1983_HARN_Adj_MN_Lac_Qui_Parle_Feet",GEOGCS["GCS_NAD_1983_HARN_A
103745	NAD_1983_HARN_Adj_MN_Lake_of_the_Woods_North_Feet	PROJCS["NAD_1983_HARN_Adj_MN_Lake_of_the_Woods_North_Feet",GEOGCS["GCS_NAD_19
103746	NAD_1983_HARN_Adj_MN_Lake_of_the_Woods_South_Feet	PROJCS["NAD_1983_HARN_Adj_MN_Lake_of_the_Woods_South_Feet",GEOGCS["GCS_NAD_19
103747	NAD_1983_HARN_Adj_MN_Le_Sueur_Feet	PROJCS["NAD_1983_HARN_Adj_MN_Le_Sueur_Feet",GEOGCS["GCS_NAD_1983_HARN_Adj_M
103748	NAD_1983_HARN_Adj_MN_Lincoln_Feet	PROJCS["NAD_1983_HARN_Adj_MN_Lincoln_Feet",GEOGCS["GCS_NAD_1983_HARN_Adj_MN_
103749	NAD_1983_HARN_Adj_MN_Lyon_Feet	PROJCS["NAD_1983_HARN_Adj_MN_Lyon_Feet",GEOGCS["GCS_NAD_1983_HARN_Adj_MN_Ly
103750	NAD_1983_HARN_Adj_MN_McLeod_Feet	PROJCS["NAD_1983_HARN_Adj_MN_McLeod_Feet",GEOGCS["GCS_NAD_1983_HARN_Adj_MN
103751	NAD_1983_HARN_Adj_MN_Mahnomen_Feet	PROJCS["NAD_1983_HARN_Adj_MN_Mahnomen_Feet",GEOGCS["GCS_NAD_1983_HARN_Adj_
103752	NAD_1983_HARN_Adj_MN_Marshall_Feet	PROJCS["NAD_1983_HARN_Adj_MN_Marshall_Feet",GEOGCS["GCS_NAD_1983_HARN_Adj_MN
103753	NAD_1983_HARN_Adj_MN_Martin_Feet	PROJCS["NAD_1983_HARN_Adj_MN_Martin_Feet",GEOGCS["GCS_NAD_1983_HARN_Adj_MN_
103754	NAD_1983_HARN_Adj_MN_Meeker_Feet	PROJCS["NAD_1983_HARN_Adj_MN_Meeker_Feet",GEOGCS["GCS_NAD_1983_HARN_Adj_MN_
103755	NAD_1983_HARN_Adj_MN_Morrison_Feet	PROJCS["NAD_1983_HARN_Adj_MN_Morrison_Feet",GEOGCS["GCS_NAD_1983_HARN_Adj_M
103756	NAD_1983_HARN_Adj_MN_Mower_Feet	PROJCS["NAD_1983_HARN_Adj_MN_Mower_Feet",GEOGCS["GCS_NAD_1983_HARN_Adj_MN_
103757	NAD_1983_HARN_Adj_MN_Murray_Feet	PROJCS["NAD_1983_HARN_Adj_MN_Murray_Feet",GEOGCS["GCS_NAD_1983_HARN_Adj_MN_
103758	NAD_1983_HARN_Adj_MN_Nicollet_Feet	PROJCS["NAD_1983_HARN_Adj_MN_Nicollet_Feet",GEOGCS["GCS_NAD_1983_HARN_Adj_MN_
103759	NAD_1983_HARN_Adj_MN_Nobles_Feet	PROJCS["NAD_1983_HARN_Adj_MN_Nobles_Feet",GEOGCS["GCS_NAD_1983_HARN_Adj_MN_
103760	NAD_1983_HARN_Adj_MN_Norman_Feet	PROJCS["NAD_1983_HARN_Adj_MN_Norman_Feet",GEOGCS["GCS_NAD_1983_HARN_Adj_MN

Copyright © 1995-2016 Esri. All rights reserved.

103761	NAD_1983_HARN_Adj_MN_Olmsted_Feet	PROJCS["NAD_1983_HARN_Adj_MN_Olmsted_Feet",GEOGCS["GCS_NAD_1983_HARN_Adj_MN
103762	NAD_1983_HARN_Adj_MN_Ottertail_Feet	PROJCS["NAD_1983_HARN_Adj_MN_Ottertail_Feet",GEOGCS["GCS_NAD_1983_HARN_Adj_MN
103763	NAD_1983_HARN_Adj_MN_Pennington_Feet	PROJCS["NAD_1983_HARN_Adj_MN_Pennington_Feet",GEOGCS["GCS_NAD_1983_HARN_Adj_
103764	NAD_1983_HARN_Adj_MN_Pine_Feet	PROJCS["NAD_1983_HARN_Adj_MN_Pine_Feet",GEOGCS["GCS_NAD_1983_HARN_Adj_MN_Pi
103765	NAD_1983_HARN_Adj_MN_Pipestone_Feet	PROJCS["NAD_1983_HARN_Adj_MN_Pipestone_Feet",GEOGCS["GCS_NAD_1983_HARN_Adj_M
103766	NAD_1983_HARN_Adj_MN_Polk_Feet	PROJCS["NAD_1983_HARN_Adj_MN_Polk_Feet",GEOGCS["GCS_NAD_1983_HARN_Adj_MN_Po
103767	NAD_1983_HARN_Adj_MN_Pope_Feet	PROJCS["NAD_1983_HARN_Adj_MN_Pope_Feet",GEOGCS["GCS_NAD_1983_HARN_Adj_MN_P
103768	NAD_1983_HARN_Adj_MN_Ramsey_Feet	PROJCS["NAD_1983_HARN_Adj_MN_Ramsey_Feet",GEOGCS["GCS_NAD_1983_HARN_Adj_MN
103769	NAD_1983_HARN_Adj_MN_Red_Lake_Feet	PROJCS["NAD_1983_HARN_Adj_MN_Red_Lake_Feet",GEOGCS["GCS_NAD_1983_HARN_Adj_M
103770	NAD_1983_HARN_Adj_MN_Redwood_Feet	PROJCS["NAD_1983_HARN_Adj_MN_Redwood_Feet",GEOGCS["GCS_NAD_1983_HARN_Adj_M
103771	NAD_1983_HARN_Adj_MN_Renville_Feet	PROJCS["NAD_1983_HARN_Adj_MN_Renville_Feet",GEOGCS["GCS_NAD_1983_HARN_Adj_MN
103772	NAD_1983_HARN_Adj_MN_Rice_Feet	PROJCS["NAD_1983_HARN_Adj_MN_Rice_Feet",GEOGCS["GCS_NAD_1983_HARN_Adj_MN_Ri
103773	NAD_1983_HARN_Adj_MN_Rock_Feet	PROJCS["NAD_1983_HARN_Adj_MN_Rock_Feet",GEOGCS["GCS_NAD_1983_HARN_Adj_MN_R
103774	NAD_1983_HARN_Adj_MN_Roseau_Feet	PROJCS["NAD_1983_HARN_Adj_MN_Roseau_Feet",GEOGCS["GCS_NAD_1983_HARN_Adj_MN
103775	NAD_1983_HARN_Adj_MN_St_Louis_North_Feet	PROJCS["NAD_1983_HARN_Adj_MN_St_Louis_North_Feet",GEOGCS["GCS_NAD_1983_HARN_
103776	NAD_1983_HARN_Adj_MN_St_Louis_Central_Feet	PROJCS["NAD_1983_HARN_Adj_MN_St_Louis_Central_Feet",GEOGCS["GCS_NAD_1983_HARN
103777	NAD_1983_HARN_Adj_MN_St_Louis_South_Feet	PROJCS["NAD_1983_HARN_Adj_MN_St_Louis_South_Feet",GEOGCS["GCS_NAD_1983_HARN_
103778	NAD_1983_HARN_Adj_MN_Scott_Feet	PROJCS["NAD_1983_HARN_Adj_MN_Scott_Feet",GEOGCS["GCS_NAD_1983_HARN_Adj_MN_S
103779	NAD_1983_HARN_Adj_MN_Sherburne_Feet	PROJCS["NAD_1983_HARN_Adj_MN_Sherburne_Feet",GEOGCS["GCS_NAD_1983_HARN_Adj_M
103780	NAD_1983_HARN_Adj_MN_Sibley_Feet	PROJCS["NAD_1983_HARN_Adj_MN_Sibley_Feet",GEOGCS["GCS_NAD_1983_HARN_Adj_MN_S
103781	NAD_1983_HARN_Adj_MN_Stearns_Feet	PROJCS["NAD_1983_HARN_Adj_MN_Stearns_Feet",GEOGCS["GCS_NAD_1983_HARN_Adj_MN
103782	NAD_1983_HARN_Adj_MN_Steele_Feet	PROJCS["NAD_1983_HARN_Adj_MN_Steele_Feet",GEOGCS["GCS_NAD_1983_HARN_Adj_MN_
103783	NAD_1983_HARN_Adj_MN_Stevens_Feet	PROJCS["NAD_1983_HARN_Adj_MN_Stevens_Feet",GEOGCS["GCS_NAD_1983_HARN_Adj_MN
103784	NAD_1983_HARN_Adj_MN_Swift_Feet	PROJCS["NAD_1983_HARN_Adj_MN_Swift_Feet",GEOGCS["GCS_NAD_1983_HARN_Adj_MN_S
103785	NAD_1983_HARN_Adj_MN_Todd_Feet	PROJCS["NAD_1983_HARN_Adj_MN_Todd_Feet",GEOGCS["GCS_NAD_1983_HARN_Adj_MN_To
103786	NAD_1983_HARN_Adj_MN_Traverse_Feet	PROJCS["NAD_1983_HARN_Adj_MN_Traverse_Feet",GEOGCS["GCS_NAD_1983_HARN_Adj_MN
103787	NAD_1983_HARN_Adj_MN_Wabasha_Feet	PROJCS["NAD_1983_HARN_Adj_MN_Wabasha_Feet",GEOGCS["GCS_NAD_1983_HARN_Adj_M
103788	NAD_1983_HARN_Adj_MN_Wadena_Feet	PROJCS["NAD_1983_HARN_Adj_MN_Wadena_Feet",GEOGCS["GCS_NAD_1983_HARN_Adj_MN
103789	NAD_1983_HARN_Adj_MN_Waseca_Feet	PROJCS["NAD_1983_HARN_Adj_MN_Waseca_Feet",GEOGCS["GCS_NAD_1983_HARN_Adj_MN
103790	NAD_1983_HARN_Adj_MN_Watonwan_Feet	PROJCS["NAD_1983_HARN_Adj_MN_Watonwan_Feet",GEOGCS["GCS_NAD_1983_HARN_Adj_M
103791	NAD_1983_HARN_Adj_MN_Winona_Feet	PROJCS["NAD_1983_HARN_Adj_MN_Winona_Feet",GEOGCS["GCS_NAD_1983_HARN_Adj_MN
103792	NAD_1983_HARN_Adj_MN_Wright_Feet	PROJCS["NAD_1983_HARN_Adj_MN_Wright_Feet",GEOGCS["GCS_NAD_1983_HARN_Adj_MN_
103793	NAD_1983_HARN_Adj_MN_Yellow_Medicine_Feet	PROJCS["NAD_1983_HARN_Adj_MN_Yellow_Medicine_Feet",GEOGCS["GCS_NAD_1983_HARN

Related topics

Spatial references

Copyright © 1995-2016 Esri. All rights reserved.

Datum transformations

Geographic datum transformations

The following table provides equation-based geographic (datum) transformations.

Well-known ID	Name	Well-known text
1024	MGI_To_ETRS_1989_4	GEOGTRAN["MGI_To_ETRS_1989_4",GEOGCS["GCS_MGI",DATUM["D_MGI",SPHEROID["Bessel_1841",6377397.15
1055	Ain_el_Abd_To_WGS_1984_3	GEOGTRAN["Ain_el_Abd_To_WGS_1984_3",GEOGCS["GCS_Ain_el_Abd_1970",DATUM["D_Ain_el_Abd_1970",SPHI
1056	Ain_El_Abd_To_WGS_1984_4	GEOGTRAN["Ain_El_Abd_To_WGS_1984_4",GEOGCS["GCS_Ain_el_Abd_1970",DATUM["D_Ain_el_Abd_1970",SPH
1057	Ain_El_Abd_To_WGS_1984_5	GEOGTRAN["Ain_El_Abd_To_WGS_1984_5",GEOGCS["GCS_Ain_el_Abd_1970",DATUM["D_Ain_el_Abd_1970",SPH
1058	Ain_El_Abd_To_WGS_1984_6	GEOGTRAN["Ain_El_Abd_To_WGS_1984_6",GEOGCS["GCS_Ain_el_Abd_1970",DATUM["D_Ain_el_Abd_1970",SPH
1059	KOC_To_WGS_1984_1	GEOGTRAN["KOC_To_WGS_1984_1",GEOGCS["GCS_Kuwait_Oil_Company",DATUM["D_Kuwait_Oil_Company",SPH
1060	NGN_To_WGS_1984_1	GEOGTRAN["NGN_To_WGS_1984_1",GEOGCS["GCS_NGN",DATUM["D_NGN",SPHEROID["WGS_1984",6378137.0
1061	KUDAMS_To_WGS_1984_1	GEOGTRAN["KUDAMS_To_WGS_1984_1",GEOGCS["GCS_KUDAMS",DATUM["D_Kuwait_Utility",SPHEROID["GRS_
1062	KUDAMS_To_WGS_1984_2	GEOGTRAN["KUDAMS_To_WGS_1984_2",GEOGCS["GCS_KUDAMS",DATUM["D_Kuwait_Utility",SPHEROID["GRS_
1063	Vientiane_1982_To_Lao_1997_1	GEOGTRAN["Vientiane_1982_To_Lao_1997_1",GEOGCS["GCS_Vientiane_1982",DATUM["D_Vientiane_1982",SPHER
1064	Lao_1993_To_Lao_1997_1	GEOGTRAN["Lao_1993_To_Lao_1997_1",GEOGCS["GCS_Lao_1993",DATUM["D_Lao_1993",SPHEROID["Krasovsky
1065	Lao_1997_To_WGS_1984_1	GEOGTRAN["Lao_1997_To_WGS_1984_1",GEOGCS["GCS_Lao_1997",DATUM["D_Lao_National_Datum_1997",SPH
1066	Amersfoort_To_ETRS_1989_MB	GEOGTRAN["Amersfoort_To_ETRS_1989_MB",GEOGCS["GCS_Amersfoort",DATUM["D_Amersfoort",SPHEROID["Bes
1067	Minna_To_WGS_1984_11	GEOGTRAN["Minna_To_WGS_1984_11",GEOGCS["GCS_Minna",DATUM["D_Minna",SPHEROID["Clarke_1880_RGS"
1070	Guam_1963_To_WGS_1984_1	GEOGTRAN["Guam_1963_To_WGS_1984_1",GEOGCS["GCS_Guam_1963",DATUM["D_Guam_1963",SPHEROID["C
1071	Palestine_1923_To_Israel_1	GEOGTRAN["Palestine_1923_To_Israel_1",GEOGCS["GCS_Palestine_1923",DATUM["D_Palestine_1923",SPHEROID
1073	Israel_To_WGS_1984	GEOGTRAN["Israel_To_WGS_1984",GEOGCS["GCS_Israel",DATUM["D_Israel",SPHEROID["GRS_1980",6378137.0,2
1074	Palestine_1923_To_WGS_1984_1	GEOGTRAN["Palestine_1923_To_WGS_1984_1",GEOGCS["GCS_Palestine_1923",DATUM["D_Palestine_1923",SPHE
1075	ED_1950_To_WGS_1984_38	GEOGTRAN["ED_1950_To_WGS_1984_38",GEOGCS["GCS_European_1950",DATUM["D_European_1950",SPHERO
1078	Luxembourg_1930_To_ETRS_1989_2	GEOGTRAN["Luxembourg_1930_To_ETRS_1989_2",GEOGCS["GCS_Luxembourg_1930",DATUM["D_Luxembourg_19
1079	Luxembourg_1930_To_WGS_1984_2	GEOGTRAN["Luxembourg_1930_To_WGS_1984_2",GEOGCS["GCS_Luxembourg_1930",DATUM["D_Luxembourg_19
1080	Chatham_Island_1971_To_WGS_1984	GEOGTRAN["Chatham_Island_1971_To_WGS_1984",GEOGCS["GCS_Chatham_Island_1971",DATUM["D_Chatham_
1081	Chatham_Islands_1979_To_WGS_1984_1	GEOGTRAN["Chatham_Islands_1979_To_WGS_1984_1",GEOGCS["GCS_Chatham_Islands_1979",DATUM["D_Chath
1082	Chatham_Islands_1979_To_NZGD_2000_1	GEOGTRAN["Chatham_Islands_1979_To_NZGD_2000_1",GEOGCS["GCS_Chatham_Islands_1979",DATUM["D_Chat
1083	Jamaica_1969_To_WGS_1972_2	GEOGTRAN["Jamaica_1969_To_WGS_1972_2",GEOGCS["GCS_Jamaica_1969",DATUM["D_Jamaica_1969",SPHER
1084	Jamaica_1969_To_WGS_1984_1	GEOGTRAN["Jamaica_1969_To_WGS_1984_1",GEOGCS["GCS_Jamaica_1969",DATUM["D_Jamaica_1969",SPHER
1085	Jamaica_1969_To_WGS_1984_2	GEOGTRAN["Jamaica_1969_To_WGS_1984_2",GEOGCS["GCS_Jamaica_1969",DATUM["D_Jamaica_1969",SPHER
1087	ED_1950_To_WGS_1984_37	GEOGTRAN["ED_1950_To_WGS_1984_37",GEOGCS["GCS_European_1950",DATUM["D_European_1950",SPHERO
1088	Monte_Mario_To_WGS_1984_5	GEOGTRAN["Monte_Mario_To_WGS_1984_5",GEOGCS["GCS_Monte_Mario",DATUM["D_Monte_Mario",SPHEROID["
1089	Monte_Mario_To_WGS_1984_6	GEOGTRAN["Monte_Mario_To_WGS_1984_6",GEOGCS["GCS_Monte_Mario",DATUM["D_Monte_Mario",SPHEROID["
1090	Monte_Mario_To_WGS_1984_7	GEOGTRAN["Monte_Mario_To_WGS_1984_7",GEOGCS["GCS_Monte_Mario",DATUM["D_Monte_Mario",SPHEROID["
1091	Monte_Mario_To_WGS_1984_8	GEOGTRAN["Monte_Mario_To_WGS_1984_8",GEOGCS["GCS_Monte_Mario",DATUM["D_Monte_Mario",SPHEROID["
1092	Monte_Mario_To_WGS_1984_9	GEOGTRAN["Monte_Mario_To_WGS_1984_9",GEOGCS["GCS_Monte_Mario",DATUM["D_Monte_Mario",SPHEROID["
1093	Monte_Mario_To_WGS_1984_10	GEOGTRAN["Monte_Mario_To_WGS_1984_10",GEOGCS["GCS_Monte_Mario",DATUM["D_Monte_Mario",SPHEROID
1094	Monte_Mario_To_WGS_1984_11	GEOGTRAN["Monte_Mario_To_WGS_1984_11",GEOGCS["GCS_Monte_Mario",DATUM["D_Monte_Mario",SPHEROID
1095	PSAD_1956_To_WGS_1984_13	GEOGTRAN["PSAD_1956_To_WGS_1984_13",GEOGCS["GCS_Provisional_S_American_1956",DATUM["D_Provision
1096	La_Canoa_To_WGS_1984_2	GEOGTRAN["La_Canoa_To_WGS_1984_2",GEOGCS["GCS_La_Canoa",DATUM["D_La_Canoa",SPHEROID["Internat
1097	Dealul_Piscului_1970_To_WGS_1984_2	GEOGTRAN["Dealul_Piscului_1970_To_WGS_1984_2",GEOGCS["GCS_Dealul_Piscului_1970",DATUM["D_Dealul_Pis
1098	IGM_1995_To_ETRS_1989_1	GEOGTRAN["IGM_1995_To_ETRS_1989_1",GEOGCS["GCS_IGM_1995",DATUM["D_IGM_1995",SPHEROID["WGS_
1099	IGM_1995_To_WGS_1984_1	GEOGTRAN["IGM_1995_To_WGS_1984_1",GEOGCS["GCS_IGM_1995",DATUM["D_IGM_1995",SPHEROID["WGS_1
1100	Adindan_To_WGS_1984_1	GEOGTRAN["Adindan_To_WGS_1984_1",GEOGCS["GCS_Adindan",DATUM["D_Adindan",SPHEROID["Clarke_1880_
1101	Adindan_To_WGS_1984_2	GEOGTRAN["Adindan_To_WGS_1984_2",GEOGCS["GCS_Adindan",DATUM["D_Adindan",SPHEROID["Clarke_1880_
1102	Adindan_To_WGS_1984_3	GEOGTRAN["Adindan_To_WGS_1984_3",GEOGCS["GCS_Adindan",DATUM["D_Adindan",SPHEROID["Clarke_1880_
1103	Adindan_To_WGS_1984_4	GEOGTRAN["Adindan_To_WGS_1984_4",GEOGCS["GCS_Adindan",DATUM["D_Adindan",SPHEROID["Clarke_1880_
1104	Adindan_To_WGS_1984_5	GEOGTRAN["Adindan_To_WGS_1984_5",GEOGCS["GCS_Adindan",DATUM["D_Adindan",SPHEROID["Clarke_1880_
1105	Adindan_To_WGS_1984_6	GEOGTRAN["Adindan_To_WGS_1984_6",GEOGCS["GCS_Adindan",DATUM["D_Adindan",SPHEROID["Clarke_1880_

Copyright © 1995-2016 Esri. All rights reserved.

1106	Adindan_To_WGS_1984_7	GEOGTRAN["Adindan_To_WGS_1984_7",GEOGCS["GCS_Adindan",DATUM["D_Adindan",SPHEROID["Clarke_1880_
1107	Afgooye_To_WGS_1984	GEOGTRAN["Afgooye_To_WGS_1984",GEOGCS["GCS_Afgooye",DATUM["D_Afgooye",SPHEROID["Krasovsky_1940
1108	AGD_1966_To_WGS_1984	GEOGTRAN["AGD_1966_To_WGS_1984",GEOGCS["GCS_Australian_1966",DATUM["D_Australian_1966",SPHEROID
1109	AGD_1984_To_WGS_1984_1	GEOGTRAN["AGD_1984_To_WGS_1984_1",GEOGCS["GCS_Australian_1984",DATUM["D_Australian_1984",SPHERO
1110	Ain_El_Abd_To_WGS_1984_1	GEOGTRAN["Ain_El_Abd_To_WGS_1984_1",GEOGCS["GCS_Ain_el_Abd_1970",DATUM["D_Ain_el_Abd_1970",SPH
1111	Ain_El_Abd_To_WGS_1984_2	GEOGTRAN["Ain_El_Abd_To_WGS_1984_2",GEOGCS["GCS_Ain_el_Abd_1970",DATUM["D_Ain_el_Abd_1970",SPH
1112	Amersfoort_To_WGS_1984	GEOGTRAN["Amersfoort_To_WGS_1984",GEOGCS["GCS_Amersfoort",DATUM["D_Amersfoort",SPHEROID["Bessel_
1113	Arc_1950_To_WGS_1984_1	GEOGTRAN["Arc_1950_To_WGS_1984_1",GEOGCS["GCS_Arc_1950",DATUM["D_Arc_1950",SPHEROID["Clarke_18
1114	Arc_1950_To_WGS_1984_2	GEOGTRAN["Arc_1950_To_WGS_1984_2",GEOGCS["GCS_Arc_1950",DATUM["D_Arc_1950",SPHEROID["Clarke_18
1115	Arc_1950_To_WGS_1984_3	GEOGTRAN["Arc_1950_To_WGS_1984_3",GEOGCS["GCS_Arc_1950",DATUM["D_Arc_1950",SPHEROID["Clarke_18
1116	Arc_1950_To_WGS_1984_4	GEOGTRAN["Arc_1950_To_WGS_1984_4",GEOGCS["GCS_Arc_1950",DATUM["D_Arc_1950",SPHEROID["Clarke_18
1117	Arc_1950_To_WGS_1984_5	GEOGTRAN["Arc_1950_To_WGS_1984_5",GEOGCS["GCS_Arc_1950",DATUM["D_Arc_1950",SPHEROID["Clarke_18
1118	Arc_1950_To_WGS_1984_6	GEOGTRAN["Arc_1950_To_WGS_1984_6",GEOGCS["GCS_Arc_1950",DATUM["D_Arc_1950",SPHEROID["Clarke_18
1119	Arc_1950_To_WGS_1984_7	GEOGTRAN["Arc_1950_To_WGS_1984_7",GEOGCS["GCS_Arc_1950",DATUM["D_Arc_1950",SPHEROID["Clarke_18
1120	Arc_1950_To_WGS_1984_8	GEOGTRAN["Arc_1950_To_WGS_1984_8",GEOGCS["GCS_Arc_1950",DATUM["D_Arc_1950",SPHEROID["Clarke_18
1121	Arc_1950_To_WGS_1984_9	GEOGTRAN["Arc_1950_To_WGS_1984_9",GEOGCS["GCS_Arc_1950",DATUM["D_Arc_1950",SPHEROID["Clarke_18
1122	Arc_1960_To_WGS_1984	GEOGTRAN["Arc_1960_To_WGS_1984",GEOGCS["GCS_Arc_1960",DATUM["D_Arc_1960",SPHEROID["Clarke_1880
1123	Batavia_To_WGS_1984	GEOGTRAN["Batavia_To_WGS_1984",GEOGCS["GCS_Batavia",DATUM["D_Batavia",SPHEROID["Bessel_1841",6377
1124	Bermuda_1957_To_WGS_1984	GEOGTRAN["Bermuda_1957_To_WGS_1984",GEOGCS["GCS_Bermuda_1957",DATUM["D_Bermuda_1957",SPHERO
1125	Bogota_To_WGS_1984	GEOGTRAN["Bogota_To_WGS_1984",GEOGCS["GCS_Bogota",DATUM["D_Bogota",SPHEROID["International_1924",
1126	Bukit_Rimpah_To_WGS_1984	GEOGTRAN["Bukit_Rimpah_To_WGS_1984",GEOGCS["GCS_Bukit_Rimpah",DATUM["D_Bukit_Rimpah",SPHEROID[
1127	Campo_Inchauspe_To_WGS_1984	GEOGTRAN["Campo_Inchauspe_To_WGS_1984",GEOGCS["GCS_Campo_Inchauspe",DATUM["D_Campo_Inchauspe
1128	Cape_To_WGS_1984_1	GEOGTRAN["Cape_To_WGS_1984_1",GEOGCS["GCS_Cape",DATUM["D_Cape",SPHEROID["Clarke_1880_Arc",637
1129	Cape_To_WGS_1984_2	GEOGTRAN["Cape_To_WGS_1984_2",GEOGCS["GCS_Cape",DATUM["D_Cape",SPHEROID["Clarke_1880_Arc",637
1130	Carthage_To_WGS_1984	GEOGTRAN["Carthage_To_WGS_1984",GEOGCS["GCS_Carthage",DATUM["D_Carthage",SPHEROID["Clarke_1880_
1131	Chua_To_WGS_1984	GEOGTRAN["Chua_To_WGS_1984",GEOGCS["GCS_Chua",DATUM["D_Chua",SPHEROID["International_1924",6378
1132	Corrego_Alegre_To_WGS_1984	GEOGTRAN["Corrego_Alegre_To_WGS_1984",GEOGCS["GCS_Corrego_Alegre",DATUM["D_Corrego_Alegre",SPHER
1133	ED_1950_To_WGS_1984_1	GEOGTRAN["ED_1950_To_WGS_1984_1",GEOGCS["GCS_European_1950",DATUM["D_European_1950",SPHEROID
1134	ED_1950_To_WGS_1984_2	GEOGTRAN["ED_1950_To_WGS_1984_2",GEOGCS["GCS_European_1950",DATUM["D_European_1950",SPHEROID
1135	ED_1950_To_WGS_1984_3	GEOGTRAN["ED_1950_To_WGS_1984_3",GEOGCS["GCS_European_1950",DATUM["D_European_1950",SPHEROID
1136	ED_1950_To_WGS_1984_4	GEOGTRAN["ED_1950_To_WGS_1984_4",GEOGCS["GCS_European_1950",DATUM["D_European_1950",SPHEROID
1137	ED_1950_To_WGS_1984_5	GEOGTRAN["ED_1950_To_WGS_1984_5",GEOGCS["GCS_European_1950",DATUM["D_European_1950",SPHEROID
1138	ED_1950_To_WGS_1984_6	GEOGTRAN["ED_1950_To_WGS_1984_6",GEOGCS["GCS_European_1950",DATUM["D_European_1950",SPHEROID
1139	ED_1950_To_WGS_1984_7	GEOGTRAN["ED_1950_To_WGS_1984_7",GEOGCS["GCS_European_1950",DATUM["D_European_1950",SPHEROID
1140	ED_1950_To_WGS_1984_8	GEOGTRAN["ED_1950_To_WGS_1984_8",GEOGCS["GCS_European_1950",DATUM["D_European_1950",SPHEROID
1141	ED_1950_ED77_To_WGS_1984_2	GEOGTRAN["ED_1950_ED77_To_WGS_1984_2",GEOGCS["GCS_European_1950_ED77",DATUM["D_European_195
1142	ED_1950_To_WGS_1984_10	GEOGTRAN["ED_1950_To_WGS_1984_10",GEOGCS["GCS_European_1950",DATUM["D_European_1950",SPHERO
1143	ED_1950_To_WGS_1984_11	GEOGTRAN["ED_1950_To_WGS_1984_11",GEOGCS["GCS_European_1950",DATUM["D_European_1950",SPHERO
1144	ED_1950_To_WGS_1984_12	GEOGTRAN["ED_1950_To_WGS_1984_12",GEOGCS["GCS_European_1950",DATUM["D_European_1950",SPHERO
1145	ED_1950_To_WGS_1984_13	GEOGTRAN["ED_1950_To_WGS_1984_13",GEOGCS["GCS_European_1950",DATUM["D_European_1950",SPHERO
1146	ED_1987_To_WGS_1984_1	GEOGTRAN["ED_1987_To_WGS_1984_1",GEOGCS["GCS_European_1987",DATUM["D_European_1987",SPHEROID
1147	ED_1950_To_ED_1987_2	GEOGTRAN["ED_1950_To_ED_1987_2",GEOGCS["GCS_European_1950",DATUM["D_European_1950",SPHEROID["
1148	Egypt_1907_To_WGS_1984	GEOGTRAN["Egypt_1907_To_WGS_1984",GEOGCS["GCS_Egypt_1907",DATUM["D_Egypt_1907",SPHEROID["Helm
1149	ETRS_1989_To_WGS_1984	GEOGTRAN["ETRS_1989_To_WGS_1984",GEOGCS["GCS_ETRS_1989",DATUM["D_ETRS_1989",SPHEROID["GRS
1150	GDA_1994_To_WGS_1984	GEOGTRAN["GDA_1994_To_WGS_1984",GEOGCS["GCS_GDA_1994",DATUM["D_GDA_1994",SPHEROID["GRS_19
1151	NZGD_1949_To_WGS_1984	GEOGTRAN["NZGD_1949_To_WGS_1984",GEOGCS["GCS_New_Zealand_1949",DATUM["D_New_Zealand_1949",S
1152	Hu_Tzu_Shan_To_WGS_1984	GEOGTRAN["Hu_Tzu_Shan_To_WGS_1984",GEOGCS["GCS_Hu_Tzu_Shan",DATUM["D_Hu_Tzu_Shan",SPHEROID
1153	Indian_1954_To_WGS_1984	GEOGTRAN["Indian_1954_To_WGS_1984",GEOGCS["GCS_Indian_1954",DATUM["D_Indian_1954",SPHEROID["Ever
1154	Indian_1975_To_WGS_1984	GEOGTRAN["Indian_1975_To_WGS_1984",GEOGCS["GCS_Indian_1975",DATUM["D_Indian_1975",SPHEROID["Ever
1155	Kalianpur_1937_To_WGS_1984_1	GEOGTRAN["Kalianpur_1937_To_WGS_1984_1",GEOGCS["GCS_Kalianpur_1937",DATUM["D_Kalianpur_1937",SPH
1156	Kalianpur_1975_To_WGS_1984_1	GEOGTRAN["Kalianpur_1975_To_WGS_1984_1",GEOGCS["GCS_Kalianpur_1975",DATUM["D_Kalianpur_1975",SPH
1157	Kandawala_To_WGS_1984	GEOGTRAN["Kandawala_To_WGS_1984",GEOGCS["GCS_Kandawala",DATUM["D_Kandawala",SPHEROID["Everest_
1158	Kertau_To_WGS_1984	GEOGTRAN["Kertau_To_WGS_1984",GEOGCS["GCS_Kertau",DATUM["D_Kertau",SPHEROID["Everest_1830_Modifi
1159	Leigon_To_WGS_1984	GEOGTRAN["Leigon_To_WGS_1984",GEOGCS["GCS_Leigon",DATUM["D_Leigon",SPHEROID["Clarke_1880_RGS",6

Copyright © 1995-2016 Esri. All rights reserved.

1160	Liberia_1964_To_WGS_1984	GEOGTRAN["Liberia_1964_To_WGS_1984",GEOGCS["GCS_Liberia_1964",DATUM["D_Liberia_1964",SPHEROID["Cl
1161	Luzon_1911_To_WGS_1984_1	GEOGTRAN["Luzon_1911_To_WGS_1984_1",GEOGCS["GCS_Luzon_1911",DATUM["D_Luzon_1911",SPHEROID["Cl
1162	Luzon_1911_To_WGS_1984_2	GEOGTRAN["Luzon_1911_To_WGS_1984_2",GEOGCS["GCS_Luzon_1911",DATUM["D_Luzon_1911",SPHEROID["Cl
1163	Mporaloko_To_WGS_1984	GEOGTRAN["Mporaloko_To_WGS_1984",GEOGCS["GCS_Mporaloko",DATUM["D_Mporaloko",SPHEROID["Clarke_18
1164	Mahe_1971_To_WGS_1984	GEOGTRAN["Mahe_1971_To_WGS_1984",GEOGCS["GCS_Mahe_1971",DATUM["D_Mahe_1971",SPHEROID["Clark
1165	Massawa_To_WGS_1984	GEOGTRAN["Massawa_To_WGS_1984",GEOGCS["GCS_Massawa",DATUM["D_Massawa",SPHEROID["Bessel_1841
1166	Merchich_To_WGS_1984	GEOGTRAN["Merchich_To_WGS_1984",GEOGCS["GCS_Merchich",DATUM["D_Merchich",SPHEROID["Clarke_1880_
1167	Minna_To_WGS_1984_1	GEOGTRAN["Minna_To_WGS_1984_1",GEOGCS["GCS_Minna",DATUM["D_Minna",SPHEROID["Clarke_1880_RGS",
1168	Minna_To_WGS_1984_2	GEOGTRAN["Minna_To_WGS_1984_2",GEOGCS["GCS_Minna",DATUM["D_Minna",SPHEROID["Clarke_1880_RGS",
1169	Monte_Mario_To_WGS_1984	GEOGTRAN["Monte_Mario_To_WGS_1984",GEOGCS["GCS_Monte_Mario",DATUM["D_Monte_Mario",SPHEROID["In
1170	NAD_1927_To_WGS_1984_1	GEOGTRAN["NAD_1927_To_WGS_1984_1",GEOGCS["GCS_North_American_1927",DATUM["D_North_American_19
1171	NAD_1927_To_WGS_1984_2	GEOGTRAN["NAD_1927_To_WGS_1984_2",GEOGCS["GCS_North_American_1927",DATUM["D_North_American_19
1172	NAD_1927_To_WGS_1984_3	GEOGTRAN["NAD_1927_To_WGS_1984_3",GEOGCS["GCS_North_American_1927",DATUM["D_North_American_19
1173	NAD_1927_To_WGS_1984_4	GEOGTRAN["NAD_1927_To_WGS_1984_4",GEOGCS["GCS_North_American_1927",DATUM["D_North_American_19
1174	NAD_1927_To_WGS_1984_5	GEOGTRAN["NAD_1927_To_WGS_1984_5",GEOGCS["GCS_North_American_1927",DATUM["D_North_American_19
1175	NAD_1927_To_WGS_1984_6	GEOGTRAN["NAD_1927_To_WGS_1984_6",GEOGCS["GCS_North_American_1927",DATUM["D_North_American_19
1176	NAD_1927_To_WGS_1984_7	GEOGTRAN["NAD_1927_To_WGS_1984_7",GEOGCS["GCS_North_American_1927",DATUM["D_North_American_19
1177	NAD_1927_To_WGS_1984_8	GEOGTRAN["NAD_1927_To_WGS_1984_8",GEOGCS["GCS_North_American_1927",DATUM["D_North_American_19
1178	NAD_1927_To_WGS_1984_9	GEOGTRAN["NAD_1927_To_WGS_1984_9",GEOGCS["GCS_North_American_1927",DATUM["D_North_American_19
1179	NAD_1927_To_WGS_1984_10	GEOGTRAN["NAD_1927_To_WGS_1984_10",GEOGCS["GCS_North_American_1927",DATUM["D_North_American_1
1180	NAD_1927_To_WGS_1984_11	GEOGTRAN["NAD_1927_To_WGS_1984_11",GEOGCS["GCS_North_American_1927",DATUM["D_North_American_1
1181	NAD_1927_To_WGS_1984_12	GEOGTRAN["NAD_1927_To_WGS_1984_12",GEOGCS["GCS_North_American_1927",DATUM["D_North_American_1
1182	NAD_1927_To_WGS_1984_13	GEOGTRAN["NAD_1927_To_WGS_1984_13",GEOGCS["GCS_North_American_1927",DATUM["D_North_American_1
1183	NAD_1927_To_WGS_1984_14	GEOGTRAN["NAD_1927_To_WGS_1984_14",GEOGCS["GCS_North_American_1927",DATUM["D_North_American_1
1184	NAD_1927_To_WGS_1984_15	GEOGTRAN["NAD_1927_To_WGS_1984_15",GEOGCS["GCS_North_American_1927",DATUM["D_North_American_1
1185	NAD_1927_To_WGS_1984_16	GEOGTRAN["NAD_1927_To_WGS_1984_16",GEOGCS["GCS_North_American_1927",DATUM["D_North_American_1
1186	NAD_1927_To_WGS_1984_17	GEOGTRAN["NAD_1927_To_WGS_1984_17",GEOGCS["GCS_North_American_1927",DATUM["D_North_American_1
1187	NAD_1927_To_WGS_1984_18	GEOGTRAN["NAD_1927_To_WGS_1984_18",GEOGCS["GCS_North_American_1927",DATUM["D_North_American_1
1188	NAD_1983_To_WGS_1984_1	GEOGTRAN["NAD_1983_To_WGS_1984_1",GEOGCS["GCS_North_American_1983",DATUM["D_North_American_19
1189	Nahrwan_1967_To_WGS_1984_1	GEOGTRAN["Nahrwan_1967_To_WGS_1984_1",GEOGCS["GCS_Nahrwan_1967",DATUM["D_Nahrwan_1967",SPHE
1190	Nahrwan_1967_To_WGS_1984_2	GEOGTRAN["Nahrwan_1967_To_WGS_1984_2",GEOGCS["GCS_Nahrwan_1967",DATUM["D_Nahrwan_1967",SPHE
1191	Nahrwan_1967_To_WGS_1984_3	GEOGTRAN["Nahrwan_1967_To_WGS_1984_3",GEOGCS["GCS_Nahrwan_1967",DATUM["D_Nahrwan_1967",SPHE
1192	Naparima_1972_To_WGS_1984	GEOGTRAN["Naparima_1972_To_WGS_1984",GEOGCS["GCS_Naparima_1972",DATUM["D_Naparima_1972",SPHE
1193	NTF_To_WGS_1984	GEOGTRAN["NTF_To_WGS_1984",GEOGCS["GCS_NTF",DATUM["D_NTF",SPHEROID["Clarke_1880_IGN",6378249
1194	MGI_To_WGS_1984_8	GEOGTRAN["MGI_To_WGS_1984_8",GEOGCS["GCS_MGI",DATUM["D_MGI",SPHEROID["Bessel_1841",6377397.15
1195	OSGB_1936_To_WGS_1984_1	GEOGTRAN["OSGB_1936_To_WGS_1984_1",GEOGCS["GCS_OSGB_1936",DATUM["D_OSGB_1936",SPHEROID["A
1196	OSGB_1936_To_WGS_1984_2	GEOGTRAN["OSGB_1936_To_WGS_1984_2",GEOGCS["GCS_OSGB_1936",DATUM["D_OSGB_1936",SPHEROID["A
1197	OSGB_1936_To_WGS_1984_3	GEOGTRAN["OSGB_1936_To_WGS_1984_3",GEOGCS["GCS_OSGB_1936",DATUM["D_OSGB_1936",SPHEROID["A
1198	OSGB_1936_To_WGS_1984_4	GEOGTRAN["OSGB_1936_To_WGS_1984_4",GEOGCS["GCS_OSGB_1936",DATUM["D_OSGB_1936",SPHEROID["A
1199	OSGB_1936_To_WGS_1984_5	GEOGTRAN["OSGB_1936_To_WGS_1984_5",GEOGCS["GCS_OSGB_1936",DATUM["D_OSGB_1936",SPHEROID["A
1200	Pointe_Noire_To_WGS_1984	GEOGTRAN["Pointe_Noire_To_WGS_1984",GEOGCS["GCS_Pointe_Noire",DATUM["D_Pointe_Noire",SPHEROID["Cl
1201	PSAD_1956_To_WGS_1984_1	GEOGTRAN["PSAD_1956_To_WGS_1984_1",GEOGCS["GCS_Provisional_S_American_1956",DATUM["D_Provisiona
1202	PSAD_1956_To_WGS_1984_2	GEOGTRAN["PSAD_1956_To_WGS_1984_2",GEOGCS["GCS_Provisional_S_American_1956",DATUM["D_Provisiona
1203	PSAD_1956_To_WGS_1984_3	GEOGTRAN["PSAD_1956_To_WGS_1984_3",GEOGCS["GCS_Provisional_S_American_1956",DATUM["D_Provisiona
1204	PSAD_1956_To_WGS_1984_4	GEOGTRAN["PSAD_1956_To_WGS_1984_4",GEOGCS["GCS_Provisional_S_American_1956",DATUM["D_Provisiona
1205	PSAD_1956_To_WGS_1984_5	GEOGTRAN["PSAD_1956_To_WGS_1984_5",GEOGCS["GCS_Provisional_S_American_1956",DATUM["D_Provisiona
1206	PSAD_1956_To_WGS_1984_6	GEOGTRAN["PSAD_1956_To_WGS_1984_6",GEOGCS["GCS_Provisional_S_American_1956",DATUM["D_Provisiona
1207	PSAD_1956_To_WGS_1984_7	GEOGTRAN["PSAD_1956_To_WGS_1984_7",GEOGCS["GCS_Provisional_S_American_1956",DATUM["D_Provisiona
1208	PSAD_1956_To_WGS_1984_8	GEOGTRAN["PSAD_1956_To_WGS_1984_8",GEOGCS["GCS_Provisional_S_American_1956",DATUM["D_Provisiona
1209	PSAD_1956_To_WGS_1984_9	GEOGTRAN["PSAD_1956_To_WGS_1984_9",GEOGCS["GCS_Provisional_S_American_1956",DATUM["D_Provisiona
1210	POSGAR_1994_To_WGS_1984_1	GEOGTRAN["POSGAR_1994_To_WGS_1984_1",GEOGCS["GCS_POSGAR_1994",DATUM["D_POSGAR_1994",SPH
1225	Sapper_Hill_1943_To_WGS_1984	GEOGTRAN["Sapper_Hill_1943_To_WGS_1984",GEOGCS["GCS_Sapper_Hill_1943",DATUM["D_Sapper_Hill_1943",S
1226	Schwarzeck_To_WGS_1984	GEOGTRAN["Schwarzeck_To_WGS_1984",GEOGCS["GCS_Schwarzeck",DATUM["D_Schwarzeck",SPHEROID["Bess
1227	Tananarive_1925_To_WGS_1984	GEOGTRAN["Tananarive_1925_To_WGS_1984",GEOGCS["GCS_Tananarive_1925",DATUM["D_Tananarive_1925",SP

Copyright © 1995-2016 Esri. All rights reserved.

1228	Timbalai_1948_To_WGS_1984	GEOGTRAN["Timbalai_1948_To_WGS_1984",GEOGCS["GCS_Timbalai_1948",DATUM["D_Timbalai_1948",SPHEROI
1229	TM65_To_WGS_1984	GEOGTRAN["TM65_To_WGS_1984",GEOGCS["GCS_TM65",DATUM["D_TM65",SPHEROID["Airy_Modified",6377340
1230	Tokyo_To_WGS_1984_1	GEOGTRAN["Tokyo_To_WGS_1984_1",GEOGCS["GCS_Tokyo",DATUM["D_Tokyo",SPHEROID["Bessel_1841",637739
1231	Tokyo_To_WGS_1984_2	GEOGTRAN["Tokyo_To_WGS_1984_2",GEOGCS["GCS_Tokyo",DATUM["D_Tokyo",SPHEROID["Bessel_1841",637739
1232	Tokyo_To_WGS_1984_3	GEOGTRAN["Tokyo_To_WGS_1984_3",GEOGCS["GCS_Tokyo",DATUM["D_Tokyo",SPHEROID["Bessel_1841",637739
1233	Tokyo_To_WGS_1984_4	GEOGTRAN["Tokyo_To_WGS_1984_4",GEOGCS["GCS_Tokyo",DATUM["D_Tokyo",SPHEROID["Bessel_1841",637739
1234	Yacare_To_WGS_1984	GEOGTRAN["Yacare_To_WGS_1984",GEOGCS["GCS_Yacare",DATUM["D_Yacare",SPHEROID["International_1924",
1235	Zanderij_To_WGS_1984	GEOGTRAN["Zanderij_To_WGS_1984",GEOGCS["GCS_Zanderij",DATUM["D_Zanderij",SPHEROID["International_192
1236	AGD_1984_To_WGS_1984_2	GEOGTRAN["AGD_1984_To_WGS_1984_2",GEOGCS["GCS_Australian_1984",DATUM["D_Australian_1984",SPHERO
1237	WGS_1972_To_WGS_1984_1	GEOGTRAN["WGS_1972_To_WGS_1984_1",GEOGCS["GCS_WGS_1972",DATUM["D_WGS_1972",SPHEROID["WG
1238	WGS_1972_To_WGS_1984_2	GEOGTRAN["WGS_1972_To_WGS_1984_2",GEOGCS["GCS_WGS_1972",DATUM["D_WGS_1972",SPHEROID["WG
1239	WGS_1972_BE_To_WGS_1972_1	GEOGTRAN["WGS_1972_BE_To_WGS_1972_1",GEOGCS["GCS_WGS_1972_BE",DATUM["D_WGS_1972_BE",SPH
1240	WGS_1972_BE_To_WGS_1984_1	GEOGTRAN["WGS_1972_BE_To_WGS_1984_1",GEOGCS["GCS_WGS_1972_BE",DATUM["D_WGS_1972_BE",SPH
1242	Hungarian_1972_To_WGS_1984_4	GEOGTRAN["Hungarian_1972_To_WGS_1984_4",GEOGCS["GCS_Hungarian_1972",DATUM["D_Hungarian_1972",SI
1244	PZ_1990_To_WGS_1984_GOST	GEOGTRAN["PZ_1990_To_WGS_1984_GOST",GEOGCS["GCS_PZ_1990",DATUM["D_Parametrop_Zemp_1990",SPH
1245	ED_1950_To_WGS_1984_16	GEOGTRAN["ED_1950_To_WGS_1984_16",GEOGCS["GCS_European_1950",DATUM["D_European_1950",SPHERO
1246	Herat_North_To_WGS_1984	GEOGTRAN["Herat_North_To_WGS_1984",GEOGCS["GCS_Herat_North",DATUM["D_Herat_North",SPHEROID["Inter
1247	Kalianpur_1962_To_WGS_1984_1	GEOGTRAN["Kalianpur_1962_To_WGS_1984_1",GEOGCS["GCS_Kalianpur_1962",DATUM["D_Kalianpur_1962",SPH
1248	Indonesian_1974_To_WGS_1984	GEOGTRAN["Indonesian_1974_To_WGS_1984",GEOGCS["GCS_Indonesian_1974",DATUM["D_Indonesian_1974",SP
1249	NAD_1927_To_WGS_1984_21	GEOGTRAN["NAD_1927_To_WGS_1984_21",GEOGCS["GCS_North_American_1927",DATUM["D_North_American_1
1250	NAD_1927_To_WGS_1984_22	GEOGTRAN["NAD_1927_To_WGS_1984_22",GEOGCS["GCS_North_American_1927",DATUM["D_North_American_1
1251	NAD_1983_To_WGS_1984_2	GEOGTRAN["NAD_1983_To_WGS_1984_2",GEOGCS["GCS_North_American_1983",DATUM["D_North_American_19
1252	NAD_1983_To_WGS_1984_3	GEOGTRAN["NAD_1983_To_WGS_1984_3",GEOGCS["GCS_North_American_1983",DATUM["D_North_American_19
1253	Nord_Sahara_1959_To_WGS_1984	GEOGTRAN["Nord_Sahara_1959_To_WGS_1984",GEOGCS["GCS_Nord_Sahara_1959",DATUM["D_Nord_Sahara_19
1254	Pulkovo_1942_To_WGS_1984	GEOGTRAN["Pulkovo_1942_To_WGS_1984",GEOGCS["GCS_Pulkovo_1942",DATUM["D_Pulkovo_1942",SPHEROID
1255	Nord_Sahara_1959_To_WGS_1984_2	GEOGTRAN["Nord_Sahara_1959_To_WGS_1984_2",GEOGCS["GCS_Nord_Sahara_1959",DATUM["D_Nord_Sahara_
1256	Fahud_To_WGS_1984	GEOGTRAN["Fahud_To_WGS_1984",GEOGCS["GCS_Fahud",DATUM["D_Fahud",SPHEROID["Clarke_1880_RGS",63
1257	Pulkovo_1995_To_PZ_1990_GOST	GEOGTRAN["Pulkovo_1995_To_PZ_1990_GOST",GEOGCS["GCS_Pulkovo_1995",DATUM["D_Pulkovo_1995",SPHE
1260	Makassar_Jakarta_To_Makassar	GEOGTRAN["Makassar_Jakarta_To_Makassar",GEOGCS["GCS_Makassar_Jakarta",DATUM["D_Makassar",SPHERO
1262	Monte_Mario_Rome_To_Monte_Mario	GEOGTRAN["Monte_Mario_Rome_To_Monte_Mario",GEOGCS["GCS_Monte_Mario_Rome",DATUM["D_Monte_Mario"
1264	Belge_1950_Brussels_To_Belge_1950	GEOGTRAN["Belge_1950_Brussels_To_Belge_1950",GEOGCS["GCS_Belge_1950_Brussels",DATUM["D_Belge_1950
1265	Tananarive_1925_Paris_To_Tananarive_1925	GEOGTRAN["Tananarive_1925_Paris_To_Tananarive_1925",GEOGCS["GCS_Tananarive_1925_Paris",DATUM["D_Tar
1266	Voirol_1875_Paris_To_Voirol_1875	GEOGTRAN["Voirol_1875_Paris_To_Voirol_1875",GEOGCS["GCS_Voirol_1875_Paris",DATUM["D_Voirol_1875",SPHE
1267	Pulkovo_1942_To_WGS_1984_17	GEOGTRAN["Pulkovo_1942_To_WGS_1984_17",GEOGCS["GCS_Pulkovo_1942",DATUM["D_Pulkovo_1942",SPHER
1271	Schwarzeck_To_WGS_1984_2	GEOGTRAN["Schwarzeck_To_WGS_1984_2",GEOGCS["GCS_Schwarzeck",DATUM["D_Schwarzeck",SPHEROID["Be
1272	GGRS_1987_To_WGS_1984	GEOGTRAN["GGRS_1987_To_WGS_1984",GEOGCS["GCS_GGRS_1987",DATUM["D_GGRS_1987",SPHEROID["GF
1274	Pulkovo_1942_To_LKS_1994	GEOGTRAN["Pulkovo_1942_To_LKS_1994",GEOGCS["GCS_Pulkovo_1942",DATUM["D_Pulkovo_1942",SPHEROID["
1275	ED_1950_To_WGS_1984_17	GEOGTRAN["ED_1950_To_WGS_1984_17",GEOGCS["GCS_European_1950",DATUM["D_European_1950",SPHERO
1276	NTF_To_ED_1950	GEOGTRAN["NTF_To_ED_1950",GEOGCS["GCS_NTF",DATUM["D_NTF",SPHEROID["Clarke_1880_IGN",6378249.2,
1277	NTF_To_WGS_1972	GEOGTRAN["NTF_To_WGS_1972",GEOGCS["GCS_NTF",DATUM["D_NTF",SPHEROID["Clarke_1880_IGN",6378249
1278	AGD_1966_To_GDA_1994	GEOGTRAN["AGD_1966_To_GDA_1994",GEOGCS["GCS_Australian_1966",DATUM["D_Australian_1966",SPHEROID
1279	AGD_1984_To_GDA_1994	GEOGTRAN["AGD_1984_To_GDA_1994",GEOGCS["GCS_Australian_1984",DATUM["D_Australian_1984",SPHEROID
1280	AGD_1984_To_GDA_1994_2	GEOGTRAN["AGD_1984_To_GDA_1994_2",GEOGCS["GCS_Australian_1984",DATUM["D_Australian_1984",SPHERO
1281	Pulkovo_1995_To_WGS_1984_1	GEOGTRAN["Pulkovo_1995_To_WGS_1984_1",GEOGCS["GCS_Pulkovo_1995",DATUM["D_Pulkovo_1995",SPHERO
1283	LKS_1994_To_WGS_1984	GEOGTRAN["LKS_1994_To_WGS_1984",GEOGCS["GCS_LKS_1994",DATUM["D_Lithuania_1994",SPHEROID["GRS
1284	Arc_1960_To_WGS_1984_2	GEOGTRAN["Arc_1960_To_WGS_1984_2",GEOGCS["GCS_Arc_1960",DATUM["D_Arc_1960",SPHEROID["Clarke_18
1285	Arc_1960_To_WGS_1984_3	GEOGTRAN["Arc_1960_To_WGS_1984_3",GEOGCS["GCS_Arc_1960",DATUM["D_Arc_1960",SPHEROID["Clarke_18
1286	Segora_To_WGS_1984	GEOGTRAN["Segora_To_WGS_1984",GEOGCS["GCS_Segora",DATUM["D_Segora",SPHEROID["Bessel_1841",6377
1287	Pulkovo_1942_To_WGS_1984_3	GEOGTRAN["Pulkovo_1942_To_WGS_1984_3",GEOGCS["GCS_Pulkovo_1942",DATUM["D_Pulkovo_1942",SPHERO
1288	Pulkovo_1942_To_WGS_1984_4	GEOGTRAN["Pulkovo_1942_To_WGS_1984_4",GEOGCS["GCS_Pulkovo_1942",DATUM["D_Pulkovo_1942",SPHERO
1289	Pulkovo_1942_To_WGS_1984_5	GEOGTRAN["Pulkovo_1942_To_WGS_1984_5",GEOGCS["GCS_Pulkovo_1942",DATUM["D_Pulkovo_1942",SPHERO
1290	Pulkovo_1942_To_WGS_1984_6	GEOGTRAN["Pulkovo_1942_To_WGS_1984_6",GEOGCS["GCS_Pulkovo_1942",DATUM["D_Pulkovo_1942",SPHERO
1291	Pulkovo_1942_To_WGS_1984_7	GEOGTRAN["Pulkovo_1942_To_WGS_1984_7",GEOGCS["GCS_Pulkovo_1942",DATUM["D_Pulkovo_1942",SPHERO
1292	Pulkovo_1942_To_WGS_1984_8	GEOGTRAN["Pulkovo_1942_To_WGS_1984_8",GEOGCS["GCS_Pulkovo_1942",DATUM["D_Pulkovo_1942",SPHERO

Copyright © 1995-2016 Esri. All rights reserved.

1293	Pulkovo_1942_To_WGS_1984_9	GEOGTRAN["Pulkovo_1942_To_WGS_1984_9",GEOGCS["GCS_Pulkovo_1942",DATUM["D_Pulkovo_1942",SPHERO
1294	Voirol_1875_To_WGS_1984	GEOGTRAN["Voirol_1875_To_WGS_1984",GEOGCS["GCS_Voirol_1875",DATUM["D_Voirol_1875",SPHEROID["Clark
1296	Trinidad_1903_To_WGS_1984	GEOGTRAN["Trinidad_1903_To_WGS_1984",GEOGCS["GCS_Trinidad_1903",DATUM["D_Trinidad_1903",SPHEROID
1297	Tete_To_Moznet_1	GEOGTRAN["Tete_To_Moznet_1",GEOGCS["GCS_Tete",DATUM["D_Tete",SPHEROID["Clarke_1866",6378206.4,294.9
1298	Tete_To_Moznet_2	GEOGTRAN["Tete_To_Moznet_2",GEOGCS["GCS_Tete",DATUM["D_Tete",SPHEROID["Clarke_1866",6378206.4,294.9
1299	Tete_To_Moznet_3	GEOGTRAN["Tete_To_Moznet_3",GEOGCS["GCS_Tete",DATUM["D_Tete",SPHEROID["Clarke_1866",6378206.4,294.9
1300	Tete_To_Moznet_4	GEOGTRAN["Tete_To_Moznet_4",GEOGCS["GCS_Tete",DATUM["D_Tete",SPHEROID["Clarke_1866",6378206.4,294.9
1301	Tete_To_Moznet_5	GEOGTRAN["Tete_To_Moznet_5",GEOGCS["GCS_Tete",DATUM["D_Tete",SPHEROID["Clarke_1866",6378206.4,294.9
1302	Moznet_To_WGS_1984	GEOGTRAN["Moznet_To_WGS_1984",GEOGCS["GCS_Moznet",DATUM["D_Moznet",SPHEROID["WGS_1984",63781
1303	Pulkovo_1942_To_WGS_1984_10	GEOGTRAN["Pulkovo_1942_To_WGS_1984_10",GEOGCS["GCS_Pulkovo_1942",DATUM["D_Pulkovo_1942",SPHER
1304	Indian_1975_To_WGS_1984_2	GEOGTRAN["Indian_1975_To_WGS_1984_2",GEOGCS["GCS_Indian_1975",DATUM["D_Indian_1975",SPHEROID["E
1305	Tokyo_To_WGS_1984_5	GEOGTRAN["Tokyo_To_WGS_1984_5",GEOGCS["GCS_Tokyo",DATUM["D_Tokyo",SPHEROID["Bessel_1841",637739
1306	MGI_To_WGS_1984	GEOGTRAN["MGI_To_WGS_1984",GEOGCS["GCS_MGI",DATUM["D_MGI",SPHEROID["Bessel_1841",6377397.155,2
1307	Naparima_1972_To_WGS_1984_3	GEOGTRAN["Naparima_1972_To_WGS_1984_3",GEOGCS["GCS_Naparima_1972",DATUM["D_Naparima_1972",SPH
1308	NAD_1983_To_WGS_1984_4	GEOGTRAN["NAD_1983_To_WGS_1984_4",GEOGCS["GCS_North_American_1983",DATUM["D_North_American_19
1309	DHDN_To_ETRS_1989	GEOGTRAN["DHDN_To_ETRS_1989",GEOGCS["GCS_Deutsches_Hauptdreiecksnetz",DATUM["D_Deutsches_Haupt
1310	Pulkovo_1942_To_ETRS_1989	GEOGTRAN["Pulkovo_1942_To_ETRS_1989",GEOGCS["GCS_Pulkovo_1942",DATUM["D_Pulkovo_1942",SPHEROID
1311	ED_1950_To_WGS_1984_18	GEOGTRAN["ED_1950_To_WGS_1984_18",GEOGCS["GCS_European_1950",DATUM["D_European_1950",SPHERO
1314	OSGB_1936_To_WGS_1984_Petroleum	GEOGTRAN["OSGB_1936_To_WGS_1984_Petroleum",GEOGCS["GCS_OSGB_1936",DATUM["D_OSGB_1936",SPH
1315	OSGB_1936_To_ED_1950_UKOOA	GEOGTRAN["OSGB_1936_To_ED_1950_UKOOA",GEOGCS["GCS_OSGB_1936",DATUM["D_OSGB_1936",SPHERO
1316	Manoca_To_WGS_1984_1	GEOGTRAN["Manoca_To_WGS_1984_1",GEOGCS["GCS_Manoca",DATUM["D_Manoca",SPHEROID["Clarke_1880_R
1317	Camacupa_To_WGS_1972_BE_1	GEOGTRAN["Camacupa_To_WGS_1972_BE_1",GEOGCS["GCS_Camacupa",DATUM["D_Camacupa",SPHEROID["Cl
1318	Camacupa_To_WGS_1984_1	GEOGTRAN["Camacupa_To_WGS_1984_1",GEOGCS["GCS_Camacupa",DATUM["D_Camacupa",SPHEROID["Clarke
1319	Camacupa_To_WGS_1984_2	GEOGTRAN["Camacupa_To_WGS_1984_2",GEOGCS["GCS_Camacupa",DATUM["D_Camacupa",SPHEROID["Clarke
1320	Camacupa_To_WGS_1984_3	GEOGTRAN["Camacupa_To_WGS_1984_3",GEOGCS["GCS_Camacupa",DATUM["D_Camacupa",SPHEROID["Clarke
1321	Camacupa_To_WGS_1984_4	GEOGTRAN["Camacupa_To_WGS_1984_4",GEOGCS["GCS_Camacupa",DATUM["D_Camacupa",SPHEROID["Clarke
1322	Camacupa_To_WGS_1984_5	GEOGTRAN["Camacupa_To_WGS_1984_5",GEOGCS["GCS_Camacupa",DATUM["D_Camacupa",SPHEROID["Clarke
1323	Camacupa_To_WGS_1984_6	GEOGTRAN["Camacupa_To_WGS_1984_6",GEOGCS["GCS_Camacupa",DATUM["D_Camacupa",SPHEROID["Clarke
1324	Camacupa_To_WGS_1984_7	GEOGTRAN["Camacupa_To_WGS_1984_7",GEOGCS["GCS_Camacupa",DATUM["D_Camacupa",SPHEROID["Clarke
1325	Camacupa_To_WGS_1984_8	GEOGTRAN["Camacupa_To_WGS_1984_8",GEOGCS["GCS_Camacupa",DATUM["D_Camacupa",SPHEROID["Clarke
1326	Camacupa_To_WGS_1984_9	GEOGTRAN["Camacupa_To_WGS_1984_9",GEOGCS["GCS_Camacupa",DATUM["D_Camacupa",SPHEROID["Clarke
1327	Camacupa_To_WGS_1984_10	GEOGTRAN["Camacupa_To_WGS_1984_10",GEOGCS["GCS_Camacupa",DATUM["D_Camacupa",SPHEROID["Clark
1330	Malongo_1987_To_WGS_1984_1	GEOGTRAN["Malongo_1987_To_WGS_1984_1",GEOGCS["GCS_Malongo_1987",DATUM["D_Malongo_1987",SPHER
1331	Estonia_1992_To_ETRS_1989	GEOGTRAN["Estonia_1992_To_ETRS_1989",GEOGCS["GCS_Estonia_1992",DATUM["D_Estonia_1992",SPHEROID[
1332	Pulkovo_1942_To_Estonia_1992	GEOGTRAN["Pulkovo_1942_To_Estonia_1992",GEOGCS["GCS_Pulkovo_1942",DATUM["D_Pulkovo_1942",SPHERO
1333	Estonia_1992_To_WGS_1984	GEOGTRAN["Estonia_1992_To_WGS_1984",GEOGCS["GCS_Estonia_1992",DATUM["D_Estonia_1992",SPHEROID["
1334	Pulkovo_1942_To_WGS_1984_12	GEOGTRAN["Pulkovo_1942_To_WGS_1984_12",GEOGCS["GCS_Pulkovo_1942",DATUM["D_Pulkovo_1942",SPHER
1437	RT90_To_ETRS_1989_1	GEOGTRAN["RT90_To_ETRS_1989_1",GEOGCS["GCS_RT_1990",DATUM["D_RT_1990",SPHEROID["Bessel_1841",
1438	Fahud_To_WGS_1984_2	GEOGTRAN["Fahud_To_WGS_1984_2",GEOGCS["GCS_Fahud",DATUM["D_Fahud",SPHEROID["Clarke_1880_RGS"
1439	PDO_1993_To_WGS_1984	GEOGTRAN["PDO_1993_To_WGS_1984",GEOGCS["GCS_PDO_1993",DATUM["D_PDO_1993",SPHEROID["Clarke_
1440	ED_1950_To_WGS_1984_19	GEOGTRAN["ED_1950_To_WGS_1984_19",GEOGCS["GCS_European_1950",DATUM["D_European_1950",SPHERO
1441	Antigua_1943_To_WGS_1984	GEOGTRAN["Antigua_1943_To_WGS_1984",GEOGCS["GCS_Antigua_1943",DATUM["D_Antigua_1943",SPHEROID["
1442	Dominica_1945_To_WGS_1984	GEOGTRAN["Dominica_1945_To_WGS_1984",GEOGCS["GCS_Dominica_1945",DATUM["D_Dominica_1945",SPHER
1443	Grenada_1953_To_WGS_1984	GEOGTRAN["Grenada_1953_To_WGS_1984",GEOGCS["GCS_Grenada_1953",DATUM["D_Grenada_1953",SPHERO
1444	Montserrat_1958_To_WGS_1984	GEOGTRAN["Montserrat_1958_To_WGS_1984",GEOGCS["GCS_Montserrat_1958",DATUM["D_Montserrat_1958",SPI
1445	St_Kitts_1955_To_WGS_1984	GEOGTRAN["St_Kitts_1955_To_WGS_1984",GEOGCS["GCS_St_Kitts_1955",DATUM["D_St_Kitts_1955",SPHEROID[
1446	St_Lucia_1955_To_WGS_1984	GEOGTRAN["St_Lucia_1955_To_WGS_1984",GEOGCS["GCS_St_Lucia_1955",DATUM["D_St_Lucia_1955",SPHERO
1447	Anguilla_1957_To_WGS_1984_1	GEOGTRAN["Anguilla_1957_To_WGS_1984_1",GEOGCS["GCS_Anguilla_1957",DATUM["D_Anguilla_1957",SPHERO
1448	Hungarian_1972_To_WGS_1984_3	GEOGTRAN["Hungarian_1972_To_WGS_1984_3",GEOGCS["GCS_Hungarian_1972",DATUM["D_Hungarian_1972",SI
1449	Hungarian_1972_To_ETRS_1989_2	GEOGTRAN["Hungarian_1972_To_ETRS_1989_2",GEOGCS["GCS_Hungarian_1972",DATUM["D_Hungarian_1972",S
1458	AGD_1966_To_GDA_1994_2	GEOGTRAN["AGD_1966_To_GDA_1994_2",GEOGCS["GCS_Australian_1966",DATUM["D_Australian_1966",SPHERO
1459	AGD_1966_To_GDA_1994_3	GEOGTRAN["AGD_1966_To_GDA_1994_3",GEOGCS["GCS_Australian_1966",DATUM["D_Australian_1966",SPHERO
1460	AGD_1966_To_GDA_1994_4	GEOGTRAN["AGD_1966_To_GDA_1994_4",GEOGCS["GCS_Australian_1966",DATUM["D_Australian_1966",SPHERO
1469	Locodjo_1965_To_WGS_1984	GEOGTRAN["Locodjo_1965_To_WGS_1984",GEOGCS["GCS_Locodjo_1965",DATUM["D_Locodjo_1965",SPHEROID[

Copyright © 1995-2016 Esri. All rights reserved.

1470	Abidjan_1987_To_WGS_1984	GEOGTRAN["Abidjan_1987_To_WGS_1984",GEOGCS["GCS_Abidjan_1987",DATUM["D_Abidjan_1987",SPHEROID[""
1473	NAD_1983_CSRS_To_WGS_1984	GEOGTRAN["NAD_1983_CSRS_To_WGS_1984",GEOGCS["GCS_North_American_1983_CSRS",DATUM["D_North_A
1504	Cape_To_Hartebeesthoek94	GEOGTRAN["Cape_To_Hartebeesthoek94",GEOGCS["GCS_Cape",DATUM["D_Cape",SPHEROID["Clarke_1880_Arc"
1505	Hartebeesthoek94_To_WGS_1984	GEOGTRAN["Hartebeesthoek94_To_WGS_1984",GEOGCS["GCS_Hartebeesthoek_1994",DATUM["D_Hartebeesthoek
1509	CH1903+_To_CHTRF_1995	GEOGTRAN["CH1903+_To_CHTRF_1995",GEOGCS["GCS_CH1903+",DATUM["D_CH1903+",SPHEROID["Bessel_18
1511	CHTRF_1995_To_WGS_1984	GEOGTRAN["CHTRF_1995_To_WGS_1984",GEOGCS["GCS_Swiss_TRF_1995",DATUM["D_Swiss_TRF_1995",SPHE
1512	Rassadiran_To_WGS_1984	GEOGTRAN["Rassadiran_To_WGS_1984",GEOGCS["GCS_Rassadiran",DATUM["D_Rassadiran",SPHEROID["Interna
1513	FD_1958_To_WGS_1984	GEOGTRAN["FD_1958_To_WGS_1984",GEOGCS["GCS_FD_1958",DATUM["D_FD_1958",SPHEROID["Clarke_1880_
1514	ED_1950_ED77_To_WGS_1984	GEOGTRAN["ED_1950_ED77_To_WGS_1984",GEOGCS["GCS_European_1950_ED77",DATUM["D_European_1950_
1515	NAD_1983_To_WGS_1984_5	GEOGTRAN["NAD_1983_To_WGS_1984_5",GEOGCS["GCS_North_American_1983",DATUM["D_North_American_19
1516	La_Canoa_To_WGS_1984	GEOGTRAN["La_Canoa_To_WGS_1984",GEOGCS["GCS_La_Canoa",DATUM["D_La_Canoa",SPHEROID["Internatior
1517	Conakry_1905_To_WGS_1984	GEOGTRAN["Conakry_1905_To_WGS_1984",GEOGCS["GCS_Conakry_1905",DATUM["D_Conakry_1905",SPHEROI
1518	Dabola_To_WGS_1984	GEOGTRAN["Dabola_To_WGS_1984",GEOGCS["GCS_Dabola_1981",DATUM["D_Dabola_1981",SPHEROID["Clarke_
1527	Campo_Inchauspe_To_WGS_1984_2	GEOGTRAN["Campo_Inchauspe_To_WGS_1984_2",GEOGCS["GCS_Campo_Inchauspe",DATUM["D_Campo_Inchaus
1528	Chos_Malal_1914_To_Campo_Inchauspe	GEOGTRAN["Chos_Malal_1914_To_Campo_Inchauspe",GEOGCS["GCS_Chos_Malal_1914",DATUM["D_Chos_Malal_
1529	Hito_XVIII_1963_To_WGS_1984	GEOGTRAN["Hito_XVIII_1963_To_WGS_1984",GEOGCS["GCS_Hito_XVIII_1963",DATUM["D_Hito_XVIII_1963",SPHE
1530	NAD_1927_To_WGS_1984_30	GEOGTRAN["NAD_1927_To_WGS_1984_30",GEOGCS["GCS_North_American_1927",DATUM["D_North_American_1
1531	Nahrwan_1967_To_WGS_1984_4	GEOGTRAN["Nahrwan_1967_To_WGS_1984_4",GEOGCS["GCS_Nahrwan_1967",DATUM["D_Nahrwan_1967",SPHE
1532	Mporaloko_To_WGS_1984_2	GEOGTRAN["Mporaloko_To_WGS_1984_2",GEOGCS["GCS_Mporaloko",DATUM["D_Mporaloko",SPHEROID["Clarke_
1533	Kalianpur_1937_To_WGS_1984_2	GEOGTRAN["Kalianpur_1937_To_WGS_1984_2",GEOGCS["GCS_Kalianpur_1937",DATUM["D_Kalianpur_1937",SPH
1536	Nahrwan_1967_To_WGS_1984_5	GEOGTRAN["Nahrwan_1967_To_WGS_1984_5",GEOGCS["GCS_Nahrwan_1967",DATUM["D_Nahrwan_1967",SPHE
1537	Indian_1975_To_WGS_1984_3	GEOGTRAN["Indian_1975_To_WGS_1984_3",GEOGCS["GCS_Indian_1975",DATUM["D_Indian_1975",SPHEROID["E
1538	Carthage_To_WGS_1984_2	GEOGTRAN["Carthage_To_WGS_1984_2",GEOGCS["GCS_Carthage",DATUM["D_Carthage",SPHEROID["Clarke_188
1539	South_Yemen_To_Yemen_NGN_1996	GEOGTRAN["South_Yemen_To_Yemen_NGN_1996",GEOGCS["GCS_South_Yemen",DATUM["D_South_Yemen",SPH
1540	Yemen_NGN_1996_To_WGS_1984	GEOGTRAN["Yemen_NGN_1996_To_WGS_1984",GEOGCS["GCS_Yemen_NGN_1996",DATUM["D_Yemen_NGN_19
1541	Indian_1960_To_WGS_1972_BE	GEOGTRAN["Indian_1960_To_WGS_1972_BE",GEOGCS["GCS_Indian_1960",DATUM["D_Indian_1960",SPHEROID[""
1542	Indian_1960_To_WGS_1984_2	GEOGTRAN["Indian_1960_To_WGS_1984_2",GEOGCS["GCS_Indian_1960",DATUM["D_Indian_1960",SPHEROID["E
1543	Indian_1960_To_WGS_1984_3	GEOGTRAN["Indian_1960_To_WGS_1984_3",GEOGCS["GCS_Indian_1960",DATUM["D_Indian_1960",SPHEROID["E
1544	Hanoi_1972_To_WGS_1984	GEOGTRAN["Hanoi_1972_To_WGS_1984",GEOGCS["GCS_Hanoi_1972",DATUM["D_Hanoi_1972",SPHEROID["Kras
1545	Egypt_1907_To_WGS_1972	GEOGTRAN["Egypt_1907_To_WGS_1972",GEOGCS["GCS_Egypt_1907",DATUM["D_Egypt_1907",SPHEROID["Helm
1546	Egypt_1907_To_WGS_1984_3	GEOGTRAN["Egypt_1907_To_WGS_1984_3",GEOGCS["GCS_Egypt_1907",DATUM["D_Egypt_1907",SPHEROID["He
1547	Bissau_To_WGS_1984	GEOGTRAN["Bissau_To_WGS_1984",GEOGCS["GCS_Bissau",DATUM["D_Bissau",SPHEROID["International_1924",6
1550	Aratu_To_WGS_1984_2	GEOGTRAN["Aratu_To_WGS_1984_2",GEOGCS["GCS_Aratu",DATUM["D_Aratu",SPHEROID["International_1924",63
1551	Aratu_To_WGS_1984_3	GEOGTRAN["Aratu_To_WGS_1984_3",GEOGCS["GCS_Aratu",DATUM["D_Aratu",SPHEROID["International_1924",63
1552	Aratu_To_WGS_1984_4	GEOGTRAN["Aratu_To_WGS_1984_4",GEOGCS["GCS_Aratu",DATUM["D_Aratu",SPHEROID["International_1924",63
1555	Naparima_1955_To_WGS_1984_2	GEOGTRAN["Naparima_1955_To_WGS_1984_2",GEOGCS["GCS_Naparima_1955",DATUM["D_Naparima_1955",SPH
1556	Naparima_1955_To_WGS_1984_3	GEOGTRAN["Naparima_1955_To_WGS_1984_3",GEOGCS["GCS_Naparima_1955",DATUM["D_Naparima_1955",SPH
1557	Malongo_1987_To_WGS_1984_2	GEOGTRAN["Malongo_1987_To_WGS_1984_2",GEOGCS["GCS_Malongo_1987",DATUM["D_Malongo_1987",SPHER
1558	Korean_1995_To_WGS_1984_1	GEOGTRAN["Korean_1995_To_WGS_1984_1",GEOGCS["GCS_Korean_Datum_1995",DATUM["D_Korean_Datum_19
1560	Nord_Sahara_1959_To_WGS_1972_BE	GEOGTRAN["Nord_Sahara_1959_To_WGS_1972_BE",GEOGCS["GCS_Nord_Sahara_1959",DATUM["D_Nord_Sahar
1561	Qatar_1974_To_WGS_1984_1	GEOGTRAN["Qatar_1974_To_WGS_1984_1",GEOGCS["GCS_Qatar_1974",DATUM["D_Qatar",SPHEROID["Internatio
1562	Qatar_1974_To_WGS_1984_2	GEOGTRAN["Qatar_1974_To_WGS_1984_2",GEOGCS["GCS_Qatar_1974",DATUM["D_Qatar",SPHEROID["Internatio
1563	Qatar_1974_To_WGS_1984_3	GEOGTRAN["Qatar_1974_To_WGS_1984_3",GEOGCS["GCS_Qatar_1974",DATUM["D_Qatar",SPHEROID["Internatio
1564	NZGD_1949_To_WGS_1984_2	GEOGTRAN["NZGD_1949_To_WGS_1984_2",GEOGCS["GCS_New_Zealand_1949",DATUM["D_New_Zealand_1949"
1565	NZGD_2000_To_WGS_1984_1	GEOGTRAN["NZGD_2000_To_WGS_1984_1",GEOGCS["GCS_NZGD_2000",DATUM["D_NZGD_2000",SPHEROID["C
1566	New_Zealand_1949_To_NZGD_2000_1_3PAR	GEOGTRAN["New_Zealand_1949_To_NZGD_2000_1_3PAR",GEOGCS["GCS_New_Zealand_1949",DATUM["D_New_
1569	Accra_To_WGS_1984	GEOGTRAN["Accra_To_WGS_1984",GEOGCS["GCS_Accra",DATUM["D_Accra",SPHEROID["War_Office",6378300.0,
1570	Accra_To_WGS_1972_BE	GEOGTRAN["Accra_To_WGS_1972_BE",GEOGCS["GCS_Accra",DATUM["D_Accra",SPHEROID["War_Office",637830
1577	American_Samoa_1962_To_WGS_1984	GEOGTRAN["American_Samoa_1962_To_WGS_1984",GEOGCS["GCS_American_Samoa_1962",DATUM["D_America
1580	NAD_1983_HARN_To_WGS_1984	GEOGTRAN["NAD_1983_HARN_To_WGS_1984",GEOGCS["GCS_North_American_1983_HARN",DATUM["D_North_A
1581	SIRGAS_To_WGS_1984_1	GEOGTRAN["SIRGAS_To_WGS_1984_1",GEOGCS["GCS_SIRGAS",DATUM["D_SIRGAS",SPHEROID["GRS_1980",6
1582	PSAD_1956_To_WGS_1984_10	GEOGTRAN["PSAD_1956_To_WGS_1984_10",GEOGCS["GCS_Provisional_S_American_1956",DATUM["D_Provision
1583	PSAD_1956_To_WGS_1984_11	GEOGTRAN["PSAD_1956_To_WGS_1984_11",GEOGCS["GCS_Provisional_S_American_1956",DATUM["D_Provision
1584	Deir_ez_Zor_To_WGS_1972_BE	GEOGTRAN["Deir_ez_Zor_To_WGS_1972_BE",GEOGCS["GCS_Deir_ez_Zor",DATUM["D_Deir_ez_Zor",SPHEROID[""

Copyright © 1995-2016 Esri. All rights reserved.

1586	Deir_ez_Zor_To_WGS_1984_3	GEOGTRAN["Deir_ez_Zor_To_WGS_1984_3",GEOGCS["GCS_Deir_ez_Zor",DATUM["D_Deir_ez_Zor",SPHEROID["C
1587	Deir_ez_Zor_To_WGS_1984_4	GEOGTRAN["Deir_ez_Zor_To_WGS_1984_4",GEOGCS["GCS_Deir_ez_Zor",DATUM["D_Deir_ez_Zor",SPHEROID["C
1588	ED_1950_To_ETRS_1989_1	GEOGTRAN["ED_1950_To_ETRS_1989_1",GEOGCS["GCS_European_1950",DATUM["D_European_1950",SPHEROI
1591	RGF_1993_To_ETRS_1989_1	GEOGTRAN["RGF_1993_To_ETRS_1989_1",GEOGCS["GCS_RGF_1993",DATUM["D_RGF_1993",SPHEROID["GRS_
1592	Timbalai_1948_To_WGS_1984_2	GEOGTRAN["Timbalai_1948_To_WGS_1984_2",GEOGCS["GCS_Timbalai_1948",DATUM["D_Timbalai_1948",SPHER
1594	AGD_1966_To_GDA_1994_8	GEOGTRAN["AGD_1966_To_GDA_1994_8",GEOGCS["GCS_Australian_1966",DATUM["D_Australian_1966",SPHERO
1595	AGD_1966_To_GDA_1994_9	GEOGTRAN["AGD_1966_To_GDA_1994_9",GEOGCS["GCS_Australian_1966",DATUM["D_Australian_1966",SPHERO
1597	Bogota_To_WGS_1984_2	GEOGTRAN["Bogota_To_WGS_1984_2",GEOGCS["GCS_Bogota",DATUM["D_Bogota",SPHEROID["International_192
1598	POSGAR_To_WGS_1984_1	GEOGTRAN["POSGAR_To_WGS_1984_1",GEOGCS["GCS_POSGAR",DATUM["D_POSGAR",SPHEROID["GRS_198
1609	Belge_1972_To_WGS_1984_1	GEOGTRAN["Belge_1972_To_WGS_1984_1",GEOGCS["GCS_Belge_1972",DATUM["D_Belge_1972",SPHEROID["Int
1610	Belge_1972_To_WGS_1984_2	GEOGTRAN["Belge_1972_To_WGS_1984_2",GEOGCS["GCS_Belge_1972",DATUM["D_Belge_1972",SPHEROID["Int
1611	IRENET95_To_ETRS_1989	GEOGTRAN["IRENET95_To_ETRS_1989",GEOGCS["GCS_IRENET95",DATUM["D_IRENET95",SPHEROID["GRS_19
1612	ED_1950_To_WGS_1984_23	GEOGTRAN["ED_1950_To_WGS_1984_23",GEOGCS["GCS_European_1950",DATUM["D_European_1950",SPHERO
1613	ED_1950_To_WGS_1984_24	GEOGTRAN["ED_1950_To_WGS_1984_24",GEOGCS["GCS_European_1950",DATUM["D_European_1950",SPHERO
1614	Sierra_Leone_1968_To_WGS_1984	GEOGTRAN["Sierra_Leone_1968_To_WGS_1984",GEOGCS["GCS_Sierra_Leone_1968",DATUM["D_Sierra_Leone_19
1615	Timbalai_1948_To_WGS_1984_3	GEOGTRAN["Timbalai_1948_To_WGS_1984_3",GEOGCS["GCS_Timbalai_1948",DATUM["D_Timbalai_1948",SPHER
1616	PDO_1993_To_WGS_1972	GEOGTRAN["PDO_1993_To_WGS_1972",GEOGCS["GCS_PDO_1993",DATUM["D_PDO_1993",SPHEROID["Clarke_
1617	PDO_1993_To_WGS_1984_3	GEOGTRAN["PDO_1993_To_WGS_1984_3",GEOGCS["GCS_PDO_1993",DATUM["D_PDO_1993",SPHEROID["Clark
1618	MGI_To_WGS_1984_3	GEOGTRAN["MGI_To_WGS_1984_3",GEOGCS["GCS_MGI",DATUM["D_MGI",SPHEROID["Bessel_1841",6377397.15
1619	MGI_To_ETRS_1989_1	GEOGTRAN["MGI_To_ETRS_1989_1",GEOGCS["GCS_MGI",DATUM["D_MGI",SPHEROID["Bessel_1841",6377397.15
1620	MGI_To_ETRS_1989_2	GEOGTRAN["MGI_To_ETRS_1989_2",GEOGCS["GCS_MGI",DATUM["D_MGI",SPHEROID["Bessel_1841",6377397.15
1621	MGI_To_WGS_1984_4	GEOGTRAN["MGI_To_WGS_1984_4",GEOGCS["GCS_MGI",DATUM["D_MGI",SPHEROID["Bessel_1841",6377397.15
1622	S_JTSK_To_ETRS_1989_1	GEOGTRAN["S_JTSK_To_ETRS_1989_1",GEOGCS["GCS_S_JTSK",DATUM["D_S_JTSK",SPHEROID["Bessel_1841"
1623	S_JTSK_To_WGS_1984_1	GEOGTRAN["S_JTSK_To_WGS_1984_1",GEOGCS["GCS_S_JTSK",DATUM["D_S_JTSK",SPHEROID["Bessel_1841"
1624	S_JTSK_To_ETRS_1989_2	GEOGTRAN["S_JTSK_To_ETRS_1989_2",GEOGCS["GCS_S_JTSK",DATUM["D_S_JTSK",SPHEROID["Bessel_1841"
1625	S_JTSK_To_WGS_1984_2	GEOGTRAN["S_JTSK_To_WGS_1984_2",GEOGCS["GCS_S_JTSK",DATUM["D_S_JTSK",SPHEROID["Bessel_1841"
1626	ED_1950_To_ETRS_1989_4	GEOGTRAN["ED_1950_To_ETRS_1989_4",GEOGCS["GCS_European_1950",DATUM["D_European_1950",SPHEROI
1627	ED_1950_To_WGS_1984_25	GEOGTRAN["ED_1950_To_WGS_1984_25",GEOGCS["GCS_European_1950",DATUM["D_European_1950",SPHERO
1628	ED_1950_To_ETRS_1989_5	GEOGTRAN["ED_1950_To_ETRS_1989_5",GEOGCS["GCS_European_1950",DATUM["D_European_1950",SPHEROI
1629	ED_1950_To_WGS_1984_26	GEOGTRAN["ED_1950_To_WGS_1984_26",GEOGCS["GCS_European_1950",DATUM["D_European_1950",SPHERO
1630	ED_1950_To_ETRS_1989_6	GEOGTRAN["ED_1950_To_ETRS_1989_6",GEOGCS["GCS_European_1950",DATUM["D_European_1950",SPHEROI
1631	ED_1950_To_WGS_1984_27	GEOGTRAN["ED_1950_To_WGS_1984_27",GEOGCS["GCS_European_1950",DATUM["D_European_1950",SPHERO
1632	ED_1950_To_ETRS_1989_7	GEOGTRAN["ED_1950_To_ETRS_1989_7",GEOGCS["GCS_European_1950",DATUM["D_European_1950",SPHEROI
1633	ED_1950_To_WGS_1984_28	GEOGTRAN["ED_1950_To_WGS_1984_28",GEOGCS["GCS_European_1950",DATUM["D_European_1950",SPHERO
1634	ED_1950_To_ETRS_1989_8	GEOGTRAN["ED_1950_To_ETRS_1989_8",GEOGCS["GCS_European_1950",DATUM["D_European_1950",SPHEROI
1635	ED_1950_To_WGS_1984_29	GEOGTRAN["ED_1950_To_WGS_1984_29",GEOGCS["GCS_European_1950",DATUM["D_European_1950",SPHERO
1638	KKJ_To_ETRS_1989_1_Old	GEOGTRAN["KKJ_To_ETRS_1989_1_Old",GEOGCS["GCS_KKJ",DATUM["D_KKJ",SPHEROID["International_1924",6
1639	KKJ_To_WGS_1984_1_Old	GEOGTRAN["KKJ_To_WGS_1984_1_Old",GEOGCS["GCS_KKJ",DATUM["D_KKJ",SPHEROID["International_1924",63
1640	TM65_To_ETRS_1989_1	GEOGTRAN["TM65_To_ETRS_1989_1",GEOGCS["GCS_TM65",DATUM["D_TM65",SPHEROID["Airy_Modified",63773
1641	TM65_To_WGS_1984_2	GEOGTRAN["TM65_To_WGS_1984_2",GEOGCS["GCS_TM65",DATUM["D_TM65",SPHEROID["Airy_Modified",63773
1642	Luxembourg_1930_To_ETRS_1989_1	GEOGTRAN["Luxembourg_1930_To_ETRS_1989_1",GEOGCS["GCS_Luxembourg_1930",DATUM["D_Luxembourg_19
1643	Luxembourg_1930_To_WGS_1984_1	GEOGTRAN["Luxembourg_1930_To_WGS_1984_1",GEOGCS["GCS_Luxembourg_1930",DATUM["D_Luxembourg_19
1644	Pulkovo_1942_Adj_1958_To_ETRS_1989_1	GEOGTRAN["Pulkovo_1942_Adj_1958_To_ETRS_1989_1",GEOGCS["GCS_Pulkovo_1942_Adj_1958",DATUM["D_Pu
1645	Pulkovo_1942_Adj_1958_To_WGS_1984_1	GEOGTRAN["Pulkovo_1942_Adj_1958_To_WGS_1984_1",GEOGCS["GCS_Pulkovo_1942_Adj_1958",DATUM["D_Pul
1646	CH1903_To_ETRS_1989_1	GEOGTRAN["CH1903_To_ETRS_1989_1",GEOGCS["GCS_CH1903",DATUM["D_CH1903",SPHEROID["Bessel_1841"
1647	CH1903+_To_ETRS_1989_1	GEOGTRAN["CH1903+_To_ETRS_1989_1",GEOGCS["GCS_CH1903+",DATUM["D_CH1903+",SPHEROID["Bessel_1
1648	Estonia_1997_To_ETRS_1989_1	GEOGTRAN["Estonia_1997_To_ETRS_1989_1",GEOGCS["GCS_Estonia_1997",DATUM["D_Estonia_1997",SPHEROI
1649	Estonia_1997_To_WGS_1984_1	GEOGTRAN["Estonia_1997_To_WGS_1984_1",GEOGCS["GCS_Estonia_1997",DATUM["D_Estonia_1997",SPHEROID
1650	ED_1950_To_ETRS_1989_10	GEOGTRAN["ED_1950_To_ETRS_1989_10",GEOGCS["GCS_European_1950",DATUM["D_European_1950",SPHERO
1651	NTF_To_ETRS_1989_1	GEOGTRAN["NTF_To_ETRS_1989_1",GEOGCS["GCS_NTF",DATUM["D_NTF",SPHEROID["Clarke_1880_IGN",63782
1652	Belge_1972_To_ETRS_1989_1	GEOGTRAN["Belge_1972_To_ETRS_1989_1",GEOGCS["GCS_Belge_1972",DATUM["D_Belge_1972",SPHEROID["Int
1653	NGO_1948_To_ETRS_1989_1	GEOGTRAN["NGO_1948_To_ETRS_1989_1",GEOGCS["GCS_NGO_1948",DATUM["D_NGO_1948",SPHEROID["Bes
1654	NGO_1948_To_WGS_1984_1	GEOGTRAN["NGO_1948_To_WGS_1984_1",GEOGCS["GCS_NGO_1948",DATUM["D_NGO_1948",SPHEROID["Bess
1655	Lisbon_To_ETRS_1989_1	GEOGTRAN["Lisbon_To_ETRS_1989_1",GEOGCS["GCS_Lisbon",DATUM["D_Lisbon",SPHEROID["International_1924

Copyright © 1995-2016 Esri. All rights reserved.

1656	Lisbon_To_WGS_1984_1	GEOGTRAN["Lisbon_To_WGS_1984_1",GEOGCS["GCS_Lisbon",DATUM["D_Lisbon",SPHEROID["International_1924
1657	Datum_73_To_ETRS_1989_1	GEOGTRAN["Datum_73_To_ETRS_1989_1",GEOGCS["GCS_Datum_73",DATUM["D_Datum_73",SPHEROID["Interna
1658	Datum_73_To_WGS_1984_1_Prt2000	GEOGTRAN["Datum_73_To_WGS_1984_1_Prt2000",GEOGCS["GCS_Datum_73",DATUM["D_Datum_73",SPHEROID
1659	Monte_Mario_To_ETRS_1989_1	GEOGTRAN["Monte_Mario_To_ETRS_1989_1",GEOGCS["GCS_Monte_Mario",DATUM["D_Monte_Mario",SPHEROID
1660	Monte_Mario_To_WGS_1984_4	GEOGTRAN["Monte_Mario_To_WGS_1984_4",GEOGCS["GCS_Monte_Mario",DATUM["D_Monte_Mario",SPHEROID[
1661	Monte_Mario_To_ETRS_1989_2	GEOGTRAN["Monte_Mario_To_ETRS_1989_2",GEOGCS["GCS_Monte_Mario",DATUM["D_Monte_Mario",SPHEROID
1662	Monte_Mario_To_WGS_1984_2	GEOGTRAN["Monte_Mario_To_WGS_1984_2",GEOGCS["GCS_Monte_Mario",DATUM["D_Monte_Mario",SPHEROID[
1663	Monte_Mario_To_ETRS_1989_3	GEOGTRAN["Monte_Mario_To_ETRS_1989_3",GEOGCS["GCS_Monte_Mario",DATUM["D_Monte_Mario",SPHEROID
1664	Monte_Mario_To_WGS_1984_3	GEOGTRAN["Monte_Mario_To_WGS_1984_3",GEOGCS["GCS_Monte_Mario",DATUM["D_Monte_Mario",SPHEROID[
1665	AGD_1966_To_WGS_1984_12	GEOGTRAN["AGD_1966_To_WGS_1984_12",GEOGCS["GCS_Australian_1966",DATUM["D_Australian_1966",SPHER
1666	AGD_1966_To_WGS_1984_13	GEOGTRAN["AGD_1966_To_WGS_1984_13",GEOGCS["GCS_Australian_1966",DATUM["D_Australian_1966",SPHER
1667	AGD_1966_To_WGS_1984_14	GEOGTRAN["AGD_1966_To_WGS_1984_14",GEOGCS["GCS_Australian_1966",DATUM["D_Australian_1966",SPHER
1668	AGD_1966_To_WGS_1984_15	GEOGTRAN["AGD_1966_To_WGS_1984_15",GEOGCS["GCS_Australian_1966",DATUM["D_Australian_1966",SPHER
1669	AGD_1984_To_WGS_1984_7	GEOGTRAN["AGD_1984_To_WGS_1984_7",GEOGCS["GCS_Australian_1984",DATUM["D_Australian_1984",SPHER
1671	RGF_1993_To_WGS_1984_1	GEOGTRAN["RGF_1993_To_WGS_1984_1",GEOGCS["GCS_RGF_1993",DATUM["D_RGF_1993",SPHEROID["GRS_
1672	Amersfoort_To_WGS_1984_2	GEOGTRAN["Amersfoort_To_WGS_1984_2",GEOGCS["GCS_Amersfoort",DATUM["D_Amersfoort",SPHEROID["Besse
1673	DHDN_To_WGS_1984_1	GEOGTRAN["DHDN_To_WGS_1984_1",GEOGCS["GCS_Deutsches_Hauptdreiecksnetz",DATUM["D_Deutsches_Hau
1674	Pulkovo_1942_Adj_1983_To_ETRS_1989_1	GEOGTRAN["Pulkovo_1942_Adj_1983_To_ETRS_1989_1",GEOGCS["GCS_Pulkovo_1942_Adj_1983",DATUM["D_Pu
1675	Pulkovo_1942_Adj_1983_To_WGS_1984_1	GEOGTRAN["Pulkovo_1942_Adj_1983_To_WGS_1984_1",GEOGCS["GCS_Pulkovo_1942_Adj_1983",DATUM["D_Pul
1676	CH1903+_To_WGS_1984_1	GEOGTRAN["CH1903+_To_WGS_1984_1",GEOGCS["GCS_CH1903+",DATUM["D_CH1903+",SPHEROID["Bessel_18
1678	IRENET95_To_WGS_1984_1	GEOGTRAN["IRENET95_To_WGS_1984_1",GEOGCS["GCS_IRENET95",DATUM["D_IRENET95",SPHEROID["GRS_
1679	Pulkovo_1942_To_WGS_1984_2	GEOGTRAN["Pulkovo_1942_To_WGS_1984_2",GEOGCS["GCS_Pulkovo_1942",DATUM["D_Pulkovo_1942",SPHERO
1680	RT90_To_WGS_1984	GEOGTRAN["RT90_To_WGS_1984",GEOGCS["GCS_RT_1990",DATUM["D_RT_1990",SPHEROID["Bessel_1841",637
1682	South_Yemen_To_WGS_1984_1	GEOGTRAN["South_Yemen_To_WGS_1984_1",GEOGCS["GCS_South_Yemen",DATUM["D_South_Yemen",SPHERO
1683	Tete_To_WGS_1984_1	GEOGTRAN["Tete_To_WGS_1984_1",GEOGCS["GCS_Tete",DATUM["D_Tete",SPHEROID["Clarke_1866",6378206.4,2
1684	Tete_To_WGS_1984_2	GEOGTRAN["Tete_To_WGS_1984_2",GEOGCS["GCS_Tete",DATUM["D_Tete",SPHEROID["Clarke_1866",6378206.4,2
1685	Tete_To_WGS_1984_3	GEOGTRAN["Tete_To_WGS_1984_3",GEOGCS["GCS_Tete",DATUM["D_Tete",SPHEROID["Clarke_1866",6378206.4,2
1686	Tete_To_WGS_1984_4	GEOGTRAN["Tete_To_WGS_1984_4",GEOGCS["GCS_Tete",DATUM["D_Tete",SPHEROID["Clarke_1866",6378206.4,2
1687	Tete_To_WGS_1984_5	GEOGTRAN["Tete_To_WGS_1984_5",GEOGCS["GCS_Tete",DATUM["D_Tete",SPHEROID["Clarke_1866",6378206.4,2
1701	New_Zealand_1949_To_NZGD_2000_2_7PAR	GEOGTRAN["New_Zealand_1949_To_NZGD_2000_2_7PAR",GEOGCS["GCS_New_Zealand_1949",DATUM["D_New_
1751	Amersfoort_To_ETRS_1989	GEOGTRAN["Amersfoort_To_ETRS_1989",GEOGCS["GCS_Amersfoort",DATUM["D_Amersfoort",SPHEROID["Bessel_
1753	CH1903_To_WGS_1984_1	GEOGTRAN["CH1903_To_WGS_1984_1",GEOGCS["GCS_CH1903",DATUM["D_CH1903",SPHEROID["Bessel_1841"
1754	Minna_To_WGS_1984_3	GEOGTRAN["Minna_To_WGS_1984_3",GEOGCS["GCS_Minna",DATUM["D_Minna",SPHEROID["Clarke_1880_RGS",
1755	Bogota_Bogota_To_Bogota	GEOGTRAN["Bogota_Bogota_To_Bogota",GEOGCS["GCS_Bogota_Bogota",DATUM["D_Bogota",SPHEROID["Internat
1756	Lisbon_Lisbon_To_Lisbon	GEOGTRAN["Lisbon_Lisbon_To_Lisbon",GEOGCS["GCS_Lisbon_Lisbon",DATUM["D_Lisbon",SPHEROID["Internation
1758	Padang_1884_Jakarta_To_Padang_1884	GEOGTRAN["Padang_1884_Jakarta_To_Padang_1884",GEOGCS["GCS_Padang_1884_Jakarta",DATUM["D_Padang_
1759	Batavia_Jakarta_To_Batavia	GEOGTRAN["Batavia_Jakarta_To_Batavia",GEOGCS["GCS_Batavia_Jakarta",DATUM["D_Batavia",SPHEROID["Besse
1760	RT38_Stockholm_To_RT38	GEOGTRAN["RT38_Stockholm_To_RT38",GEOGCS["GCS_RT38_Stockholm",DATUM["D_Stockholm_1938",SPHERO
1761	Greek_Athens_To_Greek	GEOGTRAN["Greek_Athens_To_Greek",GEOGCS["GCS_Greek_Athens",DATUM["D_Greek",SPHEROID["Bessel_184
1762	NGO_1948_Oslo_To_NGO_1948	GEOGTRAN["NGO_1948_Oslo_To_NGO_1948",GEOGCS["GCS_NGO_1948_Oslo",DATUM["D_NGO_1948",SPHERO
1763	NTF_Paris_To_NTF	GEOGTRAN["NTF_Paris_To_NTF",GEOGCS["GCS_NTF_Paris",DATUM["D_NTF",SPHEROID["Clarke_1880_IGN",637
1765	Bern_1898_Bern_To_CH1903	GEOGTRAN["Bern_1898_Bern_To_CH1903",GEOGCS["GCS_Bern_1898_Bern",DATUM["D_Bern_1898",SPHEROID["
1766	CH1903_To_WGS_1984_2	GEOGTRAN["CH1903_To_WGS_1984_2",GEOGCS["GCS_CH1903",DATUM["D_CH1903",SPHEROID["Bessel_1841"
1767	REGVEN_To_SIRGAS_1	GEOGTRAN["REGVEN_To_SIRGAS_1",GEOGCS["GCS_REGVEN",DATUM["D_REGVEN",SPHEROID["GRS_1980",6
1768	REGVEN_To_WGS_1984_1	GEOGTRAN["REGVEN_To_WGS_1984_1",GEOGCS["GCS_REGVEN",DATUM["D_REGVEN",SPHEROID["GRS_198
1769	PSAD_1956_To_REGVEN	GEOGTRAN["PSAD_1956_To_REGVEN",GEOGCS["GCS_Provisional_S_American_1956",DATUM["D_Provisional_S_
1771	La_Canoa_To_REGVEN_1	GEOGTRAN["La_Canoa_To_REGVEN_1",GEOGCS["GCS_La_Canoa",DATUM["D_La_Canoa",SPHEROID["Internatio
1773	POSGAR_1998_To_WGS_1984_1	GEOGTRAN["POSGAR_1998_To_WGS_1984_1",GEOGCS["GCS_POSGAR_1998",DATUM["D_POSGAR_1998",SPH
1774	POSGAR_1998_To_SIRGAS_1	GEOGTRAN["POSGAR_1998_To_SIRGAS_1",GEOGCS["GCS_POSGAR_1998",DATUM["D_POSGAR_1998",SPHER
1775	Pulkovo_1942_Adj_1983_To_ETRS_1989_2	GEOGTRAN["Pulkovo_1942_Adj_1983_To_ETRS_1989_2",GEOGCS["GCS_Pulkovo_1942_Adj_1983",DATUM["D_Pu
1776	DHDN_To_ETRS_1989_2	GEOGTRAN["DHDN_To_ETRS_1989_2",GEOGCS["GCS_Deutsches_Hauptdreiecksnetz",DATUM["D_Deutsches_Hau
1777	DHDN_To_WGS_1984_2	GEOGTRAN["DHDN_To_WGS_1984_2",GEOGCS["GCS_Deutsches_Hauptdreiecksnetz",DATUM["D_Deutsches_Hau
1778	DHDN_To_ETRS_1989_3	GEOGTRAN["DHDN_To_ETRS_1989_3",GEOGCS["GCS_Deutsches_Hauptdreiecksnetz",DATUM["D_Deutsches_Hau
1779	DHDN_To_ETRS_1989_4	GEOGTRAN["DHDN_To_ETRS_1989_4",GEOGCS["GCS_Deutsches_Hauptdreiecksnetz",DATUM["D_Deutsches_Hau

Copyright © 1995-2016 Esri. All rights reserved.

1780	DHDN_To_ETRS_1989_5	GEOGTRAN["DHDN_To_ETRS_1989_5",GEOGCS["GCS_Deutsches_Hauptdreiecksnetz",DATUM["D_Deutsches_Hau
1781	DHDN_To_ETRS_1989_6	GEOGTRAN["DHDN_To_ETRS_1989_6",GEOGCS["GCS_Deutsches_Hauptdreiecksnetz",DATUM["D_Deutsches_Hau
1782	DHDN_To_ETRS_1989_7	GEOGTRAN["DHDN_To_ETRS_1989_7",GEOGCS["GCS_Deutsches_Hauptdreiecksnetz",DATUM["D_Deutsches_Hau
1783	ED_1950_To_ETRS_1989_9	GEOGTRAN["ED_1950_To_ETRS_1989_9",GEOGCS["GCS_European_1950",DATUM["D_European_1950",SPHEROI
1784	ED_1950_To_WGS_1984_30	GEOGTRAN["ED_1950_To_WGS_1984_30",GEOGCS["GCS_European_1950",DATUM["D_European_1950",SPHERO
1785	MGI_To_ETRS_1989_3	GEOGTRAN["MGI_To_ETRS_1989_3",GEOGCS["GCS_MGI",DATUM["D_MGI",SPHEROID["Bessel_1841",6377397.15
1786	MGI_To_WGS_1984_5	GEOGTRAN["MGI_To_WGS_1984_5",GEOGCS["GCS_MGI",DATUM["D_MGI",SPHEROID["Bessel_1841",6377397.15
1787	RT90_To_ETRS_1989_2	GEOGTRAN["RT90_To_ETRS_1989_2",GEOGCS["GCS_RT_1990",DATUM["D_RT_1990",SPHEROID["Bessel_1841",
1794	MGI_To_WGS_1984_6	GEOGTRAN["MGI_To_WGS_1984_6",GEOGCS["GCS_MGI",DATUM["D_MGI",SPHEROID["Bessel_1841",6377397.15
1795	MGI_To_WGS_1984_7	GEOGTRAN["MGI_To_WGS_1984_7",GEOGCS["GCS_MGI",DATUM["D_MGI",SPHEROID["Bessel_1841",6377397.15
1796	Manoca_1962_To_WGS_1984_1	GEOGTRAN["Manoca_1962_To_WGS_1984_1",GEOGCS["GCS_Manoca_1962",DATUM["D_Manoca_1962",SPHERO
1797	Qornoq_1927_To_WGS_1984_1	GEOGTRAN["Qornoq_1927_To_WGS_1984_1",GEOGCS["GCS_Qornoq_1927",DATUM["D_Qornoq_1927",SPHEROID
1798	Qornoq_1927_To_WGS_1984_2	GEOGTRAN["Qornoq_1927_To_WGS_1984_2",GEOGCS["GCS_Qornoq_1927",DATUM["D_Qornoq_1927",SPHEROID
1799	Scoresbysund_1952_To_WGS_1984_1	GEOGTRAN["Scoresbysund_1952_To_WGS_1984_1",GEOGCS["GCS_Scoresbysund_1952",DATUM["D_Scoresbysun
1800	Ammassalik_1958_To_WGS_1984_1	GEOGTRAN["Ammassalik_1958_To_WGS_1984_1",GEOGCS["GCS_Ammassalik_1958",DATUM["D_Ammassalik_195
1801	Pointe_Noire_To_WGS_1984_2	GEOGTRAN["Pointe_Noire_To_WGS_1984_2",GEOGCS["GCS_Pointe_Noire",DATUM["D_Pointe_Noire",SPHEROID["
1802	Pointe_Noire_To_WGS_1984_3	GEOGTRAN["Pointe_Noire_To_WGS_1984_3",GEOGCS["GCS_Pointe_Noire",DATUM["D_Pointe_Noire",SPHEROID["
1805	Garoua_To_WGS_1972_BE_1	GEOGTRAN["Garoua_To_WGS_1972_BE_1",GEOGCS["GCS_Garoua",DATUM["D_Garoua",SPHEROID["Clarke_1880
1806	Kousseri_To_WGS_1972_BE_1	GEOGTRAN["Kousseri_To_WGS_1972_BE_1",GEOGCS["GCS_Kousseri",DATUM["D_Kousseri",SPHEROID["Clarke_
1807	Pulkovo_1942_To_WGS_1984_13	GEOGTRAN["Pulkovo_1942_To_WGS_1984_13",GEOGCS["GCS_Pulkovo_1942",DATUM["D_Pulkovo_1942",SPHER
1808	Pulkovo_1942_To_WGS_1984_14	GEOGTRAN["Pulkovo_1942_To_WGS_1984_14",GEOGCS["GCS_Pulkovo_1942",DATUM["D_Pulkovo_1942",SPHER
1809	Pulkovo_1942_To_WGS_1984_15	GEOGTRAN["Pulkovo_1942_To_WGS_1984_15",GEOGCS["GCS_Pulkovo_1942",DATUM["D_Pulkovo_1942",SPHER
1810	ED_1950_To_WGS_1984_31	GEOGTRAN["ED_1950_To_WGS_1984_31",GEOGCS["GCS_European_1950",DATUM["D_European_1950",SPHERO
1811	PSAD_1956_To_WGS_1984_12	GEOGTRAN["PSAD_1956_To_WGS_1984_12",GEOGCS["GCS_Provisional_S_American_1956",DATUM["D_Provision
1812	Indian_1975_To_WGS_1984_4	GEOGTRAN["Indian_1975_To_WGS_1984_4",GEOGCS["GCS_Indian_1975",DATUM["D_Indian_1975",SPHEROID["E
1813	Batavia_To_WGS_1984_2	GEOGTRAN["Batavia_To_WGS_1984_2",GEOGCS["GCS_Batavia",DATUM["D_Batavia",SPHEROID["Bessel_1841",63
1814	Batavia_To_WGS_1984_3	GEOGTRAN["Batavia_To_WGS_1984_3",GEOGCS["GCS_Batavia",DATUM["D_Batavia",SPHEROID["Bessel_1841",63
1815	Nord_Sahara_1959_To_WGS_1984_4	GEOGTRAN["Nord_Sahara_1959_To_WGS_1984_4",GEOGCS["GCS_Nord_Sahara_1959",DATUM["D_Nord_Sahara_
1816	Nord_Sahara_1959_To_WGS_1984_5	GEOGTRAN["Nord_Sahara_1959_To_WGS_1984_5",GEOGCS["GCS_Nord_Sahara_1959",DATUM["D_Nord_Sahara_
1817	Nord_Sahara_1959_To_WGS_1984_6	GEOGTRAN["Nord_Sahara_1959_To_WGS_1984_6",GEOGCS["GCS_Nord_Sahara_1959",DATUM["D_Nord_Sahara_
1818	Minna_To_WGS_1984_4	GEOGTRAN["Minna_To_WGS_1984_4",GEOGCS["GCS_Minna",DATUM["D_Minna",SPHEROID["Clarke_1880_RGS",
1820	Minna_To_WGS_1984_6	GEOGTRAN["Minna_To_WGS_1984_6",GEOGCS["GCS_Minna",DATUM["D_Minna",SPHEROID["Clarke_1880_RGS",
1821	Minna_To_WGS_1984_7	GEOGTRAN["Minna_To_WGS_1984_7",GEOGCS["GCS_Minna",DATUM["D_Minna",SPHEROID["Clarke_1880_RGS",
1822	Minna_To_WGS_1984_8	GEOGTRAN["Minna_To_WGS_1984_8",GEOGCS["GCS_Minna",DATUM["D_Minna",SPHEROID["Clarke_1880_RGS",
1823	Minna_To_WGS_1984_9	GEOGTRAN["Minna_To_WGS_1984_9",GEOGCS["GCS_Minna",DATUM["D_Minna",SPHEROID["Clarke_1880_RGS",
1824	Minna_To_WGS_1984_10	GEOGTRAN["Minna_To_WGS_1984_10",GEOGCS["GCS_Minna",DATUM["D_Minna",SPHEROID["Clarke_1880_RGS
1825	Hong_Kong_1980_To_WGS_1984_1	GEOGTRAN["Hong_Kong_1980_To_WGS_1984_1",GEOGCS["GCS_Hong_Kong_1980",DATUM["D_Hong_Kong_198
1826	JGD_2000_To_WGS_1984_1	GEOGTRAN["JGD_2000_To_WGS_1984_1",GEOGCS["GCS_JGD_2000",DATUM["D_JGD_2000",SPHEROID["GRS_
1828	Yoff_To_WGS_1972_1	GEOGTRAN["Yoff_To_WGS_1972_1",GEOGCS["GCS_Yoff",DATUM["D_Yoff",SPHEROID["Clarke_1880_IGN",6378249
1829	Hungarian_1972_To_ETRS_1989_1	GEOGTRAN["Hungarian_1972_To_ETRS_1989_1",GEOGCS["GCS_Hungarian_1972",DATUM["D_Hungarian_1972",S
1830	Hungarian_1972_To_WGS_1984_1	GEOGTRAN["Hungarian_1972_To_WGS_1984_1",GEOGCS["GCS_Hungarian_1972",DATUM["D_Hungarian_1972",SP
1831	Hungarian_1972_To_WGS_1984_2	GEOGTRAN["Hungarian_1972_To_WGS_1984_2",GEOGCS["GCS_Hungarian_1972",DATUM["D_Hungarian_1972",SP
1832	Indonesian_1974_To_WGS_1984_2	GEOGTRAN["Indonesian_1974_To_WGS_1984_2",GEOGCS["GCS_Indonesian_1974",DATUM["D_Indonesian_1974",
1833	Indonesian_1974_To_WGS_1984_3	GEOGTRAN["Indonesian_1974_To_WGS_1984_3",GEOGCS["GCS_Indonesian_1974",DATUM["D_Indonesian_1974",
1837	Makassar_To_WGS_1984_1	GEOGTRAN["Makassar_To_WGS_1984_1",GEOGCS["GCS_Makassar",DATUM["D_Makassar",SPHEROID["Bessel_1
1838	Gunung_Segara_To_WGS_1984_4	GEOGTRAN["Gunung_Segara_To_WGS_1984_4",GEOGCS["GCS_Gunung_Segara",DATUM["D_Gunung_Segara",SP
1839	Beduaram_To_WGS_1972_BE_1	GEOGTRAN["Beduaram_To_WGS_1972_BE_1",GEOGCS["GCS_Beduaram",DATUM["D_Beduaram",SPHEROID["Cla
1840	QND_1995_To_WGS_1984_1	GEOGTRAN["QND_1995_To_WGS_1984_1",GEOGCS["GCS_QND_1995",DATUM["D_QND_1995",SPHEROID["Intern
1842	NAD_1983_CSRS_To_WGS_1984_1	GEOGTRAN["NAD_1983_CSRS_To_WGS_1984_1",GEOGCS["GCS_North_American_1983_CSRS",DATUM["D_North
1852	Timbalai_1948_To_WGS_1984_4	GEOGTRAN["Timbalai_1948_To_WGS_1984_4",GEOGCS["GCS_Timbalai_1948",DATUM["D_Timbalai_1948",SPHER
1853	ED_1950_To_WGS_1984_39	GEOGTRAN["ED_1950_To_WGS_1984_39",GEOGCS["GCS_European_1950",DATUM["D_European_1950",SPHERO
1854	FD_1958_To_WGS_1984_2	GEOGTRAN["FD_1958_To_WGS_1984_2",GEOGCS["GCS_FD_1958",DATUM["D_FD_1958",SPHEROID["Clarke_188
1855	FD_1958_To_WGS_1984_3	GEOGTRAN["FD_1958_To_WGS_1984_3",GEOGCS["GCS_FD_1958",DATUM["D_FD_1958",SPHEROID["Clarke_188
1856	ED_1950_ED77_To_WGS_1984_3	GEOGTRAN["ED_1950_ED77_To_WGS_1984_3",GEOGCS["GCS_European_1950_ED77",DATUM["D_European_195

Copyright © 1995-2016 Esri. All rights reserved.

1857	ED_1950_ED77_To_WGS_1984_4	GEOGTRAN["ED_1950_ED77_To_WGS_1984_4",GEOGCS["GCS_European_1950_ED77",DATUM["D_European_195
1858	ED_1950_ED77_To_WGS_1984_5	GEOGTRAN["ED_1950_ED77_To_WGS_1984_5",GEOGCS["GCS_European_1950_ED77",DATUM["D_European_195
1859	ELD_1979_To_WGS_1984_1	GEOGTRAN["ELD_1979_To_WGS_1984_1",GEOGCS["GCS_European_Libyan_Datum_1979",DATUM["D_European_
1860	ELD_1979_To_WGS_1984_2	GEOGTRAN["ELD_1979_To_WGS_1984_2",GEOGCS["GCS_European_Libyan_Datum_1979",DATUM["D_European_
1861	ELD_1979_To_WGS_1984_3	GEOGTRAN["ELD_1979_To_WGS_1984_3",GEOGCS["GCS_European_Libyan_Datum_1979",DATUM["D_European_
1862	ELD_1979_To_WGS_1984_4	GEOGTRAN["ELD_1979_To_WGS_1984_4",GEOGCS["GCS_European_Libyan_Datum_1979",DATUM["D_European_
1863	ELD_1979_To_WGS_1984_5	GEOGTRAN["ELD_1979_To_WGS_1984_5",GEOGCS["GCS_European_Libyan_Datum_1979",DATUM["D_European_
1864	SAD_1969_To_WGS_1984_1	GEOGTRAN["SAD_1969_To_WGS_1984_1",GEOGCS["GCS_South_American_1969",DATUM["D_South_American_19
1865	SAD_1969_To_WGS_1984_2	GEOGTRAN["SAD_1969_To_WGS_1984_2",GEOGCS["GCS_South_American_1969",DATUM["D_South_American_19
1866	SAD_1969_To_WGS_1984_3	GEOGTRAN["SAD_1969_To_WGS_1984_3",GEOGCS["GCS_South_American_1969",DATUM["D_South_American_19
1867	SAD_1969_To_WGS_1984_4	GEOGTRAN["SAD_1969_To_WGS_1984_4",GEOGCS["GCS_South_American_1969",DATUM["D_South_American_19
1868	SAD_1969_To_WGS_1984_5	GEOGTRAN["SAD_1969_To_WGS_1984_5",GEOGCS["GCS_South_American_1969",DATUM["D_South_American_19
1869	SAD_1969_To_WGS_1984_6	GEOGTRAN["SAD_1969_To_WGS_1984_6",GEOGCS["GCS_South_American_1969",DATUM["D_South_American_19
1870	SAD_1969_To_WGS_1984_7	GEOGTRAN["SAD_1969_To_WGS_1984_7",GEOGCS["GCS_South_American_1969",DATUM["D_South_American_19
1871	SAD_1969_To_WGS_1984_8	GEOGTRAN["SAD_1969_To_WGS_1984_8",GEOGCS["GCS_South_American_1969",DATUM["D_South_American_19
1872	SAD_1969_To_WGS_1984_9	GEOGTRAN["SAD_1969_To_WGS_1984_9",GEOGCS["GCS_South_American_1969",DATUM["D_South_American_19
1873	SAD_1969_To_WGS_1984_10	GEOGTRAN["SAD_1969_To_WGS_1984_10",GEOGCS["GCS_South_American_1969",DATUM["D_South_American_
1874	SAD_1969_To_WGS_1984_11	GEOGTRAN["SAD_1969_To_WGS_1984_11",GEOGCS["GCS_South_American_1969",DATUM["D_South_American_
1875	SAD_1969_To_WGS_1984_12	GEOGTRAN["SAD_1969_To_WGS_1984_12",GEOGCS["GCS_South_American_1969",DATUM["D_South_American_
1876	SAD_1969_To_WGS_1984_13	GEOGTRAN["SAD_1969_To_WGS_1984_13",GEOGCS["GCS_South_American_1969",DATUM["D_South_American_
1877	SAD_1969_To_WGS_1984_14	GEOGTRAN["SAD_1969_To_WGS_1984_14",GEOGCS["GCS_South_American_1969",DATUM["D_South_American_
1878	SWEREF99_To_ETRS_1989_1	GEOGTRAN["SWEREF99_To_ETRS_1989_1",GEOGCS["GCS_SWEREF99",DATUM["D_SWEREF99",SPHEROID["G
1879	SWEREF99_To_WGS_1984_1	GEOGTRAN["SWEREF99_To_WGS_1984_1",GEOGCS["GCS_SWEREF99",DATUM["D_SWEREF99",SPHEROID["GR
1880	Point58_To_WGS_1984_1	GEOGTRAN["Point58_To_WGS_1984_1",GEOGCS["GCS_Point_58",DATUM["D_Point_58",SPHEROID["Clarke_1880_
1881	Carthage_Paris_To_Carthage	GEOGTRAN["Carthage_Paris_To_Carthage",GEOGCS["GCS_Carthage_Paris",DATUM["D_Carthage",SPHEROID["Cla
1882	Nord_Sahara_1959_Paris_To_Nord_Sahara_1959	GEOGTRAN["Nord_Sahara_1959_Paris_To_Nord_Sahara_1959",GEOGCS["GCS_Nord_Sahara_1959_Paris",DATUM
1883	Gunung_Segara_Jakarta_To_Gunung_Segara	GEOGTRAN["Gunung_Segara_Jakarta_To_Gunung_Segara",GEOGCS["GCS_Gunung_Segara_Jakarta",DATUM["D_G
1884	S_JTSK_Ferro_To_S_JTSK	GEOGTRAN["S_JTSK_Ferro_To_S_JTSK",GEOGCS["GCS_S_JTSK_Ferro",DATUM["D_S_JTSK",SPHEROID["Bessel
1885	Azores_Oriental_1940_To_WGS_1984_1	GEOGTRAN["Azores_Oriental_1940_To_WGS_1984_1",GEOGCS["GCS_Azores_Oriental_1940",DATUM["D_Azores_
1886	Azores_Central_1948_To_WGS_1984_1	GEOGTRAN["Azores_Central_1948_To_WGS_1984_1",GEOGCS["GCS_Azores_Central_1948",DATUM["D_Azores_C
1887	Azores_Occidental_1939_To_WGS_1984_1	GEOGTRAN["Azores_Occidental_1939_To_WGS_1984_1",GEOGCS["GCS_Azores_Occidental_1939",DATUM["D_Azo
1888	Porto_Santo_1936_To_WGS_1984_1	GEOGTRAN["Porto_Santo_1936_To_WGS_1984_1",GEOGCS["GCS_Porto_Santo_1936",DATUM["D_Porto_Santo_19
1890	Australian_Antarctic_1998_To_WGS_1984_1	GEOGTRAN["Australian_Antarctic_1998_To_WGS_1984_1",GEOGCS["GCS_Australian_Antarctic_1998",DATUM["D_A
1891	Greek_To_GGRS_1987	GEOGTRAN["Greek_To_GGRS_1987",GEOGCS["GCS_Greek",DATUM["D_Greek",SPHEROID["Bessel_1841",637739
1892	Hito_XVIII_1963_To_WGS_1984_2	GEOGTRAN["Hito_XVIII_1963_To_WGS_1984_2",GEOGCS["GCS_Hito_XVIII_1963",DATUM["D_Hito_XVIII_1963",SP
1893	Puerto_Rico_To_WGS_1984_3	GEOGTRAN["Puerto_Rico_To_WGS_1984_3",GEOGCS["GCS_Puerto_Rico",DATUM["D_Puerto_Rico",SPHEROID["C
1895	RT90_To_SWEREF99_1	GEOGTRAN["RT90_To_SWEREF99_1",GEOGCS["GCS_RT_1990",DATUM["D_RT_1990",SPHEROID["Bessel_1841",
1896	RT90_To_WGS_1984_2	GEOGTRAN["RT90_To_WGS_1984_2",GEOGCS["GCS_RT_1990",DATUM["D_RT_1990",SPHEROID["Bessel_1841",6
1897	Gunung_Segara_To_WGS_1984_1	GEOGTRAN["Gunung_Segara_To_WGS_1984_1",GEOGCS["GCS_Gunung_Segara",DATUM["D_Gunung_Segara",SP
1898	Gunung_Segara_To_WGS_1984_2	GEOGTRAN["Gunung_Segara_To_WGS_1984_2",GEOGCS["GCS_Gunung_Segara",DATUM["D_Gunung_Segara",SP
1899	Gunung_Segara_To_WGS_1984_3	GEOGTRAN["Gunung_Segara_To_WGS_1984_3",GEOGCS["GCS_Gunung_Segara",DATUM["D_Gunung_Segara",SP
1900	NAD_1983_HARN_To_WGS_1984_2	GEOGTRAN["NAD_1983_HARN_To_WGS_1984_2",GEOGCS["GCS_North_American_1983_HARN",DATUM["D_Nort
1901	NAD_1983_HARN_To_WGS_1984_3	GEOGTRAN["NAD_1983_HARN_To_WGS_1984_3",GEOGCS["GCS_North_American_1983_HARN",DATUM["D_Nort
1902	Manoca_1962_To_WGS_1972_BE_1	GEOGTRAN["Manoca_1962_To_WGS_1972_BE_1",GEOGCS["GCS_Manoca_1962",DATUM["D_Manoca_1962",SPH
1903	Fort_Marigot_To_WGS_1984_1	GEOGTRAN["Fort_Marigot_To_WGS_1984_1",GEOGCS["GCS_Fort_Marigot",DATUM["D_Fort_Marigot",SPHEROID["I
1904	Sainte_Anne_To_WGS_1984_1	GEOGTRAN["Sainte_Anne_To_WGS_1984_1",GEOGCS["GCS_Sainte_Anne",DATUM["D_Sainte_Anne",SPHEROID[""
1905	Sainte_Anne_To_WGS_1984_2	GEOGTRAN["Sainte_Anne_To_WGS_1984_2",GEOGCS["GCS_Sainte_Anne",DATUM["D_Sainte_Anne",SPHEROID[""
1906	CSG_1967_To_WGS_1984_1	GEOGTRAN["CSG_1967_To_WGS_1984_1",GEOGCS["GCS_CSG_1967",DATUM["D_CSG_1967",SPHEROID["Intern
1908	CSG_1967_To_RGFG_1995_1	GEOGTRAN["CSG_1967_To_RGFG_1995_1",GEOGCS["GCS_CSG_1967",DATUM["D_CSG_1967",SPHEROID["Inter
1909	Fort_Desaix_To_WGS_1984_1	GEOGTRAN["Fort_Desaix_To_WGS_1984_1",GEOGCS["GCS_Fort_Desaix",DATUM["D_Fort_Desaix",SPHEROID["Int
1910	Fort_Desaix_To_WGS_1984_2	GEOGTRAN["Fort_Desaix_To_WGS_1984_2",GEOGCS["GCS_Fort_Desaix",DATUM["D_Fort_Desaix",SPHEROID["Int
1912	RGR_1992_To_WGS_1984_1	GEOGTRAN["RGR_1992_To_WGS_1984_1",GEOGCS["GCS_RGR_1992",DATUM["D_RGR_1992",SPHEROID["GRS_
1913	Tahaa_1954_To_WGS_1984_1	GEOGTRAN["Tahaa_1954_To_WGS_1984_1",GEOGCS["GCS_Tahaa_1954",DATUM["D_Tahaa_1954",SPHEROID["In
1914	IGN72_Nuku_Hiva_To_WGS_1984_1	GEOGTRAN["IGN72_Nuku_Hiva_To_WGS_1984_1",GEOGCS["GCS_IGN72_Nuku_Hiva",DATUM["D_IGN72_Nuku_H

Copyright © 1995-2016 Esri. All rights reserved.

1916	Combani_1950_To_WGS_1984_1	GEOGTRAN["Combani_1950_To_WGS_1984_1",GEOGCS["GCS_Combani_1950",DATUM["D_Combani_1950",SPHE
1917	IGN56_Lifou_To_WGS_1984_1	GEOGTRAN["IGN56_Lifou_To_WGS_1984_1",GEOGCS["GCS_IGN56_Lifou",DATUM["D_IGN56_Lifou",SPHEROID["I
1920	RGNC_1991_To_WGS_1984_1	GEOGTRAN["RGNC_1991_To_WGS_1984_1",GEOGCS["GCS_RGNC_1991",DATUM["D_RGNC_1991",SPHEROID["
1921	Petrels_1972_To_WGS_1984_1	GEOGTRAN["Petrels_1972_To_WGS_1984_1",GEOGCS["GCS_Petrels_1972",DATUM["D_Petrels_1972",SPHEROID[
1922	Pointe_Geologie_Perroud_1950_To_WGS_1984_1	GEOGTRAN["Pointe_Geologie_Perroud_1950_To_WGS_1984_1",GEOGCS["GCS_Pointe_Geologie_Perroud_1950",D
1923	Saint_Pierre_et_Miquelon_1950_To_WGS_1984_1	GEOGTRAN["Saint_Pierre_et_Miquelon_1950_To_WGS_1984_1",GEOGCS["GCS_Saint_Pierre_et_Miquelon_1950",D
1924	Tahiti_1952_To_WGS_1984_1	GEOGTRAN["Tahiti_1952_To_WGS_1984_1",GEOGCS["GCS_Tahiti_1952",DATUM["D_Tahiti_1952",SPHEROID["Inter
1925	MOP78_To_WGS_1984_1	GEOGTRAN["MOP78_To_WGS_1984_1",GEOGCS["GCS_MOP78",DATUM["D_MOP78",SPHEROID["International_19
1926	Reunion_1947_To_RGR_1992_1	GEOGTRAN["Reunion_1947_To_RGR_1992_1",GEOGCS["GCS_Reunion_1947",DATUM["D_Reunion_1947",SPHER
1927	IGN56_Lifou_To_WGS_1984_2	GEOGTRAN["IGN56_Lifou_To_WGS_1984_2",GEOGCS["GCS_IGN56_Lifou",DATUM["D_IGN56_Lifou",SPHEROID["I
1928	IGN53_Mare_To_WGS_1984_1	GEOGTRAN["IGN53_Mare_To_WGS_1984_1",GEOGCS["GCS_IGN53_Mare",DATUM["D_IGN53_Mare",SPHEROID["
1930	ST84_Ile_des_Pins_To_WGS_1984_1	GEOGTRAN["ST84_Ile_des_Pins_To_WGS_1984_1",GEOGCS["GCS_ST84_Ile_des_Pins",DATUM["D_ST84_Ile_des_
1931	ST71_Belep_To_WGS_1984_1	GEOGTRAN["ST71_Belep_To_WGS_1984_1",GEOGCS["GCS_ST71_Belep",DATUM["D_ST71_Belep",SPHEROID["In
1932	NEA74_Noumea_To_WGS_1984_1	GEOGTRAN["NEA74_Noumea_To_WGS_1984_1",GEOGCS["GCS_NEA74_Noumea",DATUM["D_NEA74_Noumea",S
1944	Lisbon_To_WGS_1984_2	GEOGTRAN["Lisbon_To_WGS_1984_2",GEOGCS["GCS_Lisbon",DATUM["D_Lisbon",SPHEROID["International_1924
1946	NAD_1983_CSRS_To_WGS_1984_2	GEOGTRAN["NAD_1983_CSRS_To_WGS_1984_2",GEOGCS["GCS_North_American_1983_CSRS",DATUM["D_North
1950	NAD_1983_To_NAD_1983_CSRS_4	GEOGTRAN["NAD_1983_To_NAD_1983_CSRS_4",GEOGCS["GCS_North_American_1983",DATUM["D_North_Ameri
1951	Hjorsey_1955_To_WGS_1984	GEOGTRAN["Hjorsey_1955_To_WGS_1984",GEOGCS["GCS_Hjorsey_1955",DATUM["D_Hjorsey_1955",SPHEROID["
1952	ISN_1993_To_WGS_1984_1	GEOGTRAN["ISN_1993_To_WGS_1984_1",GEOGCS["GCS_ISN_1993",DATUM["D_Islands_Network_1993",SPHERO
1953	TM75_To_ETRS_1989_2	GEOGTRAN["TM75_To_ETRS_1989_2",GEOGCS["GCS_TM75",DATUM["D_TM75",SPHEROID["Airy_Modified",63773
1954	TM75_To_WGS_1984_2	GEOGTRAN["TM75_To_WGS_1984_2",GEOGCS["GCS_TM75",DATUM["D_TM75",SPHEROID["Airy_Modified",63773
1955	OSNI_1952_To_WGS_1984_1	GEOGTRAN["OSNI_1952_To_WGS_1984_1",GEOGCS["GCS_OSNI_1952",DATUM["D_OSNI_1952",SPHEROID["Airy
1956	TM75_To_WGS_1984_3	GEOGTRAN["TM75_To_WGS_1984_3",GEOGCS["GCS_TM75",DATUM["D_TM75",SPHEROID["Airy_Modified",63773
1957	Helle_1954_To_WGS_1984_1	GEOGTRAN["Helle_1954_To_WGS_1984_1",GEOGCS["GCS_Helle_1954",DATUM["D_Helle_1954",SPHEROID["Inter
1958	LKS_1992_To_WGS_1984_1	GEOGTRAN["LKS_1992_To_WGS_1984_1",GEOGCS["GCS_LKS_1992",DATUM["D_Latvia_1992",SPHEROID["GRS_
1959	St_Vincent_1945_To_WGS_1984_1	GEOGTRAN["St_Vincent_1945_To_WGS_1984_1",GEOGCS["GCS_St_Vincent_1945",DATUM["D_St_Vincent_1945",S
1962	IGN72_Grande_Terre_To_WGS_1984_1	GEOGTRAN["IGN72_Grande_Terre_To_WGS_1984_1",GEOGCS["GCS_IGN72_Grande_Terre",DATUM["D_IGN72_Gr
1963	IGN72_Grande_Terre_To_WGS_1984_2	GEOGTRAN["IGN72_Grande_Terre_To_WGS_1984_2",GEOGCS["GCS_IGN72_Grande_Terre",DATUM["D_IGN72_Gr
1964	RGR_1992_To_Reunion_1947_1	GEOGTRAN["RGR_1992_To_Reunion_1947_1",GEOGCS["GCS_RGR_1992",DATUM["D_RGR_1992",SPHEROID["Gl
1965	Selvagem_Grande_1938_To_WGS_1984_1	GEOGTRAN["Selvagem_Grande_1938_To_WGS_1984_1",GEOGCS["GCS_Selvagem_Grande_1938",DATUM["D_Sel
1966	Porto_Santo_1995_To_WGS_1984_2	GEOGTRAN["Porto_Santo_1995_To_WGS_1984_2",GEOGCS["GCS_Porto_Santo_1995",DATUM["D_Porto_Santo_19
1967	Porto_Santo_1995_To_WGS_1984_3	GEOGTRAN["Porto_Santo_1995_To_WGS_1984_3",GEOGCS["GCS_Porto_Santo_1995",DATUM["D_Porto_Santo_19
1968	Azores_Oriental_1995_To_WGS_1984_2	GEOGTRAN["Azores_Oriental_1995_To_WGS_1984_2",GEOGCS["GCS_Azores_Oriental_1995",DATUM["D_Azores_
1969	Azores_Oriental_1995_To_WGS_1984_3	GEOGTRAN["Azores_Oriental_1995_To_WGS_1984_3",GEOGCS["GCS_Azores_Oriental_1995",DATUM["D_Azores_
1970	Azores_Oriental_1995_To_WGS_1984_4	GEOGTRAN["Azores_Oriental_1995_To_WGS_1984_4",GEOGCS["GCS_Azores_Oriental_1995",DATUM["D_Azores_
1971	Azores_Oriental_1995_To_WGS_1984_5	GEOGTRAN["Azores_Oriental_1995_To_WGS_1984_5",GEOGCS["GCS_Azores_Oriental_1995",DATUM["D_Azores_
1972	Azores_Central_1995_To_WGS_1984_2	GEOGTRAN["Azores_Central_1995_To_WGS_1984_2",GEOGCS["GCS_Azores_Central_1995",DATUM["D_Azores_C
1973	Azores_Central_1995_To_WGS_1984_3	GEOGTRAN["Azores_Central_1995_To_WGS_1984_3",GEOGCS["GCS_Azores_Central_1995",DATUM["D_Azores_C
1974	Azores_Central_1995_To_WGS_1984_4	GEOGTRAN["Azores_Central_1995_To_WGS_1984_4",GEOGCS["GCS_Azores_Central_1995",DATUM["D_Azores_C
1975	Azores_Central_1995_To_WGS_1984_5	GEOGTRAN["Azores_Central_1995_To_WGS_1984_5",GEOGCS["GCS_Azores_Central_1995",DATUM["D_Azores_C
1976	Azores_Central_1995_To_WGS_1984_6	GEOGTRAN["Azores_Central_1995_To_WGS_1984_6",GEOGCS["GCS_Azores_Central_1995",DATUM["D_Azores_C
1977	Azores_Central_1995_To_WGS_1984_7	GEOGTRAN["Azores_Central_1995_To_WGS_1984_7",GEOGCS["GCS_Azores_Central_1995",DATUM["D_Azores_C
1978	Azores_Central_1995_To_WGS_1984_8	GEOGTRAN["Azores_Central_1995_To_WGS_1984_8",GEOGCS["GCS_Azores_Central_1995",DATUM["D_Azores_C
1979	Azores_Central_1995_To_WGS_1984_9	GEOGTRAN["Azores_Central_1995_To_WGS_1984_9",GEOGCS["GCS_Azores_Central_1995",DATUM["D_Azores_C
1980	Azores_Central_1995_To_WGS_1984_10	GEOGTRAN["Azores_Central_1995_To_WGS_1984_10",GEOGCS["GCS_Azores_Central_1995",DATUM["D_Azores_
1981	Azores_Central_1995_To_WGS_1984_11	GEOGTRAN["Azores_Central_1995_To_WGS_1984_11",GEOGCS["GCS_Azores_Central_1995",DATUM["D_Azores_
1982	Azores_Occidental_1939_To_WGS_1984_2	GEOGTRAN["Azores_Occidental_1939_To_WGS_1984_2",GEOGCS["GCS_Azores_Occidental_1939",DATUM["D_Az
1983	Datum_73_To_WGS_1984_3	GEOGTRAN["Datum_73_To_WGS_1984_3",GEOGCS["GCS_Datum_73",DATUM["D_Datum_73",SPHEROID["Internat
1984	Lisbon_To_WGS_1984_3	GEOGTRAN["Lisbon_To_WGS_1984_3",GEOGCS["GCS_Lisbon",DATUM["D_Lisbon",SPHEROID["International_1924
1985	European_1950_To_WGS_1984_33	GEOGTRAN["European_1950_To_WGS_1984_33",GEOGCS["GCS_European_1950",DATUM["D_European_1950",SP
1986	Lisbon_1890_To_WGS_1984_1	GEOGTRAN["Lisbon_1890_To_WGS_1984_1",GEOGCS["GCS_Lisbon_1890",DATUM["D_Lisbon_1890",SPHEROID["
1987	Datum_73_To_WGS_1984_4	GEOGTRAN["Datum_73_To_WGS_1984_4",GEOGCS["GCS_Datum_73",DATUM["D_Datum_73",SPHEROID["Internat
1988	Lisbon_To_WGS_1984_4	GEOGTRAN["Lisbon_To_WGS_1984_4",GEOGCS["GCS_Lisbon",DATUM["D_Lisbon",SPHEROID["International_1924
1989	ED_1950_To_WGS_1984_34	GEOGTRAN["ED_1950_To_WGS_1984_34",GEOGCS["GCS_European_1950",DATUM["D_European_1950",SPHERO

Copyright © 1995-2016 Esri. All rights reserved.

1990	Lisbon_1890_To_WGS_1984_2	GEOGTRAN["Lisbon_1890_To_WGS_1984_2",GEOGCS["GCS_Lisbon_1890",DATUM["D_Lisbon_1890",SPHEROID[""
1991	Lisbon_1890_Lisbon_To_Lisbon	GEOGTRAN["Lisbon_1890_Lisbon_To_Lisbon",GEOGCS["GCS_Lisbon_1890_Lisbon",DATUM["D_Lisbon_1890",SPHI
1992	Datum_73_To_ETRS_1989_3	GEOGTRAN["Datum_73_To_ETRS_1989_3",GEOGCS["GCS_Datum_73",DATUM["D_Datum_73",SPHEROID["Interna
1993	IKBD_1992_To_WGS_1984_1	GEOGTRAN["IKBD_1992_To_WGS_1984_1",GEOGCS["GCS_IKBD_1992",DATUM["D_Iraq_Kuwait_Boundary_1992",
1994	Reykjavik_1900_To_WGS_1984_1	GEOGTRAN["Reykjavik_1900_To_WGS_1984_1",GEOGCS["GCS_Reykjavik_1900",DATUM["D_Reykjavik_1900",SPH
1995	Dealul_Piscului_1933_To_WGS_1984_1	GEOGTRAN["Dealul_Piscului_1933_To_WGS_1984_1",GEOGCS["GCS_Dealul_Piscului_1933",DATUM["D_Dealul_Pis
1996	Dealul_Piscului_1970_To_WGS_1984_1	GEOGTRAN["Dealul_Piscului_1970_To_WGS_1984_1",GEOGCS["GCS_Dealul_Piscului_1970",DATUM["D_Dealul_Pis
1997	Lisbon_To_ETRS_1989_2	GEOGTRAN["Lisbon_To_ETRS_1989_2",GEOGCS["GCS_Lisbon",DATUM["D_Lisbon",SPHEROID["International_1924
1998	ED_1950_To_WGS_1984_36	GEOGTRAN["ED_1950_To_WGS_1984_36",GEOGCS["GCS_European_1950",DATUM["D_European_1950",SPHERO
3817	HD1909_To_WGS_1984_1	GEOGTRAN["HD1909_To_WGS_1984_1",GEOGCS["GCS_HD1909",DATUM["D_Hungarian_Datum_1909",SPHEROID
3830	TWD_1997_To_WGS_1984_1	GEOGTRAN["TWD_1997_To_WGS_1984_1",GEOGCS["GCS_TWD_1997",DATUM["D_TWD_1997",SPHEROID["GRS
3894	IGRS_To_WGS_1984_1	GEOGTRAN["IGRS_To_WGS_1984_1",GEOGCS["GCS_IGRS",DATUM["D_Iraqi_Geospatial_Reference_System",SPH
3895	MGI_Ferro_To_MGI	GEOGTRAN["MGI_Ferro_To_MGI",GEOGCS["GCS_MGI_Ferro",DATUM["D_MGI",SPHEROID["Bessel_1841",6377397
3896	MGI_Ferro_To_WGS_1984_2	GEOGTRAN["MGI_Ferro_To_WGS_1984_2",GEOGCS["GCS_MGI_Ferro",DATUM["D_MGI",SPHEROID["Bessel_1841
3904	ED_1950_To_WGS_1984_32	GEOGTRAN["ED_1950_To_WGS_1984_32",GEOGCS["GCS_European_1950",DATUM["D_European_1950",SPHERO
3905	ED_1987_To_WGS_1984_2	GEOGTRAN["ED_1987_To_WGS_1984_2",GEOGCS["GCS_European_1987",DATUM["D_European_1987",SPHEROI
3913	MGI_Ferro_To_MGI_1901_1	GEOGTRAN["MGI_Ferro_To_MGI_1901_1",GEOGCS["GCS_MGI_Ferro",DATUM["D_MGI",SPHEROID["Bessel_1841"
3914	MGI_1901_To_ETRS_1989_3	GEOGTRAN["MGI_1901_To_ETRS_1989_3",GEOGCS["GCS_MGI_1901",DATUM["D_MGI_1901",SPHEROID["Bessel
3915	MGI_1901_To_WGS_1984_5	GEOGTRAN["MGI_1901_To_WGS_1984_5",GEOGCS["GCS_MGI_1901",DATUM["D_MGI_1901",SPHEROID["Bessel_
3916	MGI_1901_To_Slovenia_1996_1	GEOGTRAN["MGI_1901_To_Slovenia_1996_1",GEOGCS["GCS_MGI_1901",DATUM["D_MGI_1901",SPHEROID["Bes
3917	MGI_1901_To_WGS_1984_9	GEOGTRAN["MGI_1901_To_WGS_1984_9",GEOGCS["GCS_MGI_1901",DATUM["D_MGI_1901",SPHEROID["Bessel_
3918	MGI_1901_To_Slovenia_1996_2	GEOGTRAN["MGI_1901_To_Slovenia_1996_2",GEOGCS["GCS_MGI_1901",DATUM["D_MGI_1901",SPHEROID["Bes
3919	MGI_1901_To_Slovenia_1996_3	GEOGTRAN["MGI_1901_To_Slovenia_1996_3",GEOGCS["GCS_MGI_1901",DATUM["D_MGI_1901",SPHEROID["Bes
3921	MGI_1901_To_Slovenia_1996_4	GEOGTRAN["MGI_1901_To_Slovenia_1996_4",GEOGCS["GCS_MGI_1901",DATUM["D_MGI_1901",SPHEROID["Bes
3922	MGI_1901_To_Slovenia_1996_5	GEOGTRAN["MGI_1901_To_Slovenia_1996_5",GEOGCS["GCS_MGI_1901",DATUM["D_MGI_1901",SPHEROID["Bes
3923	MGI_1901_To_Slovenia_1996_6	GEOGTRAN["MGI_1901_To_Slovenia_1996_6",GEOGCS["GCS_MGI_1901",DATUM["D_MGI_1901",SPHEROID["Bes
3924	MGI_1901_To_Slovenia_1996_7	GEOGTRAN["MGI_1901_To_Slovenia_1996_7",GEOGCS["GCS_MGI_1901",DATUM["D_MGI_1901",SPHEROID["Bes
3925	MGI_1901_To_Slovenia_1996_8	GEOGTRAN["MGI_1901_To_Slovenia_1996_8",GEOGCS["GCS_MGI_1901",DATUM["D_MGI_1901",SPHEROID["Bes
3926	MGI_1901_To_Slovenia_1996_9	GEOGTRAN["MGI_1901_To_Slovenia_1996_9",GEOGCS["GCS_MGI_1901",DATUM["D_MGI_1901",SPHEROID["Bes
3927	MGI_1901_To_Slovenia_1996_10	GEOGTRAN["MGI_1901_To_Slovenia_1996_10",GEOGCS["GCS_MGI_1901",DATUM["D_MGI_1901",SPHEROID["Be
3928	MGI_1901_To_Slovenia_1996_11	GEOGTRAN["MGI_1901_To_Slovenia_1996_11",GEOGCS["GCS_MGI_1901",DATUM["D_MGI_1901",SPHEROID["Be
3962	MGI_1901_To_WGS_1984_1	GEOGTRAN["MGI_1901_To_WGS_1984_1",GEOGCS["GCS_MGI_1901",DATUM["D_MGI_1901",SPHEROID["Bessel_
3963	MGI_1901_To_ETRS_1989_2	GEOGTRAN["MGI_1901_To_ETRS_1989_2",GEOGCS["GCS_MGI_1901",DATUM["D_MGI_1901",SPHEROID["Bessel
3964	MGI_1901_To_WGS_1984_4	GEOGTRAN["MGI_1901_To_WGS_1984_4",GEOGCS["GCS_MGI_1901",DATUM["D_MGI_1901",SPHEROID["Bessel_
3965	MGI_1901_To_WGS_1984_6	GEOGTRAN["MGI_1901_To_WGS_1984_6",GEOGCS["GCS_MGI_1901",DATUM["D_MGI_1901",SPHEROID["Bessel_
3966	MGI_Ferro_To_WGS_1984_1	GEOGTRAN["MGI_Ferro_To_WGS_1984_1",GEOGCS["GCS_MGI_Ferro",DATUM["D_MGI",SPHEROID["Bessel_1841
3971	PSAD_1956_To_SIRGAS_1	GEOGTRAN["PSAD_1956_To_SIRGAS_1",GEOGCS["GCS_Provisional_S_American_1956",DATUM["D_Provisional_S
3972	Chua_To_WGS_1984_2	GEOGTRAN["Chua_To_WGS_1984_2",GEOGCS["GCS_Chua",DATUM["D_Chua",SPHEROID["International_1924",63
3990	PSAD_1956_To_WGS_1984_14	GEOGTRAN["PSAD_1956_To_WGS_1984_14",GEOGCS["GCS_Provisional_S_American_1956",DATUM["D_Provision
3998	Arc_1960_To_WGS_1984_4	GEOGTRAN["Arc_1960_To_WGS_1984_4",GEOGCS["GCS_Arc_1960",DATUM["D_Arc_1960",SPHEROID["Clarke_18
4064	RGRDC_2005_To_WGS_1984_1	GEOGTRAN["RGRDC_2005_To_WGS_1984_1",GEOGCS["GCS_RGRDC_2005",DATUM["D_Reseau_Geodesique_de
4065	Katanga_1955_To_RGRDC_2005_1	GEOGTRAN["Katanga_1955_To_RGRDC_2005_1",GEOGCS["GCS_Katanga_1955",DATUM["D_Katanga_1955",SPHE
4066	Katanga_1955_To_WGS_1984_1	GEOGTRAN["Katanga_1955_To_WGS_1984_1",GEOGCS["GCS_Katanga_1955",DATUM["D_Katanga_1955",SPHER
4067	Katanga_1955_To_RGRDC_2005_2	GEOGTRAN["Katanga_1955_To_RGRDC_2005_2",GEOGCS["GCS_Katanga_1955",DATUM["D_Katanga_1955",SPHE
4068	Katanga_1955_To_WGS_1984_2	GEOGTRAN["Katanga_1955_To_WGS_1984_2",GEOGCS["GCS_Katanga_1955",DATUM["D_Katanga_1955",SPHER
4069	Chua_To_SIRGAS_2000_1	GEOGTRAN["Chua_To_SIRGAS_2000_1",GEOGCS["GCS_Chua",DATUM["D_Chua",SPHEROID["International_1924"
4076	SREF98_To_ETRS_1989_1	GEOGTRAN["SREF98_To_ETRS_1989_1",GEOGCS["GCS_SREF98",DATUM["D_Serbian_Reference_Network_1998"
4077	SREF98_To_WGS_1984_1	GEOGTRAN["SREF98_To_WGS_1984_1",GEOGCS["GCS_SREF98",DATUM["D_Serbian_Reference_Network_1998",
4078	ED_1987_To_ETRS_1989_1	GEOGTRAN["ED_1987_To_ETRS_1989_1",GEOGCS["GCS_European_1987",DATUM["D_European_1987",SPHEROI
4084	REGCAN95_To_WGS_1984_1	GEOGTRAN["REGCAN95_To_WGS_1984_1",GEOGCS["GCS_REGCAN95",DATUM["D_Red_Geodesica_de_Canaria
4290	Cadastre_1997_To_WGS_1984_1	GEOGTRAN["Cadastre_1997_To_WGS_1984_1",GEOGCS["GCS_Cadastre_1997",DATUM["D_Cadastre_1997",SPHE
4461	NAD_1983_HARN_To_NAD_1983_NSRS2007_1	GEOGTRAN["NAD_1983_HARN_To_NAD_1983_NSRS2007_1",GEOGCS["GCS_North_American_1983_HARN",DAT
4476	RGM_2004_To_WGS_1984_1	GEOGTRAN["RGM_2004_To_WGS_1984_1",GEOGCS["GCS_RGM_2004",DATUM["D_Reseau_Geodesique_de_May
4477	RGSPM_2006_To_WGS_1984_1	GEOGTRAN["RGSPM_2006_To_WGS_1984_1",GEOGCS["GCS_RGSPM_2006",DATUM["D_Reseau_Geodesique_de

Copyright © 1995-2016 Esri. All rights reserved.

4478	Cadastre_1997_To_RGM_2004_1	GEOGTRAN["Cadastre_1997_To_RGM_2004_1",GEOGCS["GCS_Cadastre_1997",DATUM["D_Cadastre_1997",SPHE
4560	RRAF_1991_To_WGS_1984_1	GEOGTRAN["RRAF_1991_To_WGS_1984_1",GEOGCS["GCS_RRAF_1991",DATUM["D_RRAF_1991",SPHEROID["G
4827	S_JTSK_To_ETRS_1989_4	GEOGTRAN["S_JTSK_To_ETRS_1989_4",GEOGCS["GCS_S_JTSK",DATUM["D_S_JTSK",SPHEROID["Bessel_1841"
4829	S_JTSK_To_ETRS_1989_3	GEOGTRAN["S_JTSK_To_ETRS_1989_3",GEOGCS["GCS_S_JTSK",DATUM["D_S_JTSK",SPHEROID["Bessel_1841"
4830	Amersfoort_To_ETRS_1989_5	GEOGTRAN["Amersfoort_To_ETRS_1989_5",GEOGCS["GCS_Amersfoort",DATUM["D_Amersfoort",SPHEROID["Bess
4831	Amersfoort_To_ETRS_1989_6	GEOGTRAN["Amersfoort_To_ETRS_1989_6",GEOGCS["GCS_Amersfoort",DATUM["D_Amersfoort",SPHEROID["Bess
4832	Mexican_Datum_1993_To_WGS_1984_1	GEOGTRAN["Mexican_Datum_1993_To_WGS_1984_1",GEOGCS["GCS_Mexican_Datum_of_1993",DATUM["D_Mexic
4833	Amersfoort_To_WGS_1984_4	GEOGTRAN["Amersfoort_To_WGS_1984_4",GEOGCS["GCS_Amersfoort",DATUM["D_Amersfoort",SPHEROID["Besse
4834	Chua_To_WGS_1984_3	GEOGTRAN["Chua_To_WGS_1984_3",GEOGCS["GCS_Chua",DATUM["D_Chua",SPHEROID["International_1924",63
4835	Tahiti_1979_To_WGS_1984_1	GEOGTRAN["Tahiti_1979_To_WGS_1984_1",GEOGCS["GCS_Tahiti_1979",DATUM["D_Tahiti_1979",SPHEROID["Inter
4836	S_JTSK_To_WGS_1984_4	GEOGTRAN["S_JTSK_To_WGS_1984_4",GEOGCS["GCS_S_JTSK",DATUM["D_S_JTSK",SPHEROID["Bessel_1841"
4840	RGFG_1995_To_WGS_1984_2	GEOGTRAN["RGFG_1995_To_WGS_1984_2",GEOGCS["GCS_RGFG_1995",DATUM["D_RGFG_1995",SPHEROID["G
4905	PTRA08_To_WGS_1984_1	GEOGTRAN["PTRA08_To_WGS_1984_1",GEOGCS["GCS_PTRA08",DATUM["D_PTRA08",SPHEROID["GRS_1980",6
5021	Porto_Santo_1995_To_PTRA08_1	GEOGTRAN["Porto_Santo_1995_To_PTRA08_1",GEOGCS["GCS_Porto_Santo_1995",DATUM["D_Porto_Santo_1995
5022	Porto_Santo_1995_To_PTRA08_2	GEOGTRAN["Porto_Santo_1995_To_PTRA08_2",GEOGCS["GCS_Porto_Santo_1995",DATUM["D_Porto_Santo_1995
5023	Porto_Santo_1995_To_PTRA08_3	GEOGTRAN["Porto_Santo_1995_To_PTRA08_3",GEOGCS["GCS_Porto_Santo_1995",DATUM["D_Porto_Santo_1995
5024	Azores_Oriental_1995_To_PTRA08_1	GEOGTRAN["Azores_Oriental_1995_To_PTRA08_1",GEOGCS["GCS_Azores_Oriental_1995",DATUM["D_Azores_Orie
5025	Azores_Oriental_1995_To_PTRA08_2	GEOGTRAN["Azores_Oriental_1995_To_PTRA08_2",GEOGCS["GCS_Azores_Oriental_1995",DATUM["D_Azores_Orie
5026	Azores_Oriental_1995_To_PTRA08_3	GEOGTRAN["Azores_Oriental_1995_To_PTRA08_3",GEOGCS["GCS_Azores_Oriental_1995",DATUM["D_Azores_Orie
5027	Azores_Central_1995_To_PTRA08_1	GEOGTRAN["Azores_Central_1995_To_PTRA08_1",GEOGCS["GCS_Azores_Central_1995",DATUM["D_Azores_Cent
5028	Azores_Central_1995_To_PTRA08_2	GEOGTRAN["Azores_Central_1995_To_PTRA08_2",GEOGCS["GCS_Azores_Central_1995",DATUM["D_Azores_Cent
5029	Azores_Central_1995_To_PTRA08_3	GEOGTRAN["Azores_Central_1995_To_PTRA08_3",GEOGCS["GCS_Azores_Central_1995",DATUM["D_Azores_Cent
5030	Azores_Central_1995_To_PTRA08_4	GEOGTRAN["Azores_Central_1995_To_PTRA08_4",GEOGCS["GCS_Azores_Central_1995",DATUM["D_Azores_Cent
5031	Azores_Central_1995_To_PTRA08_5	GEOGTRAN["Azores_Central_1995_To_PTRA08_5",GEOGCS["GCS_Azores_Central_1995",DATUM["D_Azores_Cent
5032	Azores_Central_1995_To_PTRA08_6	GEOGTRAN["Azores_Central_1995_To_PTRA08_6",GEOGCS["GCS_Azores_Central_1995",DATUM["D_Azores_Cent
5033	Azores_Occidental_1939_To_PTRA08_1	GEOGTRAN["Azores_Occidental_1939_To_PTRA08_1",GEOGCS["GCS_Azores_Occidental_1939",DATUM["D_Azores
5034	Azores_Occidental_1939_To_PTRA08_2	GEOGTRAN["Azores_Occidental_1939_To_PTRA08_2",GEOGCS["GCS_Azores_Occidental_1939",DATUM["D_Azores
5035	Azores_Occidental_1939_To_PTRA08_3	GEOGTRAN["Azores_Occidental_1939_To_PTRA08_3",GEOGCS["GCS_Azores_Occidental_1939",DATUM["D_Azores
5036	Datum_73_To_ETRS_1989_2009_3par	GEOGTRAN["Datum_73_To_ETRS_1989_2009_3par",GEOGCS["GCS_Datum_73",DATUM["D_Datum_73",SPHEROID
5037	Datum_73_To_ETRS_1989_2009_7par	GEOGTRAN["Datum_73_To_ETRS_1989_2009_7par",GEOGCS["GCS_Datum_73",DATUM["D_Datum_73",SPHEROID
5038	Lisbon_To_ETRS_1989_3	GEOGTRAN["Lisbon_To_ETRS_1989_3",GEOGCS["GCS_Lisbon",DATUM["D_Lisbon",SPHEROID["International_1924
5039	Lisbon_1890_To_ETRS_1989_1	GEOGTRAN["Lisbon_1890_To_ETRS_1989_1",GEOGCS["GCS_Lisbon_1890",DATUM["D_Lisbon_1890",SPHEROID["
5040	ED_1950_To_ETRS_1989_13	GEOGTRAN["ED_1950_To_ETRS_1989_13",GEOGCS["GCS_European_1950",DATUM["D_European_1950",SPHERO
5043	Pulkovo_1995_To_WGS_1984_2	GEOGTRAN["Pulkovo_1995_To_WGS_1984_2",GEOGCS["GCS_Pulkovo_1995",DATUM["D_Pulkovo_1995",SPHERO
5044	Pulkovo_1942_To_WGS_1984_20	GEOGTRAN["Pulkovo_1942_To_WGS_1984_20",GEOGCS["GCS_Pulkovo_1942",DATUM["D_Pulkovo_1942",SPHER
5050	Aratu_To_SIRGAS_2000_1	GEOGTRAN["Aratu_To_SIRGAS_2000_1",GEOGCS["GCS_Aratu",DATUM["D_Aratu",SPHEROID["International_1924"
5051	Aratu_To_WGS_1984_13	GEOGTRAN["Aratu_To_WGS_1984_13",GEOGCS["GCS_Aratu",DATUM["D_Aratu",SPHEROID["International_1924",6
5052	Aratu_To_SIRGAS_2000_2	GEOGTRAN["Aratu_To_SIRGAS_2000_2",GEOGCS["GCS_Aratu",DATUM["D_Aratu",SPHEROID["International_1924"
5053	Aratu_To_WGS_1984_14	GEOGTRAN["Aratu_To_WGS_1984_14",GEOGCS["GCS_Aratu",DATUM["D_Aratu",SPHEROID["International_1924",6
5054	Aratu_To_SIRGAS_2000_3	GEOGTRAN["Aratu_To_SIRGAS_2000_3",GEOGCS["GCS_Aratu",DATUM["D_Aratu",SPHEROID["International_1924"
5055	Aratu_To_WGS_1984_15	GEOGTRAN["Aratu_To_WGS_1984_15",GEOGCS["GCS_Aratu",DATUM["D_Aratu",SPHEROID["International_1924",6
5056	Aratu_To_SIRGAS_2000_4	GEOGTRAN["Aratu_To_SIRGAS_2000_4",GEOGCS["GCS_Aratu",DATUM["D_Aratu",SPHEROID["International_1924"
5057	Aratu_To_WGS_1984_16	GEOGTRAN["Aratu_To_WGS_1984_16",GEOGCS["GCS_Aratu",DATUM["D_Aratu",SPHEROID["International_1924",6
5058	Aratu_To_SIRGAS_2000_5	GEOGTRAN["Aratu_To_SIRGAS_2000_5",GEOGCS["GCS_Aratu",DATUM["D_Aratu",SPHEROID["International_1924"
5059	Aratu_To_WGS_1984_17	GEOGTRAN["Aratu_To_WGS_1984_17",GEOGCS["GCS_Aratu",DATUM["D_Aratu",SPHEROID["International_1924",6
5060	Aratu_To_SIRGAS_2000_6	GEOGTRAN["Aratu_To_SIRGAS_2000_6",GEOGCS["GCS_Aratu",DATUM["D_Aratu",SPHEROID["International_1924"
5061	Aratu_To_WGS_1984_18	GEOGTRAN["Aratu_To_WGS_1984_18",GEOGCS["GCS_Aratu",DATUM["D_Aratu",SPHEROID["International_1924",6
5062	Aratu_To_SIRGAS_2000_7	GEOGTRAN["Aratu_To_SIRGAS_2000_7",GEOGCS["GCS_Aratu",DATUM["D_Aratu",SPHEROID["International_1924"
5063	Aratu_To_WGS_1984_19	GEOGTRAN["Aratu_To_WGS_1984_19",GEOGCS["GCS_Aratu",DATUM["D_Aratu",SPHEROID["International_1924",6
5064	Aratu_To_SIRGAS_2000_8	GEOGTRAN["Aratu_To_SIRGAS_2000_8",GEOGCS["GCS_Aratu",DATUM["D_Aratu",SPHEROID["International_1924"
5065	Aratu_To_WGS_1984_20	GEOGTRAN["Aratu_To_WGS_1984_20",GEOGCS["GCS_Aratu",DATUM["D_Aratu",SPHEROID["International_1924",6
5066	Aratu_To_SIRGAS_2000_9	GEOGTRAN["Aratu_To_SIRGAS_2000_9",GEOGCS["GCS_Aratu",DATUM["D_Aratu",SPHEROID["International_1924"
5067	Aratu_To_WGS_1984_21	GEOGTRAN["Aratu_To_WGS_1984_21",GEOGCS["GCS_Aratu",DATUM["D_Aratu",SPHEROID["International_1924",6
5077	Karbala_1979_Polservice_To_IGRS_1	GEOGTRAN["Karbala_1979_Polservice_To_IGRS_1",GEOGCS["GCS_Karbala_1979_Polservice",DATUM["D_Karbala_

Copyright © 1995-2016 Esri. All rights reserved.

5078	Karbala_1979_Polservice_To_WGS_1984_2	GEOGTRAN["Karbala_1979_Polservice_To_WGS_1984_2",GEOGCS["GCS_Karbala_1979_Polservice",DATUM["D_Ka
5189	Korean_1985_To_Korea_2000_1	GEOGTRAN["Korean_1985_To_Korea_2000_1",GEOGCS["GCS_Korean_Datum_1985",DATUM["D_Korean_Datum_1
5191	Korean_1985_To_WGS_1984_1	GEOGTRAN["Korean_1985_To_WGS_1984_1",GEOGCS["GCS_Korean_Datum_1985",DATUM["D_Korean_Datum_19
5194	VN_2000_To_WGS_1984_2	GEOGTRAN["VN_2000_To_WGS_1984_2",GEOGCS["GCS_VN_2000",DATUM["D_Vietnam_2000",SPHEROID["WGS
5226	S_JTSK/05_To_ETRS_1989_1	GEOGTRAN["S_JTSK/05_To_ETRS_1989_1",GEOGCS["GCS_S_JTSK/05",DATUM["D_S_JTSK_05",SPHEROID["Bes
5227	S_JTSK/05_To_WGS_1984_1	GEOGTRAN["S_JTSK/05_To_WGS_1984_1",GEOGCS["GCS_S_JTSK/05",DATUM["D_S_JTSK_05",SPHEROID["Bes
5230	S_JTSK_FERRO_To_WGS_1984_2	GEOGTRAN["S_JTSK_FERRO_To_WGS_1984_2",GEOGCS["GCS_S_JTSK_Ferro",DATUM["D_S_JTSK",SPHEROID
5236	SLD99_To_WGS_1984_1	GEOGTRAN["SLD99_To_WGS_1984_1",GEOGCS["GCS_SLD99",DATUM["D_Sri_Lanka_Datum_1999",SPHEROID["E
5238	S_JTSK/05_Ferro_To_S_JTSK/05_1	GEOGTRAN["S_JTSK/05_Ferro_To_S_JTSK/05_1",GEOGCS["GCS_S_JTSK/05_Ferro",DATUM["D_S_JTSK_05",SPH
5239	S_JTSK_To_WGS_1984_5	GEOGTRAN["S_JTSK_To_WGS_1984_5",GEOGCS["GCS_S_JTSK",DATUM["D_S_JTSK",SPHEROID["Bessel_1841"
5240	S_JTSK/05_Ferro_To_WGS_1984_1	GEOGTRAN["S_JTSK/05_Ferro_To_WGS_1984_1",GEOGCS["GCS_S_JTSK/05_Ferro",DATUM["D_S_JTSK_05",SPH
5241	S_JTSK_To_S_JTSK/05_1	GEOGTRAN["S_JTSK_To_S_JTSK/05_1",GEOGCS["GCS_S_JTSK",DATUM["D_S_JTSK",SPHEROID["Bessel_1841",
5242	S_JTSK_Ferro_To_WGS_1984_3	GEOGTRAN["S_JTSK_Ferro_To_WGS_1984_3",GEOGCS["GCS_S_JTSK_Ferro",DATUM["D_S_JTSK",SPHEROID["E
5249	Timbalai_1948_To_WGS_1984_5	GEOGTRAN["Timbalai_1948_To_WGS_1984_5",GEOGCS["GCS_Timbalai_1948",DATUM["D_Timbalai_1948",SPHER
5260	S_TUREF_To_ETRS_1989_1	GEOGTRAN["S_TUREF_To_ETRS_1989_1",GEOGCS["GCS_TUREF",DATUM["D_Turkish_National_Reference_Fram
5261	TUREF_To_WGS_1984_1	GEOGTRAN["TUREF_To_WGS_1984_1",GEOGCS["GCS_TUREF",DATUM["D_Turkish_National_Reference_Frame",S
5267	DRUKREF_03_To_WGS_1984_1	GEOGTRAN["DRUKREF_03_To_WGS_1984_1",GEOGCS["GCS_DRUKREF_03",DATUM["D_Bhutan_National_Geode
5327	ISN_2004_To_WGS_1984_1	GEOGTRAN["ISN_2004_To_WGS_1984_1",GEOGCS["GCS_ISN_2004",DATUM["D_Islands_Network_2004",SPHERO
5350	Campo_Inchauspe_To_POSGAR_2007_1	GEOGTRAN["Campo_Inchauspe_To_POSGAR_2007_1",GEOGCS["GCS_Campo_Inchauspe",DATUM["D_Campo_Inc
5351	POSGAR_2007_To_WGS_1984_1	GEOGTRAN["POSGAR_2007_To_WGS_1984_1",GEOGCS["GCS_POSGAR_2007",DATUM["D_POSGAR_2007",SPH
5374	MARGEN_To_WGS_1984_1	GEOGTRAN["MARGEN_To_WGS_1984_1",GEOGCS["GCS_MARGEN",DATUM["D_Marco_Geodesico_Nacional",SPH
5375	SIRGAS-Chile_To_WGS_1984_1	GEOGTRAN["SIRGAS-Chile_To_WGS_1984_1",GEOGCS["GCS_SIRGAS-Chile",DATUM["D_SIRGAS-Chile",SPHERO
5376	CR05_To_WGS_1984_1	GEOGTRAN["CR05_To_WGS_1984_1",GEOGCS["GCS_CR05",DATUM["D_Costa_Rica_2005",SPHEROID["WGS_198
5377	MARCARIO_SOLIS_To_WGS_1984_1	GEOGTRAN["MARCARIO_SOLIS_To_WGS_1984_1",GEOGCS["GCS_MARCARIO_SOLIS",DATUM["D_SGNP_MARC
5378	Peru96_To_WGS_1984_1	GEOGTRAN["Peru96_To_WGS_1984_1",GEOGCS["GCS_Peru96",DATUM["D_Peru96",SPHEROID["GRS_1980",6378
5384	SIRGAS-ROU98_To_WGS_1984_1	GEOGTRAN["SIRGAS-ROU98_To_WGS_1984_1",GEOGCS["GCS_SIRGAS-ROU98",DATUM["D_SIRGAS-ROU98",S
5385	Yacare_To_SIRGAS-ROU98_1	GEOGTRAN["Yacare_To_SIRGAS-ROU98_1",GEOGCS["GCS_Yacare",DATUM["D_Yacare",SPHEROID["International_
5386	Yacare_To_WGS_1984_2	GEOGTRAN["Yacare_To_WGS_1984_2",GEOGCS["GCS_Yacare",DATUM["D_Yacare",SPHEROID["International_1924
5395	SIRGAS-ES2007.8_To_WGS_1984_1	GEOGTRAN["SIRGAS-ES2007.8_To_WGS_1984_1",GEOGCS["GCS_SIRGAS_ES2007.8",DATUM["D_SIRGAS_ES20
5470	Ocotepeque_1935_To_WGS_1984_1	GEOGTRAN["Ocotepeque_1935_To_WGS_1984_1",GEOGCS["GCS_Ocotepeque_1935",DATUM["D_Ocotepeque_193
5473	Ocotepeque_1935_To_WGS_1984_2	GEOGTRAN["Ocotepeque_1935_To_WGS_1984_2",GEOGCS["GCS_Ocotepeque_1935",DATUM["D_Ocotepeque_193
5483	Luxembourg_1930_To_ETRS_1989_4	GEOGTRAN["Luxembourg_1930_To_ETRS_1989_4",GEOGCS["GCS_Luxembourg_1930",DATUM["D_Luxembourg_1
5484	Luxembourg_1930_To_WGS_1984_4	GEOGTRAN["Luxembourg_1930_To_WGS_1984_4",GEOGCS["GCS_Luxembourg_1930",DATUM["D_Luxembourg_19
5485	Luxembourg_1930_To_ETRS_1989_3	GEOGTRAN["Luxembourg_1930_To_ETRS_1989_3",GEOGCS["GCS_Luxembourg_1930",DATUM["D_Luxembourg_1
5486	Luxembourg_1930_To_WGS_1984_3	GEOGTRAN["Luxembourg_1930_To_WGS_1984_3",GEOGCS["GCS_Luxembourg_1930",DATUM["D_Luxembourg_19
5491	Fort_Desaix_To_RGAF09_1	GEOGTRAN["Fort_Desaix_To_RGAF09_1",GEOGCS["GCS_Fort_Desaix",DATUM["D_Fort_Desaix",SPHEROID["Interr
5492	Sainte_Anne_To_RGAF09_1	GEOGTRAN["Sainte_Anne_To_RGAF09_1",GEOGCS["GCS_Sainte_Anne",DATUM["D_Sainte_Anne",SPHEROID["Inte
5493	Fort_Marigot_To_RGAF09_1	GEOGTRAN["Fort_Marigot_To_RGAF09_1",GEOGCS["GCS_Fort_Marigot",DATUM["D_Fort_Marigot",SPHEROID["Inte
5494	RRAF_1991_To_RGAF09_1	GEOGTRAN["RRAF_1991_To_RGAF09_1",GEOGCS["GCS_RRAF_1991",DATUM["D_RRAF_1991",SPHEROID["GRS
5495	RRAF_1991_To_RGAF09_2	GEOGTRAN["RRAF_1991_To_RGAF09_2",GEOGCS["GCS_RRAF_1991",DATUM["D_RRAF_1991",SPHEROID["GRS
5496	RRAF_1991_To_RGAF09_3	GEOGTRAN["RRAF_1991_To_RGAF09_3",GEOGCS["GCS_RRAF_1991",DATUM["D_RRAF_1991",SPHEROID["GRS
5497	POSGAR_2007_To_SIRGAS_2000_1	GEOGTRAN["POSGAR_2007_To_SIRGAS_2000_1",GEOGCS["GCS_POSGAR_2007",DATUM["D_POSGAR_2007",S
5501	RGAF09_To_WGS_1984_1	GEOGTRAN["RGAF09_To_WGS_1984_1",GEOGCS["GCS_RGAF09",DATUM["Reseau_Geodesique_des_Antilles_Fra
5521	Grand_Comoros_To_WGS_1984_1	GEOGTRAN["Grand_Comoros_To_WGS_1984_1",GEOGCS["GCS_Grand_Comoros",DATUM["D_Grand_Comoros",SP
5553	PNG94_To_WGS_1984_1	GEOGTRAN["PNG94_To_WGS_1984_1",GEOGCS["GCS_PNG94",DATUM["D_Papua_New_Guinea_Geodetic_Datum
5584	MOLDREF99_To_ETRS_1989_1	GEOGTRAN["MOLDREF99_To_ETRS_1989_1",GEOGCS["GCS_MOLDREF99",DATUM["D_MOLDREF99",SPHEROID
5585	MOLDREF99_To_WGS_1984_1	GEOGTRAN["MOLDREF99_To_WGS_1984_1",GEOGCS["GCS_MOLDREF99",DATUM["D_MOLDREF99",SPHEROID
5586	Pulkovo_1942_To_Ukraine_2000_1	GEOGTRAN["Pulkovo_1942_To_Ukraine_2000_1",GEOGCS["GCS_Pulkovo_1942",DATUM["D_Pulkovo_1942",SPHER
5590	Ukraine_2000_To_WGS_1984_1	GEOGTRAN["Ukraine_2000_To_WGS_1984_1",GEOGCS["GCS_Ukraine_2000",DATUM["D_Ukraine_2000",SPHERO
5599	FEH2010_To_WGS_1984_1	GEOGTRAN["FEH2010_To_WGS_1984_1",GEOGCS["GCS_FEH2010",DATUM["D_Fehmarnbelt_Datum_2010",SPHE
5622	OSGB_1936_To_WGS_1984_8	GEOGTRAN["OSGB_1936_To_WGS_1984_8",GEOGCS["GCS_OSGB_1936",DATUM["D_OSGB_1936",SPHEROID["A
5630	Nord_Sahara_1959_To_WGS_1984_8	GEOGTRAN["Nord_Sahara_1959_To_WGS_1984_8",GEOGCS["GCS_Nord_Sahara_1959",DATUM["D_Nord_Sahara_
5660	Nord_Sahara_1959_To_WGS_1984_9	GEOGTRAN["Nord_Sahara_1959_To_WGS_1984_9",GEOGCS["GCS_Nord_Sahara_1959",DATUM["D_Nord_Sahara_
5662	AGD_1966_To_PNG_1994_1	GEOGTRAN["AGD_1966_To_PNG_1994_1",GEOGCS["GCS_Australian_1966",DATUM["D_Australian_1966",SPHERO

Copyright © 1995-2016 Esri. All rights reserved.

5826	DB_REF_To_ETRS_1989_1	GEOGTRAN["DB_REF_To_ETRS_1989_1",GEOGCS["GCS_DB_REF",DATUM["D_Deutsche_Bahn_Reference_Syster
5827	AGD_1966_To_GDA_1994_19	GEOGTRAN["AGD_1966_To_GDA_1994_19",GEOGCS["GCS_Australian_1966",DATUM["D_Australian_1966",SPHER
5838	Lisbon_Lisbon_To_WGS_1984_2	GEOGTRAN["Lisbon_Lisbon_To_WGS_1984_2",GEOGCS["GCS_Lisbon_Lisbon",DATUM["D_Lisbon",SPHEROID["Inte
5840	Ukraine_2000_To_WGS_1984_2	GEOGTRAN["Ukraine_2000_To_WGS_1984_2",GEOGCS["GCS_Ukraine_2000",DATUM["D_Ukraine_2000",SPHEROI
5841	AGD_1966_To_WGS_1984_19	GEOGTRAN["AGD_1966_To_WGS_1984_19",GEOGCS["GCS_Australian_1966",DATUM["D_Australian_1966",SPHEF
5878	Timbalai_1948_To_GDBD2009_1	GEOGTRAN["Timbalai_1948_To_GDBD2009_1",GEOGCS["GCS_Timbalai_1948",DATUM["D_Timbalai_1948",SPHER
5881	SAD_1969_96_To_SIRGAS_2000_2	GEOGTRAN["SAD_1969_96_To_SIRGAS_2000_2",GEOGCS["GCS_SAD_1969_96",DATUM["D_South_American_Dat
5882	SAD_1969_To_WGS_1984_16	GEOGTRAN["SAD_1969_To_WGS_1984_16",GEOGCS["GCS_South_American_1969",DATUM["D_South_American_
5888	Combani_1950_To_RGM_2004_1	GEOGTRAN["Combani_1950_To_RGM_2004_1",GEOGCS["GCS_Combani_1950",DATUM["D_Combani_1950",SPHE
6136	Grand_Cayman_1959_To_CIGD11_1	GEOGTRAN["Grand_Cayman_1959_To_CIGD11_1",GEOGCS["GCS_Grand_Cayman_1959",DATUM["D_Grand_Caym
6137	Little_Cayman_1961_To_CIGD11_1	GEOGTRAN["Little_Cayman_1961_To_CIGD11_1",GEOGCS["GCS_Little_Cayman_1961",DATUM["D_Little_Cayman_
6142	Grand_Cayman_1959_To_WGS_1984_2	GEOGTRAN["Grand_Cayman_1959_To_WGS_1984_2",GEOGCS["GCS_Grand_Cayman_1959",DATUM["D_Grand_C
6143	Little_Cayman_1961_To_WGS_1984_3	GEOGTRAN["Little_Cayman_1961_To_WGS_1984_3",GEOGCS["GCS_Little_Cayman_1961",DATUM["D_Little_Caym
6177	CIGD11_To_WGS_1984_1	GEOGTRAN["CIGD11_To_WGS_1984_1",GEOGCS["GCS_CIGD11",DATUM["D_Cayman_Islands_Geodetic_Datum_2
6191	Corrego_Alegre_To_SAD_1969_1	GEOGTRAN["Corrego_Alegre_To_SAD_1969_1",GEOGCS["GCS_Corrego_Alegre",DATUM["D_Corrego_Alegre",SPHE
6192	Corrego_Alegre_To_WGS_1984_3	GEOGTRAN["Corrego_Alegre_To_WGS_1984_3",GEOGCS["GCS_Corrego_Alegre",DATUM["D_Corrego_Alegre",SPH
6193	Corrego_Alegre_To_SIRGAS_2000_2	GEOGTRAN["Corrego_Alegre_To_SIRGAS_2000_2",GEOGCS["GCS_Corrego_Alegre",DATUM["D_Corrego_Alegre",S
6194	Corrego_Alegre_To_WGS_1984_4	GEOGTRAN["Corrego_Alegre_To_WGS_1984_4",GEOGCS["GCS_Corrego_Alegre",DATUM["D_Corrego_Alegre",SPH
6195	SAD_1969_96_To_WGS_1984_2	GEOGTRAN["SAD_1969_96_To_WGS_1984_2",GEOGCS["GCS_SAD_1969_96",DATUM["D_South_American_Datum
6196	Minna_To_WGS_1984_16	GEOGTRAN["Minna_To_WGS_1984_16",GEOGCS["GCS_Minna",DATUM["D_Minna",SPHEROID["Clarke_1880_RGS"
6205	MGI_1901_To_ETRS_1989_5	GEOGTRAN["MGI_1901_To_ETRS_1989_5",GEOGCS["GCS_MGI_1901",DATUM["D_MGI_1901",SPHEROID["Bessel
6206	MGI_1901_To_WGS_1984_10	GEOGTRAN["MGI_1901_To_WGS_1984_10",GEOGCS["GCS_MGI_1901",DATUM["D_MGI_1901",SPHEROID["Besse
6208	Nepal_Nagarkot_To_WGS_1984_1_EPSG	GEOGTRAN["Nepal_Nagarkot_To_WGS_1984_1_EPSG",GEOGCS["GCS_Nepal_Nagarkot",DATUM["D_Nepal_Nagar
6373	Mexico_ITRF2008_To_WGS_1984_1	GEOGTRAN["Mexico_ITRF2008_To_WGS_1984_1",GEOGCS["GCS_Mexico_ITRF2008",DATUM["D_Mexico_ITRF200
6388	Ocotepeque_1935_To_NAD_1927_1	GEOGTRAN["Ocotepeque_1935_To_NAD_1927_1",GEOGCS["GCS_Ocotepeque_1935",DATUM["D_Ocotepeque_193
6701	GDBD2009_To_WGS_1984_1	GEOGTRAN["GDBD2009_To_WGS_1984_1",GEOGCS["GCS_GDBD2009",DATUM["D_GDBD2009",SPHEROID["GRS
6710	RDN2008_To_ETRS_1989_1	GEOGTRAN["RDN2008_To_ETRS_1989_1",GEOGCS["GCS_RDN2008",DATUM["D_Rete_Dinamica_Nazionale_2008
6711	RDN2008_To_WGS_1984_1	GEOGTRAN["RDN2008_To_WGS_1984_1",GEOGCS["GCS_RDN2008",DATUM["D_Rete_Dinamica_Nazionale_2008"
6872	Abidjan_1987_To_WGS_1984_2	GEOGTRAN["Abidjan_1987_To_WGS_1984_2",GEOGCS["GCS_Abidjan_1987",DATUM["D_Abidjan_1987",SPHEROID
6873	Tananarive_To_WGS_1984_2	GEOGTRAN["Tananarive_To_WGS_1984_2",GEOGCS["GCS_Tananarive_1925",DATUM["D_Tananarive_1925",SPHE
6874	Tananarive_Paris_To_WGS_1984_2	GEOGTRAN["Tananarive_Paris_To_WGS_1984_2",GEOGCS["GCS_Tananarive_1925_Paris",DATUM["D_Tananarive_
8094	NTF_Paris_To_WGS_1984	GEOGTRAN["NTF_Paris_To_WGS_1984",GEOGCS["GCS_NTF_Paris",DATUM["D_NTF",SPHEROID["Clarke_1880_I
8158	Voirol_Unifie_1960_To_WGS_1984	GEOGTRAN["Voirol_Unifie_1960_To_WGS_1984",GEOGCS["GCS_Voirol_Unifie_1960_Degree",DATUM["D_Voirol_Un
8171	Voirol_Unifie_1960_Paris_To_Voirol_Unifie_1960	GEOGTRAN["Voirol_Unifie_1960_Paris_To_Voirol_Unifie_1960",GEOGCS["GCS_Voirol_Unifie_1960_Paris",DATUM["D
8174	Bogota_Bogota_To_WGS_1984	GEOGTRAN["Bogota_Bogota_To_WGS_1984",GEOGCS["GCS_Bogota_Bogota",DATUM["D_Bogota",SPHEROID["Inte
8175	Monte_Mario_Rome_To_WGS_1984	GEOGTRAN["Monte_Mario_Rome_To_WGS_1984",GEOGCS["GCS_Monte_Mario_Rome",DATUM["D_Monte_Mario",S
8176	Tananarive_1925_Paris_To_WGS_1984	GEOGTRAN["Tananarive_1925_Paris_To_WGS_1984",GEOGCS["GCS_Tananarive_1925_Paris",DATUM["D_Tananari
8177	Voirol_Unifie_1960_Paris_To_WGS_1984	GEOGTRAN["Voirol_Unifie_1960_Paris_To_WGS_1984",GEOGCS["GCS_Voirol_Unifie_1960_Paris",DATUM["D_Voirol
8178	Batavia_Jakarta_To_WGS_1984	GEOGTRAN["Batavia_Jakarta_To_WGS_1984",GEOGCS["GCS_Batavia_Jakarta",DATUM["D_Batavia",SPHEROID["B
8186	NTF_Paris_To_ED_1950	GEOGTRAN["NTF_Paris_To_ED_1950",GEOGCS["GCS_NTF_Paris",DATUM["D_NTF",SPHEROID["Clarke_1880_IGN
8188	NTF_Paris_To_WGS_1972	GEOGTRAN["NTF_Paris_To_WGS_1972",GEOGCS["GCS_NTF_Paris",DATUM["D_NTF",SPHEROID["Clarke_1880_I
8211	Voirol_1875_Paris_To_WGS_1984	GEOGTRAN["Voirol_1875_Paris_To_WGS_1984",GEOGCS["GCS_Voirol_1875_Paris",DATUM["D_Voirol_1875",SPHE
8212	Naparima_1972_To_WGS_1984_2	GEOGTRAN["Naparima_1972_To_WGS_1984_2",GEOGCS["GCS_Naparima_1972",DATUM["D_Naparima_1972",SPH
8263	MGI_Ferro_To_WGS_1984	GEOGTRAN["MGI_Ferro_To_WGS_1984",GEOGCS["GCS_MGI_Ferro",DATUM["D_MGI",SPHEROID["Bessel_1841",6
8415	MGI_To_WGS_1984_2	GEOGTRAN["MGI_To_WGS_1984_2",GEOGCS["GCS_MGI",DATUM["D_MGI",SPHEROID["Bessel_1841",6377397.15
8517	Chos_Malal_1914_To_WGS_1984	GEOGTRAN["Chos_Malal_1914_To_WGS_1984",GEOGCS["GCS_Chos_Malal_1914",DATUM["D_Chos_Malal_1914",
8532	Indian_1960_To_WGS_1984_1	GEOGTRAN["Indian_1960_To_WGS_1984_1",GEOGCS["GCS_Indian_1960",DATUM["D_Indian_1960",SPHEROID["E
8562	Nord_Sahara_1959_To_WGS_1984_3	GEOGTRAN["Nord_Sahara_1959_To_WGS_1984_3",GEOGCS["GCS_Nord_Sahara_1959",DATUM["D_Nord_Sahara_
8650	Palestine_1923_To_WGS_1984_2	GEOGTRAN["Palestine_1923_To_WGS_1984_2",GEOGCS["GCS_Palestine_1923",DATUM["D_Palestine_1923",SPHE
10085	Trinidad_1903_To_WGS_1984_2	GEOGTRAN["Trinidad_1903_To_WGS_1984_2",GEOGCS["GCS_Trinidad_1903",DATUM["D_Trinidad_1903",SPHERO
10086	Jamaica_1969_To_WGS_1972_1	GEOGTRAN["Jamaica_1969_To_WGS_1972_1",GEOGCS["GCS_Jamaica_1969",DATUM["D_Jamaica_1969",SPHER
10089	Aratu_To_WGS_1984_5	GEOGTRAN["Aratu_To_WGS_1984_5",GEOGCS["GCS_Aratu",DATUM["D_Aratu",SPHEROID["International_1924",63
10090	Aratu_To_WGS_1984_6	GEOGTRAN["Aratu_To_WGS_1984_6",GEOGCS["GCS_Aratu",DATUM["D_Aratu",SPHEROID["International_1924",63
10091	Aratu_To_WGS_1984_7	GEOGTRAN["Aratu_To_WGS_1984_7",GEOGCS["GCS_Aratu",DATUM["D_Aratu",SPHEROID["International_1924",63

Copyright © 1995-2016 Esri. All rights reserved.

10092	Aratu_To_WGS_1984_8	GEOGTRAN["Aratu_To_WGS_1984_8",GEOGCS["GCS_Aratu",DATUM["D_Aratu",SPHEROID["International_1924",63
10093	Aratu_To_WGS_1984_9	GEOGTRAN["Aratu_To_WGS_1984_9",GEOGCS["GCS_Aratu",DATUM["D_Aratu",SPHEROID["International_1924",63
10098	KKJ_To_ETRS_1989_2	GEOGTRAN["KKJ_To_ETRS_1989_2",GEOGCS["GCS_KKJ",DATUM["D_KKJ",SPHEROID["International_1924",63783
10099	KKJ_To_WGS_1984_2_JHS153	GEOGTRAN["KKJ_To_WGS_1984_2_JHS153",GEOGCS["GCS_KKJ",DATUM["D_KKJ",SPHEROID["International_192
15483	Tokyo_To_JGD_2000_1	GEOGTRAN["Tokyo_To_JGD_2000_1",GEOGCS["GCS_Tokyo",DATUM["D_Tokyo",SPHEROID["Bessel_1841",637739
15484	Tokyo_To_WGS_1984_108	GEOGTRAN["Tokyo_To_WGS_1984_108",GEOGCS["GCS_Tokyo",DATUM["D_Tokyo",SPHEROID["Bessel_1841",6377
15485	SAD_1969_To_SIRGAS_2000_1	GEOGTRAN["SAD_1969_To_SIRGAS_2000_1",GEOGCS["GCS_South_American_1969",DATUM["D_South_American
15493	Minna_To_WGS_1984_15	GEOGTRAN["Minna_To_WGS_1984_15",GEOGCS["GCS_Minna",DATUM["D_Minna",SPHEROID["Clarke_1880_RGS"
15494	Kalianpur_1962_To_WGS_1984_6	GEOGTRAN["Kalianpur_1962_To_WGS_1984_6",GEOGCS["GCS_Kalianpur_1962",DATUM["D_Kalianpur_1962",SPH
15495	Accra_To_WGS_1984_3	GEOGTRAN["Accra_To_WGS_1984_3",GEOGCS["GCS_Accra",DATUM["D_Accra",SPHEROID["War_Office",6378300
15496	Pulkovo_1942_Adj_1958_To_WGS_1984_18	GEOGTRAN["Pulkovo_1942_Adj_1958_To_WGS_1984_18",GEOGCS["GCS_Pulkovo_1942_Adj_1958",DATUM["D_Pu
15497	Pulkovo_1942_Adj_1958_To_WGS_1984_9	GEOGTRAN["Pulkovo_1942_Adj_1958_To_WGS_1984_9",GEOGCS["GCS_Pulkovo_1942_Adj_1958",DATUM["D_Pul
15699	NAD_1927_To_WGS_1984_87	GEOGTRAN["NAD_1927_To_WGS_1984_87",GEOGCS["GCS_North_American_1927",DATUM["D_North_American_1
15701	Kalianpur_1962_To_WGS_1984_2	GEOGTRAN["Kalianpur_1962_To_WGS_1984_2",GEOGCS["GCS_Kalianpur_1962",DATUM["D_Kalianpur_1962",SPH
15702	Kalianpur_1962_To_WGS_1984_3	GEOGTRAN["Kalianpur_1962_To_WGS_1984_3",GEOGCS["GCS_Kalianpur_1962",DATUM["D_Kalianpur_1962",SPH
15703	Kalianpur_1962_To_WGS_1984_4	GEOGTRAN["Kalianpur_1962_To_WGS_1984_4",GEOGCS["GCS_Kalianpur_1962",DATUM["D_Kalianpur_1962",SPH
15704	Kalianpur_1962_To_WGS_1984_5	GEOGTRAN["Kalianpur_1962_To_WGS_1984_5",GEOGCS["GCS_Kalianpur_1962",DATUM["D_Kalianpur_1962",SPH
15705	Minna_To_WGS_1984_12	GEOGTRAN["Minna_To_WGS_1984_12",GEOGCS["GCS_Minna",DATUM["D_Minna",SPHEROID["Clarke_1880_RGS"
15706	Minna_To_WGS_1984_13	GEOGTRAN["Minna_To_WGS_1984_13",GEOGCS["GCS_Minna",DATUM["D_Minna",SPHEROID["Clarke_1880_RGS"
15707	ELD_1979_To_WGS_1984_6	GEOGTRAN["ELD_1979_To_WGS_1984_6",GEOGCS["GCS_European_Libyan_Datum_1979",DATUM["D_European_
15708	PRS_1992_To_WGS_1984_1	GEOGTRAN["PRS_1992_To_WGS_1984_1",GEOGCS["GCS_PRS_1992",DATUM["D_Philippine_Reference_System_
15709	Nouakchott_1965_To_WGS_1984_1	GEOGTRAN["Nouakchott_1965_To_WGS_1984_1",GEOGCS["GCS_Nouakchott_1965",DATUM["D_Nouakchott_1965"
15710	Aratu_To_WGS_1984_10	GEOGTRAN["Aratu_To_WGS_1984_10",GEOGCS["GCS_Aratu",DATUM["D_Aratu",SPHEROID["International_1924",6
15711	Aratu_To_WGS_1984_11	GEOGTRAN["Aratu_To_WGS_1984_11",GEOGCS["GCS_Aratu",DATUM["D_Aratu",SPHEROID["International_1924",6
15712	Aratu_To_WGS_1984_12	GEOGTRAN["Aratu_To_WGS_1984_12",GEOGCS["GCS_Aratu",DATUM["D_Aratu",SPHEROID["International_1924",6
15713	Gan_1970_To_WGS_1984_1	GEOGTRAN["Gan_1970_To_WGS_1984_1",GEOGCS["GCS_Gan_1970",DATUM["D_Gan_1970",SPHEROID["Internat
15714	Bogota_To_MAGNA_Region_1_CF	GEOGTRAN["Bogota_To_MAGNA_Region_1_CF",GEOGCS["GCS_Bogota",DATUM["D_Bogota",SPHEROID["Internati
15715	Bogota_To_WGS_1984_Region_1_CF	GEOGTRAN["Bogota_To_WGS_1984_Region_1_CF",GEOGCS["GCS_Bogota",DATUM["D_Bogota",SPHEROID["Inter
15716	Bogota_To_MAGNA_Region_2_CF	GEOGTRAN["Bogota_To_MAGNA_Region_2_CF",GEOGCS["GCS_Bogota",DATUM["D_Bogota",SPHEROID["Internati
15717	Bogota_To_WGS_1984_Region_2_CF	GEOGTRAN["Bogota_To_WGS_1984_Region_2_CF",GEOGCS["GCS_Bogota",DATUM["D_Bogota",SPHEROID["Inter
15718	Bogota_To_MAGNA_Region_3_CF	GEOGTRAN["Bogota_To_MAGNA_Region_3_CF",GEOGCS["GCS_Bogota",DATUM["D_Bogota",SPHEROID["Internati
15719	Bogota_To_WGS_1984_Region_3_CF	GEOGTRAN["Bogota_To_WGS_1984_Region_3_CF",GEOGCS["GCS_Bogota",DATUM["D_Bogota",SPHEROID["Inter
15720	Bogota_To_MAGNA_Region_4_CF	GEOGTRAN["Bogota_To_MAGNA_Region_4_CF",GEOGCS["GCS_Bogota",DATUM["D_Bogota",SPHEROID["Internati
15721	Bogota_To_WGS_1984_Region_4_CF	GEOGTRAN["Bogota_To_WGS_1984_Region_4_CF",GEOGCS["GCS_Bogota",DATUM["D_Bogota",SPHEROID["Inter
15722	Bogota_To_MAGNA_Region_5_CF	GEOGTRAN["Bogota_To_MAGNA_Region_5_CF",GEOGCS["GCS_Bogota",DATUM["D_Bogota",SPHEROID["Internati
15723	Bogota_To_WGS_1984_Region_5_CF	GEOGTRAN["Bogota_To_WGS_1984_Region_5_CF",GEOGCS["GCS_Bogota",DATUM["D_Bogota",SPHEROID["Inter
15724	Bogota_To_MAGNA_Region_6_CF	GEOGTRAN["Bogota_To_MAGNA_Region_6_CF",GEOGCS["GCS_Bogota",DATUM["D_Bogota",SPHEROID["Internati
15725	Bogota_To_WGS_1984_Region_6_CF	GEOGTRAN["Bogota_To_WGS_1984_Region_6_CF",GEOGCS["GCS_Bogota",DATUM["D_Bogota",SPHEROID["Inter
15726	Bogota_To_MAGNA_Region_7_CF	GEOGTRAN["Bogota_To_MAGNA_Region_7_CF",GEOGCS["GCS_Bogota",DATUM["D_Bogota",SPHEROID["Internati
15727	Bogota_To_WGS_1984_Region_7_CF	GEOGTRAN["Bogota_To_WGS_1984_Region_7_CF",GEOGCS["GCS_Bogota",DATUM["D_Bogota",SPHEROID["Inter
15728	Bogota_To_MAGNA_Region_8_CF	GEOGTRAN["Bogota_To_MAGNA_Region_8_CF",GEOGCS["GCS_Bogota",DATUM["D_Bogota",SPHEROID["Internati
15729	Bogota_To_WGS_1984_Region_8_CF	GEOGTRAN["Bogota_To_WGS_1984_Region_8_CF",GEOGCS["GCS_Bogota",DATUM["D_Bogota",SPHEROID["Inter
15730	Bogota_To_MAGNA_Region_1_MB	GEOGTRAN["Bogota_To_MAGNA_Region_1_MB",GEOGCS["GCS_Bogota",DATUM["D_Bogota",SPHEROID["Internat
15731	Bogota_To_MAGNA_Region_2_MB	GEOGTRAN["Bogota_To_MAGNA_Region_2_MB",GEOGCS["GCS_Bogota",DATUM["D_Bogota",SPHEROID["Internat
15732	Bogota_To_MAGNA_Region_3_MB	GEOGTRAN["Bogota_To_MAGNA_Region_3_MB",GEOGCS["GCS_Bogota",DATUM["D_Bogota",SPHEROID["Internat
15733	Bogota_To_MAGNA_Region_4_MB	GEOGTRAN["Bogota_To_MAGNA_Region_4_MB",GEOGCS["GCS_Bogota",DATUM["D_Bogota",SPHEROID["Internat
15734	Bogota_To_MAGNA_Region_5_MB	GEOGTRAN["Bogota_To_MAGNA_Region_5_MB",GEOGCS["GCS_Bogota",DATUM["D_Bogota",SPHEROID["Internat
15735	Bogota_To_MAGNA_Region_6_MB	GEOGTRAN["Bogota_To_MAGNA_Region_6_MB",GEOGCS["GCS_Bogota",DATUM["D_Bogota",SPHEROID["Internat
15736	Bogota_To_MAGNA_Region_7_MB	GEOGTRAN["Bogota_To_MAGNA_Region_7_MB",GEOGCS["GCS_Bogota",DATUM["D_Bogota",SPHEROID["Internat
15737	Bogota_To_MAGNA_Region_8_MB	GEOGTRAN["Bogota_To_MAGNA_Region_8_MB",GEOGCS["GCS_Bogota",DATUM["D_Bogota",SPHEROID["Internat
15738	MAGNA_To_WGS_1984_1	GEOGTRAN["MAGNA_To_WGS_1984_1",GEOGCS["GCS_MAGNA",DATUM["D_MAGNA",SPHEROID["GRS_1980",63
15739	Amersfoort_To_ETRS_1989_3	GEOGTRAN["Amersfoort_To_ETRS_1989_3",GEOGCS["GCS_Amersfoort",DATUM["D_Amersfoort",SPHEROID["Bess
15740	Amersfoort_To_ETRS_1989_4	GEOGTRAN["Amersfoort_To_ETRS_1989_4",GEOGCS["GCS_Amersfoort",DATUM["D_Amersfoort",SPHEROID["Bess
15741	Deir_ez_Zor_To_WGS_1984_2	GEOGTRAN["Deir_ez_Zor_To_WGS_1984_2",GEOGCS["GCS_Deir_ez_Zor",DATUM["D_Deir_ez_Zor",SPHEROID["C

Copyright © 1995-2016 Esri. All rights reserved.

15742	Deir_ez_Zor_To_WGS_1984_5	GEOGTRAN["Deir_ez_Zor_To_WGS_1984_5",GEOGCS["GCS_Deir_ez_Zor",DATUM["D_Deir_ez_Zor",SPHEROID["C
15743	Deir_ez_Zor_To_WGS_1984_6	GEOGTRAN["Deir_ez_Zor_To_WGS_1984_6",GEOGCS["GCS_Deir_ez_Zor",DATUM["D_Deir_ez_Zor",SPHEROID["C
15745	ED_1950_ED77_To_WGS_1984_6	GEOGTRAN["ED_1950_ED77_To_WGS_1984_6",GEOGCS["GCS_European_1950_ED77",DATUM["D_European_195
15746	Nakhl-e_Ghanem_To_WGS_1984_6	GEOGTRAN["Nakhl-e_Ghanem_To_WGS_1984_6",GEOGCS["GCS_Nakhl-e_Ghanem",DATUM["D_Nakhl-e_Ghanem"
15750	St_Kitts_1955_To_WGS_1984_2	GEOGTRAN["St_Kitts_1955_To_WGS_1984_2",GEOGCS["GCS_St_Kitts_1955",DATUM["D_St_Kitts_1955",SPHEROI
15751	Reunion_1947_To_WGS_1984_2	GEOGTRAN["Reunion_1947_To_WGS_1984_2",GEOGCS["GCS_Reunion_1947",DATUM["D_Reunion_1947",SPHER
15752	European_1979_To_WGS_1984	GEOGTRAN["European_1979_To_WGS_1984",GEOGCS["GCS_European_1979",DATUM["D_European_1979",SPHE
15754	Aratu_To_WGS_1984_1	GEOGTRAN["Aratu_To_WGS_1984_1",GEOGCS["GCS_Aratu",DATUM["D_Aratu",SPHEROID["International_1924",63
15755	Minna_To_WGS_1984_14	GEOGTRAN["Minna_To_WGS_1984_14",GEOGCS["GCS_Minna",DATUM["D_Minna",SPHEROID["Clarke_1880_RGS"
15756	Tahiti_1979_To_RGPF_1	GEOGTRAN["Tahiti_1979_To_RGPF_1",GEOGCS["GCS_Tahiti_1979",DATUM["D_Tahiti_1979",SPHEROID["Internatio
15757	Moorea_1987_To_RGPF_1	GEOGTRAN["Moorea_1987_To_RGPF_1",GEOGCS["GCS_Moorea_1987",DATUM["D_Moorea_1987",SPHEROID["Int
15758	Tahaa_1954_To_RGPF_1	GEOGTRAN["Tahaa_1954_To_RGPF_1",GEOGCS["GCS_Tahaa_1954",DATUM["D_Tahaa_1954",SPHEROID["Interna
15759	Maupiti_1983_To_RGPF_1	GEOGTRAN["Maupiti_1983_To_RGPF_1",GEOGCS["GCS_Maupiti_1983",DATUM["D_Maupiti_1983",SPHEROID["Inte
15760	Fatu_Iva_1972_To_RGPF_1	GEOGTRAN["Fatu_Iva_1972_To_RGPF_1",GEOGCS["GCS_Fatu_Iva_1972",DATUM["D_Fatu_Iva_1972",SPHEROID[
15761	IGN63_Hiva_Oa_To_RGPF_1	GEOGTRAN["IGN63_Hiva_Oa_To_RGPF_1",GEOGCS["GCS_IGN63_Hiva_Oa",DATUM["D_IGN63_Hiva_Oa",SPHER
15762	IGN63_Hiva_Oa_To_RGPF_2	GEOGTRAN["IGN63_Hiva_Oa_To_RGPF_2",GEOGCS["GCS_IGN63_Hiva_Oa",DATUM["D_IGN63_Hiva_Oa",SPHER
15763	IGN72_Nuku_Hiva_To_RGPF_1	GEOGTRAN["IGN72_Nuku_Hiva_To_RGPF_1",GEOGCS["GCS_IGN72_Nuku_Hiva",DATUM["D_IGN72_Nuku_Hiva",S
15764	IGN72_Nuku_Hiva_To_RGPF_2	GEOGTRAN["IGN72_Nuku_Hiva_To_RGPF_2",GEOGCS["GCS_IGN72_Nuku_Hiva",DATUM["D_IGN72_Nuku_Hiva",S
15765	IGN72_Nuku_Hiva_To_RGPF_3	GEOGTRAN["IGN72_Nuku_Hiva_To_RGPF_3",GEOGCS["GCS_IGN72_Nuku_Hiva",DATUM["D_IGN72_Nuku_Hiva",S
15769	Moorea_1987_To_WGS_1984_1	GEOGTRAN["Moorea_1987_To_WGS_1984_1",GEOGCS["GCS_Moorea_1987",DATUM["D_Moorea_1987",SPHEROI
15770	Tahaa_1954_To_WGS_1984_2	GEOGTRAN["Tahaa_1954_To_WGS_1984_2",GEOGCS["GCS_Tahaa_1954",DATUM["D_Tahaa_1954",SPHEROID["In
15771	Maupiti_1983_To_WGS_1984_1	GEOGTRAN["Maupiti_1983_To_WGS_1984_1",GEOGCS["GCS_Maupiti_1983",DATUM["D_Maupiti_1983",SPHEROID
15772	Fatu_Iva_1972_To_WGS_1984_1	GEOGTRAN["Fatu_Iva_1972_To_WGS_1984_1",GEOGCS["GCS_Fatu_Iva_1972",DATUM["D_Fatu_Iva_1972",SPHER
15773	IGN63_Hiva_Oa_To_WGS_1984_1	GEOGTRAN["IGN63_Hiva_Oa_To_WGS_1984_1",GEOGCS["GCS_IGN63_Hiva_Oa",DATUM["D_IGN63_Hiva_Oa",SP
15774	IGN63_Hiva_Oa_To_WGS_1984_2	GEOGTRAN["IGN63_Hiva_Oa_To_WGS_1984_2",GEOGCS["GCS_IGN63_Hiva_Oa",DATUM["D_IGN63_Hiva_Oa",SP
15775	IGN72_Nuku_Hiva_To_WGS_1984_2	GEOGTRAN["IGN72_Nuku_Hiva_To_WGS_1984_2",GEOGCS["GCS_IGN72_Nuku_Hiva",DATUM["D_IGN72_Nuku_H
15776	IGN72_Nuku_Hiva_To_WGS_1984_3	GEOGTRAN["IGN72_Nuku_Hiva_To_WGS_1984_3",GEOGCS["GCS_IGN72_Nuku_Hiva",DATUM["D_IGN72_Nuku_H
15777	IGN72_Nuku_Hiva_To_WGS_1984_4	GEOGTRAN["IGN72_Nuku_Hiva_To_WGS_1984_4",GEOGCS["GCS_IGN72_Nuku_Hiva",DATUM["D_IGN72_Nuku_H
15778	ELD_1979_To_WGS_1984_7	GEOGTRAN["ELD_1979_To_WGS_1984_7",GEOGCS["GCS_European_Libyan_Datum_1979",DATUM["D_European_
15779	Gulshan_303_To_WGS_1984_1	GEOGTRAN["Gulshan_303_To_WGS_1984_1",GEOGCS["GCS_Gulshan_303",DATUM["D_Gulshan_303",SPHEROID
15782	Campo_Inchauspe_To_POSGAR_1994_1	GEOGTRAN["Campo_Inchauspe_To_POSGAR_1994_1",GEOGCS["GCS_Campo_Inchauspe",DATUM["D_Campo_Inc
15783	IGN53_Mare_To_WGS_1984_2	GEOGTRAN["IGN53_Mare_To_WGS_1984_2",GEOGCS["GCS_IGN53_Mare",DATUM["D_IGN53_Mare",SPHEROID["
15784	Le_Pouce_1934_To_WGS_1984_1	GEOGTRAN["Le_Pouce_1934_To_WGS_1984_1",GEOGCS["GCS_Le_Pouce_1934",DATUM["D_Le_Pouce_1934",SP
15787	IGCB_1955_To_WGS_1984_1	GEOGTRAN["IGCB_1955_To_WGS_1984_1",GEOGCS["GCS_IGCB_1955",DATUM["D_Institut_Geographique_du_Co
15788	AGD_1966_To_WGS_1984_16	GEOGTRAN["AGD_1966_To_WGS_1984_16",GEOGCS["GCS_Australian_1966",DATUM["D_Australian_1966",SPHER
15789	AGD_1984_To_WGS_1984_8	GEOGTRAN["AGD_1984_To_WGS_1984_8",GEOGCS["GCS_Australian_1984",DATUM["D_Australian_1984",SPHER
15790	Mhast_offshore_To_WGS_1972_BE_1	GEOGTRAN["Mhast_offshore_To_WGS_1972_BE_1",GEOGCS["GCS_Mhast_Offshore",DATUM["D_Mhast_Offshore",
15791	Malongo_1987_To_WGS_1984_3	GEOGTRAN["Malongo_1987_To_WGS_1984_3",GEOGCS["GCS_Malongo_1987",DATUM["D_Malongo_1987",SPHER
15792	Egypt_Gulf_of_Suez_S-650_TL_To_WGS_1972_BE_1	GEOGTRAN["Egypt_Gulf_of_Suez_S-650_TL_To_WGS_1972_BE_1",GEOGCS["GCS_Egypt_Gulf_of_Suez_S-650_TL
15793	Barbados_1938_To_WGS_1984_1	GEOGTRAN["Barbados_1938_To_WGS_1984_1",GEOGCS["GCS_Barbados_1938",DATUM["D_Barbados_1938",SPH
15794	Anna_1_1965_To_WGS_1984	GEOGTRAN["Anna_1_1965_To_WGS_1984",GEOGCS["GCS_Anna_1_1965",DATUM["D_Anna_1_1965",SPHEROID[
15795	Tern_Island_1961_To_WGS_1984	GEOGTRAN["Tern_Island_1961_To_WGS_1984",GEOGCS["GCS_Tern_Island_1961",DATUM["D_Tern_Island_1961",S
15796	Beacon_E_1945_To_WGS_1984	GEOGTRAN["Beacon_E_1945_To_WGS_1984",GEOGCS["GCS_Beacon_E_1945",DATUM["D_Beacon_E_1945",SPH
15797	Ascension_Island_1958_To_WGS_1984	GEOGTRAN["Ascension_Island_1958_To_WGS_1984",GEOGCS["GCS_Ascension_Island_1958",DATUM["D_Ascensi
15798	DOS_71_4_To_WGS_1984	GEOGTRAN["DOS_71_4_To_WGS_1984",GEOGCS["GCS_DOS_71_4",DATUM["D_DOS_71_4",SPHEROID["Internati
15799	Astro_1952_To_WGS_1984	GEOGTRAN["Astro_1952_To_WGS_1984",GEOGCS["GCS_Astro_1952",DATUM["D_Astro_1952",SPHEROID["Interna
15800	Ayabelle_To_WGS_1984	GEOGTRAN["Ayabelle_To_WGS_1984",GEOGCS["GCS_Ayabelle",DATUM["D_Ayabelle",SPHEROID["Clarke_1880_R
15801	Bellevue_IGN_To_WGS_1984	GEOGTRAN["Bellevue_IGN_To_WGS_1984",GEOGCS["GCS_Bellevue_IGN",DATUM["D_Bellevue_IGN",SPHEROID["
15802	Camp_Area_To_WGS_1984	GEOGTRAN["Camp_Area_To_WGS_1984",GEOGCS["GCS_Camp_Area",DATUM["D_Camp_Area",SPHEROID["Interr
15803	Canton_1966_To_WGS_1984	GEOGTRAN["Canton_1966_To_WGS_1984",GEOGCS["GCS_Canton_1966",DATUM["D_Canton_1966",SPHEROID["I
15804	Cape_Canaveral_To_WGS_1984	GEOGTRAN["Cape_Canaveral_To_WGS_1984",GEOGCS["GCS_Cape_Canaveral",DATUM["D_Cape_Canaveral",SPH
15805	Solomon_1968_To_WGS_1984_1	GEOGTRAN["Solomon_1968_To_WGS_1984_1",GEOGCS["GCS_Solomon_1968",DATUM["D_Solomon_1968",SPHE
15806	Easter_Island_1967_To_WGS_1984	GEOGTRAN["Easter_Island_1967_To_WGS_1984",GEOGCS["GCS_Easter_Island_1967",DATUM["D_Easter_Island_1
15807	Solomon_1968_To_WGS_1984_2	GEOGTRAN["Solomon_1968_To_WGS_1984_2",GEOGCS["GCS_Solomon_1968",DATUM["D_Solomon_1968",SPHE

Copyright © 1995-2016 Esri. All rights reserved.

15808	ISTS_073_1969_To_WGS_1984	GEOGTRAN["ISTS_073_1969_To_WGS_1984",GEOGCS["GCS_ISTS_073_1969",DATUM["D_ISTS_073_1969",SPHE
15809	Johnston_Island_1961_To_WGS_1984	GEOGTRAN["Johnston_Island_1961_To_WGS_1984",GEOGCS["GCS_Johnston_Island_1961",DATUM["D_Johnston_
15810	Kusaie_1951_To_WGS_1984	GEOGTRAN["Kusaie_1951_To_WGS_1984",GEOGCS["GCS_Kusaie_1951",DATUM["D_Kusaie_1951",SPHEROID["In
15811	Antigua_1943_To_WGS_1984_NGA	GEOGTRAN["Antigua_1943_To_WGS_1984_NGA",GEOGCS["GCS_Antigua_1943",DATUM["D_Antigua_1943",SPHER
15812	Deception_Island_To_WGS_1984	GEOGTRAN["Deception_Island_To_WGS_1984",GEOGCS["GCS_Deception_Island",DATUM["D_Deception_Island",SP
15813	ISTS_061_1968_To_WGS_1984	GEOGTRAN["ISTS_061_1968_To_WGS_1984",GEOGCS["GCS_ISTS_061_1968",DATUM["D_ISTS_061_1968",SPHE
15814	Little_Cayman_1961_To_WGS_1984_1	GEOGTRAN["Little_Cayman_1961_To_WGS_1984_1",GEOGCS["GCS_Little_Cayman_1961",DATUM["D_Little_Caym
15815	Pico_de_Las_Nieves_To_WGS_1984	GEOGTRAN["Pico_de_Las_Nieves_To_WGS_1984",GEOGCS["GCS_Pico_de_Las_Nieves",DATUM["D_Pico_de_Las_
15816	Tristan_1968_To_WGS_1984	GEOGTRAN["Tristan_1968_To_WGS_1984",GEOGCS["GCS_Tristan_1968",DATUM["D_Tristan_1968",SPHEROID["In
15817	Midway_1961_To_WGS_1984_Old	GEOGTRAN["Midway_1961_To_WGS_1984_Old",GEOGCS["GCS_Midway_1961",DATUM["D_Midway_1961",SPHER
15818	Midway_1961_To_WGS_1984	GEOGTRAN["Midway_1961_To_WGS_1984",GEOGCS["GCS_Midway_1961",DATUM["D_Midway_1961",SPHEROID["
15819	Pitcairn_1967_To_WGS_1984	GEOGTRAN["Pitcairn_1967_To_WGS_1984",GEOGCS["GCS_Pitcairn_1967",DATUM["D_Pitcairn_1967",SPHEROID["
15820	Santo_DOS_1965_To_WGS_1984	GEOGTRAN["Santo_DOS_1965_To_WGS_1984",GEOGCS["GCS_Santo_DOS_1965",DATUM["D_Santo_DOS_1965",
15821	Viti_Levu_1916_To_WGS_1984	GEOGTRAN["Viti_Levu_1916_To_WGS_1984",GEOGCS["GCS_Viti_Levu_1916",DATUM["D_Viti_Levu_1916",SPHER
15822	Wake_Eniwetok_1960_To_WGS_1984	GEOGTRAN["Wake_Eniwetok_1960_To_WGS_1984",GEOGCS["GCS_Wake_Eniwetok_1960",DATUM["D_Wake_Eniw
15823	Wake_Island_1952_To_WGS_1984	GEOGTRAN["Wake_Island_1952_To_WGS_1984",GEOGCS["GCS_Wake_Island_1952",DATUM["D_Wake_Island_195
15824	Old_Hawaiian_To_WGS_1984_1	GEOGTRAN["Old_Hawaiian_To_WGS_1984_1",GEOGCS["GCS_Old_Hawaiian",DATUM["D_Old_Hawaiian",SPHEROI
15825	Old_Hawaiian_To_WGS_1984_2	GEOGTRAN["Old_Hawaiian_To_WGS_1984_2",GEOGCS["GCS_Old_Hawaiian",DATUM["D_Old_Hawaiian",SPHEROI
15826	Old_Hawaiian_To_WGS_1984_3	GEOGTRAN["Old_Hawaiian_To_WGS_1984_3",GEOGCS["GCS_Old_Hawaiian",DATUM["D_Old_Hawaiian",SPHEROI
15827	Old_Hawaiian_To_WGS_1984_4	GEOGTRAN["Old_Hawaiian_To_WGS_1984_4",GEOGCS["GCS_Old_Hawaiian",DATUM["D_Old_Hawaiian",SPHEROI
15828	Old_Hawaiian_To_WGS_1984_5	GEOGTRAN["Old_Hawaiian_To_WGS_1984_5",GEOGCS["GCS_Old_Hawaiian",DATUM["D_Old_Hawaiian",SPHEROI
15829	Little_Cayman_1961_To_WGS_1984_2	GEOGTRAN["Little_Cayman_1961_To_WGS_1984_2",GEOGCS["GCS_Little_Cayman_1961",DATUM["D_Little_Caym
15830	Grand_Cayman_1959_To_WGS_1984_1	GEOGTRAN["Grand_Cayman_1959_To_WGS_1984_1",GEOGCS["GCS_Grand_Cayman_1959",DATUM["D_Grand_C
15831	Korea_2000_To_WGS_1984_1	GEOGTRAN["Korea_2000_To_WGS_1984_1",GEOGCS["GCS_Korea_2000",DATUM["D_Korea_2000",SPHEROID["G
15832	RGPF_To_WGS_1984_1	GEOGTRAN["RGPF_To_WGS_1984_1",GEOGCS["GCS_RGPF",DATUM["D_Reseau_Geodesique_de_la_Polynesie_F
15833	RGPF_To_WGS_1984_2	GEOGTRAN["RGPF_To_WGS_1984_2",GEOGCS["GCS_RGPF",DATUM["D_Reseau_Geodesique_de_la_Polynesie_F
15842	Hong_Kong_1963_67_To_WGS_1984	GEOGTRAN["Hong_Kong_1963_67_To_WGS_1984",GEOGCS["GCS_Hong_Kong_1963_67",DATUM["D_Hong_Kong_
15843	PZ_1990_To_WGS_1984_1	GEOGTRAN["PZ_1990_To_WGS_1984_1",GEOGCS["GCS_PZ_1990",DATUM["D_Parametrop_Zemp_1990",SPHERO
15844	Pulkovo_1942_To_PZ_1990_1	GEOGTRAN["Pulkovo_1942_To_PZ_1990_1",GEOGCS["GCS_Pulkovo_1942",DATUM["D_Pulkovo_1942",SPHEROID
15845	Pampa_del_Castillo_To_WGS_1984_1	GEOGTRAN["Pampa_del_Castillo_To_WGS_1984_1",GEOGCS["GCS_Pampa_del_Castillo",DATUM["D_Pampa_del_C
15846	Egypt_Gulf_of_Suez_S-650_TL_To_WGS_1984_2	GEOGTRAN["Egypt_Gulf_of_Suez_S-650_TL_To_WGS_1984_2",GEOGCS["GCS_Egypt_Gulf_of_Suez_S-650_TL",DA
15847	MOP78_To_WGS_1984_2	GEOGTRAN["MOP78_To_WGS_1984_2",GEOGCS["GCS_MOP78",DATUM["D_MOP78",SPHEROID["International_19
15848	ST84_Ile_des_Pins_To_WGS_1984_2	GEOGTRAN["ST84_Ile_des_Pins_To_WGS_1984_2",GEOGCS["GCS_ST84_Ile_des_Pins",DATUM["D_ST84_Ile_des_
15849	Beduaram_To_WGS_1984_2	GEOGTRAN["Beduaram_To_WGS_1984_2",GEOGCS["GCS_Beduaram",DATUM["D_Beduaram",SPHEROID["Clarke_
15850	Kerguelen_Island_1949_To_WGS_1984_1	GEOGTRAN["Kerguelen_Island_1949_To_WGS_1984_1",GEOGCS["GCS_Kerguelen_Island_1949",DATUM["D_Kergu
15852	NAD_1927_To_WGS_1984_80	GEOGTRAN["NAD_1927_To_WGS_1984_80",GEOGCS["GCS_North_American_1927",DATUM["D_North_American_1
15853	NAD_1927_To_WGS_1984_81	GEOGTRAN["NAD_1927_To_WGS_1984_81",GEOGCS["GCS_North_American_1927",DATUM["D_North_American_1
15854	NAD_1927_To_WGS_1984_82	GEOGTRAN["NAD_1927_To_WGS_1984_82",GEOGCS["GCS_North_American_1927",DATUM["D_North_American_1
15855	NAD_1927_To_WGS_1984_83	GEOGTRAN["NAD_1927_To_WGS_1984_83",GEOGCS["GCS_North_American_1927",DATUM["D_North_American_1
15856	NAD_1927_To_WGS_1984_84	GEOGTRAN["NAD_1927_To_WGS_1984_84",GEOGCS["GCS_North_American_1927",DATUM["D_North_American_1
15860	Mauritania_1999_To_WGS_1984_1	GEOGTRAN["Mauritania_1999_To_WGS_1984_1",GEOGCS["GCS_Mauritania_1999",DATUM["D_Mauritania_1999",S
15865	Pulkovo_1942_To_WGS_1984_16	GEOGTRAN["Pulkovo_1942_To_WGS_1984_16",GEOGCS["GCS_Pulkovo_1942",DATUM["D_Pulkovo_1942",SPHER
15866	FD_1954_To_ED_1950_1	GEOGTRAN["FD_1954_To_ED_1950_1",GEOGCS["GCS_FD_1954",DATUM["D_Faroe_Datum_1954",SPHEROID["Int
15867	PD/83_To_ETRS_1989_1	GEOGTRAN["PD/83_To_ETRS_1989_1",GEOGCS["GCS_PD/83",DATUM["D_Potsdam_1983",SPHEROID["Bessel_18
15868	RD/83_To_ETRS_1989_1	GEOGTRAN["RD/83_To_ETRS_1989_1",GEOGCS["GCS_RD/83",DATUM["D_Rauenberg_1983",SPHEROID["Bessel_
15869	DHDN_To_WGS_1984_3	GEOGTRAN["DHDN_To_WGS_1984_3",GEOGCS["GCS_Deutsches_Hauptdreiecksnetz",DATUM["D_Deutsches_Hau
15870	Jouik_1961_To_WGS_1984_1	GEOGTRAN["Jouik_1961_To_WGS_1984_1",GEOGCS["GCS_Jouik_1961",DATUM["D_Jouik_1961",SPHEROID["Clar
15871	Nahrwan_1967_To_WGS_1984_6	GEOGTRAN["Nahrwan_1967_To_WGS_1984_6",GEOGCS["GCS_Nahrwan_1967",DATUM["D_Nahrwan_1967",SPHE
15872	Karbala_1979_Polservice_To_WGS_1984_1	GEOGTRAN["Karbala_1979_Polservice_To_WGS_1984_1",GEOGCS["GCS_Karbala_1979_Polservice",DATUM["D_Ka
15873	Douala_1948_To_WGS_1984_1	GEOGTRAN["Douala_1948_To_WGS_1984_1",GEOGCS["GCS_Douala_1948",DATUM["D_Douala_1948",SPHEROID
15874	Nord_Sahara_1959_To_WGS_1984_7	GEOGTRAN["Nord_Sahara_1959_To_WGS_1984_7",GEOGCS["GCS_Nord_Sahara_1959",DATUM["D_Nord_Sahara_
15875	Fiji_1956_To_WGS_1984_1	GEOGTRAN["Fiji_1956_To_WGS_1984_1",GEOGCS["GCS_Fiji_1956",DATUM["D_Fiji_1956",SPHEROID["Internationa
15876	Fiji_1986_To_WGS_1984_1	GEOGTRAN["Fiji_1986_To_WGS_1984_1",GEOGCS["GCS_Fiji_1986",DATUM["D_Fiji_1986",SPHEROID["WGS_1972
15877	Fiji_1986_To_WGS_1984_2	GEOGTRAN["Fiji_1986_To_WGS_1984_2",GEOGCS["GCS_Fiji_1986",DATUM["D_Fiji_1986",SPHEROID["WGS_1972

Copyright © 1995-2016 Esri. All rights reserved.

15878	Vanua_Levu_1915_To_WGS_1984_1	GEOGTRAN["Vanua_Levu_1915_To_WGS_1984_1",GEOGCS["GCS_Vanua_Levu_1915",DATUM["D_Vanua_Levu_19
15879	Greenland_1996_To_WGS_1984_1	GEOGTRAN["Greenland_1996_To_WGS_1984_1",GEOGCS["GCS_Greenland_1996",DATUM["D_Greenland_1996",S
15880	RGNC_1991-93_To_WGS_1984_1	GEOGTRAN["RGNC_1991-93_To_WGS_1984_1",GEOGCS["GCS_RGNC_1991-93",DATUM["D_Reseau_Geodesique
15881	ST87_Ouvea_To_WGS_1984_2	GEOGTRAN["ST87_Ouvea_To_WGS_1984_2",GEOGCS["GCS_ST87_Ouvea",DATUM["D_ST87_Ouvea",SPHEROID[
15882	IGN72_Grande_Terre_To_RGNC_1991-93_1	GEOGTRAN["IGN72_Grande_Terre_To_RGNC_1991-93_1",GEOGCS["GCS_IGN72_Grande_Terre",DATUM["D_IGN7
15883	IGN56_Lifou_To_RGNC_1991-93_1	GEOGTRAN["IGN56_Lifou_To_RGNC_1991-93_1",GEOGCS["GCS_IGN56_Lifou",DATUM["D_IGN56_Lifou",SPHERO
15884	IGN53_Mare_To_RGNC_1991-93_1	GEOGTRAN["IGN53_Mare_To_RGNC_1991-93_1",GEOGCS["GCS_IGN53_Mare",DATUM["D_IGN53_Mare",SPHERO
15885	ST87_Ouvea_To_RGNC_1991-93_1	GEOGTRAN["ST87_Ouvea_To_RGNC_1991-93_1",GEOGCS["GCS_ST87_Ouvea",DATUM["D_ST87_Ouvea",SPHER
15886	NEA74_Noumea_To_RGNC_1991-93_1	GEOGTRAN["NEA74_Noumea_To_RGNC_1991-93_1",GEOGCS["GCS_NEA74_Noumea",DATUM["D_NEA74_Noume
15887	IGN72_Grande_Terre_To_RGNC_1991-93_2	GEOGTRAN["IGN72_Grande_Terre_To_RGNC_1991-93_2",GEOGCS["GCS_IGN72_Grande_Terre",DATUM["D_IGN7
15888	IGN72_Grande_Terre_To_RGNC_1991-93_3	GEOGTRAN["IGN72_Grande_Terre_To_RGNC_1991-93_3",GEOGCS["GCS_IGN72_Grande_Terre",DATUM["D_IGN7
15889	NEA74_Noumea_To_RGNC_1991-93_2	GEOGTRAN["NEA74_Noumea_To_RGNC_1991-93_2",GEOGCS["GCS_NEA74_Noumea",DATUM["D_NEA74_Noume
15890	IGN56_Lifou_To_RGNC_1991-93_2	GEOGTRAN["IGN56_Lifou_To_RGNC_1991-93_2",GEOGCS["GCS_IGN56_Lifou",DATUM["D_IGN56_Lifou",SPHERO
15891	IGN53_Mare_To_RGNC_1991-93_2	GEOGTRAN["IGN53_Mare_To_RGNC_1991-93_2",GEOGCS["GCS_IGN53_Mare",DATUM["D_IGN53_Mare",SPHERO
15892	ST87_Ouvea_To_RGNC_1991-93_2	GEOGTRAN["ST87_Ouvea_To_RGNC_1991-93_2",GEOGCS["GCS_ST87_Ouvea",DATUM["D_ST87_Ouvea",SPHER
15893	ST84_Ile_des_Pins_To_RGNC_1991-93_1	GEOGTRAN["ST84_Ile_des_Pins_To_RGNC_1991-93_1",GEOGCS["GCS_ST84_Ile_des_Pins",DATUM["D_ST84_Ile_
15894	SIRGAS_2000_To_WGS_1984_1	GEOGTRAN["SIRGAS_2000_To_WGS_1984_1",GEOGCS["GCS_SIRGAS_2000",DATUM["D_SIRGAS_2000",SPHER
15896	Kertau_RSO_To_Kertau_1	GEOGTRAN["Kertau_RSO_To_Kertau_1",GEOGCS["GCS_Kertau_RSO",DATUM["D_Kertau_RSO",SPHEROID["Evere
15897	Viti_Levu_1912_To_WGS_1984_1	GEOGTRAN["Viti_Levu_1912_To_WGS_1984_1",GEOGCS["GCS_Viti_Levu_1912",DATUM["D_Viti_Levu_1912",SPHE
15899	Scoresbysund_1952_To_Greenland_1996_1	GEOGTRAN["Scoresbysund_1952_To_Greenland_1996_1",GEOGCS["GCS_Scoresbysund_1952",DATUM["D_Scoresl
15900	Ammassalik_1958_To_Greenland_1996_1	GEOGTRAN["Ammassalik_1958_To_Greenland_1996_1",GEOGCS["GCS_Ammassalik_1958",DATUM["D_Ammassalik
15901	IGN53_Mare_To_WGS_1984_3	GEOGTRAN["IGN53_Mare_To_WGS_1984_3",GEOGCS["GCS_IGN53_Mare",DATUM["D_IGN53_Mare",SPHEROID["
15902	IGN56_Lifou_To_WGS_1984_3	GEOGTRAN["IGN56_Lifou_To_WGS_1984_3",GEOGCS["GCS_IGN56_Lifou",DATUM["D_IGN56_Lifou",SPHEROID["I
15903	IGN72_Grande_Terre_To_WGS_1984_3	GEOGTRAN["IGN72_Grande_Terre_To_WGS_1984_3",GEOGCS["GCS_IGN72_Grande_Terre",DATUM["D_IGN72_Gr
15904	NEA74_Noumea_To_WGS_1984_2	GEOGTRAN["NEA74_Noumea_To_WGS_1984_2",GEOGCS["GCS_NEA74_Noumea",DATUM["D_NEA74_Noumea",S
15908	LGD2006_To_WGS_1984_1	GEOGTRAN["LGD2006_To_WGS_1984_1",GEOGCS["GCS_LGD2006",DATUM["D_Libyan_Geodetic_Datum_2006",S
15909	ELD_1979_To_WGS_1984_8	GEOGTRAN["ELD_1979_To_WGS_1984_8",GEOGCS["GCS_European_Libyan_Datum_1979",DATUM["D_European_
15911	Indonesian_1974_To_DGN_1995_1	GEOGTRAN["Indonesian_1974_To_DGN_1995_1",GEOGCS["GCS_Indonesian_1974",DATUM["D_Indonesian_1974",S
15912	DGN_1995_To_WGS_1984_1	GEOGTRAN["DGN_1995_To_WGS_1984_1",GEOGCS["GCS_DGN_1995",DATUM["D_Datum_Geodesi_Nasional_199
15913	NAD_1927_To_WGS_1984_86	GEOGTRAN["NAD_1927_To_WGS_1984_86",GEOGCS["GCS_North_American_1927",DATUM["D_North_American_1
15918	Beijing_1954_To_WGS_1984_1	GEOGTRAN["Beijing_1954_To_WGS_1984_1",GEOGCS["GCS_Beijing_1954",DATUM["D_Beijing_1954",SPHEROID["
15919	Beijing_1954_To_WGS_1984_2	GEOGTRAN["Beijing_1954_To_WGS_1984_2",GEOGCS["GCS_Beijing_1954",DATUM["D_Beijing_1954",SPHEROID["
15920	Beijing_1954_To_WGS_1984_3	GEOGTRAN["Beijing_1954_To_WGS_1984_3",GEOGCS["GCS_Beijing_1954",DATUM["D_Beijing_1954",SPHEROID["
15921	Beijing_1954_To_WGS_1984_4	GEOGTRAN["Beijing_1954_To_WGS_1984_4",GEOGCS["GCS_Beijing_1954",DATUM["D_Beijing_1954",SPHEROID["
15923	ELD_1979_To_WGS_1984_9	GEOGTRAN["ELD_1979_To_WGS_1984_9",GEOGCS["GCS_European_Libyan_Datum_1979",DATUM["D_European_
15924	ELD_1979_To_LGD2006_1	GEOGTRAN["ELD_1979_To_LGD2006_1",GEOGCS["GCS_European_Libyan_Datum_1979",DATUM["D_European_Li
15925	JAD_2001_To_WGS_1984	GEOGTRAN["JAD_2001_To_WGS_1984",GEOGCS["GCS_JAD_2001",DATUM["D_Jamaica_2001",SPHEROID["WGS_
15926	Jamaica_1969_To_JAD_2001_1	GEOGTRAN["Jamaica_1969_To_JAD_2001_1",GEOGCS["GCS_Jamaica_1969",DATUM["D_Jamaica_1969",SPHERO
15927	Jamaica_1969_To_WGS_1984_3	GEOGTRAN["Jamaica_1969_To_WGS_1984_3",GEOGCS["GCS_Jamaica_1969",DATUM["D_Jamaica_1969",SPHER
15928	Belge_1972_To_ETRS_1989_2	GEOGTRAN["Belge_1972_To_ETRS_1989_2",GEOGCS["GCS_Belge_1972",DATUM["D_Belge_1972",SPHEROID["Int
15929	Belge_1972_To_WGS_1984_3	GEOGTRAN["Belge_1972_To_WGS_1984_3",GEOGCS["GCS_Belge_1972",DATUM["D_Belge_1972",SPHEROID["Int
15931	NAD_1983_NSRS2007_To_WGS_1984_1	GEOGTRAN["NAD_1983_NSRS2007_To_WGS_1984_1",GEOGCS["GCS_NAD_1983_NSRS2007",DATUM["D_NAD_
15934	Amersfoort_To_WGS_1984_3	GEOGTRAN["Amersfoort_To_WGS_1984_3",GEOGCS["GCS_Amersfoort",DATUM["D_Amersfoort",SPHEROID["Besse
15935	Beijing_1954_To_WGS_1984_5	GEOGTRAN["Beijing_1954_To_WGS_1984_5",GEOGCS["GCS_Beijing_1954",DATUM["D_Beijing_1954",SPHEROID["
15936	Beijing_1954_To_WGS_1984_6	GEOGTRAN["Beijing_1954_To_WGS_1984_6",GEOGCS["GCS_Beijing_1954",DATUM["D_Beijing_1954",SPHEROID["
15937	Nahrwan_1967_To_WGS_1984_7	GEOGTRAN["Nahrwan_1967_To_WGS_1984_7",GEOGCS["GCS_Nahrwan_1967",DATUM["D_Nahrwan_1967",SPHE
15938	Nahrwan_1967_To_WGS_1984_8	GEOGTRAN["Nahrwan_1967_To_WGS_1984_8",GEOGCS["GCS_Nahrwan_1967",DATUM["D_Nahrwan_1967",SPHE
15952	Nahrwan_1967_To_WGS_1984_9	GEOGTRAN["Nahrwan_1967_To_WGS_1984_9",GEOGCS["GCS_Nahrwan_1967",DATUM["D_Nahrwan_1967",SPHE
15953	Nahrwan_1967_To_WGS_1984_10	GEOGTRAN["Nahrwan_1967_To_WGS_1984_10",GEOGCS["GCS_Nahrwan_1967",DATUM["D_Nahrwan_1967",SPH
15957	Qornoq_1927_To_Greenland_1996_1	GEOGTRAN["Qornoq_1927_To_Greenland_1996_1",GEOGCS["GCS_Qornoq_1927",DATUM["D_Qornoq_1927",SPHE
15963	Yacare_To_SIRGAS_1	GEOGTRAN["Yacare_To_SIRGAS_1",GEOGCS["GCS_Yacare",DATUM["D_Yacare",SPHEROID["International_1924",6
15964	ED_1950_To_WGS_1984_42	GEOGTRAN["ED_1950_To_WGS_1984_42",GEOGCS["GCS_European_1950",DATUM["D_European_1950",SPHERO
15965	S_JTSK_To_WGS_1984_NGA	GEOGTRAN["S_JTSK_To_WGS_1984_NGA",GEOGCS["GCS_S_JTSK",DATUM["D_S_JTSK",SPHEROID["Bessel_18
15966	HTRS96_To_ETRS_1989_1	GEOGTRAN["HTRS96_To_ETRS_1989_1",GEOGCS["GCS_HTRS96",DATUM["D_Croatian_Terrestrial_Reference_Sys

Copyright © 1995-2016 Esri. All rights reserved.

15967	HTRS96_To_WGS_1984_1	GEOGTRAN["HTRS96_To_WGS_1984_1",GEOGCS["GCS_HTRS96",DATUM["D_Croatian_Terrestrial_Reference_Sys
15969	Bermuda_1957_To_Bermuda_2000_1	GEOGTRAN["Bermuda_1957_To_Bermuda_2000_1",GEOGCS["GCS_Bermuda_1957",DATUM["D_Bermuda_1957",SF
15970	Bermuda_1957_To_WGS_1984_2	GEOGTRAN["Bermuda_1957_To_WGS_1984_2",GEOGCS["GCS_Bermuda_1957",DATUM["D_Bermuda_1957",SPHE
15971	Bermuda_2000_To_WGS_1984_1	GEOGTRAN["Bermuda_2000_To_WGS_1984_1",GEOGCS["GCS_Bermuda_2000",DATUM["D_Bermuda_2000",SPHE
15972	Pitcairn_2006_To_WGS_1984_1	GEOGTRAN["Pitcairn_2006_To_WGS_1984_1",GEOGCS["GCS_Pitcairn_2006",DATUM["D_Pitcairn_2006",SPHEROID
15974	RSRGD2000_To_WGS_1984_1	GEOGTRAN["RSRGD2000_To_WGS_1984_1",GEOGCS["GCS_RSRGD2000",DATUM["D_Ross_Sea_Region_Geodet
15975	NZGD_1949_To_WGS_1984_4	GEOGTRAN["NZGD_1949_To_WGS_1984_4",GEOGCS["GCS_New_Zealand_1949",DATUM["D_New_Zealand_1949"
15976	Slovenia_1996_To_WGS_1984_1	GEOGTRAN["Slovenia_1996_To_WGS_1984_1",GEOGCS["GCS_Slovenia_1996",DATUM["D_Slovenia_Geodetic_Dat
15977	Slovenia_1996_To_ETRS_1989_1	GEOGTRAN["Slovenia_1996_To_ETRS_1989_1",GEOGCS["GCS_Slovenia_1996",DATUM["D_Slovenia_Geodetic_Da
15978	NAD_1927_To_WGS_1984_88	GEOGTRAN["NAD_1927_To_WGS_1984_88",GEOGCS["GCS_North_American_1927",DATUM["D_North_American_1
15979	AGD_1966_To_GDA_1994_12	GEOGTRAN["AGD_1966_To_GDA_1994_12",GEOGCS["GCS_Australian_1966",DATUM["D_Australian_1966",SPHER
15980	AGD_1966_To_WGS_1984_18	GEOGTRAN["AGD_1966_To_WGS_1984_18",GEOGCS["GCS_Australian_1966",DATUM["D_Australian_1966",SPHEF
15993	Pulkovo_1942_Adj_1958_To_ETRS_1989_3	GEOGTRAN["Pulkovo_1942_Adj_1958_To_ETRS_1989_3",GEOGCS["GCS_Pulkovo_1942_Adj_1958",DATUM["D_Pu
15994	Pulkovo_1942_Adj_1958_To_ETRS_1989_4	GEOGTRAN["Pulkovo_1942_Adj_1958_To_ETRS_1989_4",GEOGCS["GCS_Pulkovo_1942_Adj_1958",DATUM["D_Pu
15995	Pulkovo_1942_Adj_1958_To_WGS_1984_19	GEOGTRAN["Pulkovo_1942_Adj_1958_To_WGS_1984_19",GEOGCS["GCS_Pulkovo_1942_Adj_1958",DATUM["D_Pu
15996	Pulkovo_1942_Adj_1983_To_WGS_1984_3	GEOGTRAN["Pulkovo_1942_Adj_1983_To_WGS_1984_3",GEOGCS["GCS_Pulkovo_1942_Adj_1983",DATUM["D_Pul
15997	Pulkovo_1942_Adj_1958_To_WGS_1984_4	GEOGTRAN["Pulkovo_1942_Adj_1958_To_WGS_1984_4",GEOGCS["GCS_Pulkovo_1942_Adj_1958",DATUM["D_Pul
15998	Pulkovo_1942_Adj_1983_To_WGS_1984_5	GEOGTRAN["Pulkovo_1942_Adj_1983_To_WGS_1984_5",GEOGCS["GCS_Pulkovo_1942_Adj_1983",DATUM["D_Pul
15999	Pulkovo_1942_Adj_1958_To_WGS_1984_8	GEOGTRAN["Pulkovo_1942_Adj_1958_To_WGS_1984_8",GEOGCS["GCS_Pulkovo_1942_Adj_1958",DATUM["D_Pul
108013	CR05_To_Ocotepeque_1935_MB	GEOGTRAN["CR05_To_Ocotepeque_1935_MB",GEOGCS["GCS_CR05",DATUM["D_Costa_Rica_2005",SPHEROID["V
108014	WGS_1984_To_Ocotepeque_1935_MB	GEOGTRAN["WGS_1984_To_Ocotepeque_1935_MB",GEOGCS["GCS_WGS_1984",DATUM["D_WGS_1984",SPHER
108015	Nepal_Nagarkot_TO_WGS_1984_1	GEOGTRAN["Nepal_Nagarkot_TO_WGS_1984_1",GEOGCS["GCS_Nepal_Nagarkot",DATUM["D_Nepal_Nagarkot",SF
108016	Nepal_Nagarkot_TO_WGS_1984_2	GEOGTRAN["Nepal_Nagarkot_TO_WGS_1984_2",GEOGCS["GCS_Nepal_Nagarkot",DATUM["D_Nepal_Nagarkot",SF
108017	NAD_1983_HARN_PACP00_To_WGS_1984	GEOGTRAN["NAD_1983_HARN_PACP00_To_WGS_1984",GEOGCS["GCS_NAD_1983_PACP00",DATUM["D_NAD_1
108018	NAD_1983_HARN_MARP00_To_WGS_1984	GEOGTRAN["NAD_1983_HARN_MARP00_To_WGS_1984",GEOGCS["GCS_NAD_1983_MARP00",DATUM["D_NAD_
108019	ITRF_2005_To_ITRF_2008_1	GEOGTRAN["ITRF_2005_To_ITRF_2008_1",GEOGCS["GCS_ITRF_2005",DATUM["D_ITRF_2005",SPHEROID["GRS_
108021	WGS_1984_To_Israel_CoordFrame	GEOGTRAN["WGS_1984_To_Israel_CoordFrame",GEOGCS["GCS_WGS_1984",DATUM["D_WGS_1984",SPHEROID
108022	NTF_Paris_RGF_To_NTF_2	GEOGTRAN["NTF_Paris_RGF_To_NTF_2",GEOGCS["GCS_NTF_Paris",DATUM["D_NTF",SPHEROID["Clarke_1880_
108026	ITRF_1997_To_ITRF_2000_1	GEOGTRAN["ITRF_1997_To_ITRF_2000_1",GEOGCS["GCS_ITRF_1997",DATUM["D_ITRF_1997",SPHEROID["GRS_
108027	ITRF_1996_To_ITRF_2000_1	GEOGTRAN["ITRF_1996_To_ITRF_2000_1",GEOGCS["GCS_ITRF_1996",DATUM["D_ITRF_1996",SPHEROID["GRS_
108028	ITRF_1994_To_ITRF_2000_1	GEOGTRAN["ITRF_1994_To_ITRF_2000_1",GEOGCS["GCS_ITRF_1994",DATUM["D_ITRF_1994",SPHEROID["GRS_
108029	ITRF_1993_To_ITRF_2000_1	GEOGTRAN["ITRF_1993_To_ITRF_2000_1",GEOGCS["GCS_ITRF_1993",DATUM["D_ITRF_1993",SPHEROID["GRS_
108030	ITRF_1992_To_ITRF_2000_1	GEOGTRAN["ITRF_1992_To_ITRF_2000_1",GEOGCS["GCS_ITRF_1992",DATUM["D_ITRF_1992",SPHEROID["GRS_
108031	ITRF_1991_To_ITRF_2000_1	GEOGTRAN["ITRF_1991_To_ITRF_2000_1",GEOGCS["GCS_ITRF_1991",DATUM["D_ITRF_1991",SPHEROID["GRS_
108032	ITRF_1990_To_ITRF_2000_1	GEOGTRAN["ITRF_1990_To_ITRF_2000_1",GEOGCS["GCS_ITRF_1990",DATUM["D_ITRF_1990",SPHEROID["GRS_
108033	ITRF_1989_To_ITRF_2000_1	GEOGTRAN["ITRF_1989_To_ITRF_2000_1",GEOGCS["GCS_ITRF_1989",DATUM["D_ITRF_1989",SPHEROID["GRS_
108034	ITRF_1988_To_ITRF_2000_1	GEOGTRAN["ITRF_1988_To_ITRF_2000_1",GEOGCS["GCS_ITRF_1988",DATUM["D_ITRF_1988",SPHEROID["GRS_
108035	Ukraine_2000_To_ITRF_2005_1	GEOGTRAN["Ukraine_2000_To_ITRF_2005_1",GEOGCS["GCS_Ukraine_2000",DATUM["D_Ukraine_2000",SPHEROI
108036	ITRF_2000_To_ITRF_2005_1	GEOGTRAN["ITRF_2000_To_ITRF_2005_1",GEOGCS["GCS_ITRF_2000",DATUM["D_ITRF_2000",SPHEROID["GRS_
108037	Macao_2008_To_WGS_1984	GEOGTRAN["Macao_2008_To_WGS_1984",GEOGCS["GCS_MACAO_2008",DATUM["D_MACAO_2008",SPHEROID[
108038	Macao_2008_To_ITRF_2005	GEOGTRAN["Macao_2008_To_ITRF_2005",GEOGCS["GCS_MACAO_2008",DATUM["D_MACAO_2008",SPHEROID["
108039	Macao_2008_To_Observatorio_Meteorologico_1965_1	GEOGTRAN["Macao_2008_To_Observatorio_Meteorologico_1965_1",GEOGCS["GCS_MACAO_2008",DATUM["D_MA
108102	NTF_Paris_To_RGF_1993_1	GEOGTRAN["NTF_Paris_To_RGF_1993_1",GEOGCS["GCS_NTF_Paris",DATUM["D_NTF",SPHEROID["Clarke_1880_
108106	Tokyo_To_WGS_1984_2001	GEOGTRAN["Tokyo_To_WGS_1984_2001",GEOGCS["GCS_Tokyo",DATUM["D_Tokyo",SPHEROID["Bessel_1841",637
108107	JGD_2000_To_WGS_1984	GEOGTRAN["JGD_2000_To_WGS_1984",GEOGCS["GCS_JGD_2000",DATUM["D_JGD_2000",SPHEROID["GRS_198
108110	Datum_73_To_WGS_1984_1	GEOGTRAN["Datum_73_To_WGS_1984_1",GEOGCS["GCS_Datum_73",DATUM["D_Datum_73",SPHEROID["Internat
108111	ED_1950_To_WGS_1984_PT3	GEOGTRAN["ED_1950_To_WGS_1984_PT3",GEOGCS["GCS_European_1950",DATUM["D_European_1950",SPHER
108112	Graciosa_Base_SW_1948_To_WGS_1984_1	GEOGTRAN["Graciosa_Base_SW_1948_To_WGS_1984_1",GEOGCS["GCS_Graciosa_Base_SW_1948",DATUM["D_
108113	Datum_Lisboa_Bessel_To_WGS_1984_1	GEOGTRAN["Datum_Lisboa_Bessel_To_WGS_1984_1",GEOGCS["GCS_Datum_Lisboa_Bessel",DATUM["D_Datum_
108114	Datum_Lisboa_Hayford_To_WGS_1984_1	GEOGTRAN["Datum_Lisboa_Hayford_To_WGS_1984_1",GEOGCS["GCS_Datum_Lisboa_Hayford",DATUM["D_Datum
108115	Porto_Santo_1936_To_WGS_1984_1_IGP	GEOGTRAN["Porto_Santo_1936_To_WGS_1984_1_IGP",GEOGCS["GCS_Porto_Santo_1936",DATUM["D_Porto_San
108116	Observatorio_Meteorologico_1939_To_WGS_1984_1	GEOGTRAN["Observatorio_Meteorologico_1939_To_WGS_1984_1",GEOGCS["GCS_Observatorio_Meteorologico_193
108117	Sao_Braz_To_WGS_1984_1	GEOGTRAN["Sao_Braz_To_WGS_1984_1",GEOGCS["GCS_Sao_Braz",DATUM["D_Sao_Braz",SPHEROID["Internatio
108120	Datum_73_To_WGS_1984_2	GEOGTRAN["Datum_73_To_WGS_1984_2",GEOGCS["GCS_Datum_73",DATUM["D_Datum_73",SPHEROID["Internat

Copyright © 1995-2016 Esri. All rights reserved.

108121	ED_1950_To_WGS_1984_PT7	GEOGTRAN["ED_1950_To_WGS_1984_PT7",GEOGCS["GCS_European_1950",DATUM["D_European_1950",SPHER
108122	Graciosa_Base_SW_1948_To_WGS_1984_2	GEOGTRAN["Graciosa_Base_SW_1948_To_WGS_1984_2",GEOGCS["GCS_Graciosa_Base_SW_1948",DATUM["D_
108123	Datum_Lisboa_Bessel_To_WGS_1984_2	GEOGTRAN["Datum_Lisboa_Bessel_To_WGS_1984_2",GEOGCS["GCS_Datum_Lisboa_Bessel",DATUM["D_Datum_
108124	Datum_Lisboa_Hayford_To_WGS_1984_2	GEOGTRAN["Datum_Lisboa_Hayford_To_WGS_1984_2",GEOGCS["GCS_Datum_Lisboa_Hayford",DATUM["D_Datum
108125	Porto_Santo_1936_To_WGS_1984_2	GEOGTRAN["Porto_Santo_1936_To_WGS_1984_2",GEOGCS["GCS_Porto_Santo_1936",DATUM["D_Porto_Santo_19
108127	Sao_Braz_To_WGS_1984_2	GEOGTRAN["Sao_Braz_To_WGS_1984_2",GEOGCS["GCS_Sao_Braz",DATUM["D_Sao_Braz",SPHEROID["Internatio
108128	CGRS_1993_To_ETRS_1989	GEOGTRAN["CGRS_1993_To_ETRS_1989",GEOGCS["GCS_CGRS_1993",DATUM["D_Cyprus_Geodetic_Reference_
108129	CGRS_1993_To_WGS_1984	GEOGTRAN["CGRS_1993_To_WGS_1984",GEOGCS["GCS_CGRS_1993",DATUM["D_Cyprus_Geodetic_Reference_
108130	NTF_To_RGF_1993_1	GEOGTRAN["NTF_To_RGF_1993_1",GEOGCS["GCS_NTF",DATUM["D_NTF",SPHEROID["Clarke_1880_IGN",637824
108133	Pohnpei_To_NAD_1983	GEOGTRAN["Pohnpei_To_NAD_1983",GEOGCS["GCS_Pohnpei",DATUM["D_Pohnpei",SPHEROID["Clarke_1866",637
108134	Bab_South_To_NAD_1983	GEOGTRAN["Bab_South_To_NAD_1983",GEOGCS["GCS_Bab_South",DATUM["D_Bab_South",SPHEROID["Clarke_1
108135	Majuro_To_NAD_1983	GEOGTRAN["Majuro_To_NAD_1983",GEOGCS["GCS_Majuro",DATUM["D_Majuro",SPHEROID["Clarke_1866",637820
108137	Guam_1963_To_HARN_Marianas_Rota	GEOGTRAN["Guam_1963_To_HARN_Marianas_Rota",GEOGCS["GCS_Guam_1963",DATUM["D_Guam_1963",SPHE
108138	Guam_1963_To_HARN_Marianas_Saipan	GEOGTRAN["Guam_1963_To_HARN_Marianas_Saipan",GEOGCS["GCS_Guam_1963",DATUM["D_Guam_1963",SPH
108139	Guam_1963_To_HARN_Marianas_Tinian_Aguijan	GEOGTRAN["Guam_1963_To_HARN_Marianas_Tinian_Aguijan",GEOGCS["GCS_Guam_1963",DATUM["D_Guam_19
108145	NGO_1948_Oslo_To_WGS_1984	GEOGTRAN["NGO_1948_Oslo_To_WGS_1984",GEOGCS["GCS_NGO_1948_Oslo",DATUM["D_NGO_1948",SPHERO
108146	NGO_1948_Oslo_To_ETRS_1989_1	GEOGTRAN["NGO_1948_Oslo_To_ETRS_1989_1",GEOGCS["GCS_NGO_1948_Oslo",DATUM["D_NGO_1948",SPHE
108147	NGO_1948_Oslo_To_WGS_1984_1	GEOGTRAN["NGO_1948_Oslo_To_WGS_1984_1",GEOGCS["GCS_NGO_1948_Oslo",DATUM["D_NGO_1948",SPHE
108148	NAD_1983_CORS96_To_NAD_1983_HARN	GEOGTRAN["NAD_1983_CORS96_To_NAD_1983_HARN",GEOGCS["GCS_NAD_1983_CORS96",DATUM["D_NAD_
108149	NAD_1983_CORS96_To_NAD_1983_NSRS2007	GEOGTRAN["NAD_1983_CORS96_To_NAD_1983_NSRS2007",GEOGCS["GCS_NAD_1983_CORS96",DATUM["D_N
108150	ITRF_2000_To_NAD_1983_CORS96	GEOGTRAN["ITRF_2000_To_NAD_1983_CORS96",GEOGCS["GCS_ITRF_2000",DATUM["D_ITRF_2000",SPHEROID
108151	WGS_1984_(ITRF00)_To_NAD_1983_CORS96	GEOGTRAN["WGS_1984_(ITRF00)_To_NAD_1983_CORS96",GEOGCS["GCS_WGS_1984",DATUM["D_WGS_1984",
108153	Datum_73_To_WGS_1984_2009_7par	GEOGTRAN["Datum_73_To_WGS_1984_2009_7par",GEOGCS["GCS_Datum_73",DATUM["D_Datum_73",SPHEROID
108155	Datum_73_To_WGS_1984_2009_3par	GEOGTRAN["Datum_73_To_WGS_1984_2009_3par",GEOGCS["GCS_Datum_73",DATUM["D_Datum_73",SPHEROID
108156	Datum_Lisboa_Hayford_To_ETRS_1989_2009_7par	GEOGTRAN["Datum_Lisboa_Hayford_To_ETRS_1989_2009_7par",GEOGCS["GCS_Datum_Lisboa_Hayford",DATUM
108157	Datum_Lisboa_Hayford_To_WGS_1984_2009_7par	GEOGTRAN["Datum_Lisboa_Hayford_To_WGS_1984_2009_7par",GEOGCS["GCS_Datum_Lisboa_Hayford",DATUM["
108158	Datum_Lisboa_Hayford_To_ETRS_1989_2009_3par	GEOGTRAN["Datum_Lisboa_Hayford_To_ETRS_1989_2009_3par",GEOGCS["GCS_Datum_Lisboa_Hayford",DATUM
108159	Datum_Lisboa_Hayford_To_WGS_1984_2009_3par	GEOGTRAN["Datum_Lisboa_Hayford_To_WGS_1984_2009_3par",GEOGCS["GCS_Datum_Lisboa_Hayford",DATUM["
108160	Porto_Santo_1936_To_PTRA08_1_7par	GEOGTRAN["Porto_Santo_1936_To_PTRA08_1_7par",GEOGCS["GCS_Porto_Santo_1936",DATUM["D_Porto_Santo_
108161	Porto_Santo_1936_To_PTRA08_2_7par	GEOGTRAN["Porto_Santo_1936_To_PTRA08_2_7par",GEOGCS["GCS_Porto_Santo_1936",DATUM["D_Porto_Santo_
108162	Porto_Santo_1936_To_PTRA08_3_7par	GEOGTRAN["Porto_Santo_1936_To_PTRA08_3_7par",GEOGCS["GCS_Porto_Santo_1936",DATUM["D_Porto_Santo_
108163	Porto_Santo_1936_To_PTRA08_1_3par	GEOGTRAN["Porto_Santo_1936_To_PTRA08_1_3par",GEOGCS["GCS_Porto_Santo_1936",DATUM["D_Porto_Santo_
108164	Porto_Santo_1936_To_PTRA08_2_3par	GEOGTRAN["Porto_Santo_1936_To_PTRA08_2_3par",GEOGCS["GCS_Porto_Santo_1936",DATUM["D_Porto_Santo_
108165	Porto_Santo_1936_To_PTRA08_3_3par	GEOGTRAN["Porto_Santo_1936_To_PTRA08_3_3par",GEOGCS["GCS_Porto_Santo_1936",DATUM["D_Porto_Santo_
108166	Porto_Santo_1936_To_WGS_1984_1_7par	GEOGTRAN["Porto_Santo_1936_To_WGS_1984_1_7par",GEOGCS["GCS_Porto_Santo_1936",DATUM["D_Porto_San
108167	Porto_Santo_1936_To_WGS_1984_2_7par	GEOGTRAN["Porto_Santo_1936_To_WGS_1984_2_7par",GEOGCS["GCS_Porto_Santo_1936",DATUM["D_Porto_San
108168	Porto_Santo_1936_To_WGS_1984_3_7par	GEOGTRAN["Porto_Santo_1936_To_WGS_1984_3_7par",GEOGCS["GCS_Porto_Santo_1936",DATUM["D_Porto_San
108169	Porto_Santo_1936_To_WGS_1984_1_3par	GEOGTRAN["Porto_Santo_1936_To_WGS_1984_1_3par",GEOGCS["GCS_Porto_Santo_1936",DATUM["D_Porto_San
108170	Porto_Santo_1936_To_WGS_1984_2_3par	GEOGTRAN["Porto_Santo_1936_To_WGS_1984_2_3par",GEOGCS["GCS_Porto_Santo_1936",DATUM["D_Porto_San
108171	Porto_Santo_1936_To_WGS_1984_3_3par	GEOGTRAN["Porto_Santo_1936_To_WGS_1984_3_3par",GEOGCS["GCS_Porto_Santo_1936",DATUM["D_Porto_San
108172	Sao_Braz_To_PTRA08_1_7par	GEOGTRAN["Sao_Braz_To_PTRA08_1_7par",GEOGCS["GCS_Sao_Braz",DATUM["D_Sao_Braz",SPHEROID["Interna
108173	Sao_Braz_To_PTRA08_2_7par	GEOGTRAN["Sao_Braz_To_PTRA08_2_7par",GEOGCS["GCS_Sao_Braz",DATUM["D_Sao_Braz",SPHEROID["Interna
108174	Sao_Braz_To_PTRA08_3_7par	GEOGTRAN["Sao_Braz_To_PTRA08_3_7par",GEOGCS["GCS_Sao_Braz",DATUM["D_Sao_Braz",SPHEROID["Interna
108175	Sao_Braz_To_PTRA08_1_3par	GEOGTRAN["Sao_Braz_To_PTRA08_1_3par",GEOGCS["GCS_Sao_Braz",DATUM["D_Sao_Braz",SPHEROID["Interna
108176	Sao_Braz_To_PTRA08_2_3par	GEOGTRAN["Sao_Braz_To_PTRA08_2_3par",GEOGCS["GCS_Sao_Braz",DATUM["D_Sao_Braz",SPHEROID["Interna
108177	Sao_Braz_To_PTRA08_3_3par	GEOGTRAN["Sao_Braz_To_PTRA08_3_3par",GEOGCS["GCS_Sao_Braz",DATUM["D_Sao_Braz",SPHEROID["Interna
108178	Sao_Braz_To_WGS_1984_1_7par	GEOGTRAN["Sao_Braz_To_WGS_1984_1_7par",GEOGCS["GCS_Sao_Braz",DATUM["D_Sao_Braz",SPHEROID["Inte
108179	Sao_Braz_To_WGS_1984_2_7par	GEOGTRAN["Sao_Braz_To_WGS_1984_2_7par",GEOGCS["GCS_Sao_Braz",DATUM["D_Sao_Braz",SPHEROID["Inte
108180	Sao_Braz_To_WGS_1984_3_7par	GEOGTRAN["Sao_Braz_To_WGS_1984_3_7par",GEOGCS["GCS_Sao_Braz",DATUM["D_Sao_Braz",SPHEROID["Inte
108181	Sao_Braz_To_WGS_1984_1_3par	GEOGTRAN["Sao_Braz_To_WGS_1984_1_3par",GEOGCS["GCS_Sao_Braz",DATUM["D_Sao_Braz",SPHEROID["Inte
108182	Sao_Braz_To_WGS_1984_2_3par	GEOGTRAN["Sao_Braz_To_WGS_1984_2_3par",GEOGCS["GCS_Sao_Braz",DATUM["D_Sao_Braz",SPHEROID["Inte
108183	Sao_Braz_To_WGS_1984_3_3par	GEOGTRAN["Sao_Braz_To_WGS_1984_3_3par",GEOGCS["GCS_Sao_Braz",DATUM["D_Sao_Braz",SPHEROID["Inte
108184	Graciosa_1948_To_PTRA08_1_7par	GEOGTRAN["Graciosa_1948_To_PTRA08_1_7par",GEOGCS["GCS_Graciosa_Base_SW_1948",DATUM["D_Graciosa
108185	Graciosa_1948_To_PTRA08_2_7par	GEOGTRAN["Graciosa_1948_To_PTRA08_2_7par",GEOGCS["GCS_Graciosa_Base_SW_1948",DATUM["D_Graciosa

Copyright © 1995-2016 Esri. All rights reserved.

108186	Graciosa_1948_To_PTRA08_3_7par	GEOGTRAN["Graciosa_1948_To_PTRA08_3_7par",GEOGCS["GCS_Graciosa_Base_SW_1948",DATUM["D_Graciosa
108187	Graciosa_1948_To_PTRA08_4_7par	GEOGTRAN["Graciosa_1948_To_PTRA08_4_7par",GEOGCS["GCS_Graciosa_Base_SW_1948",DATUM["D_Graciosa
108188	Graciosa_1948_To_PTRA08_5_7par	GEOGTRAN["Graciosa_1948_To_PTRA08_5_7par",GEOGCS["GCS_Graciosa_Base_SW_1948",DATUM["D_Graciosa
108189	Graciosa_1948_To_PTRA08_6_7par	GEOGTRAN["Graciosa_1948_To_PTRA08_6_7par",GEOGCS["GCS_Graciosa_Base_SW_1948",DATUM["D_Graciosa
108190	WGS_1984_(ITRF00)_To_NAD_1983	GEOGTRAN["WGS_1984_(ITRF00)_To_NAD_1983",GEOGCS["GCS_WGS_1984",DATUM["D_WGS_1984",SPHEROI
108192	DHDN_To_ETRF_1989	GEOGTRAN["DHDN_To_ETRF_1989",GEOGCS["GCS_Deutsches_Hauptdreiecksnetz",DATUM["D_Deutsches_Haupt
108193	ED_1950_To_ETRF_1989_1	GEOGTRAN["ED_1950_To_ETRF_1989_1",GEOGCS["GCS_European_1950",DATUM["D_European_1950",SPHEROI
108194	Estonia_1992_To_ETRF_1989	GEOGTRAN["Estonia_1992_To_ETRF_1989",GEOGCS["GCS_Estonia_1992",DATUM["D_Estonia_1992",SPHEROID["
108195	ETRF_1989_To_WGS_1984	GEOGTRAN["ETRF_1989_To_WGS_1984",GEOGCS["GCS_ETRF_1989",DATUM["D_ETRF_1989",SPHEROID["WGS
108196	Hungarian_1972_To_ETRF_1989_1	GEOGTRAN["Hungarian_1972_To_ETRF_1989_1",GEOGCS["GCS_Hungarian_1972",DATUM["D_Hungarian_1972",S
108197	IRENET95_To_ETRF_1989	GEOGTRAN["IRENET95_To_ETRF_1989",GEOGCS["GCS_IRENET95",DATUM["D_IRENET95",SPHEROID["GRS_19
108198	Pulkovo_1942_To_ETRF_1989	GEOGTRAN["Pulkovo_1942_To_ETRF_1989",GEOGCS["GCS_Pulkovo_1942",DATUM["D_Pulkovo_1942",SPHEROID
108199	RGF_1993_To_ETRF_1989_1	GEOGTRAN["RGF_1993_To_ETRF_1989_1",GEOGCS["GCS_RGF_1993",DATUM["D_RGF_1993",SPHEROID["GRS_
108200	Ocotepeque_1935_To_CR05	GEOGTRAN["Ocotepeque_1935_To_CR05",GEOGCS["GCS_Ocotepeque_1935",DATUM["D_Ocotepeque_1935",SPH
108201	NGO_1948_To_WGS_1984	GEOGTRAN["NGO_1948_To_WGS_1984",GEOGCS["GCS_NGO_1948",DATUM["D_NGO_1948",SPHEROID["Bessel_
108202	S_JTSK_To_Pulkovo_1942	GEOGTRAN["S_JTSK_To_Pulkovo_1942",GEOGCS["GCS_S_JTSK",DATUM["D_S_JTSK",SPHEROID["Bessel_1841"
108206	DHDN_To_WGS_1984_3x	GEOGTRAN["DHDN_To_WGS_1984_3x",GEOGCS["GCS_Deutsches_Hauptdreiecksnetz",DATUM["D_Deutsches_Hau
108207	DHDN_To_WGS_1984_4x	GEOGTRAN["DHDN_To_WGS_1984_4x",GEOGCS["GCS_Deutsches_Hauptdreiecksnetz",DATUM["D_Deutsches_Hau
108208	DHDN_To_WGS_1984_5x	GEOGTRAN["DHDN_To_WGS_1984_5x",GEOGCS["GCS_Deutsches_Hauptdreiecksnetz",DATUM["D_Deutsches_Hau
108209	DHDN_To_WGS_1984_6x	GEOGTRAN["DHDN_To_WGS_1984_6x",GEOGCS["GCS_Deutsches_Hauptdreiecksnetz",DATUM["D_Deutsches_Hau
108210	DHDN_To_WGS_1984_7x	GEOGTRAN["DHDN_To_WGS_1984_7x",GEOGCS["GCS_Deutsches_Hauptdreiecksnetz",DATUM["D_Deutsches_Hau
108211	WGS_1984_To_Observatorio_Meteorologico_1965_1	GEOGTRAN["WGS_1984_To_Observatorio_Meteorologico_1965_1",GEOGCS["GCS_WGS_1984",DATUM["D_WGS_
108212	SWEREF99_To_RT90	GEOGTRAN["SWEREF99_To_RT90",GEOGCS["GCS_SWEREF99",DATUM["D_SWEREF99",SPHEROID["GRS_1980
108213	WGS_1984_To_RT90	GEOGTRAN["WGS_1984_To_RT90",GEOGCS["GCS_WGS_1984",DATUM["D_WGS_1984",SPHEROID["WGS_1984"
108217	La_Canoa_To_SIRGAS	GEOGTRAN["La_Canoa_To_SIRGAS",GEOGCS["GCS_La_Canoa",DATUM["D_La_Canoa",SPHEROID["International_
108220	Palestine_1923_To_WGS_1984_1X	GEOGTRAN["Palestine_1923_To_WGS_1984_1X",GEOGCS["GCS_Palestine_1923",DATUM["D_Palestine_1923",SPH
108222	Datum_Lisboa_Hayford_To_Datum_73_1	GEOGTRAN["Datum_Lisboa_Hayford_To_Datum_73_1",GEOGCS["GCS_Datum_Lisboa_Hayford",DATUM["D_Datum_
108223	Datum_Lisboa_Hayford_To_Datum_73_2	GEOGTRAN["Datum_Lisboa_Hayford_To_Datum_73_2",GEOGCS["GCS_Datum_Lisboa_Hayford",DATUM["D_Datum_
108224	Datum_Lisboa_Hayford_To_Datum_Lisboa_Bessel_1	GEOGTRAN["Datum_Lisboa_Hayford_To_Datum_Lisboa_Bessel_1",GEOGCS["GCS_Datum_Lisboa_Hayford",DATUM
108225	Datum_Lisboa_Hayford_To_Datum_Lisboa_Bessel_2	GEOGTRAN["Datum_Lisboa_Hayford_To_Datum_Lisboa_Bessel_2",GEOGCS["GCS_Datum_Lisboa_Hayford",DATUM
108226	EUREF_FIN_To_ETRS_1989	GEOGTRAN["EUREF_FIN_To_ETRS_1989",GEOGCS["GCS_EUREF_FIN",DATUM["D_ETRS_1989",SPHEROID["GR
108227	EUREF_FIN_To_WGS_1984	GEOGTRAN["EUREF_FIN_To_WGS_1984",GEOGCS["GCS_EUREF_FIN",DATUM["D_ETRS_1989",SPHEROID["GRS
108229	KKJ_To_EUREF_FIN	GEOGTRAN["KKJ_To_EUREF_FIN",GEOGCS["GCS_KKJ",DATUM["D_KKJ",SPHEROID["International_1924",637838
108232	Palestine_1923_To_WGS_1984_2X	GEOGTRAN["Palestine_1923_To_WGS_1984_2X",GEOGCS["GCS_Palestine_1923",DATUM["D_Palestine_1923",SPH
108233	Jordan_To_WGS_1984	GEOGTRAN["Jordan_To_WGS_1984",GEOGCS["GCS_Jordan",DATUM["D_Jordan",SPHEROID["International_1924",6
108234	Observatorio_Meteorologico_1965_To_WGS_1984_2	GEOGTRAN["Observatorio_Meteorologico_1965_To_WGS_1984_2",GEOGCS["GCS_Observatorio_Meteorologico_196
108235	WGS_1984_To_Observatorio_Meteorologico_1965_2	GEOGTRAN["WGS_1984_To_Observatorio_Meteorologico_1965_2",GEOGCS["GCS_WGS_1984",DATUM["D_WGS_
108237	Amersfoort_To_WGS_1984_4X	GEOGTRAN["Amersfoort_To_WGS_1984_4X",GEOGCS["GCS_Amersfoort",DATUM["D_Amersfoort",SPHEROID["Bess
108240	Graciosa_1948_To_PTRA08_1_3par	GEOGTRAN["Graciosa_1948_To_PTRA08_1_3par",GEOGCS["GCS_Graciosa_Base_SW_1948",DATUM["D_Graciosa
108241	Graciosa_1948_To_PTRA08_2_3par	GEOGTRAN["Graciosa_1948_To_PTRA08_2_3par",GEOGCS["GCS_Graciosa_Base_SW_1948",DATUM["D_Graciosa
108242	Graciosa_1948_To_PTRA08_3_3par	GEOGTRAN["Graciosa_1948_To_PTRA08_3_3par",GEOGCS["GCS_Graciosa_Base_SW_1948",DATUM["D_Graciosa
108243	Graciosa_1948_To_PTRA08_4_3par	GEOGTRAN["Graciosa_1948_To_PTRA08_4_3par",GEOGCS["GCS_Graciosa_Base_SW_1948",DATUM["D_Graciosa
108244	Graciosa_1948_To_PTRA08_5_3par	GEOGTRAN["Graciosa_1948_To_PTRA08_5_3par",GEOGCS["GCS_Graciosa_Base_SW_1948",DATUM["D_Graciosa
108245	Graciosa_1948_To_PTRA08_6_3par	GEOGTRAN["Graciosa_1948_To_PTRA08_6_3par",GEOGCS["GCS_Graciosa_Base_SW_1948",DATUM["D_Graciosa
108246	Graciosa_1948_To_WGS_1984_1_7par	GEOGTRAN["Graciosa_1948_To_WGS_1984_1_7par",GEOGCS["GCS_Graciosa_Base_SW_1948",DATUM["D_Gracio
108247	Graciosa_1948_To_WGS_1984_2_7par	GEOGTRAN["Graciosa_1948_To_WGS_1984_2_7par",GEOGCS["GCS_Graciosa_Base_SW_1948",DATUM["D_Gracio
108248	Graciosa_1948_To_WGS_1984_3_7par	GEOGTRAN["Graciosa_1948_To_WGS_1984_3_7par",GEOGCS["GCS_Graciosa_Base_SW_1948",DATUM["D_Gracio
108249	Graciosa_1948_To_WGS_1984_4_7par	GEOGTRAN["Graciosa_1948_To_WGS_1984_4_7par",GEOGCS["GCS_Graciosa_Base_SW_1948",DATUM["D_Gracio
108250	Graciosa_1948_To_WGS_1984_5_7par	GEOGTRAN["Graciosa_1948_To_WGS_1984_5_7par",GEOGCS["GCS_Graciosa_Base_SW_1948",DATUM["D_Gracio
108251	Graciosa_1948_To_WGS_1984_6_7par	GEOGTRAN["Graciosa_1948_To_WGS_1984_6_7par",GEOGCS["GCS_Graciosa_Base_SW_1948",DATUM["D_Gracio
108259	DOS_1968_To_WGS_1984	GEOGTRAN["DOS_1968_To_WGS_1984",GEOGCS["GCS_DOS_1968",DATUM["D_DOS_1968",SPHEROID["Internati
108261	Estonia_1937_To_WGS_1984_NGA	GEOGTRAN["Estonia_1937_To_WGS_1984_NGA",GEOGCS["GCS_Estonia_1937",DATUM["D_Estonia_1937",SPHER
108262	Fort_Thomas_1955_To_WGS_1984	GEOGTRAN["Fort_Thomas_1955_To_WGS_1984",GEOGCS["GCS_Fort_Thomas_1955",DATUM["D_Fort_Thomas_19
108263	GUX_1_To_WGS_1984	GEOGTRAN["GUX_1_To_WGS_1984",GEOGCS["GCS_GUX_1",DATUM["D_GUX_1",SPHEROID["International_1924"

Copyright © 1995-2016 Esri. All rights reserved.

108264	Hermannskogel_To_WGS_1984	GEOGTRAN["Hermannskogel_To_WGS_1984",GEOGCS["GCS_Hermannskogel",DATUM["D_Hermannskogel",SPHER
108265	Voirol_Unifie_1960_Grad_To_WGS_1984	GEOGTRAN["Voirol_Unifie_1960_Grad_To_WGS_1984",GEOGCS["GCS_Voirol_Unifie_1960",DATUM["D_Voirol_Unifi
108268	LC5_1961_To_WGS_1984	GEOGTRAN["LC5_1961_To_WGS_1984",GEOGCS["GCS_LC5_1961",DATUM["D_LC5_1961",SPHEROID["Clarke_18
108269	South_Asia_Singapore_To_WGS_1984	GEOGTRAN["South_Asia_Singapore_To_WGS_1984",GEOGCS["GCS_South_Asia_Singapore",DATUM["D_South_As
108272	Estonia_1937_To_ETRS_1989	GEOGTRAN["Estonia_1937_To_ETRS_1989",GEOGCS["GCS_Estonia_1937",DATUM["D_Estonia_1937",SPHEROID[
108275	ED_1950_To_WGS_1984_9	GEOGTRAN["ED_1950_To_WGS_1984_9",GEOGCS["GCS_European_1950",DATUM["D_European_1950",SPHEROI
108276	D48_To_ETRS_1989	GEOGTRAN["D48_To_ETRS_1989",GEOGCS["GCS_D48",DATUM["D_D48",SPHEROID["Bessel_1841",6377397.155,
108277	D48_To_WGS_1984	GEOGTRAN["D48_To_WGS_1984",GEOGCS["GCS_D48",DATUM["D_D48",SPHEROID["Bessel_1841",6377397.155,2
108278	Voirol_1875_Grad_To_WGS_1984	GEOGTRAN["Voirol_1875_Grad_To_WGS_1984",GEOGCS["GCS_Voirol_1875_Grad",DATUM["D_Voirol_1875",SPHE
108279	Merchich_Degree_To_WGS_1984	GEOGTRAN["Merchich_Degree_To_WGS_1984",GEOGCS["GCS_Merchich_Degree",DATUM["D_Merchich",SPHERO
108280	ITRF_2000_To_WGS_1984	GEOGTRAN["ITRF_2000_To_WGS_1984",GEOGCS["GCS_ITRF_2000",DATUM["D_ITRF_2000",SPHEROID["GRS_1
108281	ITRF_2000_To_NAD_1983_HARN	GEOGTRAN["ITRF_2000_To_NAD_1983_HARN",GEOGCS["GCS_ITRF_2000",DATUM["D_ITRF_2000",SPHEROID["G
108282	WGS_1984_(ITRF00)_To_NAD_1983_HARN	GEOGTRAN["WGS_1984_(ITRF00)_To_NAD_1983_HARN",GEOGCS["GCS_WGS_1984",DATUM["D_WGS_1984",SP
108283	Ocotepeque_1935_To_WGS_1984_RN	GEOGTRAN["Ocotepeque_1935_To_WGS_1984_RN",GEOGCS["GCS_Ocotepeque_1935",DATUM["D_Ocotepeque_1
108284	Ocotepeque_1935_To_WGS_1984_3PAR	GEOGTRAN["Ocotepeque_1935_To_WGS_1984_3PAR",GEOGCS["GCS_Ocotepeque_1935",DATUM["D_Ocotepeque
108286	MONREF_1997_To_MSK_1942_1	GEOGTRAN["MONREF_1997_To_MSK_1942_1",GEOGCS["GCS_MONREF_1997",DATUM["D_ITRF_2000",SPHERO
108287	MONREF_1997_To_MSK_1942_2	GEOGTRAN["MONREF_1997_To_MSK_1942_2",GEOGCS["GCS_MONREF_1997",DATUM["D_ITRF_2000",SPHERO
108288	MONREF_1997_To_Pulkovo_1942_1	GEOGTRAN["MONREF_1997_To_Pulkovo_1942_1",GEOGCS["GCS_MONREF_1997",DATUM["D_ITRF_2000",SPHE
108289	MONREF_1997_To_Pulkovo_1942_2	GEOGTRAN["MONREF_1997_To_Pulkovo_1942_2",GEOGCS["GCS_MONREF_1997",DATUM["D_ITRF_2000",SPHE
108290	MAGNA_To_SIRGAS	GEOGTRAN["MAGNA_To_SIRGAS",GEOGCS["GCS_MAGNA",DATUM["D_MAGNA",SPHEROID["GRS_1980",637813
108292	Graciosa_1948_To_WGS_1984_1_3par	GEOGTRAN["Graciosa_1948_To_WGS_1984_1_3par",GEOGCS["GCS_Graciosa_Base_SW_1948",DATUM["D_Gracio
108293	Graciosa_1948_To_WGS_1984_2_3par	GEOGTRAN["Graciosa_1948_To_WGS_1984_2_3par",GEOGCS["GCS_Graciosa_Base_SW_1948",DATUM["D_Gracio
108294	Graciosa_1948_To_WGS_1984_3_3par	GEOGTRAN["Graciosa_1948_To_WGS_1984_3_3par",GEOGCS["GCS_Graciosa_Base_SW_1948",DATUM["D_Gracio
108295	Graciosa_1948_To_WGS_1984_4_3par	GEOGTRAN["Graciosa_1948_To_WGS_1984_4_3par",GEOGCS["GCS_Graciosa_Base_SW_1948",DATUM["D_Gracio
108296	Graciosa_1948_To_WGS_1984_5_3par	GEOGTRAN["Graciosa_1948_To_WGS_1984_5_3par",GEOGCS["GCS_Graciosa_Base_SW_1948",DATUM["D_Gracio
108297	Graciosa_1948_To_WGS_1984_6_3par	GEOGTRAN["Graciosa_1948_To_WGS_1984_6_3par",GEOGCS["GCS_Graciosa_Base_SW_1948",DATUM["D_Gracio
108299	Guam_1963_To_WGS_1984_Saipan	GEOGTRAN["Guam_1963_To_WGS_1984_Saipan",GEOGCS["GCS_Guam_1963",DATUM["D_Guam_1963",SPHERO
108300	NAD_1983_HARN_To_WGS_1984_Saipan	GEOGTRAN["NAD_1983_HARN_To_WGS_1984_Saipan",GEOGCS["GCS_North_American_1983_HARN",DATUM["D_
108303	Pohnpei_To_WGS_1984	GEOGTRAN["Pohnpei_To_WGS_1984",GEOGCS["GCS_Pohnpei",DATUM["D_Pohnpei",SPHEROID["Clarke_1866",63
108307	NAD_1983_HARN_PACP00_MARP00_To_WGS_1984	GEOGTRAN["NAD_1983_HARN_PACP00_MARP00_To_WGS_1984",GEOGCS["GCS_North_American_1983_HARN"
108308	D48_To_ETRS_1989_2007	GEOGTRAN["D48_To_ETRS_1989_2007",GEOGCS["GCS_D48",DATUM["D_D48",SPHEROID["Bessel_1841",637739
108309	D48_To_WGS_1984_2007	GEOGTRAN["D48_To_WGS_1984_2007",GEOGCS["GCS_D48",DATUM["D_D48",SPHEROID["Bessel_1841",6377397
108310	D48_To_ETRS_1989_Zahodna_Slovenia	GEOGTRAN["D48_To_ETRS_1989_Zahodna_Slovenia",GEOGCS["GCS_D48",DATUM["D_D48",SPHEROID["Bessel_
108311	D48_To_WGS_1984_Zahodna_Slovenia	GEOGTRAN["D48_To_WGS_1984_Zahodna_Slovenia",GEOGCS["GCS_D48",DATUM["D_D48",SPHEROID["Bessel_1
108312	D48_To_ETRS_1989_Severovzhodna_Slovenia	GEOGTRAN["D48_To_ETRS_1989_Severovzhodna_Slovenia",GEOGCS["GCS_D48",DATUM["D_D48",SPHEROID["B
108313	D48_To_WGS_1984_Severovzhodna_Slovenia	GEOGTRAN["D48_To_WGS_1984_Severovzhodna_Slovenia",GEOGCS["GCS_D48",DATUM["D_D48",SPHEROID["Be
108314	D48_To_ETRS_1989_Jugovzhodna_Slovenia	GEOGTRAN["D48_To_ETRS_1989_Jugovzhodna_Slovenia",GEOGCS["GCS_D48",DATUM["D_D48",SPHEROID["Bes
108315	D48_To_WGS_1984_Jugovzhodna_Slovenia	GEOGTRAN["D48_To_WGS_1984_Jugovzhodna_Slovenia",GEOGCS["GCS_D48",DATUM["D_D48",SPHEROID["Bess
108316	D48_To_ETRS_1989_Stajerska	GEOGTRAN["D48_To_ETRS_1989_Stajerska",GEOGCS["GCS_D48",DATUM["D_D48",SPHEROID["Bessel_1841",637
108317	D48_To_WGS_1984_Stajerska	GEOGTRAN["D48_To_WGS_1984_Stajerska",GEOGCS["GCS_D48",DATUM["D_D48",SPHEROID["Bessel_1841",637
108318	D48_To_ETRS_1989_Gorenjska	GEOGTRAN["D48_To_ETRS_1989_Gorenjska",GEOGCS["GCS_D48",DATUM["D_D48",SPHEROID["Bessel_1841",63
108319	D48_To_WGS_1984_Gorenjska	GEOGTRAN["D48_To_WGS_1984_Gorenjska",GEOGCS["GCS_D48",DATUM["D_D48",SPHEROID["Bessel_1841",637
108320	D48_To_ETRS_1989_Osrednja_Slovenia	GEOGTRAN["D48_To_ETRS_1989_Osrednja_Slovenia",GEOGCS["GCS_D48",DATUM["D_D48",SPHEROID["Bessel_
108321	D48_To_WGS_1984_Osrednja_Slovenia	GEOGTRAN["D48_To_WGS_1984_Osrednja_Slovenia",GEOGCS["GCS_D48",DATUM["D_D48",SPHEROID["Bessel_1
108322	D48_To_ETRS_1989_Dolenjska	GEOGTRAN["D48_To_ETRS_1989_Dolenjska",GEOGCS["GCS_D48",DATUM["D_D48",SPHEROID["Bessel_1841",63
108323	D48_To_WGS_1984_Dolenjska	GEOGTRAN["D48_To_WGS_1984_Dolenjska",GEOGCS["GCS_D48",DATUM["D_D48",SPHEROID["Bessel_1841",637
108324	D48_To_ETRS_1989_Juzna_Slovenia	GEOGTRAN["D48_To_ETRS_1989_Juzna_Slovenia",GEOGCS["GCS_D48",DATUM["D_D48",SPHEROID["Bessel_184
108325	D48_To_WGS_1984_Juzna_Slovenia	GEOGTRAN["D48_To_WGS_1984_Juzna_Slovenia",GEOGCS["GCS_D48",DATUM["D_D48",SPHEROID["Bessel_184
108326	D48_To_ETRS_1989_Primorska	GEOGTRAN["D48_To_ETRS_1989_Primorska",GEOGCS["GCS_D48",DATUM["D_D48",SPHEROID["Bessel_1841",63
108327	D48_To_WGS_1984_Primorska	GEOGTRAN["D48_To_WGS_1984_Primorska",GEOGCS["GCS_D48",DATUM["D_D48",SPHEROID["Bessel_1841",637
108328	D48_To_ETRS_1989_Pomurje	GEOGTRAN["D48_To_ETRS_1989_Pomurje",GEOGCS["GCS_D48",DATUM["D_D48",SPHEROID["Bessel_1841",6377
108329	D48_To_WGS_1984_Pomurje	GEOGTRAN["D48_To_WGS_1984_Pomurje",GEOGCS["GCS_D48",DATUM["D_D48",SPHEROID["Bessel_1841",6377
108330	Old_Hawaiian_Intl_1924_To_WGS_1984_Mean	GEOGTRAN["Old_Hawaiian_Intl_1924_To_WGS_1984_Mean",GEOGCS["GCS_Old_Hawaiian_Intl_1924",DATUM["D_
108331	Old_Hawaiian_Intl_1924_To_WGS_1984_Hawaii	GEOGTRAN["Old_Hawaiian_Intl_1924_To_WGS_1984_Hawaii",GEOGCS["GCS_Old_Hawaiian_Intl_1924",DATUM["D_

Copyright © 1995-2016 Esri. All rights reserved.

108332	Old_Hawaiian_Intl_1924_To_WGS_1984_Kauai	GEOGTRAN["Old_Hawaiian_Intl_1924_To_WGS_1984_Kauai",GEOGCS["GCS_Old_Hawaiian_Intl_1924",DATUM["D_
108333	Old_Hawaiian_Intl_1924_To_WGS_1984_Maui	GEOGTRAN["Old_Hawaiian_Intl_1924_To_WGS_1984_Maui",GEOGCS["GCS_Old_Hawaiian_Intl_1924",DATUM["D_
108334	Old_Hawaiian_Intl_1924_To_WGS_1984_Oahu	GEOGTRAN["Old_Hawaiian_Intl_1924_To_WGS_1984_Oahu",GEOGCS["GCS_Old_Hawaiian_Intl_1924",DATUM["D_
108335	ED_1950_To_WGS_1984_NGA_7PAR	GEOGTRAN["ED_1950_To_WGS_1984_NGA_7PAR",GEOGCS["GCS_European_1950",DATUM["D_European_1950",
108336	OSGB_1936_To_WGS_1984_NGA_7PAR	GEOGTRAN["OSGB_1936_To_WGS_1984_NGA_7PAR",GEOGCS["GCS_OSGB_1936",DATUM["D_OSGB_1936",SP
108337	Hong_Kong_1980_To_ITRF_1996	GEOGTRAN["Hong_Kong_1980_To_ITRF_1996",GEOGCS["GCS_Hong_Kong_1980",DATUM["D_Hong_Kong_1980",
108338	Carthage_Grad_To_Carthage	GEOGTRAN["Carthage_Grad_To_Carthage",GEOGCS["GCS_Carthage_Grad",DATUM["D_Carthage",SPHEROID["Cla
108339	Voirol_1875_Grad_To_Voirol_1875	GEOGTRAN["Voirol_1875_Grad_To_Voirol_1875",GEOGCS["GCS_Voirol_1875_Grad",DATUM["D_Voirol_1875",SPHE
108340	Voirol_1879_Grad_To_Voirol_1879	GEOGTRAN["Voirol_1879_Grad_To_Voirol_1879",GEOGCS["GCS_Voirol_1879_Grad",DATUM["D_Voirol_1879",SPHE
108341	Observatorio_Meteorologico_1939_To_PTRA08_1_7par	GEOGTRAN["Observatorio_Meteorologico_1939_To_PTRA08_1_7par",GEOGCS["GCS_Observatorio_Meteorologico_
108342	Observatorio_Meteorologico_1939_To_PTRA08_2_7par	GEOGTRAN["Observatorio_Meteorologico_1939_To_PTRA08_2_7par",GEOGCS["GCS_Observatorio_Meteorologico_
108343	Observatorio_Meteorologico_1939_To_PTRA08_3_7par	GEOGTRAN["Observatorio_Meteorologico_1939_To_PTRA08_3_7par",GEOGCS["GCS_Observatorio_Meteorologico_
108344	Observatorio_Meteorologico_1939_To_PTRA08_1_3par	GEOGTRAN["Observatorio_Meteorologico_1939_To_PTRA08_1_3par",GEOGCS["GCS_Observatorio_Meteorologico_
108345	Observatorio_Meteorologico_1939_To_PTRA08_2_3par	GEOGTRAN["Observatorio_Meteorologico_1939_To_PTRA08_2_3par",GEOGCS["GCS_Observatorio_Meteorologico_
108346	Observatorio_Meteorologico_1939_To_PTRA08_3_3par	GEOGTRAN["Observatorio_Meteorologico_1939_To_PTRA08_3_3par",GEOGCS["GCS_Observatorio_Meteorologico_
108347	Observatorio_Meteorologico_1939_To_WGS_1984_1_7par	GEOGTRAN["Observatorio_Meteorologico_1939_To_WGS_1984_1_7par",GEOGCS["GCS_Observatorio_Meteorologic
108348	Observatorio_Meteorologico_1939_To_WGS_1984_2_7par	GEOGTRAN["Observatorio_Meteorologico_1939_To_WGS_1984_2_7par",GEOGCS["GCS_Observatorio_Meteorologic
108349	Observatorio_Meteorologico_1939_To_WGS_1984_3_7par	GEOGTRAN["Observatorio_Meteorologico_1939_To_WGS_1984_3_7par",GEOGCS["GCS_Observatorio_Meteorologic
108350	Observatorio_Meteorologico_1939_To_WGS_1984_1_3par	GEOGTRAN["Observatorio_Meteorologico_1939_To_WGS_1984_1_3par",GEOGCS["GCS_Observatorio_Meteorologic
108351	Observatorio_Meteorologico_1939_To_WGS_1984_2_3par	GEOGTRAN["Observatorio_Meteorologico_1939_To_WGS_1984_2_3par",GEOGCS["GCS_Observatorio_Meteorologic
108352	Observatorio_Meteorologico_1939_To_WGS_1984_3_3par	GEOGTRAN["Observatorio_Meteorologico_1939_To_WGS_1984_3_3par",GEOGCS["GCS_Observatorio_Meteorologic
108353	ITRF_2000_To_NAD_1983_2011	GEOGTRAN["ITRF_2000_To_NAD_1983_2011",GEOGCS["GCS_ITRF_2000",DATUM["D_ITRF_2000",SPHEROID["G
108354	WGS_1984_(ITRF00)_To_NAD_1983_2011	GEOGTRAN["WGS_1984_(ITRF00)_To_NAD_1983_2011",GEOGCS["GCS_WGS_1984",DATUM["D_WGS_1984",SPH
108355	NAD_1983_HARN_To_NAD_1983_2011	GEOGTRAN["NAD_1983_HARN_To_NAD_1983_2011",GEOGCS["GCS_North_American_1983_HARN",DATUM["D_N
108356	NAD_1983_NSRS2007_To_NAD_1983_2011	GEOGTRAN["NAD_1983_NSRS2007_To_NAD_1983_2011",GEOGCS["GCS_NAD_1983_NSRS2007",DATUM["D_NA
108357	NAD_1983_CORS96_To_NAD_1983_2011	GEOGTRAN["NAD_1983_CORS96_To_NAD_1983_2011",GEOGCS["GCS_NAD_1983_CORS96",DATUM["D_NAD_19
108360	ITRF_2008_To_NAD_1983_2011	GEOGTRAN["ITRF_2008_To_NAD_1983_2011",GEOGCS["GCS_ITRF_2008",DATUM["D_ITRF_2008",SPHEROID["G
108361	ITRF_2008_To_NAD_1983_MA11	GEOGTRAN["ITRF_2008_To_NAD_1983_MA11",GEOGCS["GCS_ITRF_2008",DATUM["D_ITRF_2008",SPHEROID["G
108362	ITRF_2008_To_NAD_1983_PA11	GEOGTRAN["ITRF_2008_To_NAD_1983_PA11",GEOGCS["GCS_ITRF_2008",DATUM["D_ITRF_2008",SPHEROID["G
108363	WGS_1984_(ITRF08)_To_NAD_1983_2011	GEOGTRAN["WGS_1984_(ITRF08)_To_NAD_1983_2011",GEOGCS["GCS_WGS_1984",DATUM["D_WGS_1984",SPH
108364	WGS_1984_(ITRF08)_To_NAD_1983_MA11	GEOGTRAN["WGS_1984_(ITRF08)_To_NAD_1983_MA11",GEOGCS["GCS_WGS_1984",DATUM["D_WGS_1984",SP
108365	WGS_1984_(ITRF08)_To_NAD_1983_PA11	GEOGTRAN["WGS_1984_(ITRF08)_To_NAD_1983_PA11",GEOGCS["GCS_WGS_1984",DATUM["D_WGS_1984",SPH
108366	WGS_1984_To_Ain_El_Abd_1970_MB	GEOGTRAN["WGS_1984_To_Ain_El_Abd_1970_MB",GEOGCS["GCS_WGS_1984",DATUM["D_WGS_1984",SPHERO
108367	PSAD_1956_To_SIRGAS_A	GEOGTRAN["PSAD_1956_To_SIRGAS_A",GEOGCS["GCS_Provisional_S_American_1956",DATUM["D_Provisional_S
108368	PSAD_1956_To_SIRGAS_B	GEOGTRAN["PSAD_1956_To_SIRGAS_B",GEOGCS["GCS_Provisional_S_American_1956",DATUM["D_Provisional_S
108369	PSAD_1956_To_SIRGAS_C	GEOGTRAN["PSAD_1956_To_SIRGAS_C",GEOGCS["GCS_Provisional_S_American_1956",DATUM["D_Provisional_S
108370	SAD_1969_To_SIRGAS_A	GEOGTRAN["SAD_1969_To_SIRGAS_A",GEOGCS["GCS_South_American_1969",DATUM["D_South_American_1969
108371	SAD_1969_To_SIRGAS_B	GEOGTRAN["SAD_1969_To_SIRGAS_B",GEOGCS["GCS_South_American_1969",DATUM["D_South_American_1969
108372	SAD_1969_To_SIRGAS_C	GEOGTRAN["SAD_1969_To_SIRGAS_C",GEOGCS["GCS_South_American_1969",DATUM["D_South_American_1969
108373	SAD_1969_To_SIRGAS_D	GEOGTRAN["SAD_1969_To_SIRGAS_D",GEOGCS["GCS_South_American_1969",DATUM["D_South_American_1969
108374	Dealul_Piscului_1970_To_WGS_1984_3X	GEOGTRAN["Dealul_Piscului_1970_To_WGS_1984_3X",GEOGCS["GCS_Dealul_Piscului_1970",DATUM["D_Dealul_P
108375	Dealul_Piscului_1970_To_ETRS_1989_1X	GEOGTRAN["Dealul_Piscului_1970_To_ETRS_1989_1X",GEOGCS["GCS_Dealul_Piscului_1970",DATUM["D_Dealul_
108376	Barbados_1938_To_WGS_1984_2X	GEOGTRAN["Barbados_1938_To_WGS_1984_2X",GEOGCS["GCS_Barbados_1938",DATUM["D_Barbados_1938",SP
108377	NAD_1983_HARN_To_NAD_1983_MA11	GEOGTRAN["NAD_1983_HARN_To_NAD_1983_MA11",GEOGCS["GCS_North_American_1983_HARN",DATUM["D_N
108378	NAD_1983_HARN_To_NAD_1983_PA11	GEOGTRAN["NAD_1983_HARN_To_NAD_1983_PA11",GEOGCS["GCS_North_American_1983_HARN",DATUM["D_N
108457	Amersfoort_To_WGS_1984_2008_MB	GEOGTRAN["Amersfoort_To_WGS_1984_2008_MB",GEOGCS["GCS_Amersfoort",DATUM["D_Amersfoort",SPHEROID

Vertical datum transformations

Well-known ID	Name	Well-known text
4441	NZVD2009_To_One_Tree_Point_1	VERTTRAN["NZVD2009_To_One_Tree_Point_1",VERTCS["NZVD2009_height",VDATUM["New_Zealand_Vertical_Datum_2009
4442	NZVD2009_To_Auckland_1	VERTTRAN["NZVD2009_To_Auckland_1",VERTCS["NZVD2009_height",VDATUM["New_Zealand_Vertical_Datum_2009"],PARA
4443	NZVD2009_To_Moturiki_1	VERTTRAN["NZVD2009_To_Moturiki_1",VERTCS["NZVD2009_height",VDATUM["New_Zealand_Vertical_Datum_2009"],PARA

Copyright © 1995-2016 Esri. All rights reserved.

4444	NZVD2009_To_Nelson_1	VERTTRAN["NZVD2009_To_Nelson_1",VERTCS["NZVD2009_height",VDATUM["New_Zealand_Vertical_Datum_2009"],PARAM
4445	NZVD2009_To_Gisborne_1	VERTTRAN["NZVD2009_To_Gisborne_1",VERTCS["NZVD2009_height",VDATUM["New_Zealand_Vertical_Datum_2009"],PARA
4446	NZVD2009_To_Napier_1	VERTTRAN["NZVD2009_To_Napier_1",VERTCS["NZVD2009_height",VDATUM["New_Zealand_Vertical_Datum_2009"],PARAM
4447	NZVD2009_To_Taranaki_1	VERTTRAN["NZVD2009_To_Taranaki_1",VERTCS["NZVD2009_height",VDATUM["New_Zealand_Vertical_Datum_2009"],PARA
4448	NZVD2009_To_Wellington_1	VERTTRAN["NZVD2009_To_Wellington_1",VERTCS["NZVD2009_height",VDATUM["New_Zealand_Vertical_Datum_2009"],PAR
4449	NZVD2009_To_Lyttleton_1	VERTTRAN["NZVD2009_To_Lyttleton_1",VERTCS["NZVD2009_height",VDATUM["New_Zealand_Vertical_Datum_2009"],PARA
4450	NZVD2009_To_Dunedin_1	VERTTRAN["NZVD2009_To_Dunedin_1",VERTCS["NZVD2009_height",VDATUM["New_Zealand_Vertical_Datum_2009"],PARA
4451	NZVD2009_To_Bluff_1	VERTTRAN["NZVD2009_To_Bluff_1",VERTCS["NZVD2009_height",VDATUM["New_Zealand_Vertical_Datum_2009"],PARAME
4452	NZVD2009_To_Stewart_Island_1	VERTTRAN["NZVD2009_To_Stewart_Island_1",VERTCS["NZVD2009_height",VDATUM["New_Zealand_Vertical_Datum_2009"]
4453	NZVD2009_To_Dunedin_Bluff_1960_1	VERTTRAN["NZVD2009_To_Dunedin_Bluff_1960_1",VERTCS["NZVD2009_height",VDATUM["New_Zealand_Vertical_Datum_2
5196	HVRS_1971_Height_To_EVRS_2000_Height_1	VERTTRAN["HVRS_1971_Height_To_EVRS_2000_Height_1",GEOGCS["GCS_ETRS_1989",DATUM["D_ETRS_1989",SPHER
5197	HVRS_1971_Height_To_EVRF_2007_Height_1	VERTTRAN["HVRS_1971_Height_To_EVRF_2007_Height_1",GEOGCS["GCS_ETRS_1989",DATUM["D_ETRS_1989",SPHER
5198	Oostende_Height_To_EVRS_2000_Height_1	VERTTRAN["Oostende_Height_To_EVRS_2000_Height_1",GEOGCS["GCS_ETRS_1989",DATUM["D_ETRS_1989",SPHEROI
5199	Oostende_Height_To_EVRF_2007_Height_1	VERTTRAN["Oostende_Height_To_EVRF_2007_Height_1",GEOGCS["GCS_ETRS_1989",DATUM["D_ETRS_1989",SPHEROI
5200	Baltic_1982_Height_To_EVRF_2007_Height_1	VERTTRAN["Baltic_1982_Height_To_EVRF_2007_Height_1",GEOGCS["GCS_ETRS_1989",DATUM["D_ETRS_1989",SPHER
5201	Baltic_Height_To_EVRS_2000_Height_4	VERTTRAN["Baltic_Height_To_EVRS_2000_Height_4",GEOGCS["GCS_ETRS_1989",DATUM["D_ETRS_1989",SPHEROID["G
5202	Baltic_Height_To_EVRF_2007_Height_1	VERTTRAN["Baltic_Height_To_EVRF_2007_Height_1",GEOGCS["GCS_ETRS_1989",DATUM["D_ETRS_1989",SPHEROID["G
5203	Baltic_Height_To_EVRF_2007_Height_2	VERTTRAN["Baltic_Height_To_EVRF_2007_Height_2",GEOGCS["GCS_ETRS_1989",DATUM["D_ETRS_1989",SPHEROID["G
5204	Baltic_Height_To_EVRF_2007_Height_3	VERTTRAN["Baltic_Height_To_EVRF_2007_Height_3",GEOGCS["GCS_ETRS_1989",DATUM["D_ETRS_1989",SPHEROID["G
5205	Constanta_Height_To_EVRS_2000_Height_1	VERTTRAN["Constanta_Height_To_EVRS_2000_Height_1",GEOGCS["GCS_ETRS_1989",DATUM["D_ETRS_1989",SPHEROI
5206	Constanta_Height_To_EVRF_2007_Height_1	VERTTRAN["Constanta_Height_To_EVRF_2007_Height_1",GEOGCS["GCS_ETRS_1989",DATUM["D_ETRS_1989",SPHEROI
5207	LN_1902_Height_To_EVRF_2007_Height_1	VERTTRAN["LN_1902_Height_To_EVRF_2007_Height_1",GEOGCS["GCS_ETRS_1989",DATUM["D_ETRS_1989",SPHEROID
5208	RH2000_Height_To_EVRF_2007_Height_1	VERTTRAN["RH2000_Height_To_EVRF_2007_Height_1",GEOGCS["GCS_ETRS_1989",DATUM["D_ETRS_1989",SPHEROID[
5209	Baltic_Height_To_EVRS_2000_Height_5	VERTTRAN["Baltic_Height_To_EVRS_2000_Height_5",GEOGCS["GCS_ETRS_1989",DATUM["D_ETRS_1989",SPHEROID["G
5210	Baltic_Height_To_EVRF_2007_Height_4	VERTTRAN["Baltic_Height_To_EVRF_2007_Height_4",GEOGCS["GCS_ETRS_1989",DATUM["D_ETRS_1989",SPHEROID["G
5211	DHHN92_Height_To_EVRF_2007_Height_1	VERTTRAN["DHHN92_Height_To_EVRF_2007_Height_1",GEOGCS["GCS_ETRS_1989",DATUM["D_ETRS_1989",SPHEROID
5212	DHHN85_Height_To_EVRF_2007_Height_1	VERTTRAN["DHHN85_Height_To_EVRF_2007_Height_1",GEOGCS["GCS_ETRS_1989",DATUM["D_ETRS_1989",SPHEROID
5213	Genoa_Height_To_EVRS_2000_Height_1	VERTTRAN["Genoa_Height_To_EVRS_2000_Height_1",GEOGCS["GCS_ETRS_1989",DATUM["D_ETRS_1989",SPHEROID["G
5215	Genoa_Height_To_EVRF_2007_Height_1	VERTTRAN["Genoa_Height_To_EVRF_2007_Height_1",GEOGCS["GCS_ETRS_1989",DATUM["D_ETRS_1989",SPHEROID["G
5216	Genoa_Height_To_EVRS_2000_Height_2	VERTTRAN["Genoa_Height_To_EVRS_2000_Height_2",GEOGCS["GCS_ETRS_1989",DATUM["D_ETRS_1989",SPHEROID["G
5217	Genoa_Height_To_EVRF_2007_Height_2	VERTTRAN["Genoa_Height_To_EVRF_2007_Height_2",GEOGCS["GCS_ETRS_1989",DATUM["D_ETRS_1989",SPHEROID["G
5400	Baltic_To_Caspian_1	VERTTRAN["Baltic_To_Caspian_1",VERTCS["Baltic",VDATUM["Baltic_Sea"],PARAMETER["Vertical_Shift",0.0],PARAMETER["D
5402	Baltic_To_AIOC95_Depth_1	VERTTRAN["Baltic_To_AIOC95_Depth_1",VERTCS["Baltic",VDATUM["Baltic_Sea"],PARAMETER["Vertical_Shift",0.0],PARAME
5403	AIOC95_Depth_To_Caspian_1	VERTTRAN["AIOC95_Depth_To_Caspian_1",VERTCS["AIOC95_Depth",VDATUM["AIOC_1995"],PARAMETER["Vertical_Shift",
5413	KOC_CD_To_KOC_WD_1	VERTTRAN["KOC_CD_To_KOC_WD_1",VERTCS["KOC_Construction_Datum",VDATUM["KOC_Construction_Datum"],PARAM
5415	GHA_To_EVRS_2000_1	VERTTRAN["GHA_To_EVRS_2000_1",GEOGCS["GCS_ETRS_1989",DATUM["D_ETRS_1989",SPHEROID["GRS_1980",6378
5416	Baltic_1982_To_EVRS_2000_1	VERTTRAN["Baltic_1982_To_EVRS_2000_1",GEOGCS["GCS_ETRS_1989",DATUM["D_ETRS_1989",SPHEROID["GRS_1980
5417	DNN_To_EVRS_2000_1	VERTTRAN["DNN_To_EVRS_2000_1",GEOGCS["GCS_ETRS_1989",DATUM["D_ETRS_1989",SPHEROID["GRS_1980",6378
5419	NGF_IGN69_To_EVRS_2000_1	VERTTRAN["NGF_IGN69_To_EVRS_2000_1",VERTCS["NGF_IGN69",VDATUM["Nivellement_General_de_la_France_IGN69"]
5420	DHHN92_To_EVRS_2000_1	VERTTRAN["DHHN92_To_EVRS_2000_1",GEOGCS["GCS_ETRS_1989",DATUM["D_ETRS_1989",SPHEROID["GRS_1980",6
5421	DHHN85_To_EVRS_2000_1	VERTTRAN["DHHN85_To_EVRS_2000_1",GEOGCS["GCS_ETRS_1989",DATUM["D_ETRS_1989",SPHEROID["GRS_1980",6
5422	SNN76_To_EVRS_2000_1	VERTTRAN["SNN76_To_EVRS_2000_1",GEOGCS["GCS_ETRS_1989",DATUM["D_ETRS_1989",SPHEROID["GRS_1980",637
5424	EOMA_1980_To_EVRS_2000_1	VERTTRAN["EOMA_1980_To_EVRS_2000_1",GEOGCS["GCS_ETRS_1989",DATUM["D_ETRS_1989",SPHEROID["GRS_198
5425	NAP_To_EVRS_2000_1	VERTTRAN["NAP_To_EVRS_2000_1",VERTCS["NAP",VDATUM["Normaal_Amsterdams_Peil"],PARAMETER["Vertical_Shift",0.
5426	NN54_To_EVRS_2000_1	VERTTRAN["NN54_To_EVRS_2000_1",GEOGCS["GCS_ETRS_1989",DATUM["D_ETRS_1989",SPHEROID["GRS_1980",6378
5427	Cascais_To_EVRS_2000_1	VERTTRAN["Cascais_To_EVRS_2000_1",VERTCS["Cascais",VDATUM["Cascais"],PARAMETER["Vertical_Shift",0.0],PARAME
5428	NVN99_To_EVRS_2000_1	VERTTRAN["NVN99_To_EVRS_2000_1",GEOGCS["GCS_ETRS_1989",DATUM["D_ETRS_1989",SPHEROID["GRS_1980",637
5429	Alicante_To_EVRS_2000_1	VERTTRAN["Alicante_To_EVRS_2000_1",GEOGCS["GCS_ETRS_1989",DATUM["D_ETRS_1989",SPHEROID["GRS_1980",63
5430	RH70_To_EVRS_2000_1	VERTTRAN["RH70_To_EVRS_2000_1",GEOGCS["GCS_ETRS_1989",DATUM["D_ETRS_1989",SPHEROID["GRS_1980",6378
5431	LN02_To_EVRS_2000_1	VERTTRAN["LN02_To_EVRS_2000_1",GEOGCS["GCS_ETRS_1989",DATUM["D_ETRS_1989",SPHEROID["GRS_1980",6378
5432	N60_To_EVRS_2000_1	VERTTRAN["N60_To_EVRS_2000_1",VERTCS["N60",VDATUM["Helsinki_1960"],PARAMETER["Vertical_Shift",0.0],PARAMETE
5435	Baltic_To_EVRS_2000_3	VERTTRAN["Baltic_To_EVRS_2000_3",GEOGCS["GCS_ETRS_1989",DATUM["D_ETRS_1989",SPHEROID["GRS_1980",6378
5436	Baltic_Height_To_EVRS_2000_Height_1	VERTTRAN["Baltic_Height_To_EVRS_2000_Height_1",GEOGCS["GCS_ETRS_1989",DATUM["D_ETRS_1989",SPHEROID["G
5437	Baltic_To_EVRS_2000_2	VERTTRAN["Baltic_To_EVRS_2000_2",GEOGCS["GCS_ETRS_1989",DATUM["D_ETRS_1989",SPHEROID["GRS_1980",6378

Copyright © 1995-2016 Esri. All rights reserved.

5438	Baltic_Height_To_Caspian_Height_1	VERTTRAN["Baltic_Height_To_Caspian_Height_1",VERTCS["Baltic",VDATUM["Baltic_Sea"],PARAMETER["Vertical_Shift",0.0],F
5440	Baltic_Depth_To_Caspian_Depth_1	VERTTRAN["Baltic_Depth_To_Caspian_Depth_1",VERTCS["Baltic_depth",VDATUM["Baltic_Sea"],PARAMETER["Vertical_Shift"
5441	Baltic_Depth_To_Caspian_Height_1	VERTTRAN["Baltic_Depth_To_Caspian_Height_1",VERTCS["Baltic_depth",VDATUM["Baltic_Sea"],PARAMETER["Vertical_Shift
5442	Baltic_Height_To_Baltic_Depth_1	VERTTRAN["Baltic_Height_To_Baltic_Depth_1",VERTCS["Baltic",VDATUM["Baltic_Sea"],PARAMETER["Vertical_Shift",0.0],PAR
5443	Baltic_Height_To_AIOC95_Height_1	VERTTRAN["Baltic_Height_To_AIOC95_Height_1",VERTCS["Baltic",VDATUM["Baltic_Sea"],PARAMETER["Vertical_Shift",0.0],F
5445	Baltic_Depth_To_AIOC95_Depth_1	VERTTRAN["Baltic_Depth_To_AIOC95_Depth_1",VERTCS["Baltic_depth",VDATUM["Baltic_Sea"],PARAMETER["Vertical_Shift"
5446	Baltic_Depth_To_AIOC95_Height_1	VERTTRAN["Baltic_Depth_To_AIOC95_Height_1",VERTCS["Baltic_depth",VDATUM["Baltic_Sea"],PARAMETER["Vertical_Shift
5447	Baltic_Height_To_Black_Sea_Height_1	VERTTRAN["Baltic_Height_To_Black_Sea_Height_1",VERTCS["Baltic",VDATUM["Baltic_Sea"],PARAMETER["Vertical_Shift",0.0
5448	Poolbeg_Height_To_Malin_Head_Height_1	VERTTRAN["Poolbeg_Height_To_Malin_Head_Height_1",VERTCS["Poolbeg",VDATUM["Poolbeg"],PARAMETER["Vertical_Shift
5449	Poolbeg_Height_To_Belfast_Height_1	VERTTRAN["Poolbeg_Height_To_Belfast_Height_1",VERTCS["Poolbeg",VDATUM["Poolbeg"],PARAMETER["Vertical_Shift",0.0]
5450	KOC_CD_Height_To_Kuwait_PWD_Height_1	VERTTRAN["KOC_CD_Height_To_Kuwait_PWD_Height_1",VERTCS["KOC_Construction_Datum",VDATUM["KOC_Constructio
5452	Belfast_Height_To_Malin_Head_Height_1	VERTTRAN["Belfast_Height_To_Malin_Head_Height_1",VERTCS["Belfast",VDATUM["Belfast"],PARAMETER["Vertical_Shift",0.0
5453	KOC_CD_Height_To_Kuwait_WD_Depth_Ft_Intl_1	VERTTRAN["KOC_CD_Height_To_Kuwait_WD_Depth_Ft_Intl_1",VERTCS["KOC_Construction_Datum",VDATUM["KOC_Const
5454	HKPD_Height_To_HKCD_Depth_1	VERTTRAN["HKPD_Height_To_HKCD_Depth_1",VERTCS["Hong_Kong_Principal_Datum",VDATUM["Hong_Kong_Principal_Da
5455	KOC_WD_Depth_To_Kuwait_PWD_Height_1	VERTTRAN["KOC_WD_Depth_To_Kuwait_PWD_Height_1",VERTCS["KOC_Well_Datum",VDATUM["KOC_Well_Datum"],PARA
5557	GHA_To_EVRF_2007_height_1	VERTTRAN["GHA_To_EVRF_2007_height_1",GEOGCS["GCS_ETRS_1989",DATUM["D_ETRS_1989",SPHEROID["GRS_1980
110083	Newlyn_To_EVRS_2000_1	VERTTRAN["Newlyn_To_EVRS_2000_1",GEOGCS["GCS_ETRS_1989",DATUM["D_ETRS_1989",SPHEROID["GRS_1980",63

Related topics

Spatial references
Geographic coordinate systems
Projected coordinate systems

Copyright © 1995-2016 Esri. All rights reserved.

Supported geodatabase formats

A geodatabase is a container that holds four different dataset types:

1. A **.geodatabase** (notice the leading dot) is based on a portable SQLite format. It's used primarily for offline workflows in ArcGIS Runtime apps. For details, see Create an offline map.
2. A **file geodatabase** is stored as a folder in a Windows file system and can scale up to 1 TB in size.
3. A **personal geodatabase** is stored as a Microsoft Access file, which is limited in size to 2 GB.
4. An **enterprise geodatabase** is stored on a supported third-party database, such as Oracle, SQL Server, DB2, Informix, or PostgreSQL. The storage and number of users are unlimited.

Esri SDK	.geodatabase	File geodatabase	Personal geodatabase	Enterprise geodatabase
ArcObjects	Not supported	Supported	Supported	Supported
ArcGIS Runtime for Android	Supported	Not supported	Not supported	Supported only if using services
ArcGIS Runtime for iOS and OS X	Supported	Not supported	Not supported	Supported only if using services
ArcGIS Runtime for Java	Supported	Supported only if using local server	Not supported	Supported only if using services
ArcGIS Runtime for .NET	Supported	Supported only if using local server	Not supported	Supported only if using services
ArcGIS Runtime for Qt	Supported	Supported only if using C++ API and local server. Not supported with QML API.	Not supported	Supported only if using services

Copyright © 1995-2016 Esri. All rights reserved.

Legal

The following legal notices are installed in the `legal` subfolder of the local download of ArcGIS Runtime SDK for Android.

- Copyright and Trademarks
- Licensing Terms of Use (End User Licensing Agreement)
- Acknowledgments of third parties whose software has been used in permissible forms with ArcGIS Runtime SDKs

The SDK is distributed through Esri's maven repository hosted by Bintray and the EULA is provided under the project license in the associated project object model file, pom.xml.

For the latest versions of these documents and other legal information, see http://www.esri.com/legal.

Copyright © 1995-2016 Esri. All rights reserved.